INSTR # 2021215298
BK 186 Pgs 32-35 PG(s)4
RECORDED 08/18/2021 09:16:23 AM
STACY M. BUTTERFIELD, CLERK OF COURT
POLK COUNTY
RECORDING FEES $75.00
RECORDED BY shakcamp

Plat Name: MEADOW WALK PHASE 2

Section	**35**
Township	**25 South**
Range	**26 East**

STATE OF FLORIDA
COUNTY OF POLK

FILED FOR RECORD **this 18th day of August, 2021**

Recorded in Plat Book: **186**
Page(s) ---------- **32-35**

Record verified 8/17/2021

Stacy M. Butterfield
Clerk of Circuit Court

By: Stephanie May
Stephanie May
Deputy Clerk

SUPPORT SERVICES

MEADOW WALK – PHASE 2

A PORTION OF LAND LYING IN SECTION 35, TOWNSHIP 25 SOUTH, RANGE 26 EAST, POLK COUNTY, FLORIDA

PLAT BOOK 186 PAGE 32

SHEET 1 OF 4

LEGAL DESCRIPTION:

A PORTION OF LAND LYING IN SECTION 35, TOWNSHIP 25 SOUTH, RANGE 26 EAST, POLK COUNTY, FLORIDA, BEING MORE PARTICULARLY DESCRIBED AS FOLLOWS:

COMMENCE AT THE SOUTHWEST CORNER OF TRACT E, FOUR CORNERS PHASE TWO, ACCORDING TO THE PLAT THEREOF AS RECORDED IN PLAT BOOK 127, PAGES 14 THROUGH 15, PUBLIC RECORDS OF POLK COUNTY, FLORIDA, ALSO BEING THE SOUTHEAST CORNER OF THE NORTHEAST 1/4 OF THE NORTHEAST 1/4 OF SAID SECTION 35; THENCE RUN SOUTH 00°01'08" WEST ALONG THE EAST LINE OF SAID SECTION 35, A DISTANCE OF 1890.42 FEET TO THE POINT OF BEGINNING, SAID POINT ALSO BEING THE SOUTHEAST CORNER OF MEADOW WALK PHASE 1, ACCORDING TO THE PLAT THEREOF AS RECORDED IN PLAT BOOK 179, PAGES 20 THROUGH 24, PUBLIC RECORDS OF POLK COUNTY, FLORIDA; THENCE CONTINUE SOUTH 00°01'08" WEST, 424.73 FEET TO THE NORTH BOUNDARY LINE OF PROPERTY DESCRIBED IN OFFICIAL RECORDS BOOK 4618, PAGE 365, PUBLIC RECORDS OF POLK COUNTY, FLORIDA; THENCE RUN ALONG SAID NORTH BOUNDARY LINE SOUTH 89°00'49" WEST, 1389.94 FEET TO THE EASTERLY BOUNDARY LINE OF SAID PROPERTY DESCRIBED IN OFFICIAL RECORDS BOOK 4618, PAGE 365; THENCE ALONG SAID EAST BOUNDARY LINE NORTH 00°01'16" EAST, 1323.13 FEET TO THE SOUTH BOUNDARY LINE OF AFORESAID MEADOW WALK PHASE 1; THENCE DEPARTING SAID EAST LINE RUN ALONG THE SOUTH BOUNDARY OF SAID MEADOW WALK PHASE 1 THE FOLLOWING ELEVEN COURSES AND DISTANCES: (1) NORTH 89°20'47" EAST, 233.61 FEET; (2) THENCE SOUTH 43°47'13" EAST 752.80 FEET; (3) THENCE SOUTH 00°39'13" EAST 39.33 FEET TO THE BEGINNING OF A NON–TANGENT CURVE CONCAVE WESTERLY HAVING A RADIUS OF 156.00 FEET, A CHORD BEARING OF SOUTH 04°45'44" WEST A CHORD LENGTH OF 29.45 FEET; (4) THENCE RUN ALONG THE ARC OF SAID CURVE THROUGH A CENTRAL ANGLE OF 10°49'53" AN ARC LENGTH OF 29.49 FEET TO A POINT OF TANGENCY; (5) THENCE SOUTH 79°49'20" EAST 48.00 FEET; (6) THENCE SOUTH 10°10'40" WEST 53.11 FEET; (7) THENCE SOUTH 79°49'20" EAST 101.32 FEET; (8) THENCE SOUTH 32°21'21" EAST 21.71 FEET; (9) THENCE SOUTH 40°15'24" EAST 218.89 FEET; (10) THENCE SOUTH 79°23'23" EAST 25.09 FEET; (11) THENCE NORTH 89°20'47" EAST 321.57 FEET TO THE POINT OF BEGINNING.

CONTAINING 26.847 ACRES, MORE OR LESS.

NOTES:

1. BEARINGS SHOWN HEREON ARE ASSUMED BASED ON THE EAST LINE OF SECTION 35–25S–26E, AS BEING S00°01'08"W.
2. ALL PLATTED UTILITY EASEMENTS SHALL ALSO BE EASEMENTS FOR THE CONSTRUCTION, INSTALLATION, MAINTENANCE, AND OPERATION OF CABLE TELEVISION SERVICES, PROVIDED. HOWEVER, NO SUCH CONSTRUCTION, INSTALLATION, MAINTENANCE, AND OPERATION OF CABLE TELEVISION SERVICES SHALL INTERFERE WITH THE FACILITIES AND SERVICES OF AN ELECTRIC, TELEPHONE, GAS OR OTHER PUBLIC UTILITY. IN THE EVENT A CABLE TELEVISION COMPANY DAMAGES THE FACILITIES OF A PUBLIC UTILITY, IT SHALL BE SOLELY RESPONSIBLE FOR THE DAMAGES. THIS PARAGRAPH SHALL NOT APPLY TO THOSE PRIVATE EASEMENTS GRANTED TO OR OBTAINED BY A PARTICULAR ELECTRIC, TELEPHONE, GAS OR OTHER PUBLIC UTILITY. FURTHER, SUCH CONSTRUCTION, INSTALLATION, MAINTENANCE AND OPERATION SHALL COMPLY WITH THE NATIONAL ELECTRICAL SAFETY CODE AS ADOPTED BY THE FLORIDA PUBLIC SERVICE COMMISSION.
3. THERE ARE EASEMENTS REFERENCED IN THE DECLARATION OF COVENANTS, CONDITIONS AND RESTRICTIONS THAT ARE NOT SHOWN ON THE PLAT. THE DECLARATION OF COVENANTS, CONDITIONS AND RESTRICTIONS WILL BE RECORDED IN PUBLIC RECORD AS PART OF THE PLAT PROCESS AND SHOULD BE REVIEWED FOR INFORMATION ON THESE ADDITIONAL EASEMENTS.
4. SUBJECT PROPERTY SHOWN HEREON LIES IN ZONES X AND A, ACCORDING TO FLOOD INSURANCE RATE MAP PANEL NUMBER 12105C0100G, MAP REVISED DECEMBER 22, 2016. THE ABOVE STATEMENT IS FOR INFORMATION ONLY AND THIS SURVEYOR ASSUMES NO LIABILITY FOR THE CORRECTNESS OF THE CITED MAP(S). IN ADDITION, THE ABOVE STATEMENT DOES NOT REPRESENT THIS SURVEYOR'S OPINION OF THE PROBABILITY OF FLOODING. THE BASE FLOOD ELEVATION 125.3 WAS ESTABLISHED FROM THE I–4 FLOODPLAIN STUDY FOR THE I–4, SEGMENT 6 WIDENING, DATED 2003 FOR THE PROPOSED DEVELOPMENT KNOW AS "THE PRESERVES PARK". THE BASE FLOOD ELEVATION 125.3 CONTOUR WAS FIELD LOCATED AND DELINEATED ON PLAT DETAIL SHEETS 3, 4 AND 5. (100 YEAR BASE FLOOD ELEVATION 125.3 NAVD88 PER LOMA 18–04–4956A, EFFECTIVE AUGUST 29, 2018.)
5. THE STATE PLANE COORDINATES SHOWN HEREON ARE RELATIVE TO THE FLORIDA STATE PLANE COORDINATE SYSTEM 1983 WEST ZONE. (COORDINATES SHOWN AS NORTHING= N:1431064.72, EASTING= E:762080.25)
6. BENCHMARK ELEVATIONS SHOWN HEREON ARE RELATIVE TO THE NORTH AMERICAN VERTICAL DATUM OF 1988.
7. ALL LINES INTERSECTING CURVES ARE RADIAL UNLESS OTHERWISE NOTED AS (NR) = NON–RADIAL.
8. IN ACCORDANCE WITH THE PROVISIONS OF CHAPTER 177, FLORIDA STATUTES, AFTER THE PLAT IS RECORDED THE SURVEYOR SHALL SET P.C.P'S AND SET 1/2" IRON RODS AND CAPS "LB 8060" AT ALL LOT CORNERS WITHIN THE SUBDIVISION WHICH DO NOT REQUIRE A "P.R.M.".

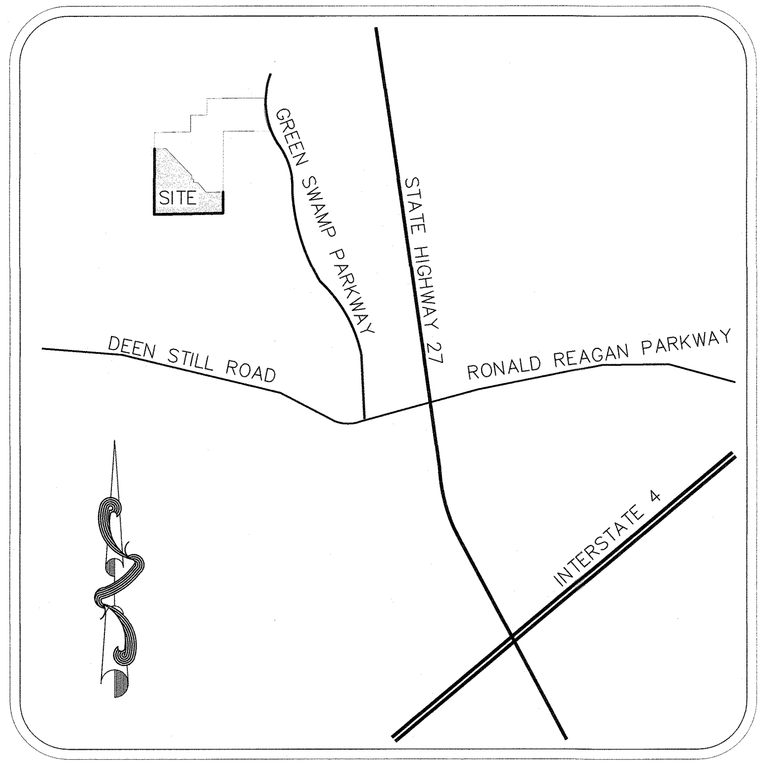

VICINITY MAP

NOT TO SCALE

FLOOD HAZARD WARNING:

THIS PROPERTY MAY BE SUBJECT TO FLOODING. EVEN MEETING FEDERAL, STATE, OR LOCAL STANDARDS DOES NOT INSURE THAT ANY IMPROVEMENTS SUCH AS STRUCTURES, DRIVEWAYS, YARDS, SANITARY SEWER SYSTEMS, AND WATER SYSTEMS WILL NOT BE FLOODED IN CERTAIN RAIN EVENTS.

ATLANTIC SURVEYING, LLC.
308 S. DILLARD STREET
WINTER GARDEN, FLORIDA 34787
(407) 656–4993/FAX (407) 656–4437
LICENSED BUSINESS #8060

NOTICE:
THIS PLAT, AS RECORDED IN ITS GRAPHIC FORM, IS THE OFFICIAL DEPICTION OF THE SUBDIVIDED LANDS DESCRIBED HEREIN AND WILL IN NO CIRCUMSTANCES BE SUPPLANTED IN AUTHORITY BY ANY OTHER GRAPHIC OR DIGITAL FORM OF THE PLAT. THERE MAY BE ADDITIONAL RESTRICTIONS THAT ARE NOT RECORDED ON THIS PLAT THAT MAY BE FOUND IN THE PUBLIC RECORDS OF THIS COUNTY.

SHEET INDEX:

SHEET 1 OF 4 – LEGAL DESCRIPTION, DEDICATION, NOTES
SHEET 2 OF 4 – OVERALL BOUNDARY, SHEET LAYOUT, LEGEND AND ABBREVIATIONS
SHEET 3 OF 4 – GEOMETRY–PLAT DETAIL
SHEET 4 OF 4 – GEOMETRY–PLAT DETAIL

COUNTY COMMISSIONERS' CONDITIONAL APPROVAL

THIS PLAT OF "MEADOW WALK – PHASE 2" IS CONDITIONALLY APPROVED THIS 17th DAY OF August, A.D. 2021 IN AN OPEN MEETING OF THE BOARD OF COUNTY COMMISSIONERS OF POLK COUNTY, FLORIDA. THIS PLAT WILL NOT RECEIVE FINAL APPROVAL, NOR CAN IT BE RECORDED UNTIL ALL CONDITIONS HAVE BEEN SATISFIED.

BOARD OF COUNTY COMMISSIONERS

BY: _____ CHAIRMAN ATTEST: Stacy M Butterfield CLERK, B/ Stephanie May Deputy Clerk

CERTIFICATE OF APPROVAL BY COUNTY ENGINEER

THIS PLAT OF "MEADOW WALK – PHASE 2" IS HEREBY APPROVED BY THE POLK COUNTY ENGINEER THIS 17th DAY OF August, A.D. 2021.

_____ COUNTY ENGINEER

CERTIFICATE OF APPROVAL LAND DEVELOPMENT DIVISION

THIS PLAT OF "MEADOW WALK – PHASE 2" IS HEREBY APPROVED BY THE POLK COUNTY LAND DEVELOPMENT DIVISION THIS 17th DAY OF August, A.D. 2021.

_____ LAND DEVELOPMENT DIRECTOR

MEADOW WALK – PHASE 2

DEDICATION:

KNOW ALL MEN BY THESE PRESENTS, THAT D.R. HORTON, INC., BEING THE OWNER IN FEE SIMPLE OF THE LANDS DESCRIBED HEREON HAS CAUSED THIS PLAT OF MEADOW WALK – PHASE 2 TO BE MADE AND HEREBY DEDICATES TO THE PERPETUAL USE OF THE PUBLIC, ALL STREETS AND ROAD RIGHTS–OF–WAY SHOWN HEREON. THE UTILITY EASEMENTS SHOWN HEREON ARE HEREBY DEDICATED TO THE PROVIDERS OF PUBLIC UTILITIES FOREVER FOR THE PURPOSES OF INSTALLATION, OPERATION, REPAIR AND MAINTENANCE OF PUBLIC UTILITIES. THE OWNER HEREBY DEDICATES TO POLK COUNTY, ITS SUCCESSORS AND ASSIGNS FOREVER, THE DRAINAGE EASEMENTS SHOWN HEREON TO CONVEY WATER FROM PUBLIC ROADS, AND A MAINTENANCE AND ACCESS EASEMENT ACROSS TRACTS SW–3 AND SW–4 TOGETHER WITH THE RIGHT, BUT NOT THE OBLIGATION, TO PERFORM EMERGENCY MAINTENANCE OR REPAIRS TO THE STORM WATER MANAGEMENT FACILITIES, AS NECESSARY TO PROTECT PUBLIC IMPROVEMENTS SERVED BY THE FACILITY, ALL STREETS, ROAD RIGHTS–OF–WAY, AND UTILITY EASEMENTS SHOWN HEREON.

TRACTS SW–3, SW–4 (STORMWATER) ARE HEREBY DEDICATED TO AND MAINTAINED BY THE MEADOW WALK AT FOUR CORNERS HOMEOWNERS ASSOCIATION, INC. (ASSOCIATION).

TRACTS W–3, W–4, AND W–6 (WETLAND TRACTS) ARE HEREBY DEDICATED TO AND MAINTAINED BY THE ASSOCIATION, WITH DEVELOPMENT RIGHTS TO POLK COUNTY, FLORIDA. NO GRADING, CLEARING, CONSTRUCTION OR ALTERATION IS PERMITTED WITHOUT PRIOR APPROVAL OF POLK COUNTY AND/OR ALL OTHER JURISDICTIONAL AGENCIES.

IN WITNESS WHEREOF, BY THE OFFICER NAMED BELOW AND WITNESSED, D.R. HORTON, INC., A DELAWARE CORPORATION HAS CAUSED ON THE 10 DAY OF November, 2020.

WITNESS
PRINTED NAME: David Mutt

WITNESS
PRINTED NAME: Renato Ghizoni

D.R. HORTON, INC., A DELAWARE CORPORATION

BY: _____
PRINTED NAME: JOHN AULD
TITLE: ASSISTANT SECRETARY

STATE OF FLORIDA
COUNTY OF ORANGE

THE FOREGOING INSTRUMENT WAS ACKNOWLEDGED BEFORE ME BY MEANS OF ☑ PHYSICAL PRESENCE OR ☐ ONLINE NOTARIZATION, THIS 10 DAY OF NOVEMBER, 2020, BY JOHN AULD OF D.R. HORTON, INC., A DELAWARE CORPORATION, ON BEHALF OF THE CORPORATION. HE/SHE IS PERSONALLY KNOWN TO ME OR HAS PRODUCED _____ AS IDENTIFICATION.

NOTARY PUBLIC: _____
PRINT NAME: KARLA R. CUEVAS
MY COMMISSION EXPIRES: 04.24.2022
COMMISSION #: GG198967

KARLA R. CUEVAS
NOTARY PUBLIC
STATE OF FLORIDA
Comm# GG198967
Expires 4/24/2022

SURVEYOR'S CERTIFICATE

I HEREBY CERTIFY THAT THE PLAT IS A TRUE REPRESENTATION OF THE LANDS SURVEYED UNDER MY RESPONSIBLE DIRECTION AND SUPERVISION AND THIS PLAT COMPLIES WITH ALL SURVEY REQUIREMENTS OF CHAPTER 177, FLORIDA STATUTES AND THE PERMANENT REFERENCE MONUMENTS HAVE BEEN SET IN ACCORDANCE WITH THE REQUIREMENTS OF CHAPTER 177.

10/28/20

STEVEN E. BLANKENSHIP, P.S.M.
REGISTRATION NO. 5361
ATLANTIC SURVEYING, LLC.
308 S. DILLARD STREET
WINTER GARDEN, FL 34787
LICENSED BUSINESS #8060

CERTIFICATE OF APPROVAL BY COUNTY SURVEYOR

THIS PLAT OF "MEADOW WALK – PHASE 2" HAS BEEN REVIEWED AND FOUND TO BE SUBSTANTIALLY IN COMPLIANCE WITH THE PROVISIONS OF CHAPTER 177 PART I, FLORIDA STATUTES, RELATING TO THE MAKING OF MAPS AND PLATS.

SIGNED: _____ DATE: 8-16-, 2021.
Richard M. "Mike" Borton # LS 6447
COUNTY SURVEYOR

COUNTY COMMISSIONERS' APPROVAL

THIS PLAT OF "MEADOW WALK – PHASE 2" HAS RECEIVED FINAL APPROVAL THIS 18th DAY OF August, A.D. 2021, BY THE BOARD OF COUNTY COMMISSIONERS OF POLK COUNTY, FLORIDA, IN ACCORDANCE WITH THE PROCEDURES ADOPTED BY THE BOARD OF COUNTY COMMISSIONERS.

BOARD OF COUNTY COMMISSIONERS ATTEST:

BY: _____ CHAIRPERSON Stacy M Butterfield DEPUTY CLERK B/ Stephanie May Deputy Clerk

CLERK OF THE CIRCUIT COURT

I, STACY M. BUTTERFIELD, CLERK OF THE CIRCUIT COURT OF POLK COUNTY, FLORIDA DO HEREBY CERTIFY THAT THIS PLAT HAS BEEN APPROVED FOR RECORDING THIS 17th DAY OF August, A.D. 2021.

BY: Stacy M Butterfield
CLERK OF THE CIRCUIT COURT
(or) Stephanie May Deputy Clerk

MEADOW WALK – PHASE 2

A PORTION OF LAND LYING IN SECTION 35, TOWNSHIP 25 SOUTH, RANGE 26 EAST, POLK COUNTY, FLORIDA

GRAPHIC SCALE

150 0 75 150

(IN FEET)
1 INCH = 150 FEET

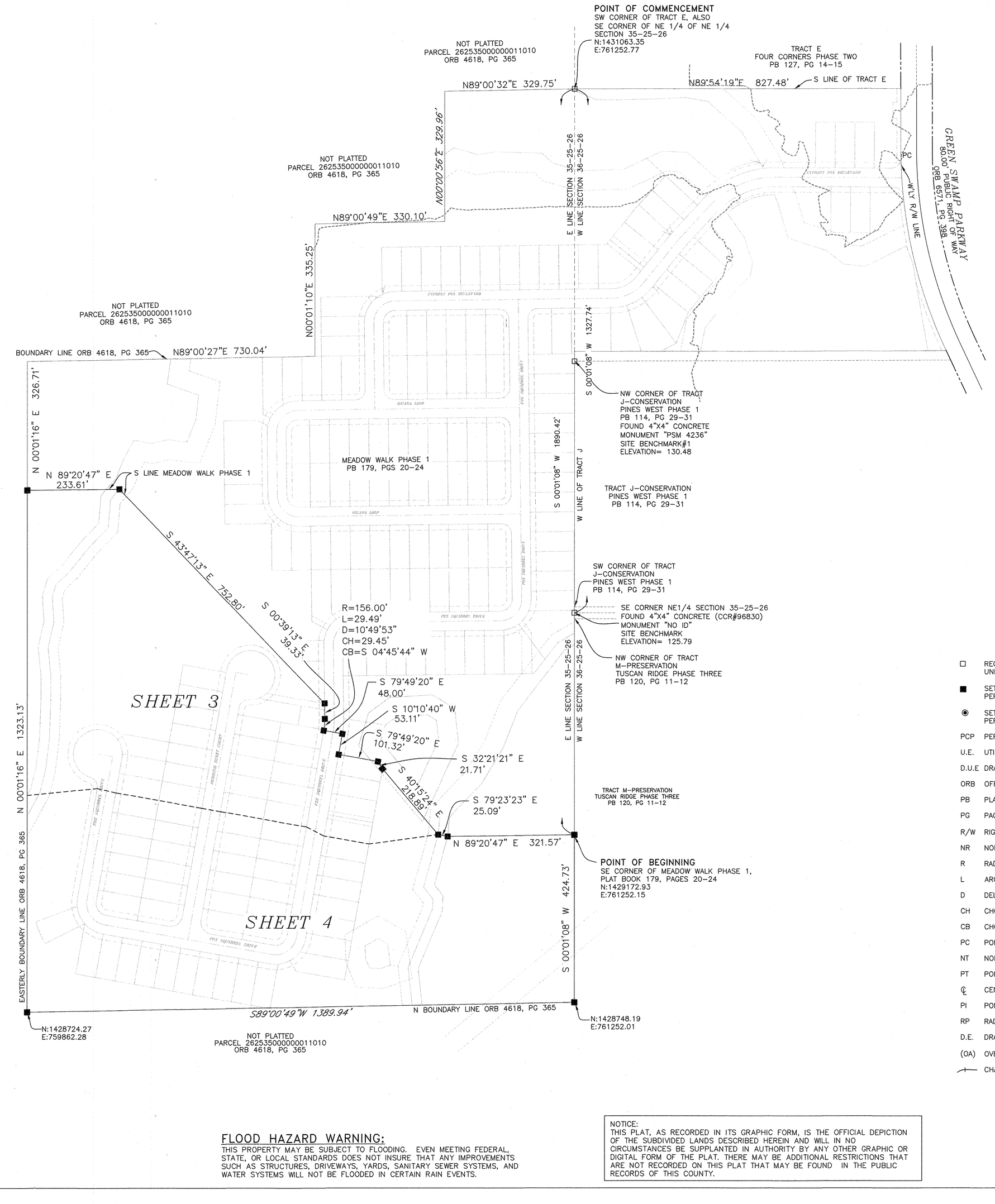

LEGEND AND ABBREVIATIONS:

□	RECOVERED 4"X4" CONCRETE MONUMENT, NO IDENTIFICATION UNLESS OTHERWISE NOTED
■	SET 4"X4" CONCRETE MONUMENT, PM LB #8060 PERMANENT REFERENCE MONUMENT
◉	SET NAIL AND DISK, PCP LB #8060 PERMANENT CONTROL POINT
PCP	PERMANENT CONTROL POINT
U.E.	UTILITY EASEMENT
D.U.E	DRAINAGE AND UTILITY EASEMENT
ORB	OFFICIAL RECORDS BOOK
PB	PLAT BOOK
PG	PAGE OR PAGES
R/W	RIGHT OF WAY
NR	NON-RADIAL
R	RADIUS
L	ARC LENGTH
D	DELTA ANGLE
CH	CHORD DISTANCE
CB	CHORD BEARING
PC	POINT OF CURVATURE
NT	NON-TANGENT
PT	POINT OF TANGENCY
℄	CENTERLINE
PI	POINT OF INTERSECTION
RP	RADIUS POINT
D.E.	DRAINAGE EASEMENT
(OA)	OVERALL DISTANCE
⊥	CHANGE IN DIRECTION

ATLANTIC SURVEYING, LLC.
308 S. DILLARD STREET
WINTER GARDEN, FLORIDA 34787
(407) 656-4993/FAX (407) 656-4437
LICENSED BUSINESS #8060

FLOOD HAZARD WARNING:
THIS PROPERTY MAY BE SUBJECT TO FLOODING. EVEN MEETING FEDERAL, STATE, OR LOCAL STANDARDS DOES NOT INSURE THAT ANY IMPROVEMENTS SUCH AS STRUCTURES, DRIVEWAYS, YARDS, SANITARY SEWER SYSTEMS, AND WATER SYSTEMS WILL NOT BE FLOODED IN CERTAIN RAIN EVENTS.

NOTICE:
THIS PLAT, AS RECORDED IN ITS GRAPHIC FORM, IS THE OFFICIAL DEPICTION OF THE SUBDIVIDED LANDS DESCRIBED HEREIN AND WILL IN NO CIRCUMSTANCES BE SUPPLANTED IN AUTHORITY BY ANY OTHER GRAPHIC OR DIGITAL FORM OF THE PLAT. THERE MAY BE ADDITIONAL RESTRICTIONS THAT ARE NOT RECORDED ON THIS PLAT THAT MAY BE FOUND IN THE PUBLIC RECORDS OF THIS COUNTY.

MEADOW WALK – PHASE 2

A PORTION OF LAND LYING IN SECTION 35, TOWNSHIP 25 SOUTH, RANGE 26 EAST, POLK COUNTY, FLORIDA

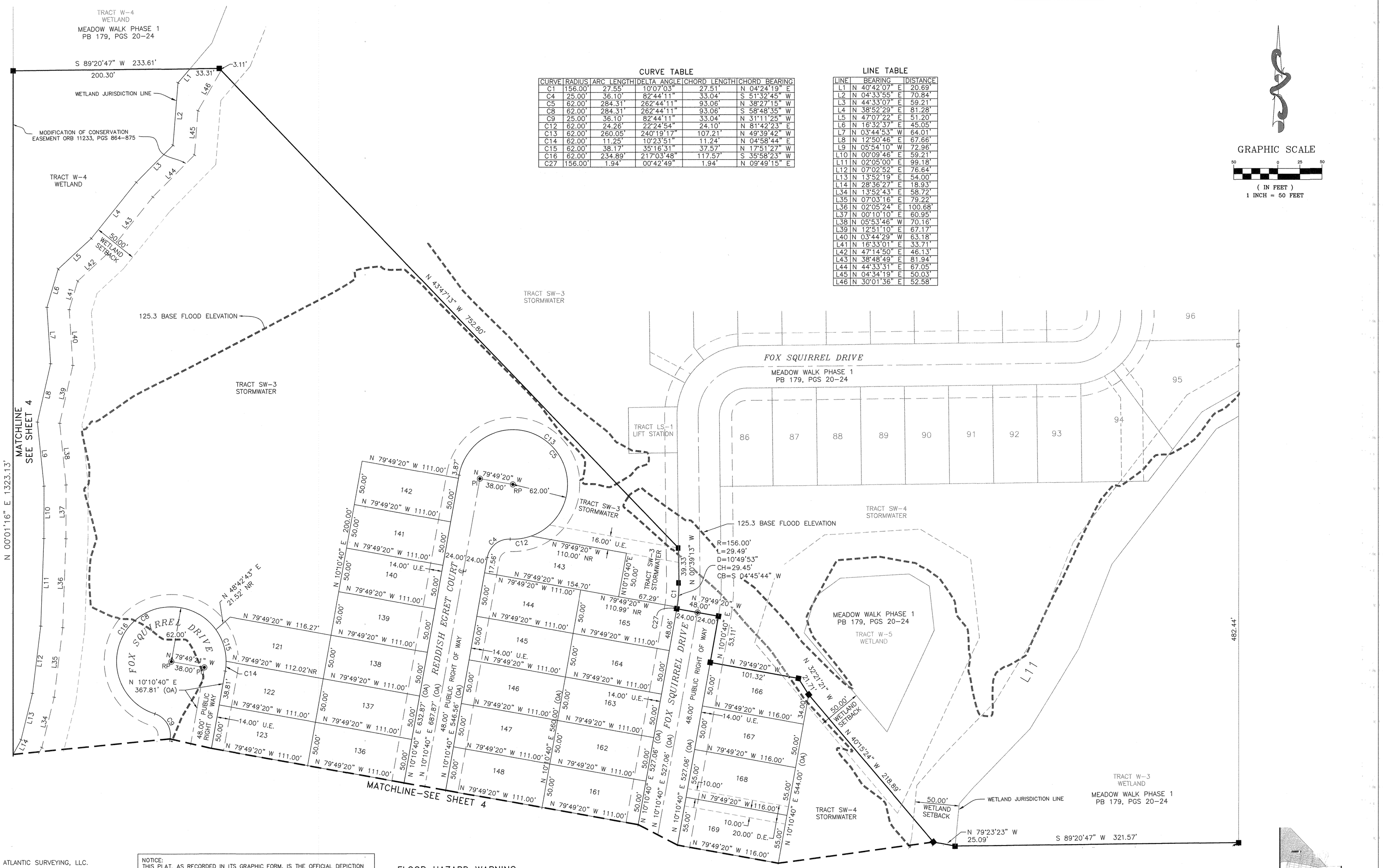

CURVE TABLE

CURVE	RADIUS	ARC LENGTH	DELTA ANGLE	CHORD LENGTH	CHORD BEARING
C1	156.00'	27.55'	10°07'03"	27.51'	N 04°24'19" E
C4	25.00'	36.10'	82°44'11"	33.04'	S 51°32'45" W
C5	62.00'	284.31'	262°44'11"	93.06'	N 38°27'15" W
C8	62.00'	284.31'	262°44'11"	93.06'	S 58°48'35" W
C9	25.00'	36.10'	82°44'11"	33.04'	N 31°11'25" W
C12	62.00'	24.26'	22°24'54"	24.10'	N 81°42'23" E
C13	62.00'	260.05'	240°19'17"	107.21'	N 49°39'42" W
C14	62.00'	11.25'	10°23'51"	11.24'	N 04°58'44" E
C15	62.00'	38.17'	35°16'31"	37.57'	N 17°51'27" W
C16	62.00'	234.89'	217°03'48"	117.57'	S 35°58'23" W
C27	156.00'	1.94'	00°42'49"	1.94'	N 09°49'15" E

LINE TABLE

LINE	BEARING	DISTANCE
L1	N 40°42'07" E	20.69'
L2	N 04°33'55" E	70.84'
L3	N 44°33'07" E	59.21'
L4	N 38°52'29" E	81.28'
L5	N 47°07'22" E	51.20'
L6	N 16°32'37" E	45.05'
L7	N 03°44'53" W	64.01'
L8	N 12°50'46" E	67.66'
L9	N 05°54'10" W	72.96'
L10	N 00°09'46" E	59.21'
L11	N 02°05'00" E	99.18'
L12	N 07°02'52" E	76.64'
L13	N 13°52'19" E	54.00'
L14	N 28°36'27" E	18.93'
L34	N 13°52'43" E	58.72'
L35	N 07°03'16" E	79.22'
L36	N 02°05'24" E	100.68'
L37	N 00°10'10" E	60.95'
L38	N 05°53'46" W	70.16'
L39	N 12°51'10" E	67.17'
L40	N 03°44'29" W	63.18'
L41	N 16°33'01" E	33.71'
L42	N 47°14'50" E	46.13'
L43	N 38°48'49" E	81.94'
L44	N 44°33'31" E	67.05'
L45	N 04°34'19" E	50.03'
L46	N 30°01'36" E	52.58'

GRAPHIC SCALE

50 0 25 50

(IN FEET)
1 INCH = 50 FEET

ATLANTIC SURVEYING, LLC.
308 S. DILLARD STREET
WINTER GARDEN, FLORIDA 34787
(407) 656-4993/FAX (407) 656-4437
LICENSED BUSINESS #8060

NOTICE:
THIS PLAT, AS RECORDED IN ITS GRAPHIC FORM, IS THE OFFICIAL DEPICTION OF THE SUBDIVIDED LANDS DESCRIBED HEREIN AND WILL IN NO CIRCUMSTANCES BE SUPPLANTED IN AUTHORITY BY ANY OTHER GRAPHIC OR DIGITAL FORM OF THE PLAT. THERE MAY BE ADDITIONAL RESTRICTIONS THAT ARE NOT RECORDED ON THIS PLAT THAT MAY BE FOUND IN THE PUBLIC RECORDS OF THIS COUNTY.

FLOOD HAZARD WARNING:
THIS PROPERTY MAY BE SUBJECT TO FLOODING. EVEN MEETING FEDERAL, STATE, OR LOCAL STANDARDS DOES NOT INSURE THAT ANY IMPROVEMENTS SUCH AS STRUCTURES, DRIVEWAYS, YARDS, SANITARY SEWER SYSTEMS, AND WATER SYSTEMS WILL NOT BE FLOODED IN CERTAIN RAIN EVENTS.

MEADOW WALK – PHASE 2

A PORTION OF LAND LYING IN SECTION 35, TOWNSHIP 25 SOUTH, RANGE 26 EAST, POLK COUNTY, FLORIDA

PLAT BOOK 186 PAGE 35

SHEET 4 OF 4

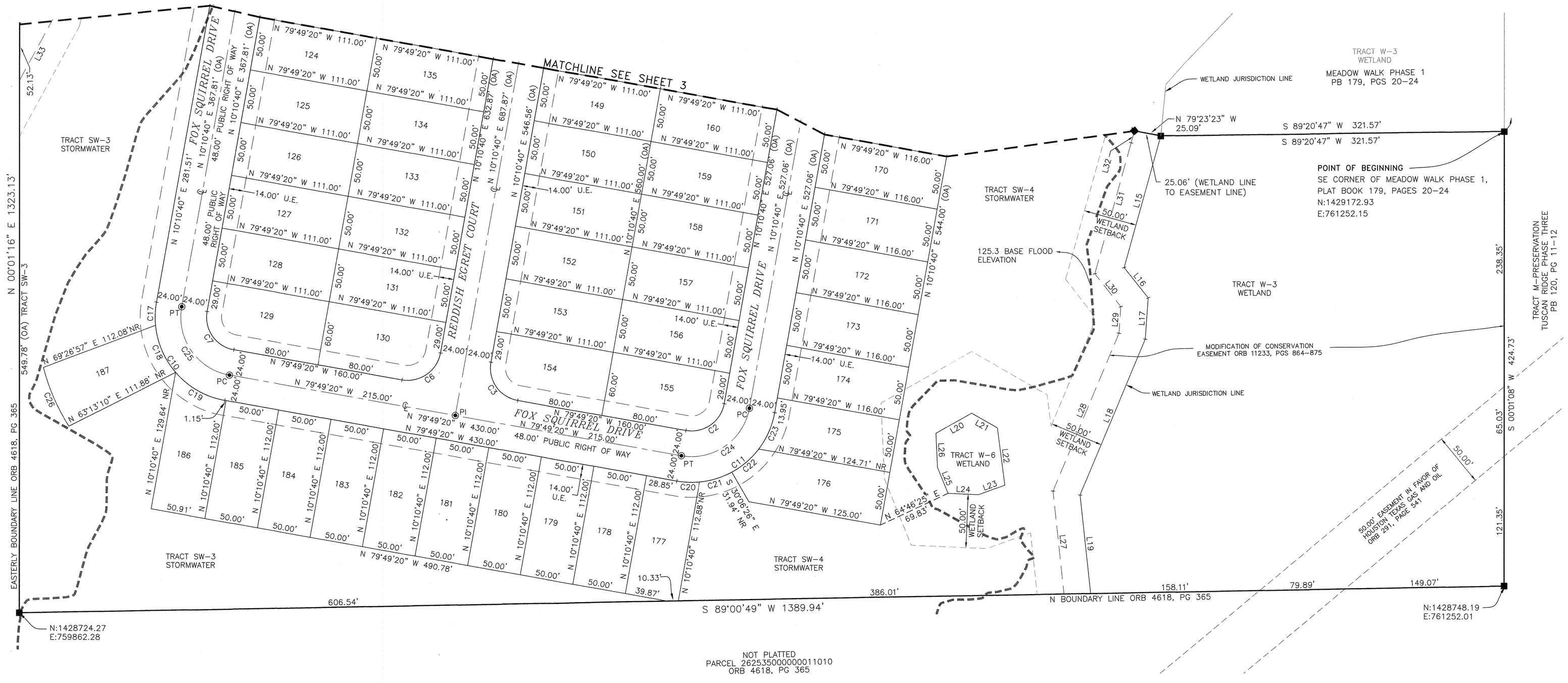

CURVE TABLE

CURVE	RADIUS	ARC LENGTH	DELTA ANGLE	CHORD LENGTH	CHORD BEARING
C2	31.00'	48.69'	90°00'00"	43.84'	N 55°10'40" E
C3	31.00'	48.69'	90°00'00"	43.84'	S 34°49'20" E
C6	31.00'	48.69'	90°00'00"	43.84'	N 55°10'40" E
C7	31.00'	48.69'	90°00'00"	43.84'	S 34°49'20" E
C10	79.00'	124.09'	90°00'00"	111.72'	S 34°49'20" E
C11	79.00'	124.09'	90°00'00"	111.72'	N 55°10'40" E
C17	79.00'	21.72'	15°45'16"	21.65'	S 02°18'02" W
C18	79.00'	48.54'	35°12'18"	47.78'	S 23°10'45" E
C19	79.00'	53.83'	39°02'26"	52.79'	S 60°18'07" E
C20	79.00'	21.41'	15°31'44"	21.35'	S 87°35'12" E
C21	79.00'	31.89'	23°07'45"	31.67'	N 73°05'03" E
C22	79.00'	33.35'	24°11'17"	33.10'	N 49°25'32" E
C23	79.00'	37.44'	27°09'14"	37.09'	N 23°45'17" E
C24	55.00'	86.39'	90°00'00"	77.78'	N 55°10'40" E
C25	55.00'	86.39'	90°00'00"	77.78'	S 34°49'20" E
C26	189.50'	60.20'	18°12'07"	59.95'	S 23°28'06" E

LINE TABLE

LINE	BEARING	DISTANCE
L15	N 15°35'22" E	127.61'
L16	N 38°19'09" W	36.23'
L17	N 04°01'33" E	38.71'
L18	N 22°43'29" E	157.77'
L19	N 06°07'26" W	92.78'
L20	N 60°15'00" E	38.25'
L21	S 60°11'32" E	27.85'
L22	S 07°23'26" E	53.99'
L23	S 70°09'28" W	26.14'
L24	N 87°34'23" W	28.46'
L25	N 22°02'05" W	26.21'
L26	N 02°37'35" W	31.80'
L27	N 06°06'15" W	96.77'
L28	N 22°43'36" E	160.08'
L29	N 04°01'40" E	24.91'
L30	N 38°19'02" W	39.25'
L31	N 15°32'49" E	126.74'
L32	N 15°40'39" E	11.59'
L33	N 28°36'48" E	68.06'

GRAPHIC SCALE

50 0 25 50

(IN FEET)
1 INCH = 50 FEET

ATLANTIC SURVEYING, LLC.
308 S. DILLARD STREET
WINTER GARDEN, FLORIDA 34787
(407) 656-4993/FAX (407) 656-4437
LICENSED BUSINESS #8060

NOTICE:
THIS PLAT, AS RECORDED IN ITS GRAPHIC FORM, IS THE OFFICIAL DEPICTION OF THE SUBDIVIDED LANDS DESCRIBED HEREIN AND WILL IN NO CIRCUMSTANCES BE SUPPLANTED IN AUTHORITY BY ANY OTHER GRAPHIC OR DIGITAL FORM OF THE PLAT. THERE MAY BE ADDITIONAL RESTRICTIONS THAT ARE NOT RECORDED ON THIS PLAT THAT MAY BE FOUND IN THE PUBLIC RECORDS OF THIS COUNTY.

FLOOD HAZARD WARNING:

THIS PROPERTY MAY BE SUBJECT TO FLOODING. EVEN MEETING FEDERAL, STATE, OR LOCAL STANDARDS DOES NOT INSURE THAT ANY IMPROVEMENTS SUCH AS STRUCTURES, DRIVEWAYS, YARDS, SANITARY SEWER SYSTEMS, AND WATER SYSTEMS WILL NOT BE FLOODED IN CERTAIN RAIN EVENTS.