WHITFIELD PRESERVE, PHASE 2

SECTIONS 16 & 21, TOWNSHIP 26 SOUTH, RANGE 17 EAST, PASCO COUNTY, FLORIDA

PLAT BOOK	PAGE NO.
81	139

DESCRIPTION

A parcel of land lying in Sections 16 & 21, Township 26 South, Range 17 East, Pasco County, Florida, and being more particularly described as follows:

BEGIN at the Southernmost corner of WHITFIELD PRESERVE, PHASE 1, according to the plat thereof, as recorded in Plat Book 75, Pages 132 through 139, of the Public Records of Pasco County, Florida, run thence along the Southerly, Easterly, and Northerly boundary thereof the following twenty-five (25) courses: 1) N.54°17'30"E., a distance of 1112.57 feet; 2) N.31°18'13"W., a distance of 93.93 feet; 3) N.29°13'11"W., a distance of 68.25 feet; 4) N.38°21'02"W., a distance of 61.27 feet; 5) N.47°43'43"E., a distance of 152.00 feet; 6) Southeasterly, 23.54 feet along the arc of a non-tangent curve to the right having a radius of 600.00 feet and a central angle of 02°14'53" (chord bearing S.41°08'50"E., 23.54 feet); 7) N.49°58'36"E., a distance of 60.00 feet; 8) Northwesterly, 123.50 feet along the arc of a non-tangent curve to the left having a radius of 660.00 feet and a central angle of 10°43'17" (chord bearing N.45°23'02"W., 123.32 feet); 9) Northerly, 37.44 feet along the arc of a reverse curve to the right having a radius of 25.00 feet and a central angle of 85°48'51" (chord bearing N.07°50'15"W., 34.04 feet); 10) N.35°04'10"E., a distance of 6.44 feet; 11) N.54°55'50"W., a distance of 50.00 feet; 12) S.35°04'10"W., a distance of 6.44 feet; 13) Westerly, 37.44 feet along the arc of a tangent curve to the right having a radius of 25.00 feet and a central angle of 85°48'51" (chord bearing S.77°58'36"W., 34.04 feet); 14) Northwesterly, 125.64 feet along the arc of a reverse curve to the left having a radius of 660.00 feet and a central angle of 10°54'24" (chord bearing N.64°34'11"W., 125.45 feet); 15) N.29°50'01"E., a distance of 144.43 feet; 16) N.04°52'53"W., a distance of 612.11 feet; 17) N.19°52'07"W., a distance of 25.86 feet; 18) N.59°39'49"W., a distance of 41.96 feet; 19) S.70°43'13"W., a distance of 41.96 feet; 20) S.21°07'02"W., a distance of 41.96 feet; 21) S.04°52'53"E., a distance of 64.49 feet; 22) S.85°07'07"W., a distance of 150.00 feet; 23) S.86°35'04"W., a distance of 50.02 feet; 24) S.85°07'07"W., a distance of 393.97 feet; 25) N.05°24'38"W., a distance of 415.31 feet to a point on the Southerly boundary of STARKEY RANCH PARCEL F PHASE 1, according to the plat thereof, as recorded in Plat Book 76, Pages 124 through 131, inclusive, of the Public Records of Pasco County, Florida; thence along said Southerly boundary, the following fourteen (14) courses: 1) N.05°24'38"W., a distance of 75.34 feet; 2) N.81°44'43"E., a distance of 77.11 feet; 3) N.76°03'26"E., a distance of 77.11 feet; 4) N.70°22'09"E., a distance of 77.11 feet; 5) N.64°21'16"E., a distance of 85.95 feet; 6) N.58°00'49"E., a distance of 85.93 feet; 7) N.52°00'00"E., a distance of 77.11 feet; 8) N.45°17'51"E., a distance of 107.17 feet; 9) S.48°45'09"E., a distance of 19.08 feet; 10) S.64°02'39"E., a distance of 142.47 feet; 11) S.82°52'55"E., a distance of 82.78 feet; 12) N.71°23'55"E., a distance of 86.68 feet; 13) N.50°29'34"E., a distance of 93.19 feet; 14) S.61°15'57"E., a distance of 116.78 feet to the Easterly boundary of the lands described in that certain Corrective Quit Claim Deed, recorded in Official Records Book 8658, Page 303, of the Public Records of Pasco County, Florida; thence along said Easterly boundary, the following fifteen (15) courses: 1) S.06°52'33"W., a distance of 56.55 feet; 2) S.28°18'37"E., a distance of 264.23 feet; 3) S.04°37'50"W., a distance of 237.94 feet; 4) S.29°32'29"E., a distance of 247.23 feet; 5) S.20°35'37"E., a distance of 236.04 feet; 6) S.00°39'48"E., a distance of 241.29 feet; 7) S.12°36'01"E., a distance of 313.82 feet; 8) S.74°41'56"E., a distance of 225.81 feet; 9) S.48°59'11"E., a distance of 413.44 feet; 10) S.00°45'03"E., a distance of 257.65 feet; 11) S.15°45'04"W., a distance of 102.92 feet; 12) S.04°19'11"E., a distance of 85.70 feet; 13) S.79°09'38"W., a distance of 154.63 feet; 14) S.29°19'03"W., a distance of 186.23 feet; 15) S.37°36'06"E., a distance of 323.73 feet to a point on the Northerly boundary of STARKEY RANCH VILLAGE 1 PHASES 1-5, according to the plat thereof, as recorded in Plat Book 70, Pages 60 through 104, inclusive, of the Public Records of Pasco County, Florida; thence along said Northerly boundary, the following seven (7) courses: 1) S.45°00'00"W., a distance of 15.11 feet; 2) S.03°40'08"W., a distance of 157.30 feet; 3) Westerly, 33.94 feet along the arc of a non-tangent curve to the left having a radius of 530.00 feet and a central angle of 03°40'08" (chord bearing N.88°09'56"W., 33.93 feet); 4) S.00°00'00"W., a distance of 211.31 feet; 5) S.85°07'14"W., a distance of 971.54 feet; 6) S.76°29'15"W., a distance of 390.17 feet; 7) S.55°40'08"W., a distance of 479.89 feet; thence N.00°00'00"E., a distance of 1087.30 feet to the **POINT OF BEGINNING**.

Containing 80.603 acres, more or less.

CERTIFICATE OF OWNERSHIP AND DEDICATION

WS-TSR, LLC, a Delaware Limited Liability Company and TAYLOR MORRISON OF FLORIDA, INC., a Florida corporation (collectively referred to as the "Owners"), hereby state and declare that they are the fee simple owners of ALL the lands referred to as "WHITFIELD PRESERVE, PHASE 2, and as described in the legal description, which is part of this plat, and makes the following dedications with respect to that portion of the lands which each owns:

Owners hereby dedicate, grant and convey BARBOUR TRAIL, WETMORE COURT, and BONFIRE DRIVE and any other public rights-of-way or portions thereof as shown and depicted hereon, to the perpetual use of the public and PASCO COUNTY, Florida (the "County"), for any and all purposes incidental thereto.

Owners do further grant, convey and dedicate TRACT "B-01" (WETLAND CONSERVATION AREA, WETLAND BUFFER, DRAINAGE & MITIGATION AREA, UTILITY EASEMENT and LANDSCAPE & WALL EASEMENT), TRACT "B-02" (WETLAND CONSERVATION AREA, WETLAND BUFFER, DRAINAGE & MITIGATION AREA, and LANDSCAPE EASEMENT) TRACT "B-03" (WETLAND CONSERVATION AREA, WETLAND BUFFER AREA, DRAINAGE & MITIGATION AREA, ACCESS TRAIL & UTILITY EASEMENT and LANDSCAPE & WALL EASEMENT, TRACT "B-04" (WETLAND CONSERVATION AREA, WETLAND BUFFER, DRAINAGE & MITIGATION AREA), TRACT "P-02" (PARK SITE, DRAINAGE & UTILITY EASEMENT, and TRAIL EASEMENT), as shown and depicted hereon to the TSR COMMUNITY DEVELOPMENT DISTRICT, a unit of special purpose government, organized and existing pursuant to Chapter 190 of the Florida Statutes (the "District"). The District shall be responsible for the maintenance thereof. Said Tracts shall be for the benefit of the individual lot owners, tenants and their assigns.

Owners do further grant, convey and dedicate to the District all DRAINAGE AND ACCESS EASEMENTS and ACCESS AND WALL EASEMENT for the purposes of installation, repair, and maintenance of the stormwater maintenance systems. The District shall be responsible for the maintenance of such facilities and areas.

Owners do further grant, convey, warrant and dedicate to the County a Non-Exclusive Flow-Through Easement and reasonable right of access to ensure the free flow of water for the general public drainage purposes over, through and under all DRAINAGE & ACCESS EASEMENTS or commonly owned property shown on this plat. In the event the District fails to properly maintain any drainage easements/facilities preventing the free flow of water, the County shall have the reasonable right, but not the obligation, to access and enter upon any drainage easement for the purpose of performing maintenance to ensure the free flow of water.

Owners do further grant and reserve to the District, its successors and assigns, the title to any lands and/or improvements dedicated to the public or the County, if for any reason such dedications shall either be voluntarily vacated, voided, or invalidated to the extent consistent with Florida Statutes, Section 177.085(1).

Owners do further grant, convey, and dedicate to the County, statutorily authorized public utility entities and all licensed private utility entities a non-exclusive, unobstructed Utility Easement for telephone, electric, cable television, water, sewer, street lights, fire protection and other utilities over and across those portions of the Plat shown as "Utility Easement", and identified hereon for such purposes, the use and benefit of which shall extend and inure to the benefit of the "County", statutorily authorized public utility entities and all duly licensed private utility companies. In the event utility improvements are constructed within such Utility Easement areas, it shall be the responsibility of the utility entities to repair or replace said utility improvements as necessary for maintenance of said utilities.

Owners do further reserve unto themselves, their respective heirs, successors, assigns or legal representatives, a non-exclusive easement in common with others located in the Utility Easement over and across the front of all lots on the Plat. Said non-exclusive easement is for the installation, operation and maintenance and/or replacement of communication lines including, but not limited to cable television, internet access, telecommunications and bulk telecommunication services to the extent consistent with Florida Statutes, Section 177.091(28) and provided that no such service interferes with the facilities of electric, telephone, gas or other public utility.

Owners further grant to Duke Energy Florida, LLC, its parent entity (or entity controlling both entities), its respective subsidiaries or affiliate entitles and its successors and assigns, forever, non-exclusive easements over all UTILITY EASEMENTS shown and designated on this plat for the construction, operation, maintenance, repair or replacement of any and all necessary fixtures for the distribution of electricity. Such construction, operation, maintenance, repair and replacement expressly includes a non-exclusive access easement over and across rights-of-way necessary to access their easement.

OWNER: WS-TSR, LLC, A DELAWARE LIMITED LIABILITY COMPANY

Witness: Chancy Summers Witness: [signature]

Chancy Summers
Printed Name

MICHAEL LIQUORI
Printed Name

By: [signature]
Name: REED BERLINSKY
Title: AUTHORIZED SIGNATORY

ACKNOWLEDGEMENT

STATE OF FLORIDA }
COUNTY OF ~~PASCO~~ Osceola } SS

I hereby certify on this 27 day of APRIL, 2020, before me personally appeared by physical presence REED BERLINSKY, Authorized signatory of WS-TSR, LLC, a Delaware Limited Liability Company, known to me or who produced _____ as identification, who has identified himself as the person described in and who executed the foregoing certificate of ownership and dedication and severally acknowledged the execution thereof to be their free act and deed for the uses and purposes therein expressed.

Witness my hand and seal at Osceola County, Florida, the day and year aforesaid.

My commission expires: 2/17/23

Chancy Summers
Notary Public, State of Florida at Large

OWNER: TAYLOR MORRISON OF FLORIDA, INC. , A FLORIDA CORPORATION

Witness: Melissa McDonough Witness: [signature]

Melissa McDonough
Printed Name

John Cousin
Printed Name

By: [signature]
Name: ANDREW "DREW" MILLER
Title: VICE PRESIDENT

ACKNOWLEDGEMENT

STATE OF FLORIDA }
COUNTY OF PASCO } SS

I hereby certify on this 28 day of APRIL, 2020, before me personally appeared by physical presence ANDREW "DREW" MILLER, as VICE PRESIDENT of TAYLOR MORRISON OF FLORIDA, INC., known to me or who produced _____ as identification, who has identified himself as the person described in and who executed the foregoing certificate of ownership and dedication and severally acknowledged the execution thereof to be their free act and deed for the uses and purposes therein expressed.

Witness my hand and seal at Hillsborough County, Florida, the day and year aforesaid.

My commission expires: May 3, 2023

Kiera Colhoun
Notary Public, State of Florida at Large

CERTIFICATE OF ACCEPTANCE

TSR Community Development District

The dedication to the TSR Community Development District, a unit of special purpose local government organized and existing pursuant to Chapter 190, Florida Statutes, was accepted by the Board of Supervisors this 27 day of APRIL, 2020, and hereby consents to and joins in the recording of this instrument and the dedications shown hereon.

BY: [signature]
MIKE LIQUORI
CHAIRMAN OF THE BOARD OF SUPERVISORS

Chancy Summers
WITNESS,

[signature]
WITNESS,

Chancy Summers
Printed Name

Tripp Berlinsky
Printed Name

ACKNOWLEDGEMENT

STATE OF FLORIDA }
COUNTY OF ~~PASCO~~ Osceola } SS

I hereby certify on this 27 day of APRIL, 2020, before me personally appeared by physical presence MICHAEL LIQUORI, Chairman of TSR Community Development District, known to me or who produced _____ as identification, who has identified himself as the person described in and who executed the foregoing certificate of acceptance and severally acknowledged the execution thereof to be their free act and deed for the uses and purposes therein expressed.

Witness my hand and seal at Osceola County, Florida, the day and year aforesaid.

My commission expires: 2/17/23

Chancy Summers
Notary Public, State of Florida at Large

PROPERTY INFORMATION

STATE OF FLORIDA }
COUNTY OF PASCO } SS

We, First American Title Insurance Company, a Title Company duly licensed in the State of Florida, have completed a property information report (Property Information Report for the Filing of A Subdivision Plat, FATIC File No. 2140–2620426) and, based on said report find that the title to the property is vested in WS–TSR, LLC, A Delaware Limited Liability Company and Taylor Morrison of Florida, Inc. , A Florida Corporation, that the current taxes have been paid, and that the property is not encumbered by any mortgages, other encumbrances or easements other than shown in the Property Information Report for the Filing of A Subdivision Plat, FATIC File No. 2140–2620426.

This the 28 day of April, 2020.

First American Title Insurance Company

By: [signature]
DAVID H. ROBERTS, AUTHORIZED SIGNATORY

REVIEW OF PLAT BY REGISTERED SURVEYOR

Pursuant to Section 177.081 (1), Florida Statutes, I hereby certify that I, or Florida Professionally licensed Surveyor and Mapper designees under my direction and supervision, have performed a limited review of this plat for conformity to Chapter 177 Part 1, Florida Statutes, and that this plat complies with the technical requirements of said chapter, however my review and certification does not include computations or field verification of any points or measurements.

Signed and Sealed this 8th day of May, 2020.

ALEX W. PARNES, PASCO COUNTY SURVEYOR
FLORIDA PROFESSIONAL SURVEYOR AND MAPPER NO. 5131

BOARD OF COUNTY COMMISSIONERS:

This is to certify, that on this 19th day of May, 2020, the foregoing plat was approved to be recorded by the Board of County Commissioners of Pasco County, Florida.

Chairman of the Board of County Commissioners

CLERK OF THE CIRCUIT COURT:

I hereby certify, that the foregoing plat has been filed in the Public Records of Pasco County, Florida this 20th day of May, 2020 in Plat Book 81, Pages 139-146.

NIKKI ALVAREZ–SOWLES, ESQ.
PASCO COUNTY CLERK & COMPTROLLER

CERTIFICATE OF SURVEYOR

The undersigned, being currently licensed by the State of Florida as a Professional Surveyor and Mapper, does hereby certify that this plat was prepared under my direction and supervision, and said plat complies with all survey requirements of Florida Statutes, Chapter 177, Part 1.

Signed and Sealed this 01 day of May, 2020.

Joseph G. Rager
Professional Land Surveyor No. LS7205
Certificate of Authorization No. LB7768

GeoPoint Surveying, Inc.
213 Hobbs Street
Tampa, Florida 33619
www.geopointsurvey.com
Phone: (813) 248-8888
Fax: (813) 248-2266
Licensed Business Number LB 7768

PLAT BOOK	PAGE NO.
81	140

WHITFIELD PRESERVE, PHASE 2

SECTIONS 16 & 21, TOWNSHIP 26 SOUTH, RANGE 17 EAST, PASCO COUNTY, FLORIDA

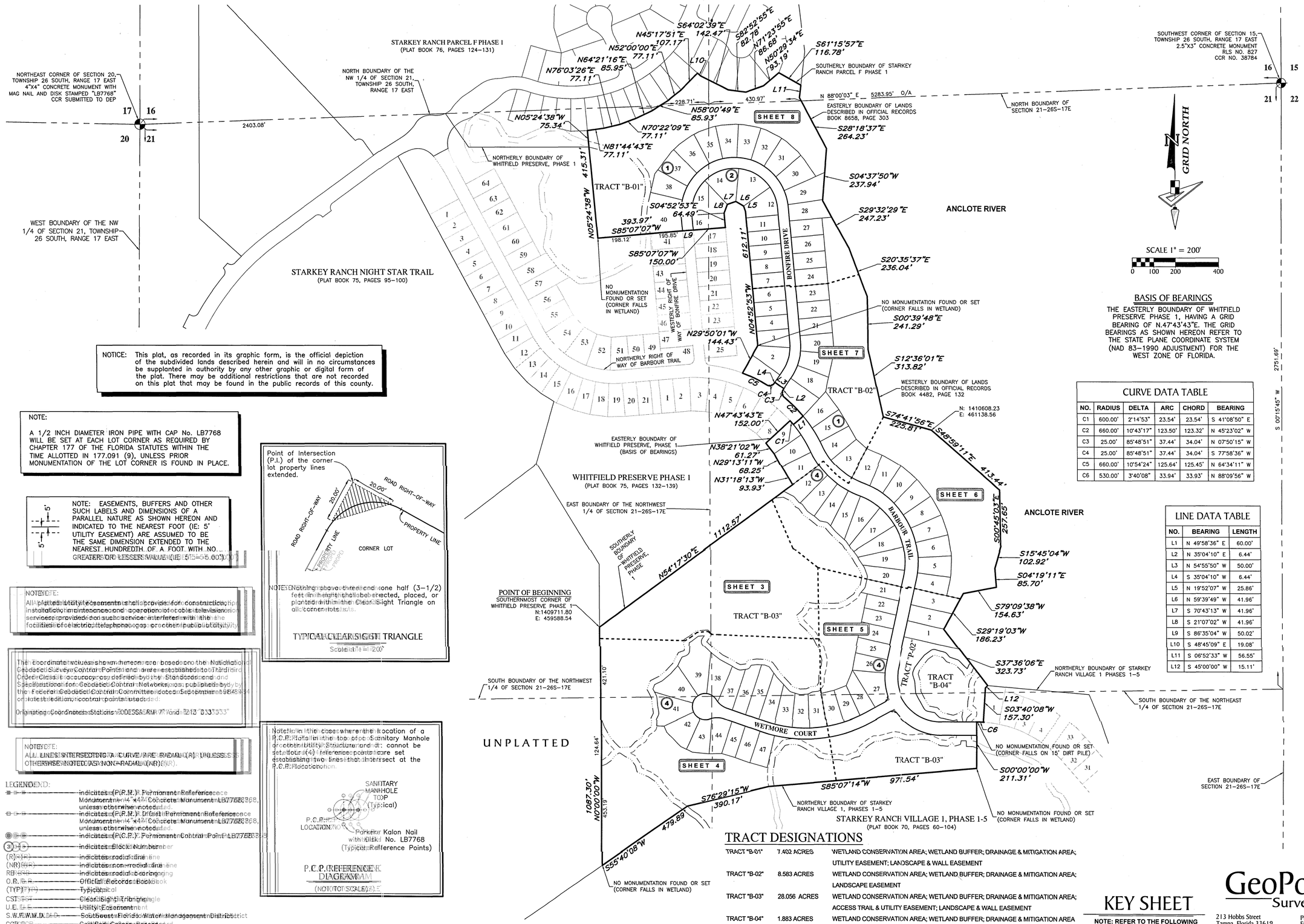

NOTICE: This plat, as recorded in its graphic form, is the official depiction of the subdivided lands described herein and will in no circumstances be supplanted in authority by any other graphic or digital form of the plat. There may be additional restrictions that are not recorded on this plat that may be found in the public records of this county.

NOTE:

A 1/2 INCH DIAMETER IRON PIPE WITH CAP No. LB7768 WILL BE SET AT EACH LOT CORNER AS REQUIRED BY CHAPTER 177 OF THE FLORIDA STATUTES WITHIN THE TIME ALLOTTED IN 177.091 (9), UNLESS PRIOR MONUMENTATION OF THE LOT CORNER IS FOUND IN PLACE.

NOTE: EASEMENTS, BUFFERS AND OTHER SUCH LABELS AND DIMENSIONS OF A PARALLEL NATURE AS SHOWN HEREON AND INDICATED TO THE NEAREST FOOT (IE: 5' UTILITY EASEMENT) ARE ASSUMED TO BE THE SAME DIMENSION EXTENDED TO THE NEAREST HUNDREDTH OF A FOOT WITH NO GREATER OR LESSER VALUE (IE: 5'=5.00')

NOTE: ALL PUBLIC UTILITY EASEMENTS SHALL PROVIDE FOR CONSTRUCTION, INSTALLATION, MAINTENANCE AND OPERATION OF CABLE TELEVISION SERVICES, PROVIDED SUCH SERVICES DO NOT INTERFERE WITH THE FACILITIES OF ELECTRIC, TELEPHONE, GAS OR OTHER PUBLIC UTILITY.

THE COORDINATE VALUES SHOWN HEREON ARE BASED ON THE NATIONAL GEODETIC SURVEY CONTROL POINTS AND WERE ESTABLISHED BY THE FIRM ORDER CLASS II ACCURACY AS DEFINED BY THE STANDARDS AND SPECIFICATIONS FOR GEODETIC CONTROL NETWORKS AS PUBLISHED BY THE FEDERAL GEODETIC CONTROL COMMITTEE DATED SEPTEMBER 9, 1984 ON THE STATE EDITION OF CONTROL POINTS USED ARE:

ORIGINATING COORDINATES STATION "ODESSA" RM 7 AND "2213 0331953"

NOTE: ALL LINES INTERSECTING A CURVE ARE RADIAL (R) UNLESS OTHERWISE NOTED AS NON-RADIAL (NR).

LEGEND:

- indicates (P.R.M.) Permanent Reference Monument 4"x4" Concrete Monument LB7768, unless otherwise noted.
- indicates (P.R.M.) Drill Permanent Reference Monument 4"x4" Concrete Monument LB7768, unless otherwise noted.
- indicates (P.C.P.) Permanent Control Point LB7768
- indicates Block Number
- (R) = Radial
- (NR) = Non-radial line
- RB = Radial bearing
- O.R. = Official Records Book
- (TYP) = Typical
- CST = Clear Sight Triangle
- U.E. = Utility Easement
- S.W.F.W.M.D. = Southwest Florida Water Management District
- CCR = Certified Corner Record
- RLS = Registered Land Surveyor
- CDD = Community Development District

NOTE: Nothing above three and one half (3-1/2) feet in height shall be erected, placed, or planted within the Clear Sight Triangle on all corner lots.

TYPICAL CLEAR SIGHT TRIANGLE

Scale: 1" = 200'

Note: In the cases where the location of a P.C.P. falls in the top of a Sanitary Manhole or other Utility Structure and it cannot be set, four (4) reference points are set establishing two lines that intersect at the P.C.P. location.

P.C.P. REFERENCE DIAGRAM

(NOT TO SCALE)

BASIS OF BEARINGS

THE EASTERLY BOUNDARY OF WHITFIELD PRESERVE PHASE 1, HAVING A GRID BEARING OF N.47°43'43"E. THE GRID BEARINGS AS SHOWN HEREON REFER TO THE STATE PLANE COORDINATE SYSTEM (NAD 83-1990 ADJUSTMENT) FOR THE WEST ZONE OF FLORIDA.

CURVE DATA TABLE

NO.	RADIUS	DELTA	ARC	CHORD	BEARING
C1	600.00'	2°14'53"	23.54'	23.54'	S 41°08'50" E
C2	660.00'	10°43'17"	123.50'	123.32'	N 45°23'02" W
C3	25.00'	85°48'51"	37.44'	34.04'	N 07°50'15" W
C4	25.00'	85°48'51"	37.44'	34.04'	S 77°58'36" W
C5	660.00'	10°54'24"	125.64'	125.45'	N 64°34'11" W
C6	530.00'	3°40'08"	33.94'	33.93'	N 88°09'56" W

LINE DATA TABLE

NO.	BEARING	LENGTH
L1	N 49°58'36" E	60.00'
L2	N 35°04'10" E	6.44'
L3	N 54°55'50" W	50.00'
L4	S 35°04'10" W	6.44'
L5	N 19°52'07" W	25.86'
L6	N 59°39'49" W	41.96'
L7	S 70°43'13" W	41.96'
L8	S 21°07'02" W	41.96'
L9	S 86°35'04" W	50.02'
L10	S 48°45'09" E	19.08'
L11	S 06°52'33" W	56.55'
L12	S 45°00'00" W	15.11'

TRACT DESIGNATIONS

TRACT "B-01"	7.402 ACRES	WETLAND CONSERVATION AREA; WETLAND BUFFER; DRAINAGE & MITIGATION AREA; UTILITY EASEMENT; LANDSCAPE & WALL EASEMENT
TRACT "B-02"	8.583 ACRES	WETLAND CONSERVATION AREA; WETLAND BUFFER; DRAINAGE & MITIGATION AREA; LANDSCAPE EASEMENT
TRACT "B-03"	28.056 ACRES	WETLAND CONSERVATION AREA; WETLAND BUFFER; DRAINAGE & MITIGATION AREA; ACCESS TRAIL & UTILITY EASEMENT; LANDSCAPE & WALL EASEMENT
TRACT "B-04"	1.883 ACRES	WETLAND CONSERVATION AREA; WETLAND BUFFER; DRAINAGE & MITIGATION AREA
TRACT "P-02"	1.706 ACRES	PARK SITE; DRAINAGE & UTILITY EASEMENT; TRAIL EASEMENT

KEY SHEET

NOTE: REFER TO THE FOLLOWING SHEETS OF THIS PLAT FOR DETAILED LABELING AND DIMENSIONING.

GeoPoint Surveying, Inc.
213 Hobbs Street
Tampa, Florida 33619
www.geopointsurvey.com
Phone: (813) 248-8888
Fax: (813) 248-2266
Licensed Business Number LB 7768

WHITFIELD PRESERVE, PHASE 2

SECTIONS 16 & 21, TOWNSHIP 26 SOUTH, RANGE 17 EAST, PASCO COUNTY, FLORIDA

PLAT BOOK	PAGE NO.
81	141

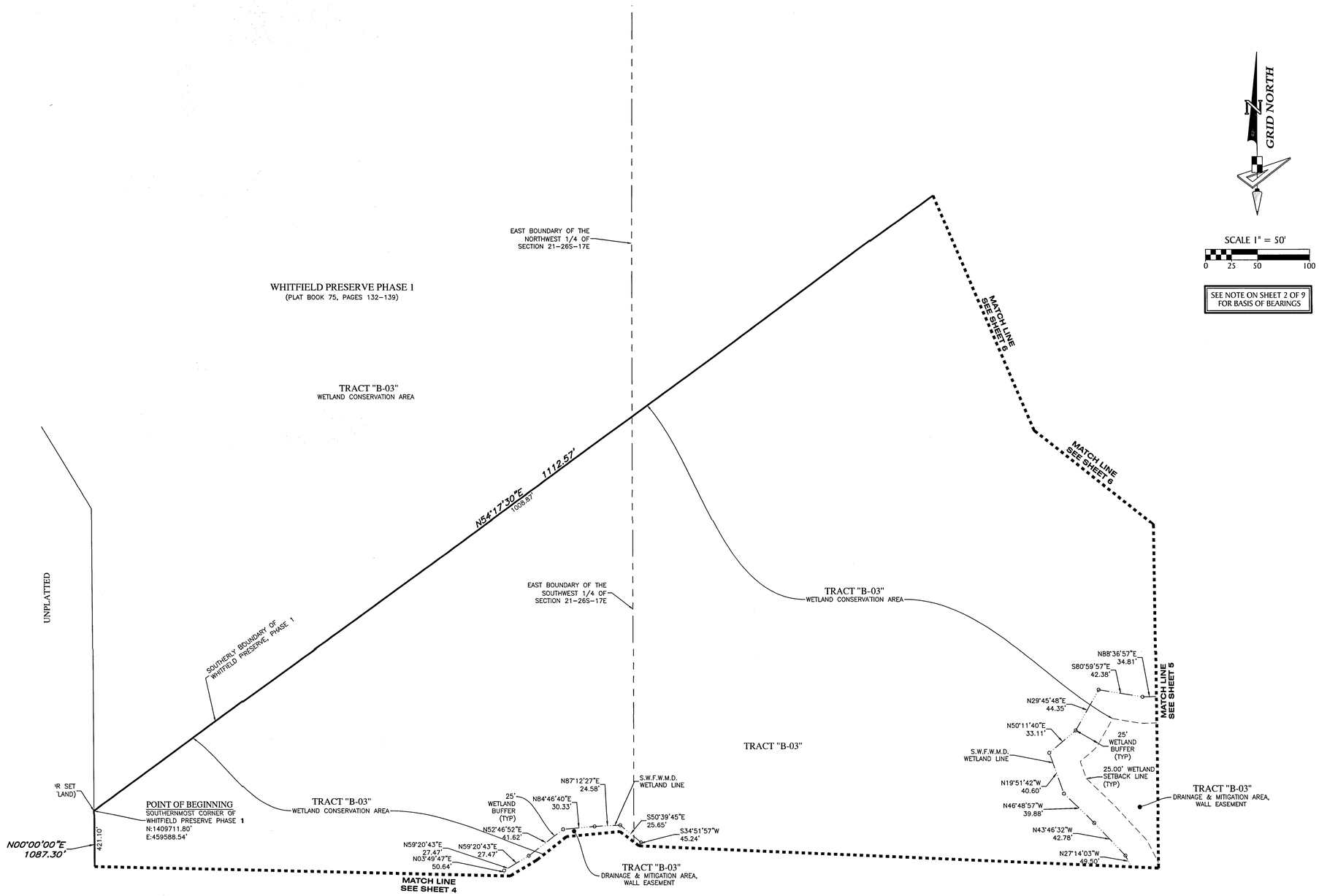

LEGEND:

- ✱ ---------- indicates (P.R.M.) Set Permanent Reference Monument – 4"x4" Concrete Monument LB7768, unless otherwise noted.
- ⊖ ---------- indicates (P.R.M.) Found Permanent Reference Monument – 4"x4" Concrete Monument LB7768, unless otherwise noted.
- ◉ ---------- indicates (P.C.P.) Permanent Control Point LB7768
- (3) ---------- indicates Block Number
- (R)---------- indicates radial line
- (NR)---------- indicates non-radial line
- RB ---------- indicates radial bearing
- O.R. ---------- Official Records Book
- (TYP) ---------- Typical
- CST ---------- Clear Sight Triangle
- U.E. ---------- Utility Easement
- S.W.F.W.M.D. ----- Southwest Florida Water Management District

GeoPoint Surveying, Inc.
213 Hobbs Street
Tampa, Florida 33619
www.geopointsurvey.com
Phone: (813) 248-8888
Fax: (813) 248-2266
Licensed Business Number LB 7768

WHITFIELD PRESERVE, PHASE 2

SECTIONS 16 & 21, TOWNSHIP 26 SOUTH, RANGE 17 EAST, PASCO COUNTY, FLORIDA

PLAT BOOK	PAGE NO.
81	142

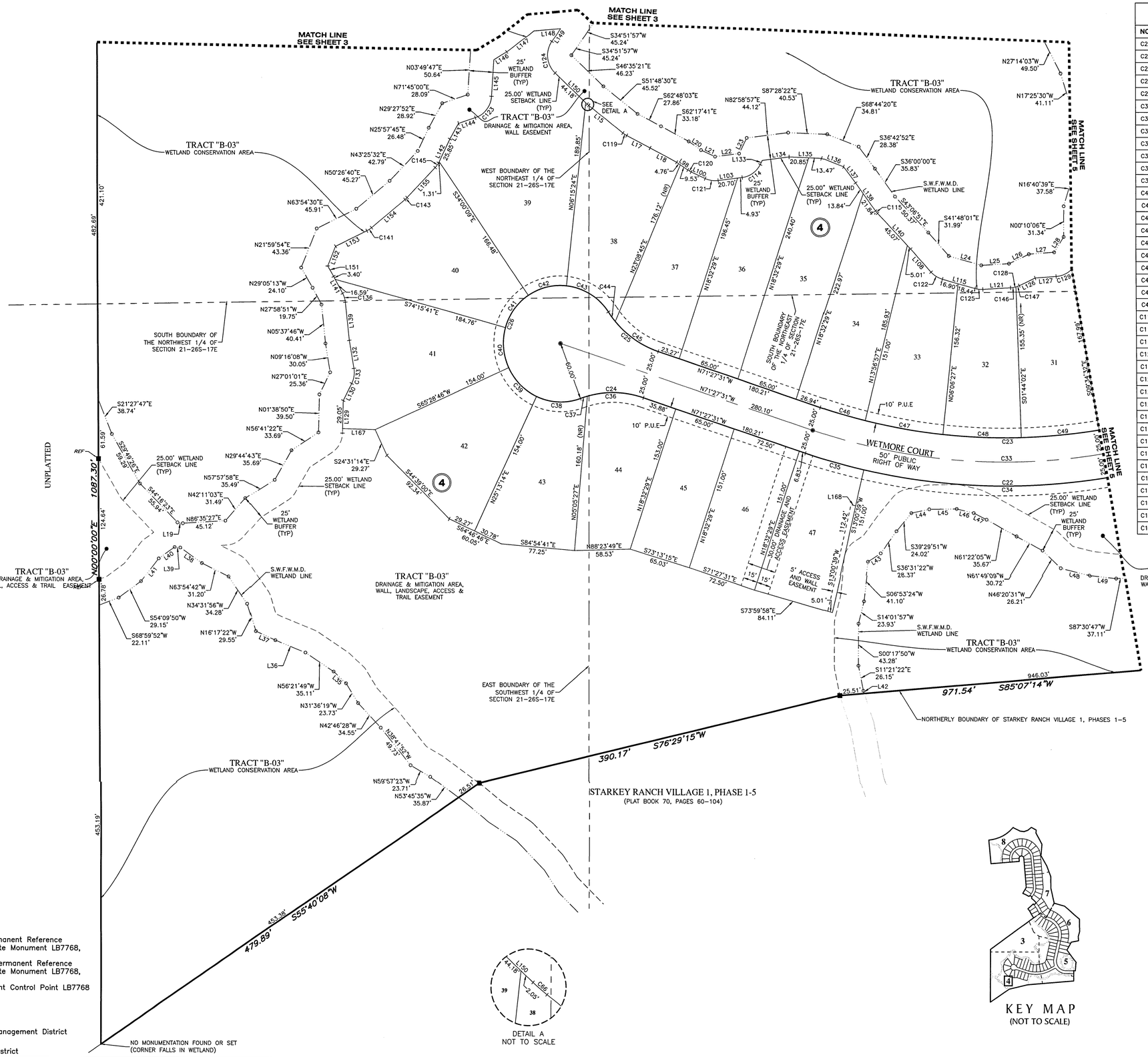

LINE DATA TABLE

NO.	BEARING	LENGTH
L15	S 51°48'30" E	45.52'
L17	S 62°48'03" E	27.75'
L18	S 62°17'41" E	31.62'
L19	S 81°21'48" E	5.70'
L20	S 55°39'20" E	15.74'
L21	S 65°04'06" E	16.27'
L22	N 82°58'28" E	25.63'
L23	N 26°44'30" E	18.11'
L24	S 74°07'28" E	35.34'
L25	N 86°39'59" E	29.06'
L26	N 64°55'23" E	23.01'
L27	N 85°50'30" E	26.57'
L28	N 32°00'07" E	18.69'
L35	N 47°04'07" W	17.67'
L36	N 67°49'08" W	33.72'
L37	N 65°30'39" W	22.26'
L38	N 54°57'12" W	27.75'
L39	N 85°09'28" W	5.97'
L40	S 54°54'19" W	20.51'
L41	S 38°49'35" W	30.03'
L42	S 18°18'47" E	2.90'
L43	S 56°59'08" W	15.84'
L44	S 78°00'21" W	18.99'
L45	S 89°00'12" W	28.61'
L46	N 76°41'29" W	18.39'
L47	N 63°23'35" W	15.03'
L48	N 75°59'37" W	30.85'
L49	N 83°57'56" W	27.45'
L98	S 55°39'20" E	14.29'
L100	S 65°04'06" E	16.27'
L103	N 82°58'28" E	25.63'
L108	S 41°48'01" E	31.71'
L115	S 74°07'28" E	35.34'
L121	N 86°39'59" E	29.06'
L126	N 64°55'23" E	18.39'
L127	N 85°50'30" E	21.96'
L129	N 01°38'50" E	33.87'
L130	N 27°01'01" E	19.74'
L132	N 09°16'08" W	29.26'
L133	N 26°44'30" E	4.75'
L134	N 82°58'57" E	28.68'
L135	S 87°28'22" E	34.32'
L136	S 68°44'20" E	23.51'
L137	S 36°42'52" E	21.05'
L138	S 36°00'00" E	35.68'
L139	N 05°37'46" W	39.62'
L140	S 43°06'51" E	50.08'
L141	N 27°58'51" W	19.99'
L142	N 25°57'47" E	25.85'
L143	N 29°27'52" E	18.49'
L144	N 71°45'00" E	18.42'
L145	N 03°49'47" E	37.48'
L146	N 59°20'43" E	15.75'
L147	N 52°46'52" E	35.89'
L148	N 85°15'06" E	28.11'
L149	S 34°51'57" W	16.10'
L150	S 46°35'21" E	46.23'
L151	N 29°05'13" W	12.40'
L152	N 21°59'54" E	21.84'
L153	N 63°54'30" E	36.33'
L154	N 50°26'40" E	45.27'
L155	N 43°25'32" E	42.79'
L167	N 88°21'10" W	33.92'
L168	N 76°59'21" W	5.00'

CURVE DATA TABLE

NO.	RADIUS	DELTA	ARC	CHORD	BEARING
C22	650.00'	46°28'30"	527.24'	512.91'	N 85°18'15" E
C23	600.00'	46°28'30"	486.68'	473.45'	N 85°18'15" E
C24	100.00'	38°37'29"	67.41'	66.14'	S 89°13'45" W
C25	100.00'	38°37'29"	67.41'	66.14'	S 52°08'46" E
C26	60.00'	257°14'59"	269.39'	93.75'	S 18°32'29" W
C33	625.00'	46°28'30"	506.96'	493.18'	N 85°18'15" E
C34	650.00'	40°56'39"	464.50'	454.68'	N 82°32'19" E
C35	650.00'	5°31'51"	62.74'	62.72'	S 74°13'26" E
C36	100.00'	34°16'50"	59.83'	58.94'	N 88°35'56" W
C37	100.00'	4°20'39"	7.58'	7.58'	S 72°05'20" W
C38	60.00'	45°18'14"	47.44'	46.22'	S 87°25'53" E
C39	60.00'	40°15'33"	42.16'	41.30'	S 44°39'00" E
C40	60.00'	40°15'33"	42.16'	41.30'	S 04°23'27" E
C41	60.00'	40°15'33"	42.16'	41.30'	S 35°52'05" W
C42	60.00'	40°15'33"	42.16'	41.30'	S 76°07'38" W
C43	60.00'	50°54'35"	53.31'	51.58'	N 58°17'19" W
C44	100.00'	6°58'29"	12.17'	12.17'	S 36°19'16" E
C45	100.00'	31°39'00"	55.24'	54.54'	S 55°38'01" E
C46	600.00'	4°35'33"	48.09'	48.08'	S 73°45'17" E
C47	600.00'	7°50'29"	82.12'	82.05'	S 79°58'18" E
C48	600.00'	7°50'29"	82.12'	82.05'	S 87°48'48" E
C49	600.00'	7°50'29"	82.12'	82.05'	N 84°20'43" E
C114	25.00'	56°13'59"	24.54'	23.56'	N 54°51'29" E
C115	25.00'	7°06'52"	3.10'	3.10'	S 39°33'26" E
C119	25.00'	10°59'33"	4.80'	4.79'	S 57°18'16" E
C120	25.00'	9°24'46"	4.11'	4.10'	S 60°21'43" E
C121	25.00'	31°57'25"	13.94'	13.76'	S 81°02'49" E
C122	25.00'	32°19'27"	14.10'	13.92'	S 57°57'45" E
C123	25.00'	67°55'13"	29.64'	27.93'	N 37°47'24" E
C124	25.00'	81°27'18"	35.54'	32.62'	S 05°51'42" E
C125	25.00'	19°12'33"	8.38'	8.34'	S 83°43'45" E
C128	25.00'	21°44'36"	9.49'	9.43'	N 75°47'41" E
C129	25.00'	42°20'58"	18.48'	18.06'	N 64°40'01" E
C133	25.00'	36°17'09"	15.83'	15.57'	N 08°52'26" E
C136	25.00'	22°21'05"	9.75'	9.69'	N 16°48'19" W
C141	25.00'	13°27'50"	5.87'	5.86'	N 57°10'35" E
C143	25.00'	7°01'08"	3.06'	3.06'	N 46°56'06" E
C145	25.00'	17°09'57"	7.49'	7.46'	N 34°50'33" E
C146	25.00'	13°05'29"	5.71'	5.70'	N 80°07'15" E
C147	25.00'	8°39'07"	3.78'	3.77'	N 69°14'57" E

LEGEND:

- ■ ---------- indicates (P.R.M.) Set Permanent Reference Monument – 4"x4" Concrete Monument LB7768, unless otherwise noted.
- ⊕ ---------- indicates (P.R.M.) Found Permanent Reference Monument – 4"x4" Concrete Monument LB7768, unless otherwise noted.
- ◉ ---------- indicates (P.C.P.) Permanent Control Point LB7768
- (3) ---------- indicates Block Number
- (TYP) ---------- Typical
- U.E. ---------- Utility Easement
- S.W.F.W.M.D. ------ Southwest Florida Water Management District
- P.U.E. ---------- Public Utility Easement
- CDD ---------- Community Development District

GeoPoint Surveying, Inc.
213 Hobbs Street
Tampa, Florida 33619
www.geopointsurvey.com
Phone: (813) 248-8888
Fax: (813) 248-2266
Licensed Business Number LB 7768

WHITFIELD PRESERVE, PHASE 2

SECTIONS 16 & 21, TOWNSHIP 26 SOUTH, RANGE 17 EAST, PASCO COUNTY, FLORIDA

PLAT BOOK	PAGE NO.
81	143

LINE DATA TABLE

NO.	BEARING	LENGTH
L12	S 45°00'00" W	15.11'
L13	S 23°04'24" W	16.00'
L14	S 53°37'03" W	1.96'
L16	N 27°21'52" W	2.76'
L29	N 88°09'20" E	28.39'
L30	N 67°52'07" E	32.85'
L50	N 79°47'47" W	37.50'
L51	S 57°23'47" W	34.58'
L52	N 88°34'29" W	22.21'
L53	N 81°40'40" W	20.64'
L54	N 72°18'36" W	36.02'
L55	N 85°48'40" W	33.20'
L56	S 53°38'50" W	27.82'
L57	N 32°53'38" W	18.35'
L58	S 11°27'48" W	16.88'
L59	N 90°00'00" E	22.93'
L60	N 03°26'28" W	25.66'
L61	N 48°47'20" W	14.07'
L62	N 43°58'18" W	32.71'
L63	N 71°19'30" W	36.30'
L64	N 39°56'03" W	19.11'
L65	N 73°41'49" W	42.09'
L66	S 54°15'02" W	32.76'
L67	S 38°51'40" W	28.87'
L68	S 37°04'51" W	36.26'
L69	S 21°50'57" W	18.50'
L70	S 16°35'47" E	29.70'
L71	S 04°02'14" E	48.01'
L72	S 27°45'32" E	31.15'
L73	S 29°13'32" E	43.31'
L74	S 79°18'26" E	31.64'
L75	S 44°47'04" E	25.26'
L76	S 76°58'14" E	50.55'
L77	N 71°13'53" E	9.19'
L78	S 11°09'27" E	9.80'
L79	N 11°09'27" W	23.69'
L80	N 09°25'30" E	31.66'
L81	S 52°11'19" W	25.95'
L82	S 71°13'53" W	25.58'
L83	N 76°58'14" W	50.55'
L84	N 44°47'04" W	33.03'
L85	N 79°18'26" W	39.41'
L86	N 29°13'32" W	42.99'
L87	N 27°45'32" W	30.83'
L88	N 04°02'14" W	50.76'
L89	N 16°35'47" W	32.45'
L90	N 21°50'57" E	18.50'
L91	N 37°04'51" E	35.87'
L92	N 38°51'40" E	28.48'
L93	N 54°15'02" E	32.76'
L94	S 73°41'49" E	42.09'
L95	S 39°56'03" E	26.14'
L97	N 42°39'34" E	21.67'
L99	S 71°19'30" E	43.33'
L101	S 43°58'18" E	33.76'
L102	N 13°12'39" E	38.96'
L105	S 48°47'20" E	10.39'
L111	S 27°21'52" E	27.31'
L118	N 53°37'03" E	38.06'
L124	N 23°04'24" E	22.82'
L128	S 37°58'20" E	23.58'
L131	S 54°06'13" W	20.45'
L156	S 30°40'05" W	33.99'
L157	S 13°55'03" W	20.63'
L158	S 02°29'01" E	45.16'
L159	S 11°10'20" W	30.19'
L160	S 04°01'51" W	34.50'
L161	S 59°46'42" E	20.19'
L162	S 02°29'47" E	13.35'
L163	S 48°08'56" W	24.78'
L164	S 18°23'41" W	20.57'

CURVE DATA TABLE

NO.	RADIUS	DELTA	ARC	CHORD	BEARING
C6	530.00'	3°40'08"	33.94'	33.93'	N 88°09'56" W
C17	260.00'	30°29'43"	138.38'	136.76'	S 02°34'54" E
C18	25.00'	79°53'45"	34.86'	32.10'	N 22°07'07" E
C19	200.00'	102°39'58"	358.37'	312.32'	S 38°40'01" E
C20	260.00'	51°57'45"	235.80'	227.80'	S 64°01'08" E
C21	25.00'	79°53'45"	34.86'	32.10'	N 77°59'08" W
C22	650.00'	46°28'30"	527.24'	512.91'	N 85°18'15" E
C23	600.00'	46°28'30"	486.68'	473.45'	N 85°18'15" E
C32	230.00'	102°39'58"	412.13'	359.16'	S 38°40'01" E
C33	625.00'	46°28'30"	506.96'	493.18'	N 85°18'15" E
C34	650.00'	40°56'39"	464.50'	454.68'	N 82°32'19" E
C50	600.00'	7°50'29"	82.12'	82.05'	N 76°30'13" E
C51	600.00'	7°50'29"	82.12'	82.05'	N 68°39'44" E
C52	600.00'	2°40'29"	28.01'	28.01'	N 63°24'14" E
C53	260.00'	22°52'35"	103.81'	103.12'	S 06°23'27" E
C54	260.00'	7°37'08"	34.57'	34.55'	S 08°51'24" W
C104	25.00'	29°26'54"	12.85'	12.71'	N 27°56'06" E
C126	230.00'	40°35'58"	162.98'	159.59'	S 07°38'01" E
C127	230.00'	62°04'00"	249.15'	237.15'	S 58°58'00" E
C131	25.00'	31°47'53"	13.87'	13.70'	N 87°07'49" E
C132	25.00'	32°11'10"	14.04'	13.86'	S 60°52'39" E
C134	25.00'	50°04'54"	21.85'	21.16'	S 54°15'59" E
C135	25.00'	23°43'18"	10.35'	10.28'	S 15°53'53" E
C137	25.00'	38°26'44"	16.78'	16.46'	S 02°37'35" W
C138	25.00'	15°13'54"	6.65'	6.63'	S 29°27'54" W
C139	25.00'	15°23'22"	6.71'	6.69'	S 46°33'21" W
C140	25.00'	52°03'09"	22.71'	21.94'	S 80°16'36" W
C142	25.00'	33°45'47"	14.73'	14.52'	N 56°48'56" W
C144	25.00'	27°21'13"	11.94'	11.82'	N 57°38'54" W
C148	25.00'	29°34'35"	12.91'	12.76'	S 37°51'42" W

GRID NORTH

SCALE 1" = 50'

0 25 50 100

SEE NOTE ON SHEET 2 OF 9 FOR BASIS OF BEARINGS

Note: In the case where the location of a P.C.P. falls in the top of a Sanitary Manhole or other Utility Structure and it cannot be set, four (4) reference points are set establishing two lines that intersect at the P.C.P. location.

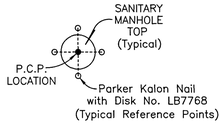

P.C.P. REFERENCE DIAGRAM

(NOT TO SCALE)

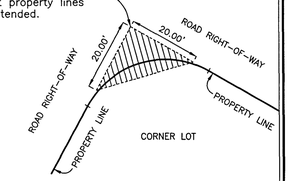

NOTE: Nothing above three and one half (3-1/2) feet in height shall be erected, placed, or planted within the Clear Sight Triangle on all corner lots.

TYPICAL CLEAR SIGHT TRIANGLE

Scale 1" = 20'

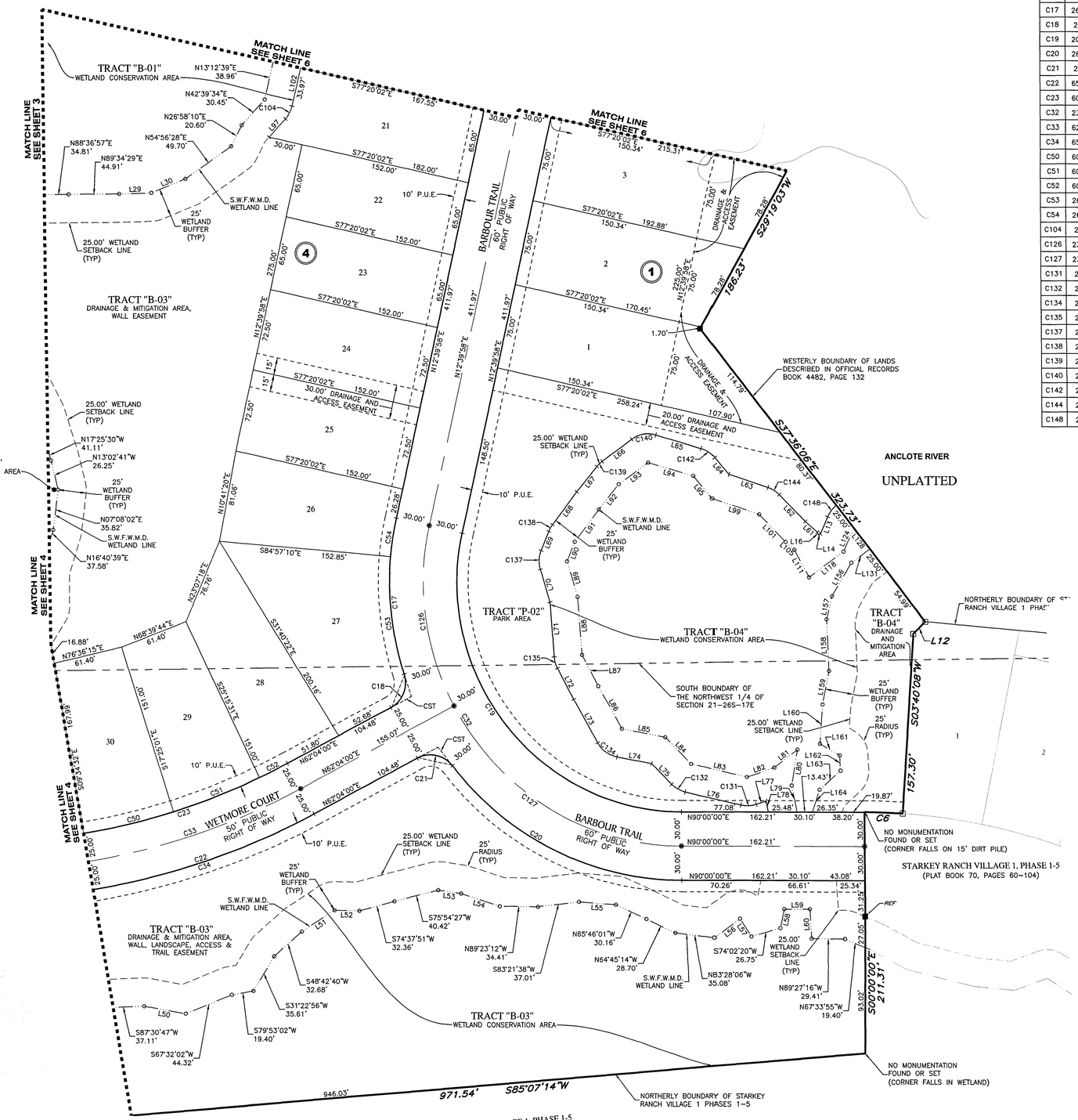

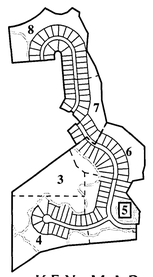

KEY MAP

(NOT TO SCALE)

LEGEND:

- indicates (P.R.M.) Set Permanent Reference Monument – 4"x4" Concrete Monument LB7768, unless otherwise noted.
- indicates (P.R.M.) Found Permanent Reference Monument – 4"x4" Concrete Monument LB7768, unless otherwise noted.
- (3) indicates (P.C.P.) Permanent Control Point LB7768
- indicates Block Number
- (TYP) Typical
- CST Clear Sight Triangle
- U.E. Utility Easement
- S.W.F.W.M.D. Southwest Florida Water Management District
- P.U.E. Public Utility Easement
- CDD Community Development District

GeoPoint Surveying, Inc.
213 Hobbs Street
Tampa, Florida 33619
www.geopointsurvey.com
Phone: (813) 248-8888
Fax: (813) 248-2266
Licensed Business Number LB 7768

WHITFIELD PRESERVE, PHASE 2

SECTIONS 16 & 21, TOWNSHIP 26 SOUTH, RANGE 17 EAST, PASCO COUNTY, FLORIDA

PLAT BOOK	PAGE NO.
81	144

CURVE DATA TABLE					
NO.	RADIUS	DELTA	ARC	CHORD	BEARING
C13	385.00'	44°58'21"	302.19'	294.49'	S 48°10'11" E
C14	325.00'	44°58'21"	255.10'	248.60'	S 48°10'11" E
C15	320.00'	83°19'19"	465.36'	425.42'	N 28°59'42" W
C16	380.00'	83°19'19"	552.61'	505.19'	N 28°59'42" W
C30	355.00'	44°58'21"	278.65'	271.55'	S 48°10'11" E
C31	350.00'	83°19'19"	508.99'	465.31'	N 28°59'42" W
C55	320.00'	5°40'23"	31.68'	31.67'	N 09°49'46" E
C56	320.00'	19°05'19"	106.61'	106.12'	N 02°33'05" W
C57	320.00'	19°05'19"	106.61'	106.12'	N 21°38'24" W
C58	320.00'	19°05'19"	106.61'	106.12'	N 40°43'42" W
C59	320.00'	19°05'19"	106.61'	106.12'	N 59°49'01" W
C60	320.00'	1°17'41"	7.23'	7.23'	N 70°00'31" W
C61	385.00'	8°03'41"	54.17'	54.12'	S 66°37'31" E
C62	385.00'	8°57'43"	60.22'	60.16'	S 58°06'48" E
C63	385.00'	8°57'43"	60.22'	60.16'	S 49°09'05" E
C64	385.00'	8°57'43"	60.22'	60.16'	S 40°11'21" E
C74	325.00'	10°23'32"	58.95'	58.87'	S 65°27'35" E
C75	380.00'	5°00'07"	33.17'	33.16'	N 68°09'18" W
C76	380.00'	10°27'38"	69.38'	69.28'	N 60°25'26" W
C77	380.00'	10°27'38"	69.38'	69.28'	N 49°57'48" W
C78	380.00'	10°27'38"	69.38'	69.28'	N 39°30'10" W
C79	380.00'	10°27'38"	69.38'	69.28'	N 29°02'32" W
C80	380.00'	10°27'38"	69.38'	69.28'	N 18°34'54" W
C81	380.00'	10°27'38"	69.38'	69.28'	N 08°07'16" W
C82	380.00'	10°27'38"	69.38'	69.28'	N 02°20'22" E
C83	380.00'	5°05'47"	33.80'	33.79'	N 10°07'05" E
C105	25.00'	33°44'20"	14.72'	14.51'	N 03°39'30" W
C106	25.00'	13°49'14"	6.03'	6.02'	N 27°26'17" W
C107	25.00'	7°45'56"	3.39'	3.39'	N 32°59'47" W
C108	25.00'	16°48'29"	7.33'	7.31'	N 41°09'59" W
C109	25.00'	38°01'07"	16.59'	16.29'	N 60°46'07" W
C110	25.00'	5°00'55"	2.19'	2.19'	N 52°13'18" W
C111	25.00'	27°43'06"	12.09'	11.98'	N 51°19'50" W
C112	25.00'	23°05'14"	10.07'	10.01'	N 52°18'59" W
C113	25.00'	29°16'24"	12.77'	12.63'	N 78°29'48" W

LINE DATA TABLE		
NO.	BEARING	LENGTH
L31	N 20°31'40" W	31.59'
L32	N 29°06'49" W	18.92'
L33	N 65°11'23" W	14.21'
L34	S 85°28'58" W	40.68'
L102	N 13°12'39" E	38.96'
L104	N 20°31'40" W	31.59'
L106	N 34°20'54" W	38.57'
L107	N 29°06'49" W	17.78'
L109	N 36°52'45" W	35.51'
L110	N 32°45'45" W	42.83'
L112	N 49°34'14" W	30.76'
L113	N 46°37'57" W	35.33'
L114	N 41°45'33" W	44.07'
L116	N 79°46'40" W	27.14'
L117	N 49°42'51" W	32.37'
L119	N 54°43'46" W	38.98'
L120	N 37°28'17" W	35.63'
L122	N 65°11'23" W	8.80'
L123	N 40°46'22" W	31.41'
L125	N 63°51'36" W	37.52'

Note: In the case where the location of a P.C.P. falls in the top of a Sanitary Manhole or other Utility Structure and it cannot be set, four (4) reference points are set establishing two lines that intersect at the P.C.P. location.

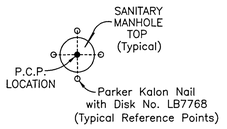

P.C.P. REFERENCE DIAGRAM

(NOT TO SCALE)

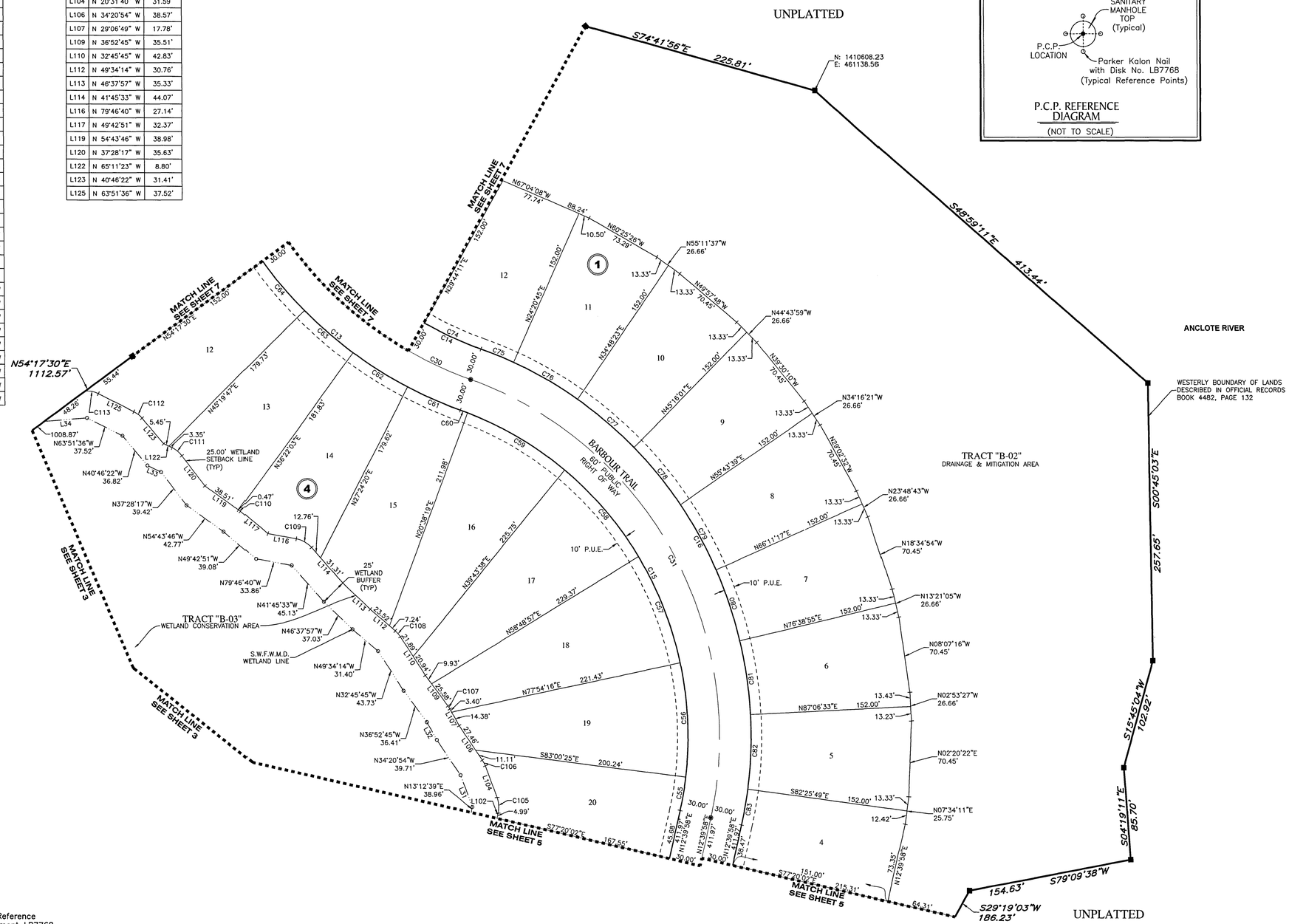

SCALE 1" = 50'

0 25 50 100

SEE NOTE ON SHEET 2 OF 9 FOR BASIS OF BEARINGS

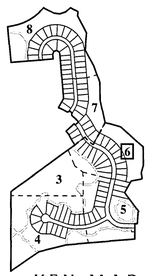

KEY MAP

(NOT TO SCALE)

LEGEND:

- ■ ---------- indicates (P.R.M.) Set Permanent Reference Monument – 4"x4" Concrete Monument LB7768, unless otherwise noted.
- ⊖ ---------- indicates (P.R.M.) Found Permanent Reference Monument – 4"x4" Concrete Monument LB7768, unless otherwise noted.
- ◉ ---------- indicates (P.C.P.) Permanent Control Point LB7768
- (3) ---------- indicates Block Number
- (TYP) ---------- Typical
- U.E. ---------- Utility Easement
- S.W.F.W.M.D. ------ Southwest Florida Water Management District
- P.U.E. ---------- Public Utility Easement
- CDD ---------- Community Development District

GeoPoint Surveying, Inc.

213 Hobbs Street
Tampa, Florida 33619
www.geopointsurvey.com

Phone: (813) 248-8888
Fax: (813) 248-2266
Licensed Business Number LB 7768

WHITFIELD PRESERVE, PHASE 2

SECTIONS 16 & 21, TOWNSHIP 26 SOUTH, RANGE 17 EAST, PASCO COUNTY, FLORIDA

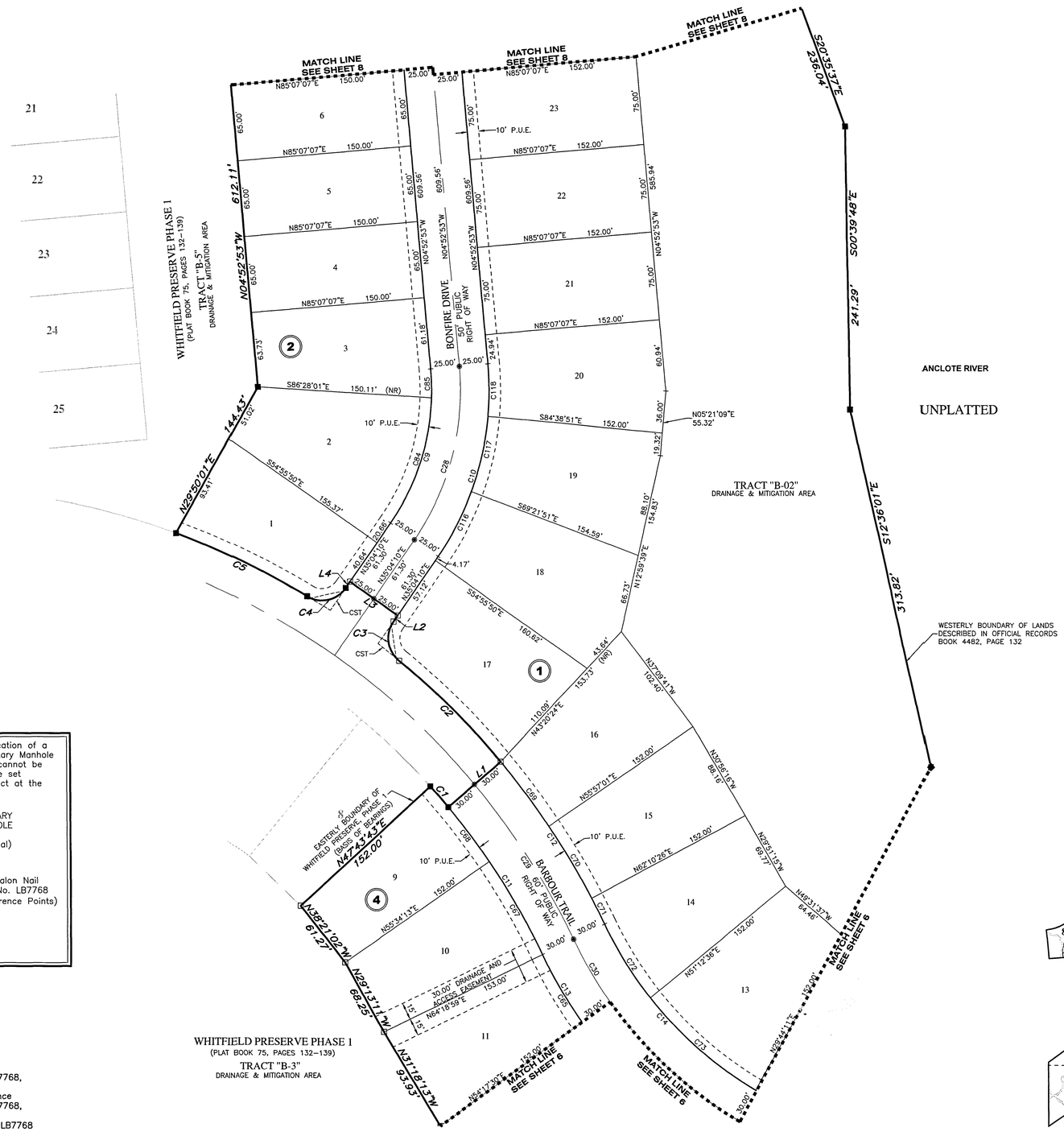



SCALE 1" = 50'

0 25 50 100

SEE NOTE ON SHEET 2 OF 9 FOR BASIS OF BEARINGS

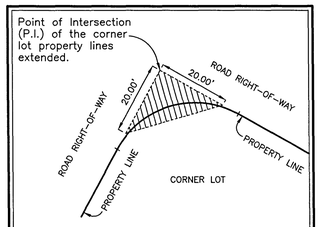

NOTE: Nothing above three and one half (3-1/2) feet in height shall be erected, placed, or planted within the Clear Sight Triangle on all corner lots.

TYPICAL CLEAR SIGHT TRIANGLE

Scale 1" = 20'

Note: In the case where the location of a P.C.P. falls in the top of a Sanitary Manhole or other Utility Structure and it cannot be set, four (4) reference points are set establishing two lines that intersect at the P.C.P. location.

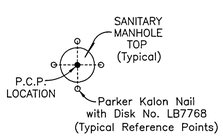

P.C.P. REFERENCE DIAGRAM

(NOT TO SCALE)

LINE DATA TABLE

NO.	BEARING	LENGTH
L1	N 49°58'36" E	60.00'
L2	N 35°04'10" E	6.44'
L3	N 54°55'50" W	50.00'
L4	S 35°04'10" W	6.44'

CURVE DATA TABLE

NO.	RADIUS	DELTA	ARC	CHORD	BEARING
C1	600.00'	2°14'53"	23.54'	23.54'	S 41°08'50" E
C2	660.00'	10°43'17"	123.50'	123.32'	N 45°23'02" W
C3	25.00'	85°48'51"	37.44'	34.04'	N 07°50'15" W
C4	25.00'	85°48'51"	37.44'	34.04'	S 77°58'36" W
C5	660.00'	10°54'24"	125.64'	125.45'	N 64°34'11" W
C9	200.00'	39°57'04"	139.46'	136.65'	N 15°05'38" E
C10	250.00'	39°57'04"	174.32'	170.81'	N 15°05'38" E
C11	600.00'	14°20'23"	150.17'	149.77'	N 32°51'12" W
C12	660.00'	25°03'40"	288.68'	286.39'	N 38°12'51" W
C13	385.00'	44°58'21"	302.19'	294.49'	S 48°10'11" E
C14	325.00'	44°58'21"	255.10'	248.60'	S 48°10'11" E
C28	225.00'	39°57'04"	156.89'	153.73'	N 15°05'38" E
C29	630.00'	14°20'23"	157.67'	157.26'	N 32°51'12" W
C30	355.00'	44°58'21"	278.65'	271.55'	S 48°10'11" E
C65	385.00'	10°01'29"	67.36'	67.28'	S 30°41'45" E
C67	600.00'	8°44'47"	91.59'	91.50'	N 30°03'24" W
C68	600.00'	5°35'36"	58.57'	58.55'	N 37°13'35" W
C69	660.00'	5°58'25"	68.81'	68.78'	N 37°02'11" W
C70	660.00'	6°13'25"	71.69'	71.65'	N 30°56'16" W
C71	660.00'	2°08'33"	24.68'	24.68'	N 26°45'17" W
C72	325.00'	13°06'23"	74.34'	74.18'	S 32°14'12" E
C73	325.00'	21°28'25"	121.81'	121.09'	S 49°31'37" E
C84	200.00'	32°54'31"	114.87'	113.30'	N 18°36'55" E
C85	200.00'	7°02'33"	24.58'	24.57'	N 01°21'37" W
C116	250.00'	14°26'02"	62.98'	62.81'	N 27°51'09" E
C117	250.00'	15°17'00"	66.69'	66.49'	N 12°59'39" E
C118	250.00'	10°14'02"	44.65'	44.59'	N 00°14'08" E

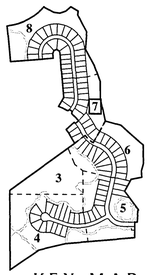

KEY MAP

(NOT TO SCALE)

LEGEND:

- indicates (P.R.M.) Set Permanent Reference Monument – 4"x4" Concrete Monument LB7768, unless otherwise noted.
- indicates (P.R.M.) Found Permanent Reference Monument – 4"x4" Concrete Monument LB7768, unless otherwise noted.
- indicates (P.C.P.) Permanent Control Point LB7768
- indicates Block Number
- (TYP) Typical
- CST Clear Sight Triangle
- U.E. Utility Easement
- S.W.F.W.M.D. Southwest Florida Water Management District
- P.U.E. Public Utility Easement
- CDD Community Development District

GeoPoint Surveying, Inc.
213 Hobbs Street
Tampa, Florida 33619
www.geopointsurvey.com
Phone: (813) 248-8888
Fax: (813) 248-2266
Licensed Business Number LB 7768

WHITFIELD PRESERVE, PHASE 2

SECTIONS 16 & 21, TOWNSHIP 26 SOUTH, RANGE 17 EAST, PASCO COUNTY, FLORIDA

PLAT BOOK	PAGE NO.
81	146

LINE DATA TABLE

NO.	BEARING	LENGTH
L5	N 19°52'07" W	25.86'
L6	N 59°39'49" W	41.96'
L7	S 70°43'13" W	41.96'
L8	S 21°07'02" W	41.96'
L9	S 86°35'04" W	50.02'
L10	S 48°45'09" E	19.08'
L11	S 06°52'33" W	56.55'
L96	S 75°36'32" E	42.04'
L165	S 03°15'31" W	10.43'
L166	S 86°44'29" E	4.21'

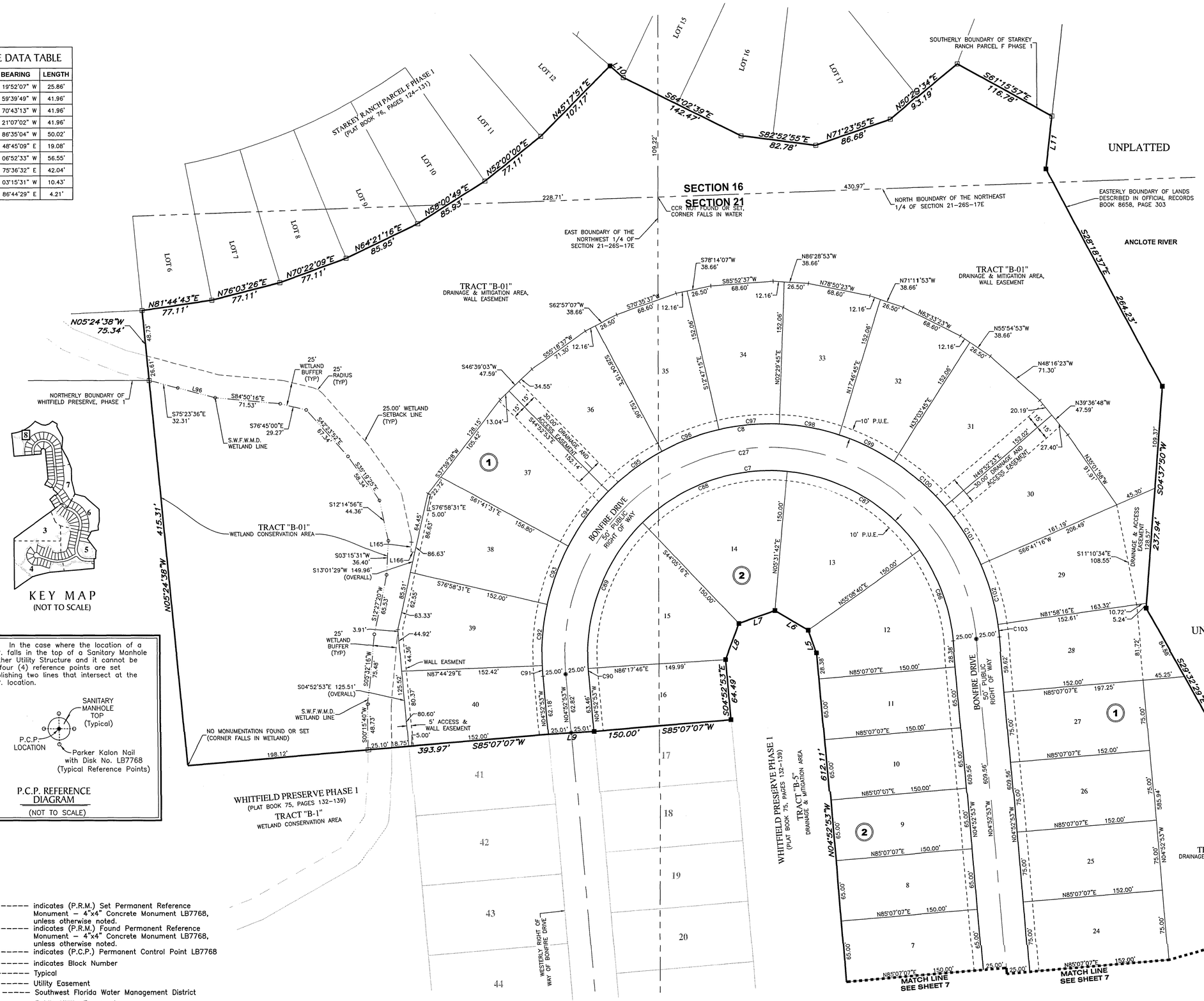

CURVE DATA TABLE

NO.	RADIUS	DELTA	ARC	CHORD	BEARING
C7	200.00'	180°00'00"	628.32'	400.00'	S 85°07'07" W
C8	250.00'	180°00'00"	785.40'	500.00'	S 85°07'07" W
C27	225.00'	180°00'00"	706.86'	450.00'	S 85°07'07" W
C86	200.00'	29°58'27"	104.63'	103.44'	N 19°52'07" W
C87	200.00'	49°36'58"	173.19'	167.83'	N 59°39'49" W
C88	200.00'	49°36'58"	173.19'	167.83'	S 70°43'13" W
C89	200.00'	49°36'58"	173.19'	167.83'	S 21°06'15" W
C90	371.79'	0°38'00"	4.11'	4.11'	S 04°17'34" E
C91	250.00'	2°37'23"	11.45'	11.44'	S 03°34'12" E
C92	250.00'	15°17'00"	66.69'	66.49'	S 05°22'59" W
C93	250.00'	15°17'00"	66.69'	66.49'	S 20°39'59" W
C94	250.00'	16°48'38"	73.35'	73.09'	S 36°42'48" W
C95	250.00'	16°48'38"	73.35'	73.09'	S 53°31'26" W
C96	250.00'	15°17'00"	66.69'	66.49'	S 69°34'15" W
C97	250.00'	15°17'00"	66.69'	66.49'	S 84°51'15" W
C98	250.00'	15°17'00"	66.69'	66.49'	N 79°51'45" W
C99	250.00'	15°17'00"	66.69'	66.49'	N 64°34'45" W
C100	250.00'	16°48'38"	73.35'	73.09'	N 48°31'56" W
C101	250.00'	16°48'53"	73.37'	73.11'	N 31°43'10" W
C102	250.00'	15°17'00"	66.69'	66.49'	S 15°40'14" E
C103	250.00'	3°08'50"	13.73'	13.73'	S 06°27'19" E

KEY MAP
(NOT TO SCALE)

Note: In the case where the location of a P.C.P. falls in the top of a Sanitary Manhole or other Utility Structure and it cannot be set, four (4) reference points are set establishing two lines that intersect at the P.C.P. location.

SANITARY MANHOLE TOP (Typical)
P.C.P. LOCATION
Parker Kalon Nail with Disk No. LB7768 (Typical Reference Points)

P.C.P. REFERENCE DIAGRAM
(NOT TO SCALE)

LEGEND:

- indicates (P.R.M.) Set Permanent Reference Monument – 4"x4" Concrete Monument LB7768, unless otherwise noted.
- indicates (P.R.M.) Found Permanent Reference Monument – 4"x4" Concrete Monument LB7768, unless otherwise noted.
- indicates (P.C.P.) Permanent Control Point LB7768
- (3) indicates Block Number
- (TYP) Typical
- U.E. Utility Easement
- S.W.F.W.M.D. Southwest Florida Water Management District
- P.U.E. Public Utility Easement
- CDD Community Development District

GeoPoint Surveying, Inc.
213 Hobbs Street
Tampa, Florida 33619
www.geopointsurvey.com
Phone: (813) 248-8888
Fax: (813) 248-2266
Licensed Business Number LB 7768