SUBDIVISIONPLAT
RECORDED IN
PUBLIC RECORDS PINELLAS COUNTY FL
BK: 142 PG:76,
03/01/2018 12:23 PM,
KEN BURKE, CLERK OF COURT AND COMPTROLLER

RECORDED IN PUBLIC RECORDS PINELLAS COUNTY FL
BK:142 PG:76-78
03/01/2018 12:23 PM,
KEN BURKE, CLERK OF COURT AND COMPTROLLER

PLAT BOOK
PAGE

ABERDEEN OAKS SUBDIVISION

A PORTION OF THE NORTHEAST 1/4 OF SECTION 35, TOWNSHIP 28 SOUTH, RANGE 15 EAST, CITY OF DUNEDIN, PINELLAS COUNTY, FLORIDA

LEGAL DESCRIPTION

A PORTION OF THE NORTHEAST 1/4 OF SECTION 35, TOWNSHIP 28 SOUTH, RANGE 15 EAST, PINELLAS COUNTY, FLORIDA. BEING MORE PARTICULARLY DESCRIBED AS FOLLOWS:

COMMENCE AT THE NORTHEAST CORNER OF SAID SECTION 35; THENCE ALONG THE NORTH BOUNDARY LINE OF THE NORTHEAST 1/4 OF SAID SECTION 35 NORTH 88°29'16" WEST, A DISTANCE OF 491.25 FEET TO A POINT ON THE NORTHERLY EXTENSION OF THE MONUMENTED WEST BOUNDARY LINE OF WOODED ACRES, AS SHOWN ON THE PLAT RECORDED IN PLAT BOOK 77, PAGE 81 OF THE PUBLIC RECORDS OF SAID PINELLAS COUNTY; THENCE ALONG SAID NORTHERLY EXTENSION SOUTH 00°10'08" EAST, A DISTANCE OF 50.02 FEET TO THE NORTHWEST CORNER OF SAID WOODED ACRES, SAID POINT BEING THE POINT OF BEGINNING; THENCE ALONG SAID WESTERLY BOUNDARY LINE SOUTH 00°10'08" EAST, A DISTANCE OF 897.39 FEET TO THE SOUTHWEST CORNER OF SAID WOODED ACRES, THE SAME BEING ON THE NORTH BOUNDARY LINE OF COASTAL HIGHLANDS AS SHOWN ON THE PLAT RECORDED IN PLAT BOOK 91, PAGE 87 OF SAID PUBLIC RECORDS; THENCE ALONG SAID NORTH BOUNDARY LINE, SOUTH 85°37'55" WEST, A DISTANCE OF 316.29 FEET TO THE SOUTHEAST CORNER OF THE PARCEL DESCRIBED IN OFFICIAL RECORDS BOOK 07654, PAGE 0648 OF SAID PUBLIC RECORDS; THENCE ALONG THE EAST AND NORTH BOUNDARY LINES OF SAID PARCEL THE FOLLOWING THREE (3) COURSES AND DISTANCES: (1) NORTH 00°01'29" EAST, A DISTANCE OF 407.99 FEET; (2) NORTH 88°27'43" WEST, A DISTANCE OF 144.78 FEET; (3) NORTH 00°00'50" WEST, A DISTANCE OF 521.68 FEET TO THE NORTHEAST CORNER OF SAID PARCEL, SAID POINT BEING ON THE SOUTH RIGHT-OF-WAY LINE OF VIRGINIA STREET (COUNTY ROAD NO. 34); THENCE ALONG SAID SOUTH RIGHT-OF-WAY LINE SOUTH 88°29'16" EAST, A DISTANCE OF 457.56 FEET TO THE POINT OF BEGINNING.

THE ABOVE DESCRIBED PARCEL CONTAINS 8.39 ACRES MORE OR LESS.

DEDICATION

THE UNDERSIGNED HEREBY CERTIFY THAT THEY ARE THE OWNERS OF THE ABOVE DESCRIBED LAND PLATTED AS ABERDEEN OAKS SUBDIVISION.

TRACT "A" (INGRESS, EGRESS, DRAINAGE AND UTILITY EASEMENT TRACT), TRACT "B" (DRAINAGE AND UTILITY EASEMENT TRACT), AND TRACT "C" (DRAINAGE EASEMENT TRACT) SHALL BE CONVEYED BY SEPARATE INSTRUMENT TO THE ABERDEEN OAKS HOMEOWNERS ASSOCIATION, INC. (HOA), A FLORIDA NOT FOR PROFIT CORPORATION, ITS SUCCESSORS AND/OR ASSIGNS (THE ASSOCIATION). SAID TRACTS SHALL BE FOR THE BENEFIT OF THE INDIVIDUAL OWNERS AND SHALL BE MAINTAINED BY SAID ASSOCIATION.

THE OWNER FURTHER DEDICATES, DECLARES AND RESERVES EASEMENTS AS FOLLOWS:

1. TRACT "A" SHALL BE AN INGRESS AND EGRESS EASEMENT FOR THE BENEFIT OF THE OWNERS OF THE LAND DESCRIBED IN THIS PLAT. THE HOA WILL MAINTAIN TRACT "A" AND IT SHALL NOT BECOME A PART OF THE PUBLIC ROAD SYSTEM OF THE CITY OF DUNEDIN OR PINELLAS COUNTY, FLORIDA. THE OWNER DEDICATES ALL PROVIDERS OF WATER UTILITIES, GAS UTILITIES, ELECTRIC UTILITIES, TELEPHONE UTILITIES, CABLE TELEVISION UTILITIES AND OTHER PUBLIC UTILITIES A NON-EXCLUSIVE EASEMENT OVER, UNDER AND THROUGH TRACT "A" FOR THE PURPOSE OF INSTALLING, MAINTAINING AND REPAIRING SAID UTILITIES FOR THE BENEFIT OF THE OWNERS OF THE LAND DESCRIBED IN THIS PLAT. THE OWNER DEDICATES TO THE CITY OF DUNEDIN AND ALL PROVIDERS OF EMERGENCY SERVICES, MAIL, SANITATION AND OTHER GOVERNMENTAL OR SIMILAR SERVICES A PERPETUAL NON-EXCLUSIVE EASEMENT OVER TRACT "A" FOR INGRESS AND EGRESS TO PERFORM THEIR OFFICIAL DUTIES AND OBLIGATIONS.

2. TRACT "B" SHALL BE A PERPETUAL DRAINAGE AND UTILITY EASEMENT FOR THE BENEFIT OF THE CITY OF DUNEDIN (THE CITY).

3. TRACT "C" SHALL BE A PERPETUAL DRAINAGE EASEMENT FOR THE BENEFIT OF THE CITY. THERE IS A PRIVATE RECREATION AREA WITHIN TRACT "C" AS DETAILED ON SHEET 2 OF 3 DEDICATED TO THE HOA.

4. A 5 FOOT WIDE DRAINAGE EASEMENT, FOR THE BENEFIT OF THE HOA AND THE CITY, ALONG ALL INTERIOR SIDEYARD LOT LINES FOR THE PURPOSE OF MAINTAINING PROPER DRAINAGE FLOW AND THE APPROPRIATE INGRESS AND EGRESS OVER THE LOTS TO ACCESS SUCH EASEMENT.

5. A 15 FOOT WIDE SUBDIVISION PERIMETER DRAINAGE AND UTILITY EASEMENT, EXCEPT ALONG LOTS 16 AND 17 WHERE SAID EASEMENT IS 7.5 FOOT WIDE, FOR THE BENEFIT OF THE CITY.

6. A 10 FOOT WIDE NON-EXCLUSIVE UTILITY EASEMENT ALONG THE FRONT OF EVERY LOT FOR THE BENEFIT OF ALL PROVIDERS OF GAS UTILITIES, ELECTRIC UTILITIES, TELEPHONE UTILITIES, CABLE TELEVISION UTILITIES AND OTHER PUBLIC UTILITIES FOR THE PURPOSE OF INSTALLING, MAINTAINING AND REPAIRING STREET LIGHTS, GAS, TELEPHONE, ELECTRIC, CABLE TELEVISION AND OTHER PUBLIC UTILITIES INFRASTRUCTURE.

THE HOMEOWNER'S ASSOCIATION SHALL BE RESPONSIBLE FOR THE ONSITE MAINTENANCE AND OPERATION OF THE STORM WATER MANAGEMENT SYSTEM, THE ROADWAYS AND THE SANITARY SEWER SYSTEM.

FOR VALUABLE CONSIDERATION, WE, THE UNDERSIGNED ("GRANTOR") DO HEREBY PERMANENTLY GRANT TO DUKE ENERGY FLORIDA, INC. AND THEIR PARENT ENTITY (OR THE ENTITY CONTROLLING BOTH ENTITTIES), THEIR RESPECTIVE SUBSIDIARIES OR AFFILIATE ENTITIES, AND ANY OTHER PROVIDER OF UTILITY SERVICES (GRANTEE") THEIR SUCCESSORS AND ASSIGNS, FOREVER, NON-EXCLUSIVE EASEMENTS, AS SHOWN ON THE WITHIN PLAT AND DESIGNATED AS "UTILITY EASEMENTS" FOR THE CONSTRUCTION, OPERATION, MAINTENANCE, REPAIR, OR REPLACEMENT OF ANY AND ALL NECESSARY FIXTURES FOR THE OVERHEAD AND UNDERGROUND DISTRIBUTION OF GAS, ELECTRIC, TELEPHONE, TELECOMMUNICATIONS OR OTHER UTILITIES ("GRANTEE FACILITIES" OR "FACILITIES"). THE GRANTEE SHALL HAVE THE RIGHT OF INGRESS AND EGRESS AND ALSO THE RIGHT TO CUT, TRIM OR REMOVE ANY TREES, UNDERGROWTH OR OVERHANGING BRANCHES WITHIN THE UTILITY EASEMENTS OR IMMEDIATELY ADJACENT THERETO. NO BUILDINGS OR OTHER STRUCTURES MAY BE BUILT WITHIN THE UTILITY EASEMENTS AREA, NOR MAY THE UTILITY EASEMENTS AREA BE PHYSICALLY ALTERED TO (1) REDUCE THE CLEARANCES OF EITHER OVERHEAD OR UNDERGROUND FACILITIES; (2) IMPAIR THE LAND SUPPORT OF GRANTEE FACILITIES; (3) IMPAIR THE ABILITY TO MAINTAIN THE FACILITIES OR; (4) CREATE A HAZARD. TO HAVE AND TO HOLD THE EASEMENT FOREVER. WE ACKNOWLEDGE HAVING THE FULL POWER TO CONVEY THIS UTILITY EASEMENT AND WILL DEFEND THE SAME AGAINST ALL CLAIMS.

OWNER

ABERDEEN OAKS, LLC
A FLORIDA LIMITED LIABILITY COMPANY

C. REED HAYDON
MANAGER

WITNESS — ROGERS HAYDON, WITNESS NAME PRINTED

WITNESS — Rebecca Bailey, WITNESS NAME PRINTED

ACKNOWLEDGMENT

STATE OF FLORIDA
COUNTY OF PINELLAS

I HEREBY CERTIFY ON THIS 8TH DAY OF FEBRUARY 2018, BEFORE ME PERSONALLY APPEARED C. REED HAYDON, MANAGER OF ABERDEEN OAKS, LLC, A FLORIDA LIMITED LIABILITY COMPANY, TO ME KNOWN TO BE THE PERSON DESCRIBED IN AND WHO EXECUTED THE FOREGOING DEDICATION AND ACKNOWLEDGED THE EXECUTION THEREOF TO BE HIS FREE ACT AND DEED FOR THE USES AND PURPOSES THEREIN EXPRESSED.

IN WITNESS WHEREOF I HEREUNTO SET MY HAND AND SEAL ON THE BELOW DATE.

NOTARY PUBLIC STATE OF FLORIDA AT LARGE — DATE: 02-08-18

ANNETTE JACOBY
MY COMMISSION # FF 918691
EXPIRES: October 24, 2019
Bonded Thru Notary Public Underwriters

CONSENT TO PLAT

FIRST CONTINENTAL INVESTMENT COMPANY, LTD, AS MORTGAGEE UNDER CERTAIN MORTGAGE DATED MARCH 10, 2017, RECORDED IN OFFICIAL RECORDS BOOK 19550, PAGE 1492, PUBLIC RECORDS OF PINELLAS COUNTY, FLORIDA, BY THE CONSENT TO PLATTING AS RECORDED IN OFFICIAL RECORDS BOOK 19779, PAGE 1312, DOES JOIN IN AND CONSENT TO THE DEDICATION OF THE LANDS DESCRIBED HEREON, AND AGREES THAT IN THE EVENT OF THE FORECLOSURE OF THIS MORTGAGE ALL DEDICATED AREAS SHALL SURVIVE AND BE ENFORCEABLE.

CONSENT TO PLAT

WEEKLEY HOMES, LLC, AS MORTGAGEE UNDER CERTAIN MORTGAGE DATED MARCH 10, 2017, RECORDED IN OFFICIAL RECORDS BOOK 19550, PAGE 1573, PUBLIC RECORDS OF PINELLAS COUNTY, FLORIDA, BY THE CONSENT TO PLATTING AS RECORDED IN OFFICIAL RECORDS BOOK 19779, PAGE 1314, DOES JOIN IN AND CONSENT TO THE DEDICATION OF THE LANDS DESCRIBED HEREON, AND AGREES THAT IN THE EVENT OF THE FORECLOSURE OF THIS MORTGAGE ALL DEDICATED AREAS SHALL SURVIVE AND BE ENFORCEABLE.

CONSENT TO PLAT

JOHN DOWNES, AS MORTGAGEE UNDER CERTAIN MORTGAGE DATED MARCH 10, 2017, RECORDED IN OFFICIAL RECORDS BOOK 19550, PAGE 1636, PUBLIC RECORDS OF PINELLAS COUNTY, FLORIDA, BY THE CONSENT TO PLATTING AS RECORDED IN OFFICIAL RECORDS BOOK 19785, PAGE 2425, DOES JOIN IN AND CONSENT TO THE DEDICATION OF THE LANDS DESCRIBED HEREON, AND AGREES THAT IN THE EVENT OF THE FORECLOSURE OF THIS MORTGAGE ALL DEDICATED AREAS SHALL SURVIVE AND BE ENFORCEABLE.

CONFIRMATION OF ACCEPTANCE

ABERDEEN OAKS HOMEOWNERS ASSOCIATION, INC., A FLORIDA NOT FOR PROFIT CORPORATION, JOIN IN THE DEDICATION FOR THE PURPOSE OF ACCEPTING THE MAINTENANCE OF TRACTS "A", "B" AND "C" AS SHOWN ON THIS PLAT.

ABERDEEN OAKS HOMEOWNERS ASSOCIATION, INC.

BY: C. REED HAYDON / PRESIDENT

WITNESS — ROGERS HAYDON, WITNESS NAME PRINTED

WITNESS — Rebecca Bailey, WITNESS NAME PRINTED

ACKNOWLEDGMENT

STATE OF FLORIDA
COUNTY OF PINELLAS

I HEREBY CERTIFY ON THIS 6TH DAY OF FEBRUARY 2018, BEFORE ME PERSONALLY APPEARED C. REED HAYDON, PRESIDENT OF ABERDEEN OAKS HOMEOWNERS ASSOCIATION, INC., A FLORIDA NOT FOR PROFIT CORPORATION, TO ME KNOWN TO BE THE PERSON DESCRIBED IN AND WHO EXECUTED THE FOREGOING CERTIFICATE AND DEDICATION AD ACKNOWLEDGED THE EXECUTION THEREOF TO BE HIS FREE ACT AND DEED FOR THE USES AND PURPOSES THEREIN EXPRESSED.

IN WITNESS WHEREOF I HEREUNTO SET MY HAND AND SEAL ON THE BELOW DATE.

NOTARY PUBLIC STATE OF FLORIDA AT LARGE — 02/08/18

ANNETTE JACOBY
MY COMMISSION # FF 918691
EXPIRES: October 24, 2019
Bonded Thru Notary Public Underwriters

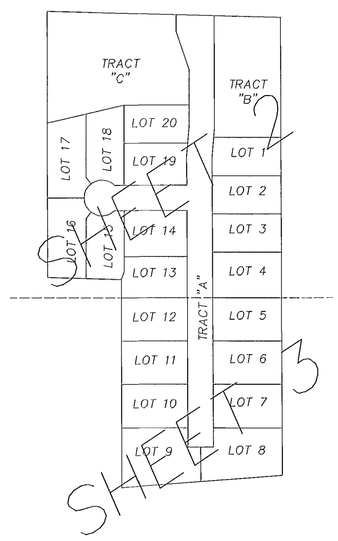

KEY MAP
NOT TO SCALE

CERTIFICATE OF APPROVAL OF CITY COMMISSION

IT IS HEREBY CERTIFIED THAT THIS PLAT HAS BEEN OFFICIALLY APPROVED FOR RECORD BY THE CITY COMMISSION OF THE CITY OF DUNEDIN, PINELLAS COUNTY, FLORIDA THIS 1ST DAY OF DECEMBER, 2017.

BY: JULIE WARD BUJALSKI, MAYOR

BY: THOMAS J. CRASK, CITY ATTORNEY

BY: DENISE M. KIRKPATRICK, CITY CLERK

CERTIFICATE OF APPROVAL OF CITY MANAGER

IT IS HEREBY CERTIFIED THAT THIS PLAT HAS BEEN OFFICIALLY APPROVED BY THE CITY OF DUNEDIN, PINELLAS COUNTY, FLORIDA, THIS 1ST DAY OF DECEMBER 2017; PROVIDED THAT THE PLAT IS FILED IN THE OFFICE OF THE CLERK OF THE CIRCUIT COURT OF PINELLAS COUNTY, FLORIDA, WITHIN ONE MONTH FROM THE DATE OF THIS APPROVAL.

BY: JENNIFER K. BRAMLEY, CITY MANAGER

CERTIFICATE OF APPROVAL OF COUNTY CLERK

STATE OF FLORIDA
COUNTY OF PINELLAS

I, KEN BURKE, CLERK OF THE CIRCUIT COURT OF PINELLAS COUNTY, FLORIDA, HEREBY CERTIFY THAT THIS PLAT HAS BEEN EXAMINED AND THAT IT COMPLIES IN FORM WITH ALL THE REQUIREMENTS OF THE STATUTES OF FLORIDA PERTAINING TO MAPS AND PLATS, AND THAT THIS PLAT HAS BEEN FILED FOR RECORD IN PLAT BOOK 142, PAGES 76-78, PUBLIC RECORDS OF PINELLAS COUNTY, FLORIDA, THIS 1ST DAY OF MARCH, A.D., 2018

DATE: 03.01.18

BY: DEPUTY CLERK Natasha Felix-Bunch

KEN BURKE, CLERK
PINELLAS COUNTY, FLORIDA

CERTIFICATE OF CONFORMITY:

REVIEWED FOR CONFORMITY TO CHAPTER 177, PART I, FLORIDA STATUTES BY A PROFESSIONAL SURVEYOR AND MAPPER UNDER CONTRACT TO THE CITY OF DUNEDIN.

CATHERINE A. BOSCO, PROFESSIONAL SURVEYOR & MAPPER
FLORIDA REGISTRATION NUMBER 6257

DATE: 11/10/2017

GEORGE F. YOUNG, INC.
L.B. 021
299 DR. M.L. KING JR. STREET NORTH
ST. PETERSBURG, FL. 33701
(727) 822-4317

SURVEYOR'S CERTIFICATE

I CERTIFY THAT THIS PLAT WAS PREPARED UNDER MY RESPONSIBLE DIRECTION AND SUPERVISION; THAT THIS PLAT AND THE SURVEY DATA HEREON COMPLY WITH ALL THE REQUIREMENTS OF CHAPTER 177 F.S.; THAT THIS PLAT MEETS ALL MATERIAL IN COMPOSITION REQUIRED BY F.S. 177.091; THAT THIS PLAT IS A TRUE AND CORRECT REPRESENTATION OF THE LANDS SURVEYED AND THAT THE SURVEY WAS MADE UNDER MY RESPONSIBLE DIRECTION AND SUPERVISION; AND THAT PERMANENT REFERENCE MONUMENTS (P.R.M.'S) HAVE BEEN SET BEFORE THE RECORDING OF THIS PLAT.

PRECISION SURVEYING & MAPPING, INC.
7710 MASSACHUSETTS AVENUE
NEW PORT RICHEY, FLORIDA 34653
CERTIFICATE OF AUTHORIZATION NO. LB-6734

JON S. ROBBINS
FLORIDA PROFESSIONAL SURVEYOR & MAPPER NO. 4452.

DATE: 11-6-17

PRECISION SURVEYING & MAPPING, INC.
7710 MASSACHUSETTS AVENUE, NEW PORT RICHEY, FLORIDA 34653
PHONE 727-841-8414
LB NO. 6734

SUBDIVISION PLAT
PLAT BOOK: 142 PAGE:77

PLAT BOOK
PAGE

ABERDEEN OAKS SUBDIVISION

A PORTION OF THE NORTHEAST 1/4 OF SECTION 35, TOWNSHIP 28 SOUTH, RANGE 15 EAST, CITY OF DUNEDIN, PINELLAS COUNTY, FLORIDA

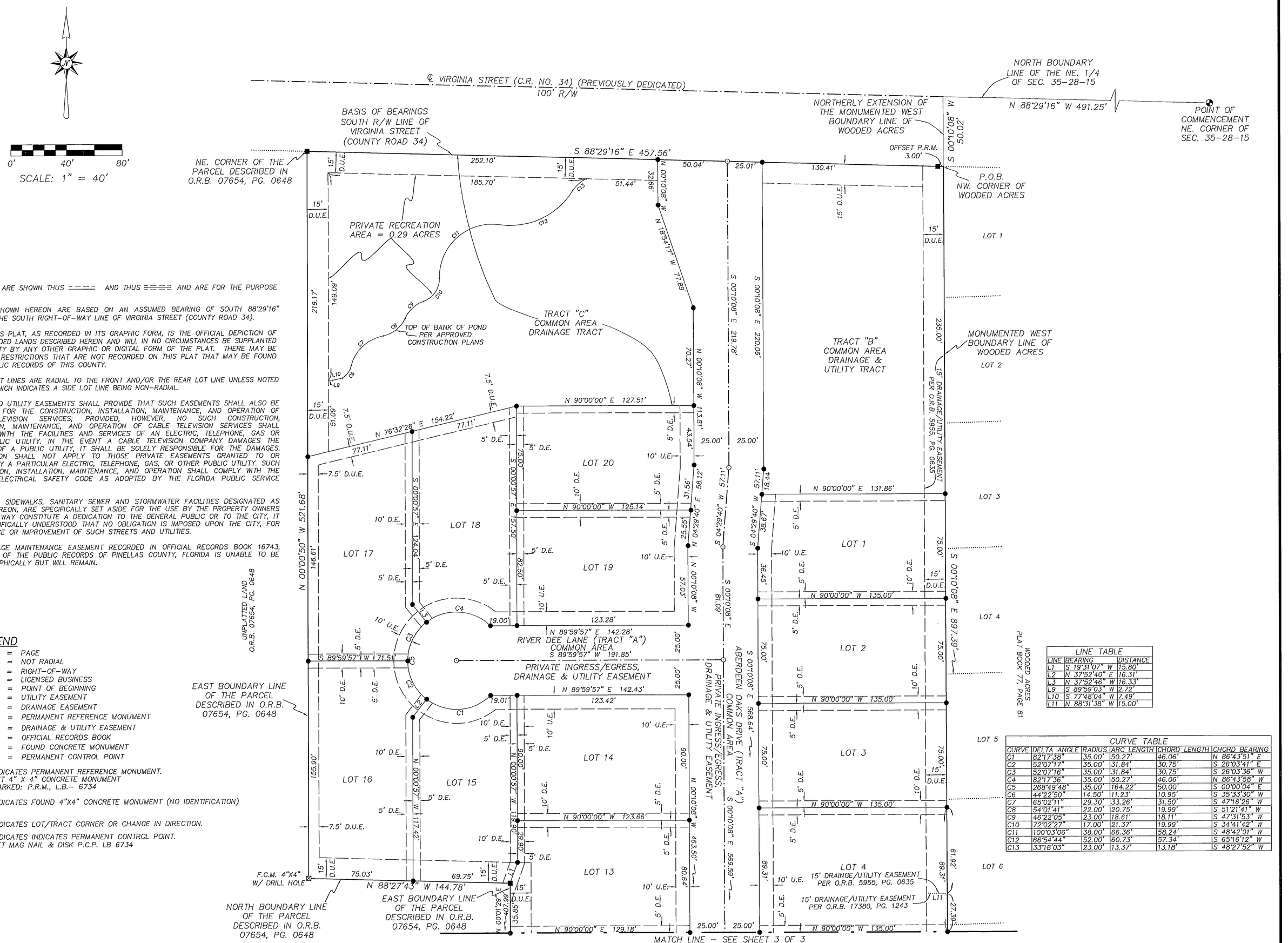

NOTES

1. EASEMENTS ARE SHOWN THUS ═══ AND THUS ═══ AND ARE FOR THE PURPOSE STATED.
2. BEARINGS SHOWN HEREON ARE BASED ON AN ASSUMED BEARING OF SOUTH 88°29'16" EAST FOR THE SOUTH RIGHT-OF-WAY LINE OF VIRGINIA STREET (COUNTY ROAD 34).
3. NOTICE: THIS PLAT, AS RECORDED IN ITS GRAPHIC FORM, IS THE OFFICIAL DEPICTION OF THE SUBDIVIDED LANDS DESCRIBED HEREIN AND WILL IN NO CIRCUMSTANCES BE SUPPLANTED IN AUTHORITY BY ANY OTHER GRAPHIC OR DIGITAL FORM OF THE PLAT. THERE MAY BE ADDITIONAL RESTRICTIONS THAT ARE NOT RECORDED ON THIS PLAT THAT MAY BE FOUND IN THE PUBLIC RECORDS OF THIS COUNTY.
4. ALL SIDE LOT LINES ARE RADIAL TO THE FRONT AND/OR THE REAR LOT LINE UNLESS NOTED BY (N.R.) WHICH INDICATES A SIDE LOT LINE BEING NON-RADIAL.
5. ALL PLATTED UTILITY EASEMENTS SHALL PROVIDE THAT SUCH EASEMENTS SHALL ALSO BE EASEMENTS FOR THE CONSTRUCTION, INSTALLATION, MAINTENANCE, AND OPERATION OF CABLE TELEVISION SERVICES; PROVIDED, HOWEVER, NO SUCH CONSTRUCTION, INSTALLATION, MAINTENANCE, AND OPERATION OF CABLE TELEVISION SERVICES SHALL INTERFERE WITH THE FACILITIES AND SERVICES OF AN ELECTRIC, TELEPHONE, GAS OR OTHER PUBLIC UTILITY. IN THE EVENT A CABLE TELEVISION COMPANY DAMAGES THE FACILITIES OF A PUBLIC UTILITY, IT SHALL BE SOLELY RESPONSIBLE FOR THE DAMAGES. THIS SECTION SHALL NOT APPLY TO THOSE PRIVATE EASEMENTS GRANTED TO OR OBTAINED BY A PARTICULAR ELECTRIC, TELEPHONE, GAS, OR OTHER PUBLIC UTILITY. SUCH CONSTRUCTION, INSTALLATION, MAINTENANCE, AND OPERATION SHALL COMPLY WITH THE NATIONAL ELECTRICAL SAFETY CODE AS ADOPTED BY THE FLORIDA PUBLIC SERVICE COMMISSION.
6. ALL ROADS, SIDEWALKS, SANITARY SEWER AND STORMWATER FACILITIES DESIGNATED AS PRIVATE HEREON, ARE SPECIFICALLY SET ASIDE FOR THE USE BY THE PROPERTY OWNERS AND IN NO WAY CONSTITUTE A DEDICATION TO THE GENERAL PUBLIC OR TO THE CITY, IT BEING SPECIFICALLY UNDERSTOOD THAT NO OBLIGATION IS IMPOSED UPON THE CITY, FOR MAINTENANCE OR IMPROVEMENT OF SUCH STREETS AND UTILITIES.
7. THE DRAINAGE MAINTENANCE EASEMENT RECORDED IN OFFICIAL RECORDS BOOK 16743, PAGE 2337 OF THE PUBLIC RECORDS OF PINELLAS COUNTY, FLORIDA IS UNABLE TO BE SHOWN GRAPHICALLY BUT WILL REMAIN.

LEGEND

PG.	=	PAGE
N.R.	=	NOT RADIAL
R/W	=	RIGHT-OF-WAY
LB.	=	LICENSED BUSINESS
P.O.B.	=	POINT OF BEGINNING
U.E.	=	UTILITY EASEMENT
D.E.	=	DRAINAGE EASEMENT
P.R.M.	=	PERMANENT REFERENCE MONUMENT
D.U.E.	=	DRAINAGE & UTILITY EASEMENT
O.R.B.	=	OFFICIAL RECORDS BOOK
F.C.M.	=	FOUND CONCRETE MONUMENT
P.C.P.	=	PERMANENT CONTROL POINT

■ INDICATES PERMANENT REFERENCE MONUMENT. SET 4" X 4" CONCRETE MONUMENT MARKED: P.R.M., L.B.- 6734

⊠ INDICATES FOUND 4"X4" CONCRETE MONUMENT (NO IDENTIFICATION)

● INDICATES LOT/TRACT CORNER OR CHANGE IN DIRECTION.

○ INDICATES INDICATES PERMANENT CONTROL POINT. SET MAG NAIL & DISK P.C.P. LB 6734

LINE TABLE

LINE	BEARING	DISTANCE
L1	S 19°31'07" W	15.80'
L2	N 37°52'40" E	16.31'
L3	N 37°52'46" W	16.33'
L9	S 89°59'03" W	2.72'
L10	S 77°48'04" W	7.49'
L11	N 88°31'38" W	15.00'

CURVE TABLE

CURVE	DELTA ANGLE	RADIUS	ARC LENGTH	CHORD LENGTH	CHORD BEARING
C1	82°17'38"	35.00'	50.27'	46.06'	N 86°43'51" E
C2	52°07'17"	35.00'	31.84'	30.75'	S 26°03'41" E
C3	52°07'16"	35.00'	31.84'	30.75'	S 26°03'36" W
C4	82°17'36"	35.00'	50.27'	46.06'	N 86°43'58" W
C5	268°49'48"	35.00'	164.22'	50.00'	S 00°00'04" E
C6	44°22'50"	14.50'	11.23'	10.95'	S 35°33'30" W
C7	65°02'11"	29.30'	33.26'	31.50'	S 47°16'26" W
C8	54°01'41"	22.00'	20.75'	19.99'	S 51°21'41" W
C9	46°22'05"	23.00'	18.61'	18.11'	S 47°31'53" W
C10	72°02'27"	17.00'	21.37'	19.99'	S 34°41'42" W
C11	100°03'06"	38.00'	66.36'	58.24'	S 48°42'01" W
C12	66°54'44"	52.00'	60.73'	57.34'	S 65°16'12" W
C13	33°18'03"	23.00'	13.37'	13.18'	S 48°27'52" W

~~PRECISION~~ SURVEYING & MAPPING, INC.
7710 MASSACHUSETTS AVENUE, NEW PORT RICHEY, FLORIDA 34653
PHONE 727-841-8414
LB NO. 6734

SUBDIVISION PLAT
PLAT BOOK: 142 PAGE:78
PLAT BOOK
PAGE

ABERDEEN OAKS SUBDIVISION

A PORTION OF THE NORTHEAST 1/4 OF SECTION 35, TOWNSHIP 28 SOUTH, RANGE 15 EAST, CITY OF DUNEDIN, PINELLAS COUNTY, FLORIDA

0' 40' 80'
SCALE: 1" = 40'

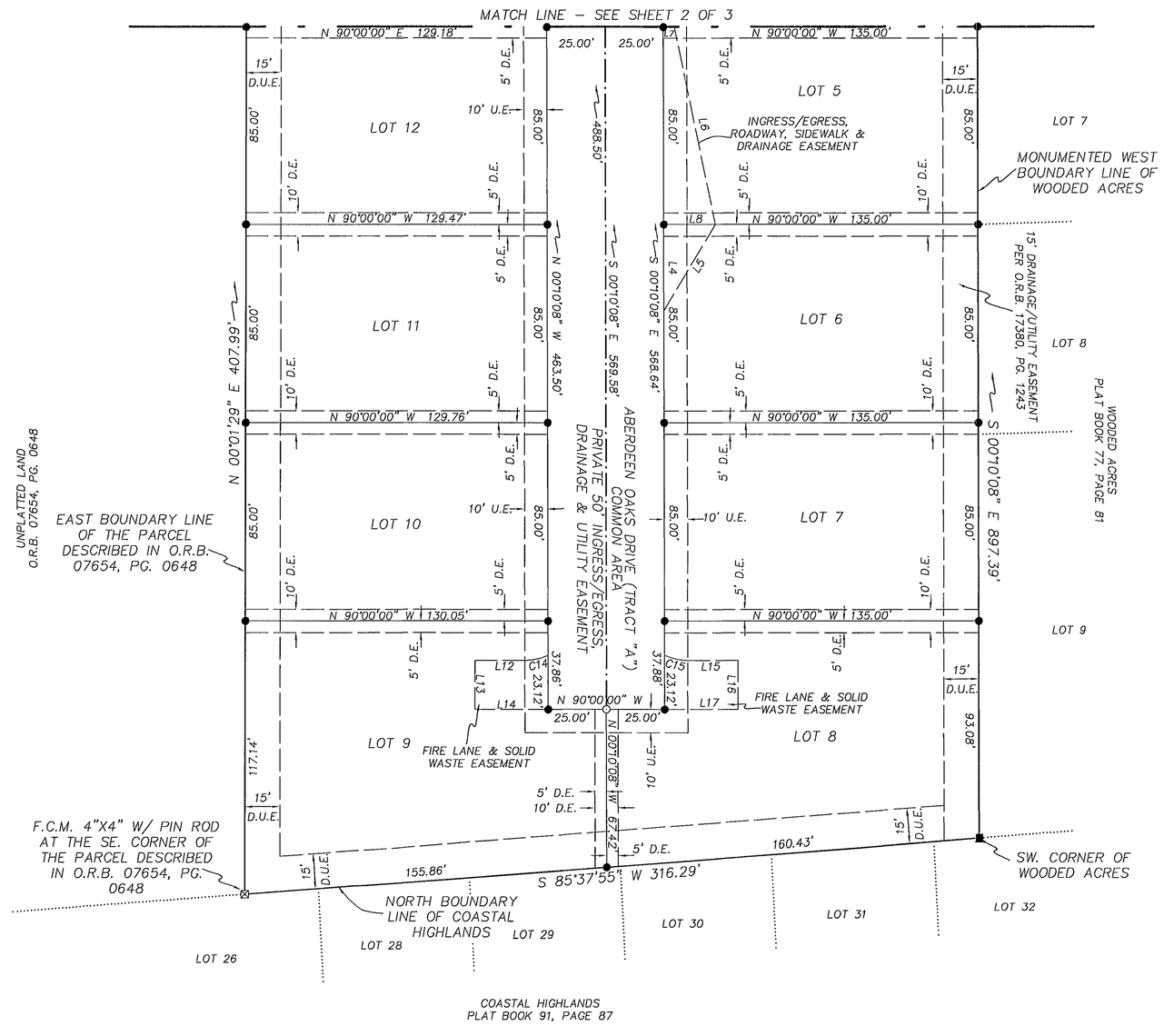

NOTES

1. EASEMENTS ARE SHOWN THUS ═══ AND THUS ≡≡≡ AND ARE FOR THE PURPOSE STATED.
2. BEARINGS SHOWN HEREON ARE BASED ON AN ASSUMED BEARING OF SOUTH 88°29'16" EAST FOR THE SOUTH RIGHT-OF-WAY LINE OF VIRGINIA STREET (COUNTY ROAD 34).
3. NOTICE: THIS PLAT, AS RECORDED IN ITS GRAPHIC FORM, IS THE OFFICIAL DEPICTION OF THE SUBDIVIDED LANDS DESCRIBED HEREIN AND WILL IN NO CIRCUMSTANCES BE SUPPLANTED IN AUTHORITY BY ANY OTHER GRAPHIC OR DIGITAL FORM OF THE PLAT. THERE MAY BE ADDITIONAL RESTRICTIONS THAT ARE NOT RECORDED ON THIS PLAT THAT MAY BE FOUND IN THE PUBLIC RECORDS OF THIS COUNTY.
4. ALL SIDE LOT LINES ARE RADIAL TO THE FRONT AND/OR THE REAR LOT LINE UNLESS NOTED BY (N.R.) WHICH INDICATES A SIDE LOT LINE BEING NON-RADIAL.
5. ALL PLATTED UTILITY EASEMENTS SHALL PROVIDE THAT SUCH EASEMENTS SHALL ALSO BE EASEMENTS FOR THE CONSTRUCTION, INSTALLATION, MAINTENANCE, AND OPERATION OF CABLE TELEVISION SERVICES; PROVIDED, HOWEVER, NO SUCH CONSTRUCTION, INSTALLATION, MAINTENANCE, AND OPERATION OF CABLE TELEVISION SERVICES SHALL INTERFERE WITH THE FACILITIES AND SERVICES OF AN ELECTRIC, TELEPHONE, GAS OR OTHER PUBLIC UTILITY. IN THE EVENT A CABLE TELEVISION COMPANY DAMAGES THE FACILITIES OF A PUBLIC UTILITY, IT SHALL BE SOLELY RESPONSIBLE FOR THE DAMAGES. THIS SECTION SHALL NOT APPLY TO THOSE PRIVATE EASEMENTS GRANTED TO OR OBTAINED BY A PARTICULAR ELECTRIC, TELEPHONE, GAS, OR OTHER PUBLIC UTILITY. SUCH CONSTRUCTION, INSTALLATION, MAINTENANCE, AND OPERATION SHALL COMPLY WITH THE NATIONAL ELECTRICAL SAFETY CODE AS ADOPTED BY THE FLORIDA PUBLIC SERVICE COMMISSION.
6. ALL ROADS, SIDEWALKS, SANITARY SEWER AND STORMWATER FACILITIES DESIGNATED AS PRIVATE HEREON, ARE SPECIFICALLY SET ASIDE FOR THE USE BY THE PROPERTY OWNERS AND IN NO WAY CONSTITUTE A DEDICATION TO THE GENERAL PUBLIC OR TO THE CITY, IT BEING SPECIFICALLY UNDERSTOOD THAT NO OBLIGATION IS IMPOSED UPON THE CITY, FOR MAINTENANCE OR IMPROVEMENT OF SUCH STREETS AND UTILITIES.
7. THE DRAINAGE MAINTENANCE EASEMENT RECORDED IN OFFICIAL RECORDS BOOK 16743, PAGE 2337 OF THE PUBLIC RECORDS OF PINELLAS COUNTY, FLORIDA IS UNABLE TO BE SHOWN GRAPHICALLY BUT WILL REMAIN.

LEGEND

PG.	=	PAGE
N.R.	=	NOT RADIAL
R/W	=	RIGHT-OF-WAY
LB.	=	LICENSED BUSINESS
P.O.B.	=	POINT OF BEGINNING
U.E.	=	UTILITY EASEMENT
D.E.	=	DRAINAGE EASEMENT
P.R.M.	=	PERMANENT REFERENCE MONUMENT
D.U.E.	=	DRAINAGE & UTILITY EASEMENT
O.R.B.	=	OFFICIAL RECORDS BOOK
F.C.M.	=	FOUND CONCRETE MONUMENT
P.C.P.	=	PERMANENT CONTROL POINT

■ INDICATES PERMANENT REFERENCE MONUMENT. SET 4" X 4" CONCRETE MONUMENT MARKED: P.R.M., L.B.– 6734

⊠ INDICATES FOUND 4"X4" CONCRETE MONUMENT (NO IDENTIFICATION)

● INDICATES LOT/TRACT CORNER OR CHANGE IN DIRECTION.

○ INDICATES INDICATES PERMANENT CONTROL POINT. SET MAG NAIL & DISK P.C.P. LB 6734

LINE TABLE

LINE	BEARING	DISTANCE
L4	S 00°10'08" E	36.97'
L5	N 30°54'08" E	43.09'
L6	N 11°46'09" W	86.81'
L7	N 89°52'25" W	4.78'
L8	N 90°00'00" E	22.24'
L12	N 90°00'00" W	21.50'
L13	S 00°10'08" E	21.00'
L14	N 90°00'00" E	31.47'
L15	N 90°00'00" E	21.50'
L16	S 00°10'08" E	21.00'
L17	N 90°00'00" W	31.47'

CURVE TABLE

CURVE	DELTA ANGLE	RADIUS	ARC LENGTH	CHORD LENGTH	CHORD BEARING
C14	23°58'53"	24.50'	10.25'	10.18'	N 78°00'06" E
C15	24°01'43"	24.50'	10.27'	10.20'	N 77°59'08" W

PRECISION SURVEYING & MAPPING, INC.
7710 MASSACHUSETTS AVENUE, NEW PORT RICHEY, FLORIDA 34653
PHONE 727-841-8414
LB NO. 6734