PLAT BOOK **82** PAGE **53**

PARKSIDE PHASE 2

LOCATED IN SECTION 10, TOWNSHIP 24 SOUTH, RANGE 28 EAST
ORANGE COUNTY, FLORIDA

LEGAL DESCRIPTION:

A TRACT OF LAND LYING IN SECTION 10, TOWNSHIP 24 SOUTH, RANGE 28 EAST, BEING ALL OF THE LANDS DESCRIBED IN OFFICIAL RECORDS BOOK 10317, PAGE 8469, OFFICIAL RECORDS BOOK 10650, PAGE 389, OFFICIAL RECORDS BOOK 10740, PAGE 2260 AND OFFICIAL RECORDS BOOK 10740, PAGE 2250 THROUGH 2265 AND A PORTION OF THE LANDS DESCRIBED IN OFFICIAL RECORDS BOOK 10650, PAGE 397 ALL OF THE PUBLIC RECORDS OF ORANGE COUNTY, FLORIDA, DESCRIBED AS FOLLOWS:

BEGIN AT THE SOUTHWEST CORNER OF LOT 19, PARKSIDE PHASE 1, ACCORDING TO THE PLAT THEREOF AS RECORDED IN PLAT BOOK 79, PAGES 73 THROUGH 78 OF SAID PUBLIC RECORDS; THENCE RUN ALONG THE SOUTHERLY LINE OF SAID PARKSIDE PHASE 1, THE FOLLOWING COURSES: NORTH 89°53'13" EAST, 150.00 FEET; NORTH 83°30'25" EAST, 69.91 FEET TO A POINT ON A NON-TANGENT CURVE CONCAVE SOUTHERLY; THENCE RUN EASTERLY, ALONG SAID NON-TANGENT CURVE, HAVING A RADIUS OF 25.00 FEET, A CENTRAL ANGLE OF 12°45'36", AN ARC LENGTH OF 5.57 FEET, A CHORD LENGTH OF 5.56 FEET AND A CHORD BEARING OF NORTH 83°30'25" EAST TO THE POINT OF TANGENCY; THENCE RUN NORTH 89°53'13" EAST, 102.94 FEET TO THE POINT OF CURVATURE OF A CURVE CONCAVE NORTHERLY; THENCE RUN EASTERLY, ALONG SAID CURVE, HAVING A RADIUS OF 625.00 FEET, A CENTRAL ANGLE OF 03°15'44", AN ARC LENGTH OF 35.58 FEET, A CHORD LENGTH OF 35.58 FEET AND A CHORD BEARING OF NORTH 88°15'21" EAST TO THE POINT OF COMPOUND CURVATURE OF A CURVE CONCAVE NORTHERLY; THENCE RUN EASTERLY, ALONG SAID CURVE, HAVING A RADIUS OF 1632.00 FEET, A CENTRAL ANGLE OF 01°58'01", AN ARC LENGTH OF 56.03 FEET, A CHORD LENGTH OF 56.02 FEET AND A CHORD BEARING OF NORTH 85°38'29" EAST TO THE POINT OF REVERSE CURVATURE OF A CURVE CONCAVE SOUTHWESTERLY; THENCE RUN SOUTHEASTERLY, ALONG SAID CURVE, HAVING A RADIUS OF 25.00 FEET, A CENTRAL ANGLE OF 90°51'16", AN ARC LENGTH OF 39.64 FEET, A CHORD LENGTH OF 35.62 FEET AND A CHORD BEARING OF SOUTH 49°54'54" EAST TO THE POINT OF COMPOUND CURVATURE OF A CURVE CONCAVE WESTERLY; THENCE RUN SOUTHERLY, ALONG SAID CURVE, HAVING A RADIUS OF 1175.00 FEET, A CENTRAL ANGLE OF 04°22'28", AN ARC LENGTH OF 89.71 FEET, A CHORD LENGTH OF 89.69 FEET AND A CHORD BEARING OF SOUTH 02°18'01" EAST; THENCE RUN NORTH 89°53'13" EAST, NON-TANGENT TO SAID CURVE, 50.00 FEET TO A POINT ON A NON-TANGENT CURVE CONCAVE WESTERLY; THENCE RUN NORTHERLY ALONG SAID NON-TANGENT CURVE, HAVING A RADIUS OF 1225.00 FEET, A CENTRAL ANGLE OF 00°07'01", AN ARC LENGTH OF 2.50 FEET, A CHORD LENGTH OF 2.50 FEET AND A CHORD BEARING OF NORTH 00°10'18" WEST TO A POINT ON A NON-TANGENT CURVE CONCAVE NORTHWESTERLY; THENCE RUN NORTHEASTERLY, ALONG SAID NON-TANGENT CURVE, HAVING A RADIUS OF 622.50 FEET, A CENTRAL ANGLE OF 08°10'46", AN ARC LENGTH OF 88.87 FEET, A CHORD LENGTH OF 88.79 FEET AND A CHORD BEARING OF NORTH 83°32'52" EAST TO THE POINT OF COMPOUND CURVATURE OF A CURVE CONCAVE NORTHWESTERLY; THENCE RUN NORTHEASTERLY, ALONG SAID CURVE, HAVING A RADIUS OF 1754.28 FEET, A CENTRAL ANGLE OF 14°51'52", AN ARC LENGTH OF 455.12 FEET, A CHORD LENGTH OF 453.84 FEET AND A CHORD BEARING OF NORTH 72°01'33" EAST; THENCE RUN NORTH 25°24'23" WEST, 122.50 FEET TO A POINT ON A NON-TANGENT CURVE CONCAVE NORTHWESTERLY; THENCE RUN NORTHEASTERLY, ALONG SAID NON-TANGENT CURVE, HAVING A RADIUS OF 1632.00 FEET, A CENTRAL ANGLE OF 00°59'51", AN ARC LENGTH OF 28.41 FEET, A CHORD LENGTH OF 28.41 FEET AND A CHORD BEARING OF NORTH 64°05'46" EAST TO THE POINT OF TANGENCY; THENCE RUN NORTH 63°35'51" EAST, 56.55 FEET TO THE POINT OF CURVATURE OF A CURVE CONCAVE SOUTHERLY; THENCE RUN EASTERLY, ALONG SAID CURVE, HAVING A RADIUS OF 25.00 FEET, A CENTRAL ANGLE OF 52°37'46", AN ARC LENGTH OF 22.96 FEET, A CHORD LENGTH OF 22.17 FEET AND A CHORD BEARING OF NORTH 89°54'44" EAST TO THE POINT OF REVERSE CURVATURE OF A CURVE CONCAVE NORTHWESTERLY; THENCE RUN NORTHEASTERLY, ALONG SAID CURVE, HAVING A RADIUS OF 82.58 FEET, A CENTRAL ANGLE OF 105°15'33", AN ARC LENGTH OF 151.71 FEET, A CHORD LENGTH OF 131.26 FEET AND A CHORD BEARING OF NORTH 63°35'51" EAST TO THE POINT OF REVERSE CURVATURE OF A CURVE CONCAVE SOUTHEASTERLY; THENCE RUN NORTHEASTERLY, ALONG SAID CURVE, HAVING A RADIUS OF 25.00 FEET, A CENTRAL ANGLE OF 52°37'46", AN ARC LENGTH OF 22.96 FEET, A CHORD LENGTH OF 22.17 FEET AND A CHORD BEARING OF NORTH 37°16'58" EAST TO THE POINT OF TANGENCY; THENCE RUN NORTH 63°35'51" EAST, 64.50 FEET TO THE POINT OF CURVATURE OF A CURVE CONCAVE SOUTHWESTERLY; THENCE RUN SOUTHEASTERLY, ALONG SAID CURVE, HAVING A RADIUS OF 25.00 FEET, A CENTRAL ANGLE OF 90°00'00", AN ARC LENGTH OF 39.27 FEET, A CHORD LENGTH OF 35.36 FEET AND A CHORD BEARING OF SOUTH 71°24'09" EAST TO THE POINT OF TANGENCY; THENCE RUN SOUTH 26°24'09" EAST, 195.00 FEET TO THE POINT OF CURVATURE OF A CURVE CONCAVE NORTHWESTERLY; THENCE RUN SOUTHWESTERLY, ALONG SAID CURVE, HAVING A RADIUS OF 25.00 FEET, A CENTRAL ANGLE OF 90°00'00", AN ARC LENGTH OF 39.27 FEET, A CHORD LENGTH OF 35.36 FEET AND A CHORD BEARING OF SOUTH 18°35'51" WEST TO THE POINT OF TANGENCY; THENCE RUN SOUTH 63°35'51" WEST, 166.85 FEET; THENCE RUN SOUTH 26°24'09" EAST, 50.00 FEET; THENCE RUN NORTH 63°35'51" EAST, 356.03 FEET TO THE POINT OF CURVATURE OF A CURVE CONCAVE SOUTHEASTERLY; THENCE RUN NORTHEASTERLY, ALONG SAID CURVE, HAVING A RADIUS OF 145.00 FEET, A CENTRAL ANGLE OF 29°47'05", AN ARC LENGTH OF 75.38 FEET, A CHORD LENGTH OF 74.53 FEET AND A CHORD BEARING OF NORTH 78°29'23" EAST TO THE POINT OF TANGENCY; THENCE RUN SOUTH 86°37'04" EAST, 6.10 FEET TO THE POINT OF CURVATURE OF A CURVE CONCAVE SOUTHWESTERLY; THENCE RUN SOUTHEASTERLY, ALONG SAID CURVE, HAVING A RADIUS OF 25.00 FEET, A CENTRAL ANGLE OF 86°30'19", AN ARC LENGTH OF 37.75 FEET, A CHORD LENGTH OF 34.26 FEET AND A CHORD BEARING OF SOUTH 43°21'55" EAST TO THE POINT OF TANGENCY; THENCE RUN SOUTH 00°06'45" EAST, 101.71 FEET; THENCE RUN SOUTH 86°37'04" EAST, 566.23 FEET; THENCE RUN SOUTH 03°22'56" WEST, 33.58 FEET TO THE POINT OF CURVATURE OF A CURVE CONCAVE NORTHEASTERLY; THENCE RUN SOUTHEASTERLY, ALONG SAID CURVE, HAVING A RADIUS OF 500.00 FEET, A CENTRAL ANGLE OF 48°55'53", AN ARC LENGTH OF 427.01 FEET, A CHORD LENGTH OF 414.15 FEET AND A CHORD BEARING OF SOUTH 21°05'01" EAST TO THE POINT OF TANGENCY; THENCE RUN SOUTH 45°32'58" EAST, 129.21 FEET TO THE POINT OF CURVATURE OF A CURVE CONCAVE SOUTHWESTERLY; THENCE RUN SOUTHEASTERLY, ALONG SAID CURVE, HAVING A RADIUS OF 75.00 FEET, A CENTRAL ANGLE OF 50°22'55", AN ARC LENGTH OF 65.95 FEET, A CHORD LENGTH OF 63.85 FEET AND A CHORD BEARING OF SOUTH 20°21'30" EAST; THENCE RUN SOUTH 85°10'03" EAST, RADIAL TO SAID CURVE, 175.00 FEET TO A POINT ON A NON-TANGENT CURVE CONCAVE NORTHWESTERLY; THENCE RUN SOUTHWESTERLY, ALONG SAID NON-TANGENT CURVE, HAVING A RADIUS OF 250.00 FEET, A CENTRAL ANGLE OF 02°08'43", AN ARC LENGTH OF 9.36 FEET, A CHORD LENGTH OF 9.36 FEET AND A CHORD BEARING OF SOUTH 05°54'19" WEST; THENCE RUN SOUTH 04°51'01" WEST, NON-TANGENT TO SAID CURVE, 101.03 FEET; THENCE RUN SOUTH 42°03'20" EAST, 20.00 FEET TO A POINT ON THE NORTHERLY RIGHT-OF-WAY LINE OF BUENAVISTA WOODS BOULEVARD, ACCORDING TO SAID PLAT OF PARKSIDE PHASE 1, BEING A POINT ON A NON-TANGENT CURVE CONCAVE NORTHWESTERLY; THENCE RUN ALONG SAID NORTHERLY RIGHT-OF-WAY LINE THE FOLLOWING COURSES: THENCE RUN SOUTHWESTERLY, ALONG SAID NON-TANGENT CURVE, HAVING A RADIUS OF 795.00 FEET, A CENTRAL ANGLE OF 45°31'34", AN ARC LENGTH OF 631.69 FEET, A CHORD LENGTH OF 615.20 FEET AND A CHORD BEARING OF SOUTH 70°42'27" WEST TO THE POINT TANGENCY; THENCE RUN NORTH 86°31'46" WEST, 368.75 FEET TO THE POINT OF CURVATURE OF A CURVE CONCAVE SOUTHEASTERLY; THENCE RUN SOUTHWESTERLY, ALONG SAID CURVE, HAVING A RADIUS OF 1275.00 FEET, A CENTRAL ANGLE OF 23°22'19", AN ARC LENGTH OF 520.09 FEET, A CHORD LENGTH OF 516.50 FEET AND A CHORD BEARING OF SOUTH 81°47'04" WEST TO THE POINT OF TANGENCY; THENCE RUN SOUTH 70°05'55" WEST, 195.99 FEET TO THE POINT OF CURVATURE OF A CURVE CONCAVE NORTHWESTERLY; THENCE RUN SOUTHWESTERLY, ALONG SAID CURVE, HAVING A RADIUS OF 1110.00 FEET, A CENTRAL ANGLE OF 19°51'09", AN ARC LENGTH OF 384.60 FEET, A CHORD LENGTH OF 382.68 FEET AND A CHORD BEARING OF SOUTH 80°01'29" WEST TO THE POINT OF TANGENCY; THENCE RUN SOUTH 89°57'03" WEST, 615.00 FEET TO THE POINT OF CURVATURE OF A CURVE CONCAVE NORTHEASTERLY; THENCE RUN NORTHWESTERLY, ALONG SAID CURVE, HAVING A RADIUS OF 25.00 FEET, A CENTRAL ANGLE OF 90°00'00", AN ARC LENGTH OF 39.27 FEET, A CHORD LENGTH OF 35.36 FEET AND A CHORD BEARING OF NORTH 45°02'57" WEST TO THE POINT OF TANGENCY, SAID POINT LIES ON THE EAST RIGHT-OF-WAY LINE OF APOPKA VINELAND ROAD, ACCORDING TO OFFICIAL RECORDS BOOK 3357, PAGE 888, OFFICIAL RECORDS BOOK 5252, PAGE 5001 AND OFFICIAL RECORDS BOOK 5132, PAGE 695 OF SAID PUBLIC RECORDS; THENCE RUN NORTH 00°02'57" WEST, ALONG SAID EAST RIGHT-OF-WAY LINE, 135.81 FEET; THENCE RUN NORTH 00°06'47" WEST, ALONG SAID EAST RIGHT-OF-WAY LINE, 955.58 FEET TO THE POINT OF BEGINNING.

THE ABOVE DESCRIBED TRACT OF LAND LIES IN ORANGE COUNTY, FLORIDA AND CONTAINS 57.542 ACRES MORE OR LESS.

SURVEYOR'S NOTES:

1. BEARINGS SHOWN HEREON ARE ASSUMED AND ARE BASED ON THE SOUTH LINE OF PARKSIDE PHASE 1, ACCORDING TO THE PLAT THEREOF, AS RECORDED IN PLAT BOOK 79, PAGES 73 THROUGH 78 OF THE PUBLIC RECORDS OF ORANGE COUNTY, FLORIDA, BEING NORTH 89°53'13" EAST.
2. ALL LOT LINES ARE RADIAL, UNLESS OTHERWISE NOTED NON-RADIAL (N.R.).
3. ALL PLATTED UTILITY EASEMENTS SHALL ALSO BE EASEMENTS FOR THE CONSTRUCTION, INSTALLATION, MAINTENANCE, AND OPERATION OF CABLE TELEVISION AND DATA SERVICES; PROVIDED, HOWEVER, NO SUCH CONSTRUCTION, INSTALLATION, MAINTENANCE, AND OPERATION OF CABLE TELEVISION SERVICES SHALL INTERFERE WITH THE FACILITIES AND SERVICES OF AN ELECTRIC, TELEPHONE, GAS, OR OTHER PUBLIC UTILITY. IN THE EVENT A CABLE TELEVISION COMPANY DAMAGES THE FACILITIES OF A PUBLIC UTILITY, IT SHALL BE SOLELY RESPONSIBLE FOR THE DAMAGES. THIS SECTION SHALL NOT APPLY TO THOSE PRIVATE EASEMENTS GRANTED TO OR OBTAINED BY A PARTICULAR ELECTRIC, TELEPHONE, GAS, OR OTHER PUBLIC UTILITY. SUCH CONSTRUCTION, INSTALLATION, MAINTENANCE, AND OPERATION SHALL COMPLY WITH THE NATIONAL ELECTRICAL SAFETY CODE AS ADOPTED BY THE FLORIDA PUBLIC SERVICE COMMISSION.
4. TRACTS J AND K, LANDSCAPE BUFFERS, TRACT I, AMENITIES CENTER SHALL BE OWNED AND MAINTAINED BY THE PARKSIDE AT BUENA VISTA WOODS HOMEOWNERS ASSOCIATION, INC.
5. THE 20.00 FOOT WIDE WALL AND LANDSCAPE BUFFER SHOWN WITHIN LOTS 118 THROUGH 131 HEREON, IS DEDICATED TO AND MAINTAINED BY THE PARKSIDE AT BUENA VISTA WOODS HOMEOWNERS ASSOCIATION, INC.
6. VEHICULAR ACCESS LOCATIONS FROM LOTS 118 THROUGH 131 TO APOPKA-VINELAND ROAD ARE CONTROLLED BY ORANGE COUNTY, FLORIDA THROUGH THE ORANGE COUNTY, FLORIDA PERMITTING PROCESS.
7. CDCG ASSET MANAGEMENT, LLC AN ARIZONA LIMITED LIABILITY COMPANY, AS REFERENCED IN THE DEDICATION OF THIS PLAT WAS FORMERLY KNOWN AS ROSE ASSET MANAGEMENT, LLC. AN ARIZONA LIMITED LIABILITY COMPANY.

SHEET INDEX

SHEET 1 OF 6 – LEGAL DESCRIPTION, DEDICATION, NOTES, & LOCATION MAP
SHEET 2 OF 6 – BOUNDARY INFORMATION & LEGEND
SHEET 3 OF 6 – CENTERLINE, TRACT & LOT BLOCK GEOMETRY
SHEET 4 OF 6 – CENTERLINE, TRACT & LOT BLOCK GEOMETRY
SHEET 5 OF 6 – CENTERLINE, TRACT & LOT BLOCK GEOMETRY
SHEET 6 OF 6 – CENTERLINE, TRACT & LOT BLOCK GEOMETRY

THE PROPERTY SHOWN HEREON REPRESENTS A PORTION OF THE LANDS INCLUDED IN THE KERINA PARKSIDE PLANNED DEVELOPMENT–TRACT 1 PRELIMINARY SUBDIVISION PLAN AS APPROVED BY THE ORANGE COUNTY BOARD OF COUNTY COMMISSIONERS ON SEPTEMBER 9, 2008 AND THE NON-SUBSTANTIAL CHANGE TO THE KERINA PARKSIDE PLANNED DEVELOPMENT–TRACT 1 PRELIMINARY SUBDIVISION PLAN AS APPROVED BY THE ORANGE COUNTY DEVELOPMENT REVIEW COMMITTEE ON AUGUST 8, 2012.

ALLEN & COMPANY
Professional Surveyors & Mappers
16 EAST PLANT STREET
WINTER GARDEN, FLORIDA 34787
(407) 654-5355
LB #6723

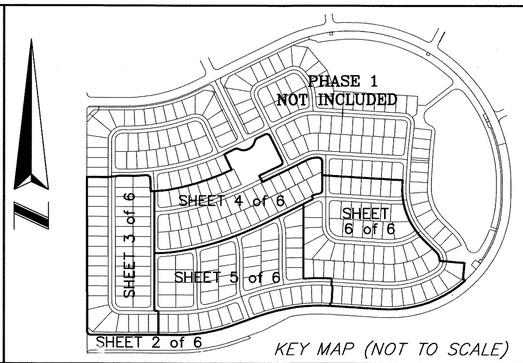

KEY MAP (NOT TO SCALE)

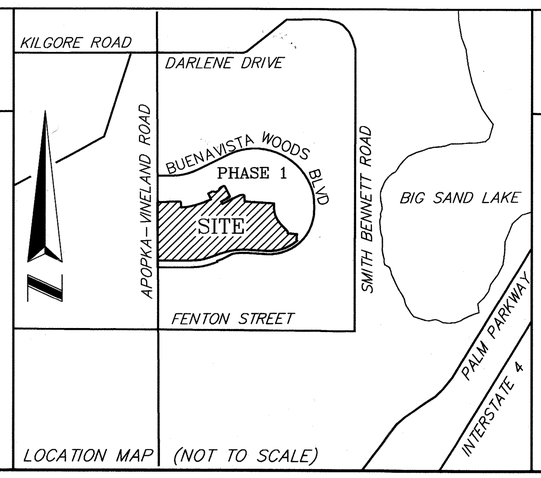

LOCATION MAP (NOT TO SCALE)

CERTIFICATE OF APPROVAL BY ZONING DIRECTOR

Examined and Approved _____ 6-24-14
Zoning Director Date

CERTIFICATE OF APPROVAL BY COUNTY ENGINEER

Examined and Approved _____ 6-23-14
County Engineer Date

CERTIFICATE OF APPROVAL BY THE BOARD OF COUNTY COMMISSIONERS

THIS IS TO CERTIFY, That on June 24 2014 the foregoing plat was approved by the Board of County Commissioners of Orange County, Florida

ATTEST: ORANGE COUNTY
CLERK OF THE BOARD
BY _____ D.C.

NOTICE: THIS PLAT, AS RECORDED IN ITS GRAPHIC FORM, IS THE OFFICIAL DEPICTION OF THE SUBDIVIDED LANDS DESCRIBED HEREIN AND WILL IN NO CIRCUMSTANCES BE SUPPLANTED IN AUTHORITY BY ANY OTHER GRAPHIC OR DIGITAL FORM OF THE PLAT. THERE MAY BE ADDITIONAL RESTRICTIONS THAT ARE NOT RECORDED ON THIS PLAT THAT MAY BE FOUND IN THE PUBLIC RECORDS OF THIS COUNTY.

QUALIFICATION STATEMENT OF SURVEYOR AND MAPPER

KNOW ALL MEN BY THESE PRESENTS, that the undersigned, being a licensed and registered surveyor and mapper, does hereby certify that on

6/23/14

a survey of the lands shown in the foregoing plat was completed; that said plat is a true and correct representation of the lands surveyed, that this plat was prepared under my direction and supervision, and that this plat complies with all the survey requirements of Chapter 177, Florida Statutes.

Surveyor's Signature — Date 6/23/14
James L. Rickman P.S.M. # 5633
Allen & Company
Licensed Business # 6723
16 East Plant Street
Winter Garden, Florida 34787

JAMES LOUIS RICKMAN — LICENSED PROFESSIONAL SURVEYOR AND MAPPER — 5633 — STATE OF FLORIDA

PARKSIDE PHASE 2 DEDICATION

KNOW ALL MEN BY THESE PRESENTS, That MERITAGE HOMES OF FLORIDA, INC., a Florida corporation, and Community Development Capital Group LLC, a Delaware Limited Liability Company, being the owner(s) in fee simple of all of the lands described in the foregoing caption to this plat, hereby dedicate said lands and plat for the uses and purposes therein expressed and dedicates the streets, drainage and utility easements to the perpetual use of the public.

IN WITNESS WHEREOF, the undersigned, MERITAGE HOMES OF FLORIDA, INC. has caused these presents to be executed and acknowledged by its undersigned Clint Szubinski, President thereunto duly authorized on this 2nd day of June 2014.

BY: MERITAGE HOMES OF FLORIDA, INC., a Florida corporation.
BY: _____
Title: Division President
Printed Name: Clint Szubinski
Signed and sealed in the presence of:
_____ Printed Name: TIMOTHY J. WHEELER
_____ Printed Name: Neil C. Klaproth
SEAL

STATE OF Florida COUNTY OF Orange

THIS IS TO CERTIFY, That on June 2nd 2014 before me an officer duly authorized to take acknowledgements in the state and county aforesaid, personally appeared Clint Szubinski respectively Division President of MERITAGE HOMES OF FLORIDA, INC., a Florida corporation, incorporated under the laws of the state of Florida, he is personally known to me or have produced the following identification _____ and he did / did not take an oath that he is the person described in and who executed the foregoing dedication and severally acknowledged the the execution thereof to be his free act and deed as such officer thereunto duly authorized; that the official seal of said MERITAGE HOMES OF FLORIDA, INC., a Florida corporation, is duly affixed thereto; and that said Dedication is the act and deed of said MERITAGE HOMES OF FLORIDA, INC. a Florida corporation,

IN WITNESS WHEREOF, I have hereunto set my hand and seal on the above date.

NOTARY PUBLIC
Printed Name: Jennifer Hamilton
Commission Number FF 112868
My Commission Expires: 4/15/2018

Notary Public State of Florida Jennifer Hamilton My Commission FF 112868 Expires 04/15/2018

IN WITNESS WHEREOF, the undersigned, Community Development Capital Group LLC, a Delaware Limited Liability Company, has caused these presents to be executed and acknowledged by its undersigned thereunto duly authorized on this 5th day of June 2014.

BY: Community Development Capital Group LLC a Delaware Limited Liability Company
BY: _____
Title: Manager of CDCG Asset Management, LLC, an Arizona Limited Liability Company, the Authorized Agent of Community Development Capital Group LLC.
Printed Name: Steven S. Benson
Signed and sealed in the presence of:
_____ Printed Name: Nathan Holt
_____ Printed Name: Wendy Stoeckel
SEAL

STATE OF Arizona COUNTY OF Maricopa

THIS IS TO CERTIFY, That on June 5, 2014 before me an officer duly authorized to take acknowledgements in the state and county aforesaid, personally appeared Steven S. Benson Manager of *CDCG Asset Management, LLC, an Arizona Limited Liability Company, the authorized agent of Community Development Capital Group LLC. incorporated under the laws of the state of Arizona, he is personally known to me or have produced the following identification driver's license and he did / did not take an oath that he is the person described in and who executed the foregoing dedication and severally acknowledged the the execution thereof to be his free act and deed as such officer thereunto duly authorized; that the official seal of said *CDCG Asset Management, LLC, an Arizona Limited Liability Company, the authorized agent of Community Development Capital Group LLC, is duly affixed thereto; and that said Dedication is the act and deed of said CDCG Asset Management, LLC, an Arizona Limited Liability Company, the authorized agent of Community Development Capital Group LLC.

IN WITNESS WHEREOF, I have hereunto set my hand and seal on the above date.

NOTARY PUBLIC
Printed Name: Donna Ransom
Commission Number 319033
My Commission Expires: 9/24/16 * SEE SURVEYOR'S NOTE #7

DONNA RANSOM Notary Public - Arizona Maricopa County My Commission Expires September 24, 2016

CERTIFICATE OF REVIEW BY COUNTY SURVEYOR

This plat has been reviewed for conformity with Chapter 177, Florida Statutes

County Surveyor — Date 6/24/14

CERTIFICATE OF COUNTY COMPTROLLER

I HEREBY CERTIFY, that the foregoing plat was recorded in the Orange County Official Records on 6-25-2014 as File No. 20140314344

County Comptroller in and for Orange County, Florida
By _____

COUNTY COMPTROLLER SEAL ORANGE COUNTY FLORIDA

PARKSIDE PHASE 2

LOCATED IN SECTION 10, TOWNSHIP 24 SOUTH, RANGE 28 EAST
ORANGE COUNTY, FLORIDA

BOUNDARY INFORMATION SHEET

GRAPHIC SCALE
SCALE 1"=200'
200 0 200 400

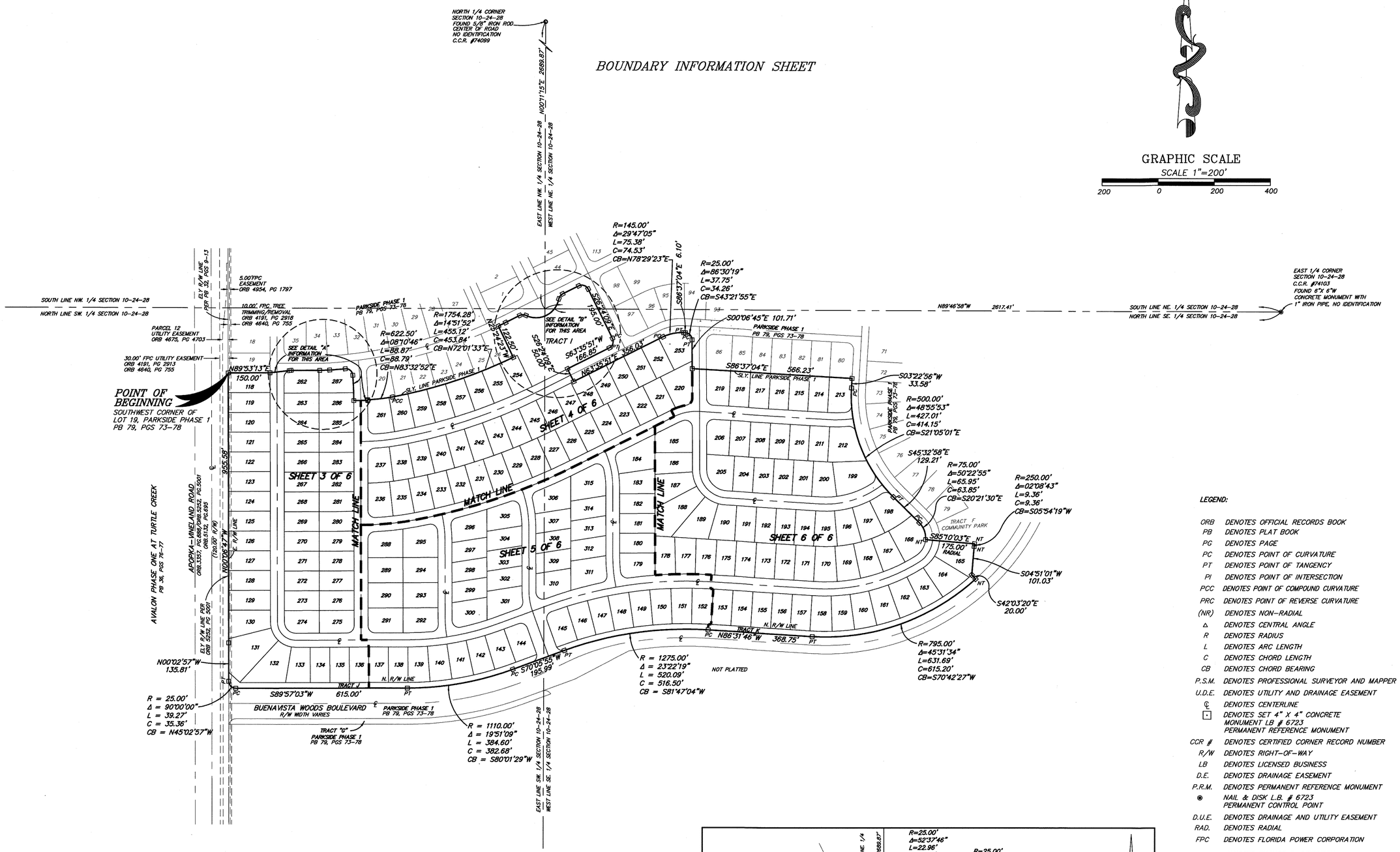

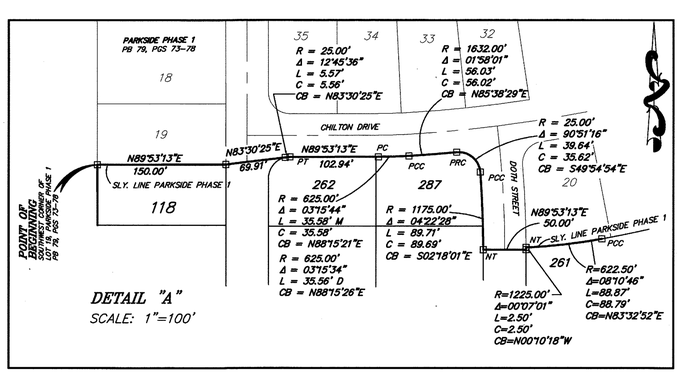

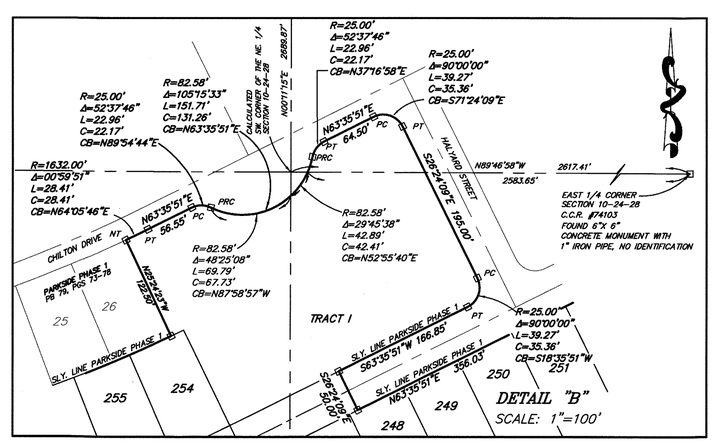

LEGEND:

ORB	DENOTES OFFICIAL RECORDS BOOK
PB	DENOTES PLAT BOOK
PG	DENOTES PAGE
PC	DENOTES POINT OF CURVATURE
PT	DENOTES POINT OF TANGENCY
PI	DENOTES POINT OF INTERSECTION
PCC	DENOTES POINT OF COMPOUND CURVATURE
PRC	DENOTES POINT OF REVERSE CURVATURE
(NR)	DENOTES NON-RADIAL
Δ	DENOTES CENTRAL ANGLE
R	DENOTES RADIUS
L	DENOTES ARC LENGTH
C	DENOTES CHORD LENGTH
CB	DENOTES CHORD BEARING
P.S.M.	DENOTES PROFESSIONAL SURVEYOR AND MAPPER
U.D.E.	DENOTES UTILITY AND DRAINAGE EASEMENT
℄	DENOTES CENTERLINE
⊡	DENOTES SET 4" X 4" CONCRETE MONUMENT LB # 6723 PERMANENT REFERENCE MONUMENT
CCR #	DENOTES CERTIFIED CORNER RECORD NUMBER
R/W	DENOTES RIGHT-OF-WAY
LB	DENOTES LICENSED BUSINESS
D.E.	DENOTES DRAINAGE EASEMENT
P.R.M.	DENOTES PERMANENT REFERENCE MONUMENT
◉	NAIL & DISK L.B. # 6723 PERMANENT CONTROL POINT
D.U.E.	DENOTES DRAINAGE AND UTILITY EASEMENT
RAD.	DENOTES RADIAL
FPC	DENOTES FLORIDA POWER CORPORATION
	DENOTES CHANGE IN DIRECTION ALONG RIGHT-OF-WAY LINES

SHEET INDEX
SHEET 1 OF 6 – LEGAL DESCRIPTION, DEDICATION, NOTES, & LOCATION MAP
SHEET 2 OF 6 – BOUNDARY INFORMATION & LEGEND
SHEET 3 OF 6 – CENTERLINE, TRACT & LOT BLOCK GEOMETRY
SHEET 4 OF 6 – CENTERLINE, TRACT & LOT BLOCK GEOMETRY
SHEET 5 OF 6 – CENTERLINE, TRACT & LOT BLOCK GEOMETRY
SHEET 6 OF 6 – CENTERLINE, TRACT & LOT BLOCK GEOMETRY

ALLEN & COMPANY
Professional Surveyors & Mappers
16 EAST PLANT STREET
WINTER GARDEN, FLORIDA 34787
(407) 654-5355
LB #6723

PARKSIDE PHASE 2

LOCATED IN SECTION 10, TOWNSHIP 24 SOUTH, RANGE 28 EAST
ORANGE COUNTY, FLORIDA

PLAT BOOK **82** PAGE **55**

SHEET 3 OF 6

SCALE 1"=60'

60 0 60 120

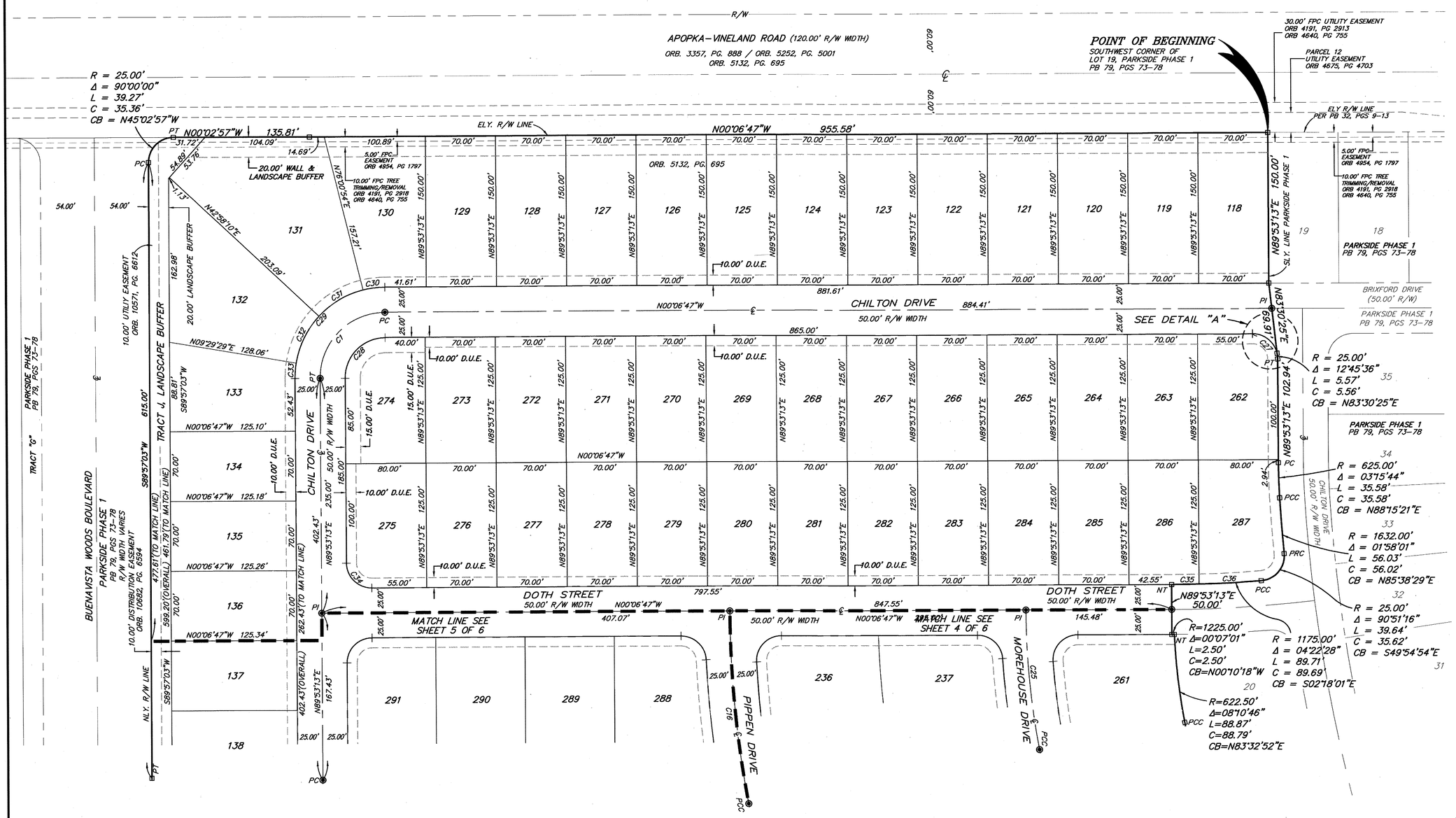

CURVE TABLE					
CURVE	RADIUS	CENTRAL ANGLE	ARC LENGTH	CHORD	CHORD BEARING
C1	65.00'	90°00'00"	102.10'	91.92'	N 45°06'47" W
C16	1065.00'	10°27'23"	194.36'	194.09'	N 84°41'14" E
C25	770.00'	10°28'03"	140.67'	140.48'	N 84°41'33" E
C27	25.00'	90°00'00"	39.27'	35.36'	N 44°53'13" E
C28	40.00'	90°00'00"	62.83'	56.57'	N 45°06'47" W
C29	90.00'	90°00'00"	141.37'	127.28'	N 45°06'47" W
C30	90.00'	13°52'19"	21.79'	21.74'	N 07°02'57" W
C31	90.00'	33°02'43"	51.91'	51.19'	N 30°30'28" W
C32	90.00'	33°28'41"	52.59'	51.84'	N 63°46'10" W
C33	90.00'	9°36'16"	15.09'	15.07'	N 85°18'39" W
C34	25.00'	90°00'00"	39.27'	35.36'	N 44°53'13" E
C35	1175.00'	1°20'20"	27.46'	27.46'	N 00°46'57" W
C36	1175.00'	3°02'09"	62.26'	62.25'	N 02°58'11" W

ALLEN & COMPANY
Professional Surveyors & Mappers
16 EAST PLANT STREET
WINTER GARDEN, FLORIDA 34787
(407) 654-5355
LB #6723

SHEET INDEX
SHEET 1 OF 6 – LEGAL DESCRIPTION, DEDICATION, NOTES, & LOCATION MAP
SHEET 2 OF 6 – BOUNDARY INFORMATION & LEGEND
SHEET 3 OF 6 – CENTERLINE, TRACT & LOT BLOCK GEOMETRY
SHEET 4 OF 6 – CENTERLINE, TRACT & LOT BLOCK GEOMETRY
SHEET 5 OF 6 – CENTERLINE, TRACT & LOT BLOCK GEOMETRY
SHEET 6 OF 6 – CENTERLINE, TRACT & LOT BLOCK GEOMETRY

PARKSIDE PHASE 2

LOCATED IN SECTION 10, TOWNSHIP 24 SOUTH, RANGE 28 EAST
ORANGE COUNTY, FLORIDA

PLAT BOOK **82** PAGE **56**

SHEET 4 OF 6

CURVE TABLE					
CURVE	RADIUS	CENTRAL ANGLE	ARC LENGTH	CHORD	CHORD BEARING
C11	425.00'	12°53'56"	95.68'	95.48'	N 06°33'45" W
C13	375.00'	20°50'00"	136.35'	135.60'	N 10°31'47" W
C15	300.00'	24°59'04"	130.82'	129.78'	N 12°36'19" W
C16	1065.00'	10°27'23"	194.36'	194.09'	N 84°41'14" E
C17	2197.00'	15°51'41"	608.20'	606.26'	N 71°31'41" E
C18	2197.00'	2°33'23"	98.03'	98.02'	N 78°10'50" E
C19	2197.00'	7°48'23"	299.34'	299.11'	N 72°59'57" E
C20	2197.00'	5°29'55"	210.84'	210.76'	N 66°20'48" E
C21	175.00'	29°47'05"	90.97'	89.95'	N 78°29'23" E
C25	770.00'	10°28'03"	140.67'	140.48'	N 84°41'33" E
C26	1902.00'	15°51'41"	526.54'	524.86'	N 71°31'41" E
C37	25.00'	80°02'22"	34.92'	32.15'	N 39°54'26" E
C38	200.00'	16°19'46"	57.00'	56.81'	N 71°45'44" E
C39	200.00'	11°20'35"	39.59'	39.53'	N 74°15'20" E
C40	200.00'	4°59'12"	17.41'	17.40'	N 66°05'27" E

CURVE TABLE					
CURVE	RADIUS	CENTRAL ANGLE	ARC LENGTH	CHORD	CHORD BEARING
C41	2172.00'	15°51'41"	601.28'	599.37'	N 71°31'41" E
C42	2172.00'	0°18'37"	11.77'	11.77'	N 63°45'09" E
C43	2172.00'	1°56'09"	73.38'	73.38'	N 64°52'32" E
C44	2172.00'	1°56'09"	73.38'	73.38'	N 66°48'41" E
C45	2172.00'	1°56'09"	73.38'	73.38'	N 68°44'50" E
C46	2172.00'	1°56'09"	73.38'	73.38'	N 70°40'58" E
C47	2172.00'	1°56'09"	73.38'	73.38'	N 72°37'07" E
C48	2172.00'	1°56'09"	73.38'	73.38'	N 74°33'16" E
C49	2172.00'	1°56'09"	73.38'	73.38'	N 76°29'24" E
C50	2172.00'	1°56'09"	73.38'	73.38'	N 78°25'33" E
C51	2172.00'	0°03'55"	2.47'	2.47'	N 79°25'35" E
C52	1040.00'	7°38'04"	138.57'	138.47'	N 83°16'34" E
C53	1040.00'	4°05'34"	74.29'	74.27'	N 81°30'19" E
C54	1040.00'	3°32'29"	64.28'	64.27'	N 85°19'21" E
C55	25.00'	92°47'38"	40.49'	36.21'	N 46°30'36" W
C56	25.00'	86°32'28"	37.76'	34.27'	N 43°09'27" E
C57	795.00'	6°58'09"	96.70'	96.64'	N 82°56'36" E
C58	795.00'	3°49'13"	53.01'	53.00'	N 84°31'04" E
C59	795.00'	3°08'56"	43.69'	43.69'	N 81°02'00" E
C60	1927.00'	15°51'41"	533.46'	531.76'	N 71°31'41" E
C61	1927.00'	0°43'47"	24.54'	24.54'	N 79°05'38" E
C62	1927.00'	2°03'17"	69.10'	69.10'	N 77°42'06" E
C63	1927.00'	2°03'17"	69.10'	69.10'	N 75°38'50" E
C64	1927.00'	2°03'17"	69.10'	69.10'	N 73°35'33" E
C65	1927.00'	2°03'17"	69.10'	69.10'	N 71°32'17" E
C66	1927.00'	2°03'17"	69.10'	69.10'	N 69°29'00" E
C67	1927.00'	2°03'17"	69.10'	69.10'	N 67°25'44" E
C68	1927.00'	2°03'17"	69.10'	69.10'	N 65°22'27" E
C69	1927.00'	0°44'58"	25.21'	25.21'	N 63°58'20" E
C70	917.50'	5°45'03"	92.09'	92.05'	N 85°29'07" E
C71	917.50'	4°48'25"	76.97'	76.95'	N 85°57'26" E
C72	917.50'	3°09'07"	50.47'	50.47'	N 81°02'02" E

CURVE TABLE					
CURVE	RADIUS	CENTRAL ANGLE	ARC LENGTH	CHORD	CHORD BEARING
C73	917.50'	4°05'45"	65.59'	65.57'	N 81°30'21" E
C74	2049.28'	0°43'43"	26.06'	26.06'	N 79°05'37" E
C75	2049.28'	0°03'50"	2.28'	2.28'	N 79°25'34" E
C76	2049.28'	1°56'09"	69.24'	69.24'	N 78°25'34" E
C77	2049.28'	2°03'17"	73.49'	73.49'	N 77°42'07" E
C78	2049.28'	1°56'09"	69.24'	69.24'	N 76°29'25" E
C79	2049.28'	2°03'17"	73.49'	73.49'	N 75°38'50" E
C80	2049.28'	1°56'09"	69.24'	69.24'	N 74°33'15" E
C81	2049.28'	2°03'17"	73.49'	73.49'	N 73°35'33" E
C82	2049.28'	1°56'09"	69.24'	69.24'	N 72°37'06" E
C83	2049.28'	2°03'17"	73.49'	73.49'	N 71°32'15" E
C84	2049.28'	1°56'09"	69.24'	69.24'	N 70°40'57" E
C85	2049.28'	2°03'17"	73.49'	73.49'	N 69°28'58" E
C86	2049.28'	1°56'09"	69.24'	69.24'	N 68°44'47" E
C87	2049.28'	2°03'17"	73.49'	73.49'	N 67°25'41" E
C88	2049.28'	1°56'09"	69.24'	69.24'	N 66°48'38" E
C89	2049.28'	2°03'17"	73.49'	73.49'	N 65°22'23" E
C90	2049.28'	1°56'09"	69.24'	69.24'	N 64°52'29" E
C91	2049.28'	0°44'54"	26.76'	26.76'	N 63°58'18" E
C92	2049.28'	0°18'33"	11.06'	11.06'	N 63°45'07" E
C93	25.00'	93°56'18"	40.99'	36.55'	N 47°05'02" W
C94	745.00'	6°29'17"	84.36'	84.32'	N 82°42'10" E
C95	745.00'	5°20'37"	69.48'	69.46'	N 83°16'31" E
C96	745.00'	1°08'40"	14.88'	14.88'	N 80°01'52" E
C97	1877.00'	15°51'41"	519.62'	517.96'	N 71°31'41" E
C98	1877.00'	1°50'31"	60.34'	60.34'	N 78°32'16" E
C99	1877.00'	2°26'26"	73.94'	73.94'	N 76°29'18" E
C100	1877.00'	2°15'25"	73.94'	73.94'	N 74°13'53" E
C101	1877.00'	2°15'26"	73.94'	73.94'	N 71°58'27" E
C102	1877.00'	2°15'26"	73.94'	73.94'	N 69°43'02" E
C103	1877.00'	2°15'26"	73.94'	73.94'	N 67°27'36" E
C104	1877.00'	2°15'26"	73.94'	73.94'	N 65°12'11" E
C105	1877.00'	0°28'37"	15.63'	15.63'	N 63°50'09" E
C106	622.50'	7°01'51"	76.39'	76.34'	N 84°07'19" E
C107	622.50'	1°08'55"	12.48'	12.48'	N 80°01'56" E
C108	1754.28'	1°50'27"	56.36'	56.36'	N 78°32'15" E
C109	1754.28'	2°15'27"	69.12'	69.11'	N 76°29'19" E
C110	1754.28'	2°15'27"	69.12'	69.11'	N 74°13'52" E
C111	1754.28'	2°15'27"	69.12'	69.11'	N 71°58'26" E
C112	1754.28'	2°15'27"	69.12'	69.11'	N 69°42'59" E
C113	1754.28'	2°15'27"	69.12'	69.11'	N 67°27'33" E
C114	1754.28'	2°15'27"	69.12'	69.11'	N 65°12'06" E
C115	1754.28'	0°31'14"	15.94'	15.94'	N 64°20'00" E

SHEET INDEX
SHEET 1 OF 6 – LEGAL DESCRIPTION, DEDICATION, NOTES, & LOCATION MAP
SHEET 2 OF 6 – BOUNDARY INFORMATION & LEGEND
SHEET 3 OF 6 – CENTERLINE, TRACT & LOT BLOCK GEOMETRY
SHEET 4 OF 6 – CENTERLINE, TRACT & LOT BLOCK GEOMETRY
SHEET 5 OF 6 – CENTERLINE, TRACT & LOT BLOCK GEOMETRY
SHEET 6 OF 6 – CENTERLINE, TRACT & LOT BLOCK GEOMETRY

ALLEN & COMPANY
Profess onal Surveyors & Mappers
16 EAST PLANT STREET
WINTER GARDEN, FLORIDA 34787
(407) 654-5355
LB #6723

PARKSIDE PHASE 2

LOCATED IN SECTION 10, TOWNSHIP 24 SOUTH, RANGE 28 EAST
ORANGE COUNTY, FLORIDA

PLAT BOOK **82** PAGE **57**

SHEET 5 OF 6

CURVE TABLE

CURVE	RADIUS	CENTRAL ANGLE	ARC LENGTH	CHORD	CHORD BEARING
C2	940.00'	19°47'18"	324.65'	323.04'	N 79°59'34" E
C3	940.00'	8°28'49"	139.13'	139.00'	N 85°38'48" E
C4	940.00'	11°18'29"	185.52'	185.22'	N 75°45'09" E
C5	1445.00'	23°22'19"	589.44'	585.36'	N 81°47'04" E
C6	1445.00'	9°57'36"	251.19'	250.88'	N 75°04'43" E
C7	1445.00'	13°24'43"	338.25'	337.48'	N 86°45'52" E
C10	400.00'	9°58'33"	69.65'	69.56'	N 05°06'04" W
C11	425.00'	12°53'56"	95.68'	95.48'	N 06°33'45" W
C12	215.00'	19°34'49"	73.47'	73.12'	N 09°54'11" W
C13	375.00'	20°50'00"	136.35'	135.60'	N 10°31'47" W
C14	500.00'	12°10'59"	106.32'	106.12'	N 06°12'16" W
C15	300.00'	24°59'04"	130.82'	129.78'	N 12°36'19" W
C16	1065.00'	10°27'23"	194.36'	194.09'	N 84°41'14" E
C17	2197.00'	15°51'41"	608.20'	606.26'	N 71°31'41" E
C18	2197.00'	2°33'23"	98.03'	98.02'	N 78°10'50" E
C19	2197.00'	7°48'23"	299.34'	299.11'	N 72°59'57" E
C20	2197.00'	5°29'55"	210.84'	210.78'	N 66°20'48" E
C21	175.00'	29°47'05"	90.97'	89.95'	N 78°29'23" E
C23	100.00'	86°25'01"	150.83'	136.93'	N 43°19'16" W
C37	25.00'	80°02'22"	34.92'	32.15'	N 39°54'26" E
C38	200.00'	16°19'46"	57.00'	56.81'	N 71°45'44" E
C116	1090.00'	19°51'09"	377.67'	375.79'	N 80°01'29" E
C117	1090.00'	0°08'09"	2.58'	2.58'	N 89°52'59" E
C118	1090.00'	4°07'03"	78.33'	78.32'	N 87°45'23" E
C119	1090.00'	4°08'34"	79.13'	79.11'	N 83°37'04" E
C120	1090.00'	4°09'16"	79.03'	79.02'	N 79°27'39" E
C121	1090.00'	4°08'06"	78.66'	78.65'	N 75°18'58" E
C122	1090.00'	3°09'01"	59.93'	59.92'	N 71°40'25" E
C123	25.00'	90°00'00"	39.27'	35.36'	N 25°05'55" E
C124	25.00'	11°32'13"	5.03'	5.03'	N 14°07'39" W
C125	25.00'	78°27'47"	34.24'	31.62'	N 30°32'01" E
C126	25.00'	89°52'54"	39.22'	35.32'	N 64°50'32" W
C127	25.00'	11°32'01"	5.03'	5.02'	N 25°40'06" W
C128	25.00'	78°20'53"	34.19'	31.58'	N 70°36'33" W
C129	1295.00'	23°22'19"	528.25'	524.60'	N 81°47'04" E
C130	1295.00'	2°30'14"	56.60'	56.59'	N 71°21'02" E

CURVE TABLE

CURVE	RADIUS	CENTRAL ANGLE	ARC LENGTH	CHORD	CHORD BEARING
C131	1295.00'	3°02'19"	68.68'	68.67'	N 74°07'18" E
C132	1295.00'	3°02'22"	68.70'	68.69'	N 77°09'39" E
C133	1295.00'	3°02'22"	68.69'	68.69'	N 80°12'01" E
C134	1295.00'	3°02'25"	68.71'	68.71'	N 83°14'24" E
C135	1295.00'	3°02'25"	68.72'	68.71'	N 86°16'49" E
C136	1295.00'	3°02'22"	68.70'	68.69'	N 89°19'13" E
C137	1295.00'	2°37'50"	59.45'	59.45'	N 87°50'41" W
C138	965.00'	19°47'18"	333.29'	331.63'	N 79°59'34" E
C139	965.00'	4°06'57"	69.32'	69.31'	N 87°49'44" E
C140	965.00'	4°09'29"	70.03'	70.02'	N 83°41'31" E
C141	965.00'	4°09'12"	69.95'	69.94'	N 79°32'10" E
C142	965.00'	4°08'04"	69.63'	69.62'	N 75°23'32" E
C143	965.00'	31°36"	54.34'	54.34'	N 71°42'42" E
C144	25.00'	90°00'00"	39.27'	35.36'	N 64°54'05" W
C145	25.00'	90°06'37"	39.32'	35.39'	N 25°09'13" E
C146	1420.00'	23°15'42"	576.51'	572.56'	N 81°50'22" E
C147	1420.00'	2°23'27"	59.32'	59.32'	N 71°24'20" E
C148	1420.00'	3°02'19"	75.31'	75.30'	N 74°07'18" E
C149	1420.00'	3°02'22"	75.33'	75.32'	N 77°09'39" E
C150	1420.00'	3°02'22"	75.33'	75.32'	N 80°12'00" E
C151	1420.00'	3°02'25"	75.35'	75.34'	N 83°14'24" E
C152	1420.00'	3°02'25"	75.35'	75.34'	N 86°16'48" E
C153	1420.00'	3°02'22"	75.33'	75.32'	N 89°19'12" E
C154	1420.00'	2°37'50"	65.20'	65.19'	N 87°50'41" W
C155	25.00'	90°00'00"	39.27'	35.36'	N 45°06'47" W
C156	25.00'	87°27'25"	38.16'	34.56'	N 43°36'56" E
C157	1090.00'	7°53'06"	150.01'	149.89'	N 83°24'05" E
C158	1090.00'	5°20'20"	101.57'	101.53'	N 84°40'28" E
C159	1090.00'	2°32'47"	48.44'	48.44'	N 80°43'55" E
C160	2222.00'	1°11'46"	46.38'	46.38'	N 78°51'39" E
C161	25.00'	96°18'08"	42.02'	37.25'	N 53°35'10" W
C162	400.00'	5°19'19"	37.15'	37.14'	N 02°46'26" W
C163	425.00'	3°16'10"	24.25'	24.25'	N 01°44'52" W
C164	25.00'	87°53'54"	38.35'	34.70'	N 40°34'00" E
C165	915.00'	5°22'15"	85.77'	85.74'	N 87°12'05" E
C166	25.00'	100°06'40"	43.68'	38.33'	N 51°54'21" W

CURVE TABLE

CURVE	RADIUS	CENTRAL ANGLE	ARC LENGTH	CHORD	CHORD BEARING
C167	375.00'	1°44'14"	11.37'	11.37'	N 00°58'54" W
C168	450.00'	6°55'32"	54.39'	54.36'	N 03°34'33" W
C169	25.00'	82°44'01"	36.10'	33.04'	N 34°19'41" E
C170	2222.00'	5°13'44"	202.78'	202.71'	N 73°04'50" E
C171	2222.00'	2°56'07"	113.83'	113.82'	N 74°13'39" E
C172	2222.00'	2°17'37"	88.95'	88.95'	N 71°36'46" E
C173	25.00'	97°18'57"	42.46'	37.54'	N 60°52'34" W
C174	350.00'	12°06'19"	73.95'	73.81'	N 06°09'56" W
C175	350.00'	11°17'38"	68.99'	68.88'	N 06°34'17" W
C176	350.00'	0°48'51"	4.96'	4.96'	N 00°31'02" W
C177	240.00'	8°44'26"	36.61'	36.58'	N 04°29'00" W
C178	25.00'	78°57'08"	34.45'	31.79'	N 30°37'21" E
C179	915.00'	7°56'25"	126.80'	126.70'	N 74°04'07" E
C180	915.00'	1°48'00"	28.75'	28.75'	N 70°59'55" E
C181	915.00'	6°08'25"	98.06'	98.01'	N 74°58'07" E
C182	25.00'	107°59'37"	47.12'	40.45'	N 55°58'27" W
C183	190.00'	1°51'51"	6.18'	6.18'	N 01°32'43" W
C184	400.00'	14°08'22"	98.71'	98.46'	N 07°10'58" W
C185	400.00'	6°45'39"	47.20'	47.17'	N 03°29'37" W
C186	400.00'	7°22'43"	51.51'	51.48'	N 10°33'48" W

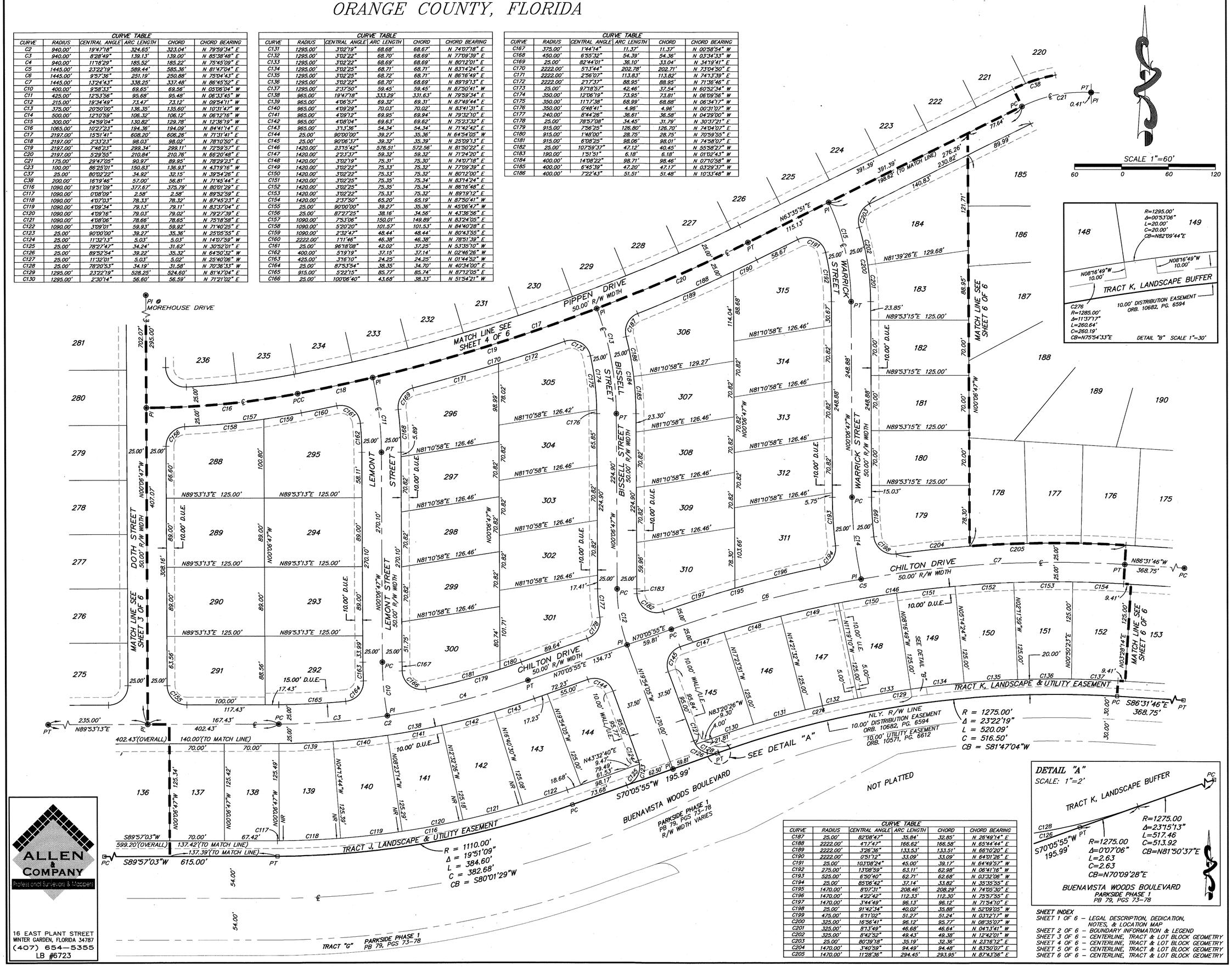

CURVE TABLE

CURVE	RADIUS	CENTRAL ANGLE	ARC LENGTH	CHORD	CHORD BEARING
C187	25.00'	82°08'42"	35.84'	32.85'	N 26°49'14" E
C188	2223.00'	41°14'27"	166.62'	166.58'	N 65°44'44" E
C189	2222.00'	3°26'36"	133.53'	133.51'	N 66°10'20" E
C190	2222.00'	0°51'12"	33.09'	33.09'	N 64°01'26" E
C191	25.00'	103°08'24"	45.00'	39.17'	N 64°49'57" W
C192	275.00'	13°08'59"	63.11'	62.98'	N 06°41'16" W
C193	525.00'	6°50'40"	62.71'	62.68'	N 03°32'06" W
C194	25.00'	85°26'49"	37.14'	33.82'	N 35°35'55" E
C195	1470.00'	8°07'31"	208.46'	208.29'	N 74°05'30" E
C196	1470.00'	4°22'42"	112.33'	112.30'	N 75°57'55" E
C197	1470.00'	3°44'49"	96.13'	96.12'	N 71°54'10" E
C198	25.00'	91°42'34"	40.02'	35.88'	N 52°09'05" W
C199	475.00'	6°11'02"	51.27'	51.24'	N 03°12'17" W
C200	325.00'	16°56'41"	96.12'	95.77'	N 08°35'07" W
C201	325.00'	8°13'49"	46.68'	46.64'	N 04°13'41" W
C202	325.00'	8°42'52"	49.43'	49.38'	N 12°42'01" W
C203	25.00'	80°39'18"	35.19'	32.36'	N 23°16'12" E
C204	1470.00'	3°40'59"	94.49'	94.48'	N 83°50'07" E
C205	1470.00'	11°28'36"	294.45'	293.95'	N 87°43'56" E

SHEET INDEX
SHEET 1 OF 6 – LEGAL DESCRIPTION, DEDICATION, NOTES, & LOCATION MAP
SHEET 2 OF 6 – BOUNDARY INFORMATION & LEGEND
SHEET 3 OF 6 – CENTERLINE, TRACT & LOT BLOCK GEOMETRY
SHEET 4 OF 6 – CENTERLINE, TRACT & LOT BLOCK GEOMETRY
SHEET 5 OF 6 – CENTERLINE, TRACT & LOT BLOCK GEOMETRY
SHEET 6 OF 6 – CENTERLINE, TRACT & LOT BLOCK GEOMETRY

ALLEN & COMPANY
Professional Surveyors & Mappers
16 EAST PLANT STREET
WINTER GARDEN, FLORIDA 34787
(407) 654-5355
LB #6723

PARKSIDE PHASE 2

LOCATED IN SECTION 10, TOWNSHIP 24 SOUTH, RANGE 28 EAST
ORANGE COUNTY, FLORIDA

SHEET 6 OF 6

PLAT BOOK **82** PAGE **58**

SHEET INDEX
SHEET 1 OF 6 – LEGAL DESCRIPTION, DEDICATION, NOTES, & LOCATION MAP
SHEET 2 OF 6 – BOUNDARY INFORMATION & LEGEND
SHEET 3 OF 6 – CENTERLINE, TRACT & LOT BLOCK GEOMETRY
SHEET 4 OF 6 – CENTERLINE, TRACT & LOT BLOCK GEOMETRY
SHEET 5 OF 6 – CENTERLINE, TRACT & LOT BLOCK GEOMETRY
SHEET 6 OF 6 – CENTERLINE, TRACT & LOT BLOCK GEOMETRY

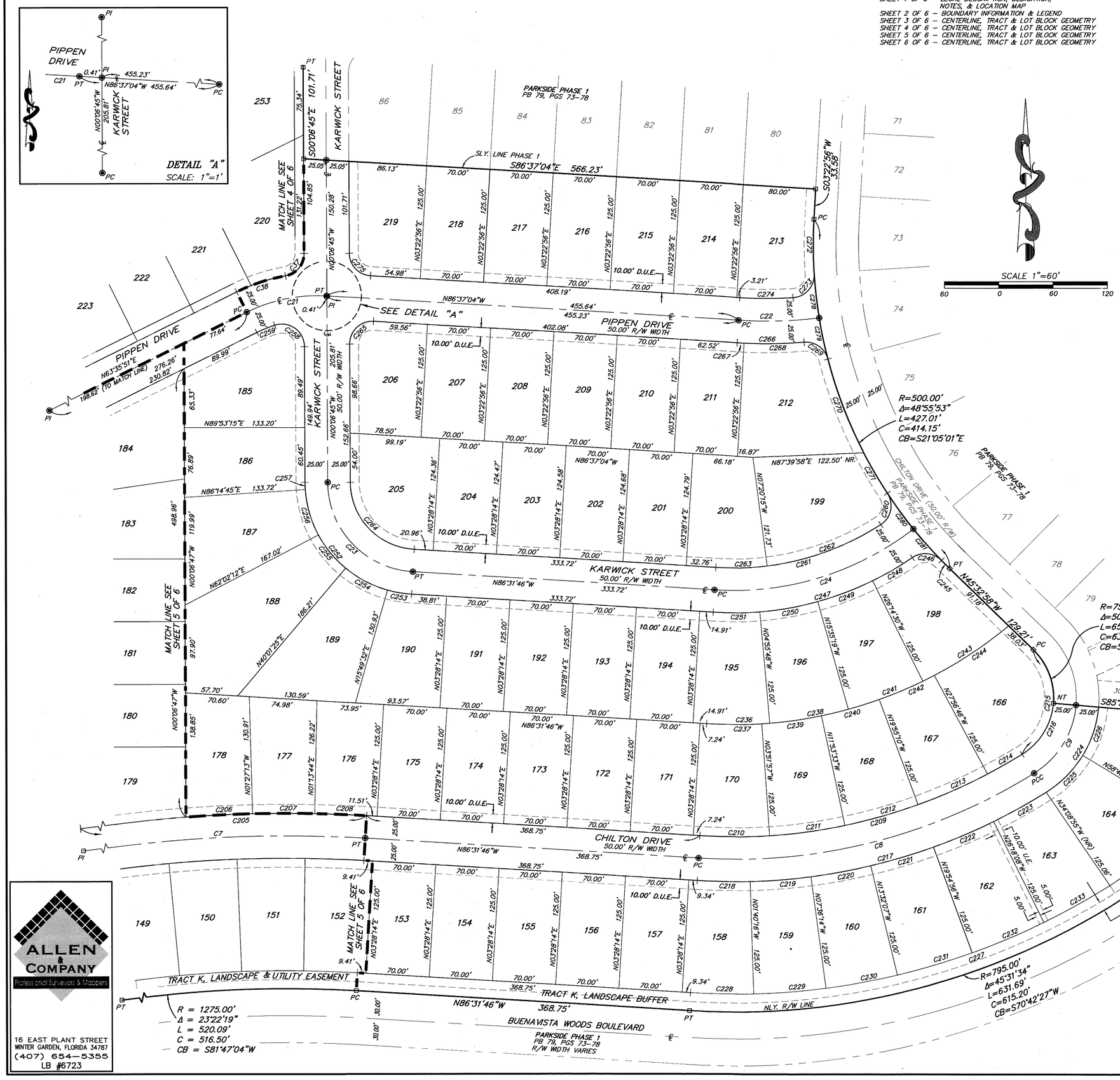

CURVE TABLE					
CURVE	RADIUS	CENTRAL ANGLE	ARC LENGTH	CHORD	CHORD BEARING
C7	1445.00'	13°24'43"	338.25'	337.48'	N 86°45'52" E
C8	625.00'	35°38'25"	388.78'	382.54'	N 75°39'01" E
C9	100.00'	52°59'51"	92.50'	89.24'	N 31°19'53" E
C21	175.00'	29°47'05"	90.97'	89.95'	N 78°29'23" E
C22	500.00'	10°13'07"	89.17'	89.06'	N 88°16'22" E
C23	100.00'	86°25'01"	150.83'	136.93'	N 43°19'16" W
C24	325.00'	41°25'36"	234.99'	229.90'	N 72°45'25" E
C37	25.00'	80°02'22"	34.92'	32.15'	N 39°54'26" E
C38	200.00'	16°19'46"	57.00'	56.81'	N 71°45'44" E
C205	1470.00'	11°28'36"	294.45'	293.95'	N 87°43'56" E
C206	1470.00'	2°52'10"	73.62'	73.61'	N 82°08'42" E
C207	1470.00'	2°40'57"	68.82'	68.82'	N 89°53'16" E
C208	1470.00'	2°14'29"	57.51'	57.51'	N 87°39'01" W
C209	600.00'	35°38'25"	373.23'	367.24'	N 75°39'01" E
C210	600.00'	7°20'10"	76.82'	76.77'	N 89°48'08" E
C211	600.00'	8°01'36"	84.06'	83.99'	N 82°07'15" E
C212	600.00'	8°01'36"	84.06'	83.99'	N 74°05'39" E
C213	600.00'	8°01'36"	84.06'	83.99'	N 66°04'02" E
C214	600.00'	4°13'26"	44.23'	44.22'	N 59°56'31" E
C215	75.00'	103°22'46"	135.32'	117.70'	N 06°08'25" E
C216	75.00'	52°59'51"	69.37'	66.93'	N 31°19'53" E
C217	650.00'	35°38'25"	404.33'	397.84'	N 75°39'01" E
C218	650.00'	5°08'29"	58.33'	58.31'	N 89°06'01" W
C219	650.00'	5°55'58"	67.31'	67.28'	N 83°21'45" E
C220	650.00'	5°55'53"	67.29'	67.26'	N 79°25'50" E
C221	650.00'	6°22'49"	72.38'	72.35'	N 73°16'28" E
C222	650.00'	6°23'11"	72.45'	72.42'	N 66°53'28" E
C223	650.00'	5°52'04"	66.57'	66.54'	N 60°45'50" E
C224	125.00'	52°59'51"	115.62'	111.54'	N 31°19'53" E
C225	125.00'	26°37'54"	58.10'	57.58'	N 44°30'51" E
C226	125.00'	28°21'57"	57.52'	57.02'	N 18°00'56" E
C227	775.00'	45°31'34"	615.80'	599.73'	N 70°42'27" E
C228	775.00'	5°08'30"	69.55'	69.52'	N 89°06'01" W
C229	775.00'	5°55'58"	80.25'	80.21'	N 85°21'45" E
C230	775.00'	5°55'53"	80.23'	80.19'	N 79°25'49" E
C231	775.00'	6°22'49"	86.30'	86.26'	N 73°16'28" E
C232	775.00'	6°23'11"	86.39'	86.34'	N 66°53'28" E
C233	775.00'	6°11'14"	83.69'	83.65'	N 60°36'15" E
C234	775.00'	8°38'06"	116.80'	116.69'	N 53°11'35" E
C235	775.00'	0°55'52"	12.60'	12.60'	N 48°24'36" E
C236	475.00'	8°24'02"	69.64'	69.58'	N 89°16'13" E
C237	475.00'	7°20'10"	60.82'	60.78'	N 89°48'08" E
C238	475.00'	10°39'31"	88.36'	88.24'	N 79°44'26" E
C239	475.00'	8°01'36"	66.54'	66.49'	N 82°07'15" E
C240	475.00'	8°01'36"	66.54'	66.49'	N 74°05'39" E
C241	475.00'	10°39'10"	88.32'	88.19'	N 69°05'05" E
C242	475.00'	8°01'36"	66.54'	66.49'	N 66°04'02" E
C243	475.00'	13°41'30"	113.51'	113.24'	N 56°54'45" E
C244	475.00'	11°59'14"	99.38'	99.20'	N 56°03'37" E
C245	500.00'	1°27'39"	12.75'	12.75'	N 44°49'08" W
C246	25.00'	80°29'54"	35.12'	32.31'	N 84°20'15" W
C247	350.00'	38°03'26"	232.48'	228.23'	N 74°26'31" E
C248	350.00'	8°20'42"	50.98'	50.93'	N 59°35'09" E
C249	350.00'	10°39'10"	65.07'	64.98'	N 69°05'05" E
C250	350.00'	10°39'31"	65.11'	65.02'	N 79°44'26" E
C251	350.00'	8°24'02"	51.32'	51.27'	N 89°16'13" E
C252	125.00'	86°25'01"	188.53'	171.16'	N 43°19'16" W
C253	125.00'	12°21'19"	26.95'	26.90'	N 80°21'07" W
C254	125.00'	24°11'53"	52.79'	52.40'	N 62°04'31" W
C255	125.00'	22°00'47"	48.02'	47.73'	N 38°58'12" W
C256	125.00'	24°12'33"	52.82'	52.42'	N 15°51'32" W
C257	125.00'	3°38'30"	7.94'	7.94'	N 01°56'00" W
C258	25.00'	108°08'25"	47.19'	40.49'	N 54°10'58" W
C259	150.00'	8°08'59"	21.34'	21.32'	N 67°40'20" E
C260	25.00'	89°59'59"	39.27'	35.36'	N 11°52'42" E
C261	300.00'	36°35'32"	191.60'	188.36'	N 75°10'28" E
C262	300.00'	25°47'03"	135.01'	133.87'	N 69°46'14" E
C263	300.00'	10°48'28"	56.59'	56.51'	N 88°03'59" E
C264	75.00'	86°25'01"	113.12'	102.70'	N 43°19'16" W
C265	25.00'	93°29'41"	40.79'	36.42'	N 46°38'05" E
C266	525.00'	8°03'24"	73.82'	73.76'	N 89°21'14" E
C267	525.00'	0°48'58"	7.48'	7.48'	N 87°01'33" W
C268	525.00'	7°14'26"	66.34'	66.30'	N 88°56'45" E
C269	25.00'	80°11'58"	34.99'	32.21'	N 54°34'29" W
C270	500.00'	12°42'08"	110.85'	110.62'	N 20°49'34" W
C271	500.00'	5°56'39"	51.87'	51.85'	N 30°08'58" W
C272	500.00'	6°53'20"	60.12'	60.08'	N 00°03'44" W
C273	25.00'	89°47'38"	39.18'	35.29'	N 41°23'25" E
C274	475.00'	7°05'42"	58.82'	58.78'	N 89°50'05" E
C275	25.00'	86°30'19"	37.75'	34.26'	N 43°21'55" W
C276	500.00'	5°38'32"	49.24'	49.22'	N 06°19'41" W
C279	500.00'	5°19'13"	46.48'	46.46'	N 11°48'43" W
C280	500.00'	5°36'22"	48.92'	48.90'	N 35°55'28" W
C281	500.00'	5°21'39"	46.78'	46.77'	N 41°24'29" W

ALLEN & COMPANY
Professional Surveyors & Mappers
16 EAST PLANT STREET
WINTER GARDEN, FLORIDA 34787
(407) 654-5355
LB #6723