5/14/01

SADDLEBROOKE OF WEST MELBOURNE

A REPLAT OF SADDLEBROOKE (P.B.45, PAGES 93-95 OF THE PUBLIC RECORDS OF BREVARD COUNTY, FLORIDA

SECTION 7, TOWNSHIP 28 SOUTH, RANGE 37 EAST
CITY OF WEST MELBOURNE, COUNTY OF BREVARD, FLORIDA.

PLAT BOOK 46 PAGE 32
SHEET 1 OF 3
SECTION 7 TWP. 28 S., RANGE 37 E.

LEGAL DESCRIPTION:

Saddlebrooke, according to the plat thereof, as recorded in Plat Book 45, Pages 93-95, of the public records of Brevard County, Florida.

Less and Except Tract C of said Saddlebrooke

Notes:

1. The bearings shown hereon are based on the East line of the Southeast 1/4 of Section 7/28/37 being N 00°50'47" E said bearing is derived from the State Plane Coordinate System for Florida's East Zone (N.A.D. 83/90).
2. The following easements are hereby reserved:

   A. An easement 12 feet in width contiguous with and outside of the Interior road rights-of-way dedicated by this plat is reserved for the installation of Florida Power and Light (F.P.&L.) Facilities and other public utilities unless otherwise noted.

   B. A 5' public utility easement along all side lot lines unless shown by a drainage easement.

   C. All drainage easements are hereby dedicated to the Saddlebrooke Homeowners Association for maintenance.
3. All utility easements shall also be for the construction, installation, maintenance and operation of cable television services; provided however no such services shall interfere with the facilities and services of an electric, gas, telephone, or other public utility. In the event that a cable television company damages the facilities of a public utility, it shall be solely responsible for the damages.
4. Tracts "A" , "B" , "D" , "E" , "F", "K" , "L" , "M" and "N" are hereby conveyed to, controlled by and maintained by the Saddlebrooke Homeowners Association, Inc., for landscape amenities.
5. Tract "G" is hereby conveyed to, controlled by and maintained by the Saddlebrooke Homeowners Association, Inc., for stormwater management.
6. Tract "H" is hereby conveyed to, controlled by and maintained by the Saddlebrooke Homeowners Association, Inc., for pedestrian access.
7. Tracts "I" and "J" are hereby reserved for road right-of-way.
8. For deed restrictions see O.R.B. 4222, Pg. 2255, and as amended in O.R.B. 4231, Pg. 1133, of the public records of Brevard County, Florida.
9. Where more than one lot or parts of one or more lots are intended to be used as a single building site, the outside boundaries of that building site shall carry the side lot line easements, provided that no utilities exist within said easement and proper verification has been made. This does not apply to the line between lots 14 and 15, lots 29 and 30, lots 43 and 44, lots 66 and 67, lots 80 and 81, lots 94 and 95, lots 110 and 111, lots 124 and 125 and lots 138 and 139.
10. This plat supercedes the plat of Saddlebrooke, as recorded in Plat Book 45, Pages 93-95, of the public records of Brevard County, Florida.
11. Setbacks

    Front = 25'
    Rear = 25'
    Side = 5'
    Side corner = 25'

LEGEND

□ = 4"x4" CONCRETE MONUMENT WITH NAIL AND DISK MARKED "PRM PLS 5060" (SET)
■ = 4"x4" CONCRETE MONUMENT WITH NAIL AND DISK MARKED "PRM PLS 5060" (FOUND)
● = NAIL AND DISK MARKED "PCP PLS 5060" (SET)
○ = NAIL AND DISK MARKED "PCP PLS 5060" (FOUND)
C# = CURVE NUMBER FOR CURVE TABLE
L# = LINE NUMBER FOR LINE TABLE
ESMT. = EASEMENT
P.U. & D.E. = PUBLIC UTILITIES AND DRAINAGE EASEMENT
R/W = RIGHT-OF-WAY
(R) = RADIAL
(NR) = NON-RADIAL
P.B. = PLAT BOOK
PG. = PAGE
PC = POINT-OF-CURVATURE
PT = POINT-OF-TANGENCY
POC = POINT-ON-CURVE
POB = POINT-OF-BEGINNING
PI = POINT-OF-INTERSECTION
POL = POINT-ON-LINE
PRM = PERMANENT REFERENCE MONUMENT
PCP = PERMANENT CONTROL POINT
PRC = POINT-OF-REVERSE CURVATURE
PCC = POINT-OF-COMPOUND CURVATURE

NOTE:
PRIOR TO THE RELEASE OF THE PERFORMANCE BOND, ALL LOT CORNER MONUMENTATION WILL BE SET AS 1/2" IRON RODS WITH CAPS MARKED "LB 3608".

PREPARED BY:
WILLIAM MOTT LAND SURVEYING INC.
SATELLITE BEACH PROFESSIONAL CENTER
1275 SOUTH PATRICK DRIVE, SUITE H
SATELLITE BEACH, FLORIDA, 32937-3955
PHONE (407) 773-4323
PROJECT NUMBER: 2000108
DRAWN BY: DANIEL D. GARNER

NOTICE: THIS PLAT, AS RECORDED IN ITS GRAPHIC FORM, IS THE OFFICIAL DEPICTION OF THE SUBDIVIDED LANDS DESCRIBED HEREIN AND WILL IN NO CIRCUMSTANCES BE SUPPLANTED IN AUTHORITY BY ANY OTHER GRAPHIC OR DIGITAL FORM OF THE PLAT. THERE MAY BE ADDITIONAL RESTRICTIONS THAT ARE NOT RECORDED ON THIS PLAT THAT MAY BE FOUND IN THE PUBLIC RECORDS OF THIS COUNTY.

VICINITY MAP

SCALE: 1" = 20000'

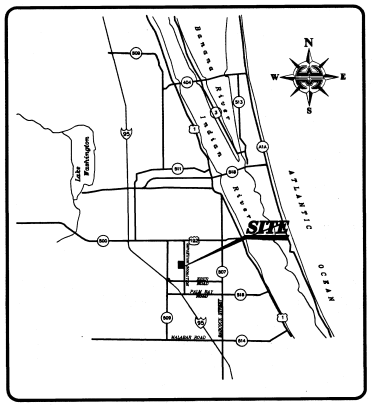

DEDICATION

KNOW ALL MEN BY THESE PRESENTS, That the Corporation named below, being the owner in fee simple of the lands described in

SADDLEBROOKE OF WEST MELBOURNE

hereby dedicates said lands and plat for the uses and purposes therein expressed and dedicates all streets, drainage easements, utility easements , rights of way and easements shown hereon to the perpetual use of the public, and IN WITNESS WHEREOF, has caused these presents to be signed and attested to by the officers named below and its corporate seal to be affixed hereto on _____

By _____
Arthur F. Evans III., President

Attest: _____
Timothy C. Jelus, Vice President

Signed and sealed in the presence of:

Saddlebrooke Land Development Company
1688 W. Hibiscus Blvd.
Melbourne, Fl. 32901

STATE OF FLORIDA COUNTY OF BREVARD
THIS IS TO CERTIFY, That on _____ before me, an officer duly authorized to take acknowledgments in the State and County aforesaid, personally appeared _____ Arthur F. Evans III and Timothy C. Jelus respectively as President and Vice President of the above named corporation incorporated under the laws of the State of FLORIDA, to me known to be the individuals and officers described in and who executed the foregoing Dedication and severally acknowledged the execution thereof to be their free act and deed as such officers thereunto duly authorized; that the official seal of said corporation is duly affixed thereto; and that the said Dedication is the act and deed of said corporation.

IN WITNESS WHEREOF, I have hereto set my hand and seal on the above date.

Tamara D. Neal NOTARY PUBLIC

OFFICIAL SEAL TAMARA D. NEAL MY COMMISSION EXPIRES FEBRUARY 23, 2001 Comm. No. CC 825831

My Commission Expires Feb. 23, 2001

JOINDER

KNOW ALL MEN BY THESE PRESENTS: that Holiday Builders, a Florida Corporation, being the owner in fee simple of a portion of lands platted hereunder as

SADDLEBROOKE OF WEST MELBOURNE

which portion is described hereon as lot 59, hereby joins in and consents to the foregoing dedication soley for the purpose of submitting lot 59 to the uses and purposes expressed hereon pertaining to such lot. holiday Builders joins in such dedication soley in its capacity as the fee simple owner of said _____ and not as a developer of the lots platted hereunder and IN WITNESS WHEREOF, has caused these presents to be signed and attested to by the officers named below and its corporate seal to be affixed hereto on _____

By _____
Keith Gaver

Holiday Builders
1901 S Harbor City Blvd
Suite 806
Melbourne, FL 32901

Signed and sealed in the presence of:

STATE OF FLORIDA COUNTY OF BREVARD THIS IS TO CERTIFY, That on Nov. 14, 2000 before me, an officer duly authorized to take acknowledgments in the State and County aforesaid, personally appeared Keith Gaver, Vice President of the above named corporation incorporated under the laws of the State of FLORIDA, to me known to be the individual and officer described in and who executed the foregoing Dedication and severally acknowledged the execution thereof to be their free act and deed as such officers thereunto duly authorized; that the official seal of said corporation is duly affixed thereto; and that the said Dedication is the act and deed of said corporation.

IN WITNESS WHEREOF, I have hereto set my hand and seal on the above date.

Tamara D. Neal, Notary Public

OFFICIAL SEAL TAMARA D. NEAL MY COMMISSION EXPIRES FEBRUARY 23, 2001 Comm. No. CC 825831

My Commission Expires Feb. 23, 2001

CERTIFICATE OF SURVEYOR

KNOW ALL MEN BY THESE PRESENTS, That the undersigned, being a licensed and registered land surveyor, does hereby certify that on 3/13/00 I completed the survey of the lands as shown in the foregoing plat; that said plat is a correct representation of the lands therein described and platted; that permanent reference monuments have been placed as shown thereon as required by Chapters 177 Part 1) & 472 Florida Statutes; and that said land is located in Brevard County, Florida. Dated 11/1/00

_____ Registration No. 3360

Jonathan M. Mott P.L.S.
William Mott Land Surveying, Inc.
Satellite Beach Professional Center
1275 South Patrick Drive, Suite H
Satellite Beach, Florida 32937
Certificate of Authorization LB 3608

CERTIFICATE OF CLERK

I HEREBY CERTIFY, That I have examined the foregoing plat and find that it complies in form with all the requirements of Chapter 177, Part 1, Florida Statutes, and was filed for record on December 14, 2000 at 8:34 A.M.

File No. 2000240793

Sandy Crawford by Kelly Deputy Clerk
Clerk of the Circuit Court
in and for Brevard County, FL

CERTIFICATE OF APPROVAL BY MUNICIPALITY

THIS IS TO CERTIFY, That on November 21, 2000 the West Melbourne City Council approved the foregoing plat

ATTEST: _____ MAYOR
_____ CITY CLERK

CERTIFICATE OF APPROVAL BY PLANNING AND ZONING COMMISSION

ATTEST:
THIS IS TO CERTIFY, That on November 14, 2000, the zoning commission of the above municipality approved the foregoing plat.

_____
Planning and Zoning Director

CERTIFICATE OF REVIEWING SURVEYOR

I HEREBY CERTIFY, That I have reviewed the foregoing plat and find that it is in conformity with Chapter 177, Part 1, Florida Statutes.

Andrew W. Parzych Florida Certificate 5383
Reviewing Surveyor for the City of West Melbourne

5/14/01

SADDLEBROOKE OF WEST MELBOURNE

A REPLAT OF SADDLEBROOK (P.B. 45, PAGES 93-95 OF THE PUBLIC RECORDS OF BREVARD COUNTY, FLORIDA)
SECTION 7, TOWNSHIP 28 SOUTH, RANGE 37 EAST CITY OF WEST MELBOURNE, COUNTY OF BREVARD, FLORIDA.

PLAT BOOK 46 PAGE 33
SHEET 2 OF 3
SECTION 7 TWP. 28 S., RANGE 37 E.

NOTE:
PRIOR TO THE RELEASE OF THE PERFORMANCE BOND, ALL LOT CORNER MONUMENTATION WILL BE SET AS 1/2" IRON RODS WITH CAPS MARKED "LB 3608".

CURVE TABLE					
CURVE	RADIUS	DELTA	LENGTH	CHORD	CHORD BEARING
C1	25.00'	27°23'14"	11.95'	11.84'	S 12°43'27" E
C2	25.00'	62°36'46"	27.32'	25.98'	S 59°39'47" W
C3	25.00'	27°23'14"	11.95'	11.84'	S 14°39'47" W
C4	25.00'	90°00'00"	39.27'	35.36'	N 45°58'10" E
C5	50.00'	90°00'00"	78.54'	70.71'	N 45°58'10" E
C6	75.00'	26°26'50"	34.62'	34.31'	N 77°44'45" E
C7	75.00'	40°58'29"	53.64'	52.50'	N 44°02'05" E
C8	75.00'	22°34'41"	29.55'	29.36'	N 12°15'31" E
C9	25.00'	90°00'00"	39.27'	35.36'	S 44°01'50" E
C10	25.00'	90°00'00"	39.27'	35.36'	N 45°58'10" E
C11	25.00'	90°00'00"	39.27'	35.36'	S 44°01'50" E
C12	25.00'	90°00'00"	39.27'	35.36'	N 45°58'10" E
C13	25.00'	90°00'00"	39.27'	35.36'	S 44°01'50" E
C14	50.00'	90°00'00"	78.54'	70.71'	S 44°01'50" E
C15	75.00'	24°09'54"	31.63'	31.40'	S 11°06'47" E
C16	75.00'	44°02'55"	57.66'	56.25'	S 45°13'11" E
C17	75.00'	21°47'14"	28.52'	28.35'	S 78°08'14" E
C18	25.00'	42°38'31"	18.61'	18.18'	S 20°21'06" E
C19	25.00'	47°21'29"	20.66'	20.08'	S 65°21'06" E
C20	25.00'	90°00'00"	39.27'	35.36'	S 45°58'10" W
C21	25.00'	90°00'00"	39.27'	35.36'	N 44°01'50" W
C22	25.00'	23°34'41"	10.29'	10.22'	S 79°10'49" W
C23	25.00'	90°00'00"	39.27'	35.36'	N 44°01'50" W
C24	25.00'	90°00'00"	39.27'	35.36'	S 45°58'10" W
C25	25.00'	90°00'00"	39.27'	35.36'	N 44°01'50" W
C26	25.00'	27°06'13"	11.83'	11.72'	N 77°25'04" E
C27	25.00'	62°53'47"	27.44'	26.09'	N 32°25'04" E
C28	25.00'	62°36'46"	27.32'	25.98'	S 57°43'27" E
C29	44.33'	28°30'36"	22.06'	21.83'	S 74°46'32" E
C30	4.50'	122°58'49"	9.66'	7.91'	S 00°58'10" W
C31	44.33'	28°30'36"	22.06'	21.83'	S 76°42'52" W
C32	59.33'	30°14'44"	31.32'	30.96'	N 73°54'28" W
C33	4.50'	133°28'58"	10.48'	8.27'	N 07°57'23" E
C34	59.33'	16°16'18"	16.85'	16.79'	N 82°50'01" E
C35	25.00'	66°25'19"	28.98'	27.39'	S 34°10'49" W

LINE TABLE		
LINE	LENGTH	BEARING
L1	21.49'	N 89°01'50" W
L2	21.27'	S 12°37'44" E
L4	13.50'	N 01°13'26" E
L6	13.50'	S 01°13'26" W
L7	31.18'	S 00°58'10" W
L8	10.00'	S 89°01'50" E
L9	10.00'	S 89°01'50" E
L12	6.61'	S 88°48'18" E
L13	17.22'	N 89°01'50" W
L14	13.61'	N 88°48'18" W
L15	10.97'	S 00°58'10" W
L16	10.51'	N 01°13'26" E
L17	0.13'	N 88°48'18" W
L18	8.72'	S 89°01'50" E
L19	12.22'	N 89°01'50" W

INDEX MAP
(NOT TO SCALE)

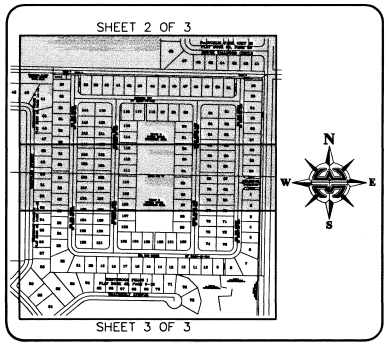

LEGEND
□ = 4"x4" CONCRETE MONUMENT WITH NAIL AND DISK MARKED "PRM PLS 5060" (SET)
■ = 4"x4" CONCRETE MONUMENT WITH NAIL AND DISK MARKED "PRM PLS 5060" (FOUND)
● = NAIL AND DISK MARKED "PCP PLS 5060" (SET)
○ = NAIL AND DISK MARKED "PCP PLS 5060" (FOUND)
C## = CURVE NUMBER FOR CURVE TABLE
L## = LINE NUMBER FOR LINE TABLE
ESMT. = EASEMENT
P.U. & D.E. = PUBLIC UTILITIES AND DRAINAGE EASEMENT
R/W = RIGHT-OF-WAY
(R) = RADIAL
(NR) = NON-RADIAL
P.B. = PLAT BOOK
PG = PAGE
PC = POINT-OF-CURVATURE
PT = POINT-OF-TANGENCY
POC = POINT-ON-CURVE
POB = POINT-OF-BEGINNING
PI = POINT-OF-INTERSECTION
POL = POINT-ON-LINE
PRM = PERMANENT REFERENCE MONUMENT
PCP = PERMANENT CONTROL POINT
PRC = POINT-OF-REVERSE CURVATURE
PCC = POINT-OF-COMPOUND CURVATURE

PREPARED BY:
WILLIAM MOTT LAND SURVEYING INC.
SATELLITE BEACH PROFESSIONAL CENTER
1275 SOUTH PATRICK DRIVE, SUITE H
SATELLITE BEACH, FLORIDA, 32937-3955
PHONE (407) 773-4323
PROJECT NUMBER: 2000108
DRAWN BY: DANIEL D. GARNER

NOTICE: THIS PLAT, AS RECORDED IN ITS GRAPHIC FORM, IS THE OFFICIAL DEPICTION OF THE SUBDIVIDED LANDS DESCRIBED HEREIN AND WILL IN NO CIRCUMSTANCES BE SUPPLANTED IN AUTHORITY BY ANY OTHER GRAPHIC OR DIGITAL FORM OF THE PLAT. THERE MAY BE ADDITIONAL RESTRICTIONS THAT ARE NOT RECORDED ON THIS PLAT THAT MAY BE FOUND IN THE PUBLIC RECORDS OF THIS COUNTY.

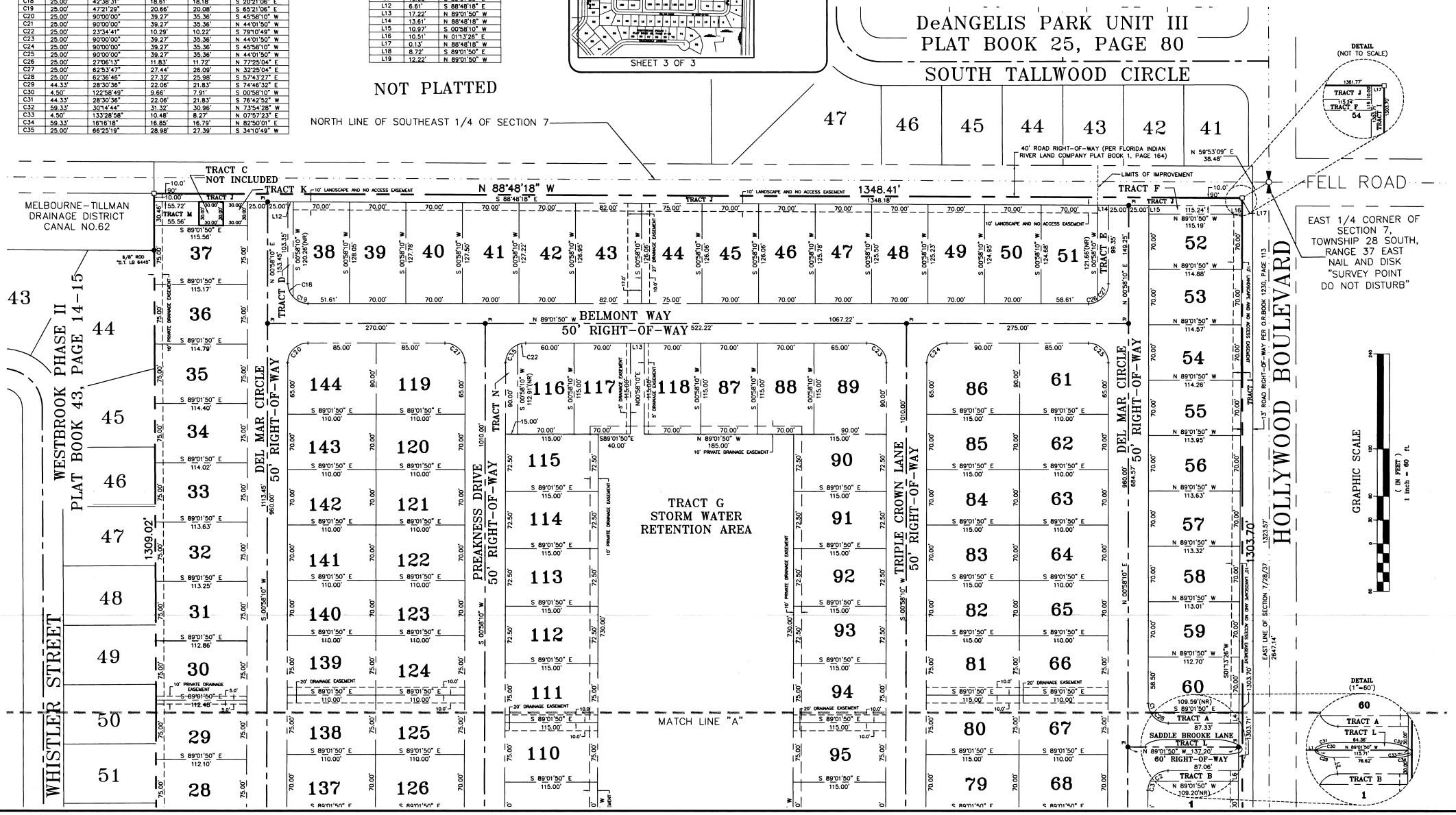

5/14/01

SADDLEBROOKE OF WEST MELBOURNE

A REPLAT OF SADDLEBROOK (P.B. 45, PAGES 93-95 OF THE PUBLIC RECORDS OF BREVARD COUNTY, FLORIDA)
SECTION 7, TOWNSHIP 28 SOUTH, RANGE 37 EAST CITY OF WEST MELBOURNE, COUNTY OF BREVARD, FLORIDA.

PLAT BOOK 46 PAGE 34
SHEET 3 OF 3
SECTION 7 TWP. 28 S., RANGE 37 E.

CURVE TABLE					
CURVE	RADIUS	DELTA	LENGTH	CHORD	CHORD BEARING
C1	25.00'	27°23'14"	11.95'	11.84'	S 12°43'27" E
C2	25.00'	62°36'46"	27.32'	25.98'	S 56°36'47" W
C3	25.00'	27°23'14"	11.95'	11.84'	S 14°39'47" W
C4	25.00'	90°00'00"	39.27'	35.36'	N 45°58'10" E
C5	50.00'	90°00'00"	78.54'	70.71'	N 45°58'10" E
C6	75.00'	26°28'50"	34.63'	34.31'	N 77°44'45" E
C7	75.00'	40°58'29"	53.64'	52.50'	N 44°02'05" E
C8	75.00'	22°34'41"	29.55'	29.36'	N 12°13'31" E
C9	25.00'	90°00'00"	39.27'	35.36'	S 44°01'50" E
C10	25.00'	90°00'00"	39.27'	35.36'	N 45°58'10" E
C11	25.00'	90°00'00"	39.27'	35.36'	S 44°01'50" E
C12	25.00'	90°00'00"	39.27'	35.36'	N 45°58'10" E
C13	25.00'	90°00'00"	39.27'	35.36'	S 44°01'50" E
C14	50.00'	90°00'00"	78.54'	70.71'	S 44°01'50" E
C15	75.00'	24°09'54"	31.63'	31.40'	S 11°06'47" E
C16	75.00'	44°02'55"	57.66'	56.25'	S 45°13'11" E
C17	75.00'	21°47'14"	28.53'	28.35'	S 78°08'14" E
C18	25.00'	42°38'31"	18.61'	18.18'	S 20°21'06" E
C19	25.00'	47°21'29"	20.66'	20.08'	S 65°21'06" E
C20	25.00'	90°00'00"	39.27'	35.36'	S 45°58'10" W
C21	25.00'	90°00'00"	39.27'	35.36'	N 44°01'50" W
C22	25.00'	23°34'41"	10.29'	10.22'	S 78°10'49" W
C23	25.00'	90°00'00"	39.27'	35.36'	N 44°01'50" W
C24	25.00'	90°00'00"	39.27'	35.36'	S 45°58'10" W
C25	25.00'	90°00'00"	39.27'	35.36'	N 44°01'50" W
C26	25.00'	27°06'13"	11.83'	11.72'	N 77°25'04" E
C27	25.00'	62°53'47"	27.44'	26.09'	N 32°23'04" E
C28	25.00'	62°36'46"	27.32'	25.98'	S 57°43'27" E
C29	44.33'	28°30'36"	22.06'	21.83'	S 74°46'32" E
C30	4.50'	122°36'49"	9.66'	7.91'	S 00°58'10" W
C31	44.33'	28°30'36"	22.06'	21.83'	S 76°42'52" W
C32	59.33'	30°14'44"	31.32'	30.96'	N 73°54'28" W
C33	4.50'	133°28'58"	10.48'	8.27'	N 07°57'23" E
C34	59.33'	16°16'18"	16.85'	16.79'	N 82°50'01" E
C35	25.00'	68°25'19"	28.98'	27.39'	S 34°10'49" W

LINE TABLE		
LINE	LENGTH	BEARING
L1	21.49'	N 89°01'50" W
L2	21.27'	S 12°37'44" E
L4	13.50'	N 01°13'26" E
L6	13.50'	S 01°13'26" W
L7	31.18'	S 00°58'10" W
L8	10.00'	S 89°01'50" E
L9	10.00'	S 89°01'50" E
L12	6.61'	S 88°48'18" E
L13	17.22'	N 89°01'50" W
L14	13.61'	N 88°48'18" W
L15	10.97'	S 00°58'10" W
L16	10.51'	N 01°13'26" E
L17	0.13'	N 88°48'18" W
L18	8.72'	S 89°01'50" E
L19	12.22'	N 89°01'50" W

NOTE:
PRIOR TO THE RELEASE OF THE PERFORMANCE BOND, ALL LOT CORNER MONUMENTATION WILL BE SET AS 1/2" IRON RODS WITH CAPS MARKED "LB 3608".

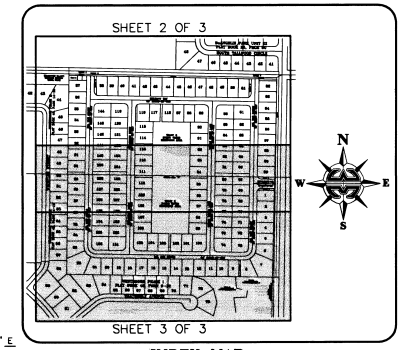

INDEX MAP
(NOT TO SCALE)

LEGEND
□ = 4"x4" CONCRETE MONUMENT WITH NAIL AND DISK MARKED "PRM PLS 5060" (SET)
■ = 4"x4" CONCRETE MONUMENT WITH NAIL AND DISK MARKED "PRM PLS 5060" (FOUND)
● = NAIL AND DISK MARKED "PCP PLS 5060" (SET)
○ = NAIL AND DISK MARKED "PCP PLS 5060" (FOUND)
C# = CURVE NUMBER FOR CURVE TABLE
L# = LINE NUMBER FOR LINE TABLE
ESMT. = EASEMENT
P.U. & D.E. = PUBLIC UTILITIES AND DRAINAGE EASEMENT
R/W = RIGHT-OF-WAY
(R) = RADIAL
(NR) = NON-RADIAL
P.B. = PLAT BOOK
PG. = PAGE
PC = POINT-OF-CURVATURE
PT = POINT-OF-TANGENCY
POC = POINT-ON-CURVE
POB = POINT-OF-BEGINNING
PI = POINT-OF-INTERSECTION
POL = POINT-ON-LINE
PRM = PERMANENT REFERENCE MONUMENT
PCP = PERMANENT CONTROL POINT
PRC = POINT-OF-REVERSE CURVATURE
PCC = POINT-OF-COMPOUND CURVATURE

PREPARED BY:
WILLIAM MOTT LAND SURVEYING INC.
SATELLITE BEACH PROFESSIONAL CENTER
1275 SOUTH PATRICK DRIVE, SUITE H
SATELLITE BEACH, FLORIDA, 32937-3955
PHONE (407) 773-4323
PROJECT NUMBER: 2000108
DRAWN BY: DANIEL D. GARNER
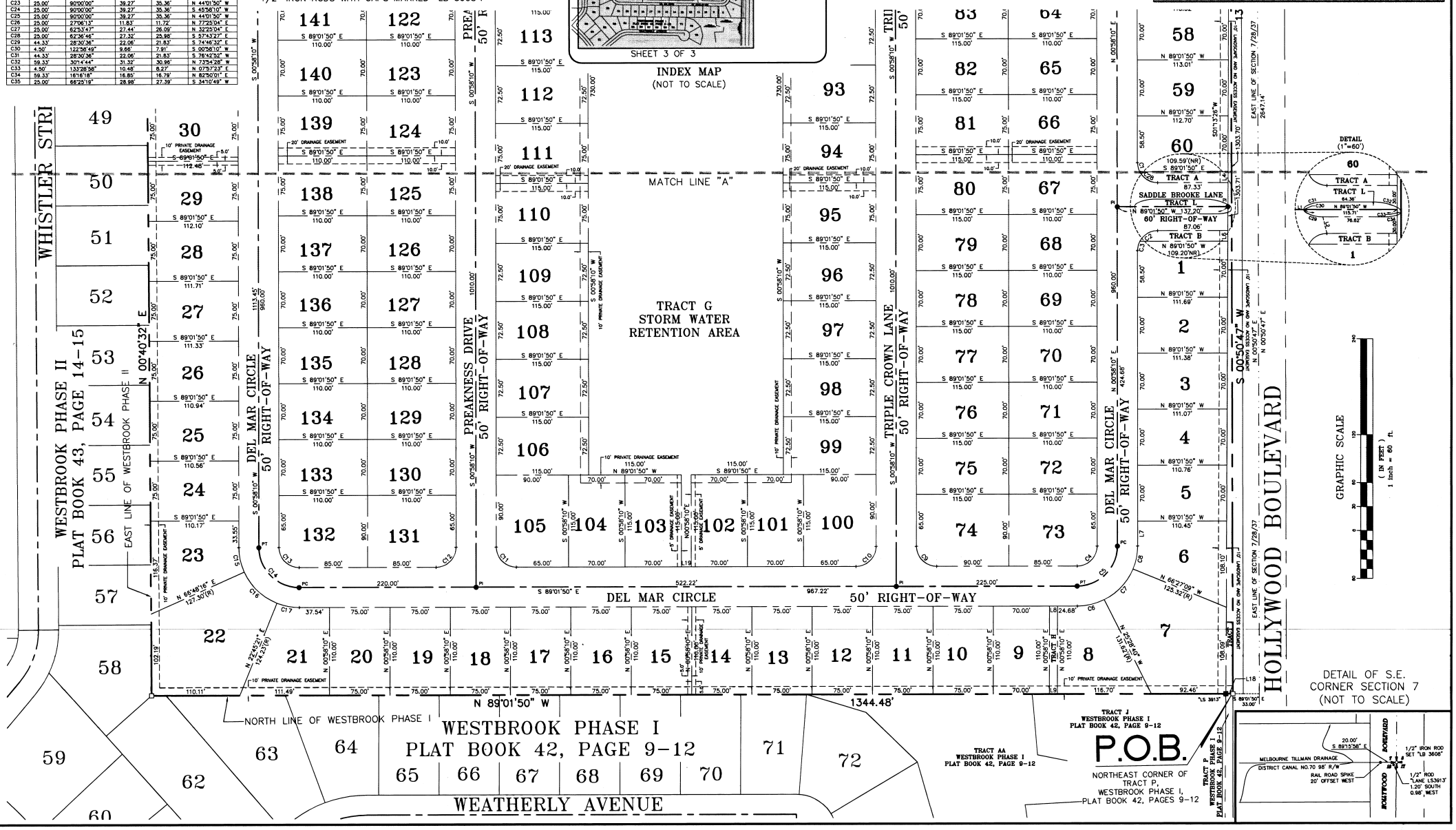
NOTICE: THIS PLAT, AS RECORDED IN ITS GRAPHIC FORM, IS THE OFFICIAL DEPICTION OF THE SUBDIVIDED LANDS DESCRIBED HEREIN AND WILL IN NO CIRCUMSTANCES BE SUPPLANTED IN AUTHORITY BY ANY OTHER GRAPHIC OR DIGITAL FORM OF THE PLAT. THERE MAY BE ADDITIONAL RESTRICTIONS THAT ARE NOT RECORDED ON THIS PLAT THAT MAY BE FOUND IN THE PUBLIC RECORDS OF THIS COUNTY.