HIDDEN CREEK PHASE 1 & 2

A SUBDIVISION OF LAND BEING A REPLAT OF ALL OF TRACTS 69, 70, 73, 74, 75, 76, 77, 78, 79, 82, 83, 84, 85, 86, 92, 93, 94, 99, 100, 101, 109, 110 AND 115, A PORTION OF TRACTS 87, 88, 90, 91, 102, 107, 108, 116, 117, 125 AND 126, AND ALL RIGHT-OF-WAYS LYING THEREIN AND/OR ANY PORTION OF THOSE RIGHT-OF-WAYS LYING 15 FEET BEYOND AND PARALLEL TO SAID TRACTS, ALL ACCORDING TO ZEPHYRHILLS COLONY COMPANY, AS RECORDED IN PLAT BOOK 1, PAGE 55, OF THE PUBLIC RECORDS OF PASCO COUNTY, FLORIDA, LYING IN SECTION 5, TOWNSHIP 26 SOUTH, RANGE 21 EAST, PASCO COUNTY, FLORIDA

N

0 25 50 100
1" = 50'

LINE TABLE		
LINE	BEARING	LENGTH
L343	S80°46'58"W	0.62'
L344	S87°59'54"W	10.39'
L345	N84°51'44"W	20.71'
L346	S86°28'24"W	10.24'
L347	N86°40'16"W	8.13'
L348	S89°24'24"W	96.55'
L349	S46°10'58"W	39.22'
L350	S61°17'47"W	44.29'
L351	S22°33'54"W	33.97'
L352	S20°41'33"E	60.45'
L353	S56°42'42"E	8.46'
L354	S47°45'14"E	26.38'
L355	S84°44'45"E	49.43'
L356	S78°17'25"E	36.98'
L357	N83°59'44"E	51.83'
L358	N43°27'59"W	23.76'
L359	S51°15'48"W	23.59'
L360	S58°48'42"W	7.08'
L361	S54°01'40"W	14.27'
L362	S61°45'27"W	35.07'
L363	S18°59'31"W	26.34'
L364	S26°32'48"W	11.62'
L365	S11°29'48"E	8.41'
L366	S58°13'12"E	34.27'
L367	S54°59'11"E	11.81'
L368	S68°28'42"E	18.09'
L369	S89°31'43"E	19.93'
L370	S72°42'57"E	20.96'
L371	S85°57'56"E	7.39'
L372	N79°27'46"E	13.41'
L373	S83°19'32"E	19.91'
L374	S78°00'01"E	26.80'
L375	N38°39'00"E	44.34'
L376	N38°39'00"E	36.49'
L377	N38°39'00"E	40.62'
L378	N17°07'53"W	14.17'
L379	N07°39'50"W	3.19'
L380	N21°09'58"W	21.56'
L381	N20°54'44"W	17.51'
L382	N18°03'09"W	5.53'
L383	N26°05'07"W	3.65'
L384	N36°05'14"W	2.23'
L385	N46°07'24"W	18.02'
L386	N39°58'58"W	7.46'

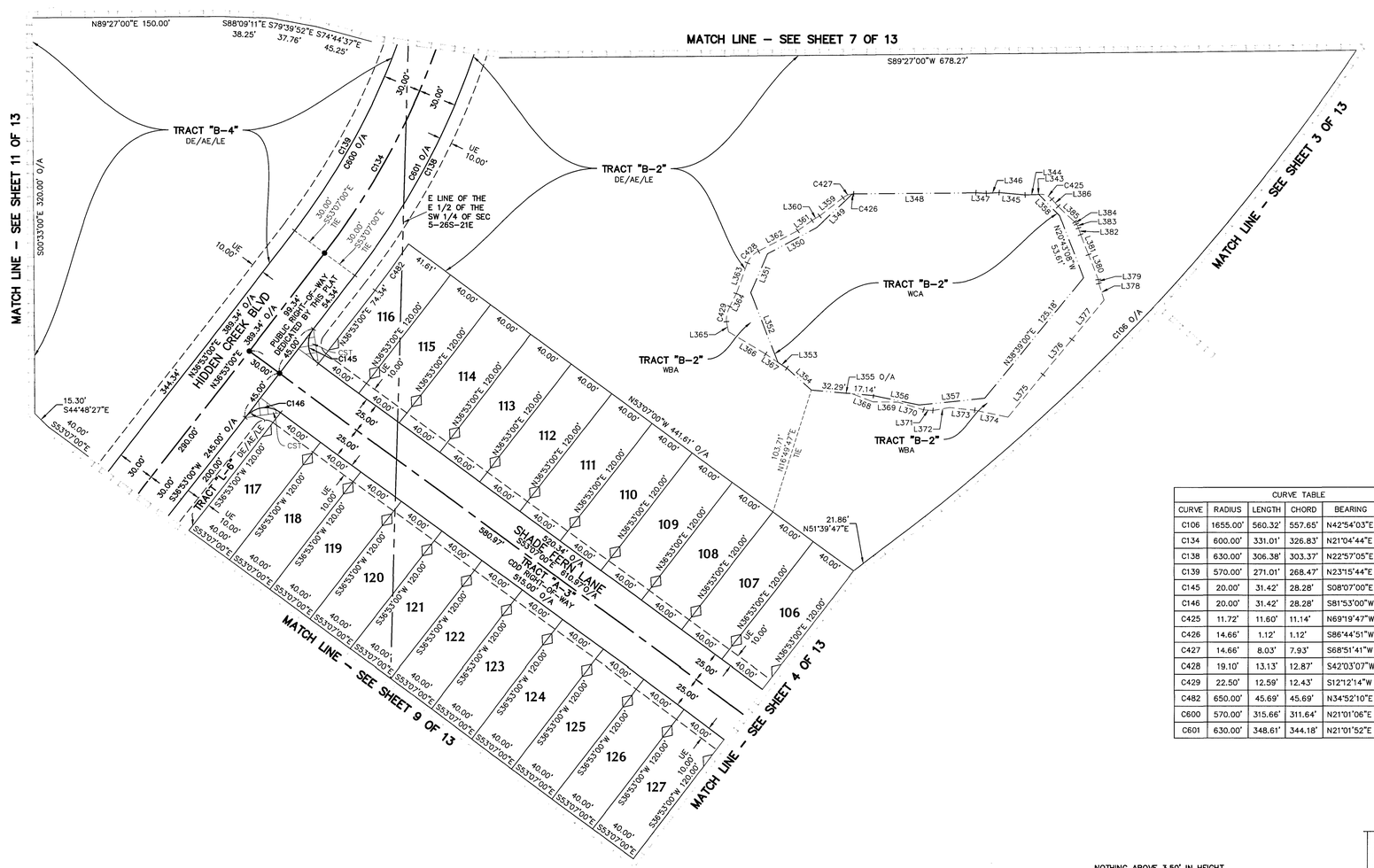

CURVE TABLE					
CURVE	RADIUS	LENGTH	CHORD	BEARING	DELTA
C106	1655.00'	560.32'	557.65'	N42°54'03"E	19°23'53"
C134	600.00'	331.01'	326.83'	N21°04'44"E	31°36'32"
C138	630.00'	306.38'	303.37'	N22°57'05"E	27°51'50"
C139	570.00'	271.01'	268.47'	N23°15'44"E	27°14'31"
C145	20.00'	31.42'	28.28'	S08°07'00"E	90°00'00"
C146	20.00'	31.42'	28.28'	S81°53'00"W	90°00'00"
C425	11.72'	11.60'	11.14'	N69°19'47"W	56°43'56"
C426	14.66'	1.12'	1.12'	S86°44'51"W	4°23'51"
C427	14.66'	8.03'	7.93'	S68°51'41"W	31°22'28"
C428	19.10'	13.13'	12.87'	S42°03'07"W	39°22'36"
C429	22.50'	12.59'	12.43'	S12°12'14"W	32°03'50"
C482	650.00'	45.69'	45.69'	N34°52'10"E	4°01'40"
C600	570.00'	315.66'	311.64'	N21°01'06"E	31°43'48"
C601	630.00'	348.61'	344.18'	N21°01'52"E	31°42'16"

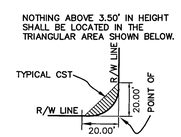

TYPICAL CLEAR SIGHT TRIANGLE (CST)

(NOT TO SCALE)

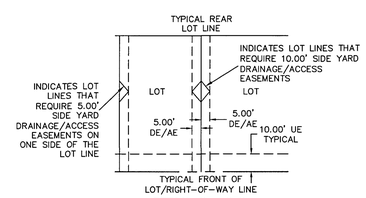

DETAIL OF LOTS 5.0' SIDE YARD DE/AE

(NOT TO SCALE)

LEGEND:

AE = ACCESS EASEMENT
CDD = COMMUNITY DEVELOPMENT DISTRICT
CST = CLEAR SIGHT TRIANGLE EASEMENT
DE = DRAINAGE EASEMENT
FCM = FOUND 4"x4" CONCRETE MONUMENT "PRM LB 6707" UNLESS OTHERWISE NOTED
FN&D = FOUND NAIL & DISK "LB 6707" (UNLESS OTHERWISE NOTED)
LB = LICENSED BUSINESS
LE = LANDSCAPE EASEMENT
N/F = NOT FOUND
NR = NON RADIAL
NTS = NOT TO SCALE
O/A = OVERALL
ORB = OFFICIAL RECORDS BOOK
PB = PLAT BOOK
POB = POINT OF BEGINNING
POC = POINT OF COMMENCEMENT
PLS = PROFESSIONAL LAND SURVEYOR
PG(S) = PAGE(S)
PRM = PERMANENT REFERENCE MONUMENT
R/W = RIGHT-OF-WAY
SCM = SET 4"x4" CONCRETE MONUMENT "PRM LB 6707" UNLESS OTHERWISE NOTED
SEC = SECTION
SN&D = SET MAG NAIL AND DISK "LB 6707" UNLESS
UE = UTILITY EASEMENT
(W) = WITNESS
WBA = WETLAND BUFFER AREA
WCA = WETLAND CONSERVATION AREA
WE = WALL EASEMENT
⊡ = FOUND 4"x4" CONCRETE MONUMENT "PRM LB6707" (UNLESS OTHERWISE NOTED)
● = PERMANENT CONTROL POINT (PCP), MONUMENT AS REQUIRED BY STATE STATUTE 177.091(8)(UNLESS OTHERWISE NOTED)
◉ = SET 5/8" IRON ROD (PRM) LB6707
■ = SET 4"x4" CONCRETE MONUMENT "PRM LB6707" (UNLESS OTHERWISE NOTED)

CONSERVATION EASEMENT NOTE:

WETLAND CONSERVATION AREAS AS SHOWN HEREON MAY BE SUBJECT TO CERTAIN RESTRICTIONS FOUND IN: PASCO COUNTY LAND DEVELOPMENT CODE, SOUTHWEST FLORIDA WATER MANAGEMENT DISTRICT (SWFWMD) ENVIRONMENTAL RESOURCE PERMIT, AND/OR THE ARMY CORPS OF ENGINEERS (ACOE) PERMIT.

FLORIDA DESIGN CONSULTANTS, INC.
THINK IT. ACHIEVE IT.
20525 AMBERFIELD DRIVE, SUITE 201, LAND O LAKES, FLORIDA 34638
PHONE: (800) 532 - 1047 FAX: (727) 848 - 3648 WWW.FLDESIGN.COM L.B. NO.6707

DECEMBER 2019 – 2016-0078D (740)