HIDDEN CREEK PHASE 1 & 2

A SUBDIVISION OF LAND BEING A REPLAT OF ALL OF TRACTS 69, 70, 73, 74, 75, 76, 77, 78, 79, 82, 83, 84, 85, 86, 92, 93, 94, 99, 100, 101, 109, 110 AND 115, A PORTION OF TRACTS 87, 88, 90, 91, 102, 107, 108, 116, 117, 125 AND 126, AND ALL RIGHT-OF-WAYS LYING THEREIN AND/OR ANY PORTION OF THOSE RIGHT-OF-WAYS LYING 15 FEET BEYOND AND PARALLEL TO SAID TRACTS, ALL ACCORDING TO ZEPHYRHILLS COLONY COMPANY, AS RECORDED IN PLAT BOOK 1, PAGE 55, OF THE PUBLIC RECORDS OF PASCO COUNTY, FLORIDA, LYING IN SECTION 5, TOWNSHIP 26 SOUTH, RANGE 21 EAST, PASCO COUNTY, FLORIDA

CURVE TABLE					
CURVE	RADIUS	LENGTH	CHORD	BEARING	DELTA
C45	500.00'	142.25'	141.77'	S45°02'01"W	16°18'02"
C46	500.00'	31.13'	31.12'	S38°40'00"W	3°33'59"
C47	500.00'	111.12'	110.90'	S46°49'01"W	12°44'03"
C48	525.00'	75.81'	75.74'	S49°02'49"W	8°16'25"
C49	20.00'	28.61'	26.24'	N85°53'49"E	81°58'23"
C50	475.00'	135.14'	134.68'	S45°02'01"W	16°18'02"
C51	475.00'	56.38'	56.34'	S40°17'00"W	6°48'00"
C52	475.00'	74.06'	73.99'	S48°09'00"W	8°56'00"
C53	475.00'	4.70'	4.70'	S52°54'01"W	0°34'02"
C54	20.00'	31.42'	28.28'	N08°07'00"W	90°00'00"
C55	1800.00'	696.92'	692.58'	N42°05'31"E	22°11'02"
C56	1825.00'	706.60'	702.20'	N42°05'31"E	22°11'02"
C57	1825.00'	45.68'	45.67'	N52°28'01"E	1°26'02"
C58	1825.00'	49.90'	49.90'	N50°58'00"E	1°34'00"

LINE TABLE		
LINE	BEARING	LENGTH
L255	S88°35'24"E	8.65'
L256	S61°39'52"E	10.32'
L257	N72°54'09"E	23.15'
L258	N83°11'20"E	75.83'
L259	S76°50'22"E	60.28'
L260	N73°24'34"E	41.30'
L261	S79°23'18"E	40.78'
L262	S73°17'04"E	35.82'
L263	S58°03'20"E	33.13'
L264	S77°28'29"E	27.13'
L265	S12°02'16"E	38.29'

LINE TABLE		
LINE	BEARING	LENGTH
L266	S28°23'53"W	10.10'
L267	S18°19'44"E	34.14'
L268	S17°15'32"E	45.82'
L269	S07°22'13"E	46.34'
L270	S02°41'24"W	45.09'
L271	S01°28'05"E	80.88'
L272	S05°30'38"E	40.97'
L273	N90°00'00"E	9.13'
L274	S03°40'08"E	5.43'
L275	S21°46'57"E	33.35'
L276	S40°41'48"W	54.37'

LINE TABLE		
LINE	BEARING	LENGTH
L277	N49°10'46"W	45.26'
L278	S73°52'20"W	21.20'
L312	S81°52'48"W	45.62'
L313	S72°03'17"W	46.43'
L314	S81°30'17"W	61.01'
L315	S86°21'10"W	57.21'
L316	S75°42'47"W	51.65'
L317	S68°52'33"W	55.39'
L318	S48°33'11"W	40.58'
L319	S12°24'14"W	47.14'
L320	S05°30'38"E	56.14'

LINE TABLE		
LINE	BEARING	LENGTH
L321	S01°28'05"E	82.67'
L322	S02°41'24"W	46.00'
L323	S07°22'13"E	46.34'
L324	S17°15'32"E	45.59'
L325	S18°19'44"E	44.70'
L326	S28°23'53"W	20.90'
L327	S12°02'16"E	38.29'
L328	S77°28'29"E	31.41'
L329	S58°03'20"E	34.07'
L330	S73°17'04"E	31.14'
L331	S79°23'18"E	39.45'

LINE TABLE		
LINE	BEARING	LENGTH
L332	N22°15'14"W	31.87'
L333	N64°15'53"E	62.12'
L334	S70°12'21"E	26.90'
L335	S61°31'11"E	68.18'
L336	N68°59'53"E	41.09'
L337	N33°38'35"E	27.09'
L338	N80°22'10"E	33.84'
L339	S43°40'18"E	24.40'
L340	S57°14'16"E	28.18'
L341	S61°39'52"E	31.55'
L342	S88°35'24"E	8.65'

LINE TABLE		
LINE	BEARING	LENGTH
L554	S56°09'24"E	70.96'
L555	S66°27'43"E	49.48'

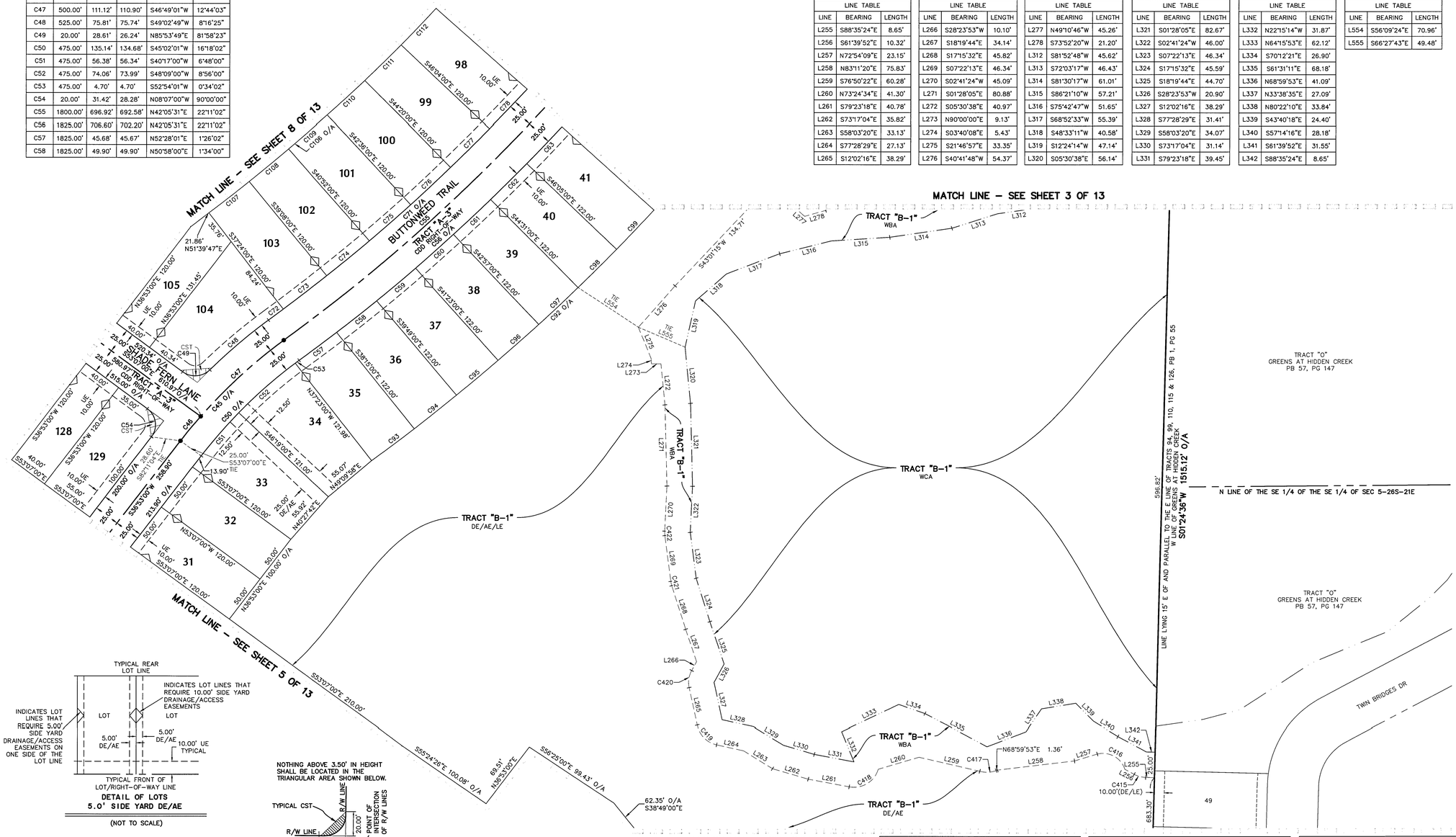

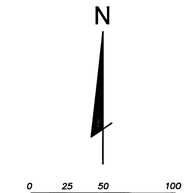

DETAIL OF LOTS 5.0' SIDE YARD DE/AE

(NOT TO SCALE)

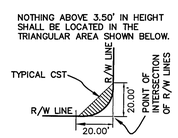

TYPICAL CLEAR SIGHT TRIANGLE (CST)

(NOT TO SCALE)

CONSERVATION EASEMENT NOTE:

WETLAND CONSERVATION AREAS AS SHOWN HEREON MAY BE SUBJECT TO CERTAIN RESTRICTIONS FOUND IN: PASCO COUNTY LAND DEVELOPMENT CODE, SOUTHWEST FLORIDA WATER MANAGEMENT DISTRICT (SWFWMD) ENVIRONMENTAL RESOURCE PERMIT, AND/OR THE ARMY CORPS OF ENGINEERS (ACOE) PERMIT.

LEGEND:

AE = ACCESS EASEMENT
CDD = COMMUNITY DEVELOPMENT DISTRICT
CST = CLEAR SIGHT TRIANGLE EASEMENT
DE = DRAINAGE EASEMENT
FCM = FOUND 4"x4" CONCRETE MONUMENT "PRM LB 6707" UNLESS OTHERWISE NOTED
FN&D = FOUND NAIL & DISK "LB 6707" (UNLESS OTHERWISE NOTED)
LB = LICENSED BUSINESS
LE = LANDSCAPE EASEMENT
N/F = NOT FOUND
NR = NON RADIAL
NTS = NOT TO SCALE
O/A = OVERALL
ORB = OFFICIAL RECORDS BOOK
PB = PLAT BOOK
POB = POINT OF BEGINNING
POC = POINT OF COMMENCEMENT
PLS = PROFESSIONAL LAND SURVEYOR
PG(S) = PAGE(S)
PRM = PERMANENT REFERENCE MONUMENT
R/W = RIGHT-OF-WAY
SCM = SET 4"x4" CONCRETE MONUMENT "PRM LB 6707" UNLESS OTHERWISE NOTED
SEC = SECTION
SN&D = SET MAG NAIL AND DISK "LB 6707" UNLESS
UE = UTILITY EASEMENT
(W) = WITNESS
WBA = WETLAND BUFFER AREA
WCA = WETLAND CONSERVATION AREA
WE = WALL EASEMENT
⊡ = FOUND 4"x4" CONCRETE MONUMENT "PRM LB6707" (UNLESS OTHERWISE NOTED)
● = PERMANENT CONTROL POINT (PCP), MONUMENT AS REQUIRED BY STATE STATUTE 177.091(8)(UNLESS OTHERWISE NOTED)
◉ = SET 5/8" IRON ROD (PRM) LB6707
■ = SET 4"x4" CONCRETE MONUMENT "PRM LB6707" (UNLESS OTHERWISE NOTED)

CURVE TABLE					
CURVE	RADIUS	LENGTH	CHORD	BEARING	DELTA
C59	1825.00'	49.90'	49.90'	N49°24'00"E	1°34'00"
C60	1825.00'	49.90'	49.90'	N47°50'00"E	1°34'00"
C61	1825.00'	49.90'	49.90'	N46°16'00"E	1°34'00"
C62	1825.00'	49.90'	49.90'	N44°42'00"E	1°34'00"
C63	1825.00'	49.90'	49.90'	N43°08'00"E	1°34'00"
C71	1775.00'	687.25'	682.96'	N42°05'31"E	22°11'02"
C72	1775.00'	18.08'	18.09'	N52°53'31"E	0°35'02"
C73	1775.00'	53.70'	53.70'	N51°44'00"E	1°44'00"
C74	1775.00'	53.70'	53.70'	N50°00'00"E	1°44'00"
C75	1775.00'	53.70'	53.70'	N48°16'00"E	1°44'00"
C76	1775.00'	53.70'	53.70'	N46°32'00"E	1°44'00"
C77	1775.00'	53.70'	53.70'	N44°48'00"E	1°44'00"
C78	1775.00'	53.70'	53.70'	N43°04'00"E	1°44'00"

CURVE TABLE					
CURVE	RADIUS	LENGTH	CHORD	BEARING	DELTA
C92	1947.00'	706.93'	703.05'	N42°53'06"E	20°48'12"
C93	1947.00'	52.19'	52.22'	N52°31'06"E	1°32'12"
C94	1947.00'	53.24'	53.24'	N50°58'00"E	1°34'00"
C95	1947.00'	53.24'	53.24'	N49°24'00"E	1°34'00"
C96	1947.00'	53.24'	53.24'	N47°50'00"E	1°34'00"
C97	1947.00'	53.24'	53.24'	N46°16'00"E	1°34'00"
C98	1947.00'	53.24'	53.24'	N44°42'00"E	1°34'00"
C99	1947.00'	53.24'	53.24'	N43°08'00"E	1°34'00"
C106	1655.00'	560.32'	557.65'	N42°54'03"E	19°23'53"
C107	1655.00'	50.07'	50.07'	N51°44'00"E	1°44'00"
C108	1655.00'	50.07'	50.07'	N50°00'00"E	1°44'00"
C109	1655.00'	50.07'	50.07'	N48°16'00"E	1°44'00"
C110	1655.00'	50.07'	50.07'	N46°32'00"E	1°44'00"

CURVE TABLE					
CURVE	RADIUS	LENGTH	CHORD	BEARING	DELTA
C111	1655.00'	50.07'	50.07'	N44°48'00"E	1°44'00"
C112	1655.00'	50.07'	50.07'	N43°04'00"E	1°44'00"
C415	25.00'	11.75'	11.64'	S75°07'38"E	26°55'32"
C416	22.00'	33.57'	30.41'	N60°28'02"W	87°25'49"
C417	25.00'	16.19'	15.91'	N87°33'02"E	37°06'17"
C418	25.00'	36.55'	33.38'	N58°43'43"E	83°45'59"
C419	25.00'	28.55'	27.03'	S44°45'22"E	65°26'13"
C420	25.00'	17.64'	17.28'	S08°10'49"W	40°26'09"
C421	25.00'	4.31'	4.31'	S12°18'52"E	9°53'19"
C422	25.00'	4.39'	4.38'	S02°20'24"E	10°03'37"

FLORIDA DESIGN CONSULTANTS, INC.
THINK IT. ACHIEVE IT.
20525 AMBERFIELD DRIVE, SUITE 201, LAND O LAKES, FLORIDA 34638
PHONE: (800) 532 - 1047 FAX: (727) 848 - 3648 WWW.FLDESIGN.COM L.B. NO.6707

DECEMBER 2019 – 2016-0078D (740)