"NOTICE. There may be additional restrictions that are not recorded on this plat that may be found in the public records of this county."

SILVER SPRINGS SHORES
MARION COUNTY FLORIDA
UNIT NO. 36

DESCRIPTION:

All that certain tract or parcel of land lying and being situate in portions of Section 36, Township 16 South, Range 24 East, and Sections 1, 2, and 11, Township 17 South, Range 24 East, Marion County, Florida, being more fully and particularly described as follows:

BEGINNING - At P.R.M. No.69 at the Southwest Corner of the aforementioned Section 36, whose Geodetic position is Y=1,713,462.34, X=541,157.29; thence N01°25'29"W 1321.37 feet to P.R.M. No.70 at Y=1,714,783.30, X=541,124.43; thence N25°21'10"E 124.58 feet to P.R.M. No.71 at Y=1,714,895.88, X=541,177.77, a point on a curve concave northeasterly having a central angle of 74°17'35", a tangent of 530.30 feet, radius of 700.00 feet; thence along the arc of said curve a distance of 105.80 feet to P.R.M. No.72 at Y=1,714,857.95, X=541,276.44, the point of reverse curvature of a curve concave Southwesterly having a central angle of 42°41'26", tangent of 312.64 feet, a radius of 800.00 feet; thence along the arc said curve a distance of 596.07 feet to P.R.M. No.73 at Y=1,714,499.11, X=541,735.12; thence S30° 37'00"E a distsance of 561.09 feet to P.R.M. No.74 at Y=1,714,016.24, X=542,020.88, the point of curvature of a curve concave Westerly, having a central angle of 50°14'51", a radius of 800.00 feet and a tangent length of 375.15 feet; thence on the arc of said curve a distance of 701.59 feet to P.R.M. No.75 at Y=1,713,340.04, X=542,085.90, the point of tangency thereof; thence S19°37'51"W a distance of 947.77 feet to P.R.M. No.76 at Y=1,712,447.36, X=541,767.49; continue S19°37'51"W 882.50 feet to P.R.M. No.77 at Y=1,711,616.15, X=541,471.01; thence continue S19°37'51"W a distance of 1365.17 feet to P.R.M. No.78 at Y=1,710,330.33, X=541,012.37; continue S19°37'51"W 1350.00 feet to P.R.M. No. 79 at Y=1,709,058.81, X=540,558.83; continue S19°37'51"W a distance of 1175.00 feet to P.R.M. No. 49 at Y=1,707,952.10, X=540,164.08. The aforementioned P.R.M. No. 49 also being the point of intersection with the Northerly Boundary of Unit 35, "Silver Springs Shores" as recorded in Plat Book "J", Pages 302 thru 311 of the Public Records Marion County, Florida. Thence along said Boundary N70°22'09"W a distance of 724.00 feet to P.R.M. No.48 at Y=1,708,195.33, X=539,482.16, the point of curvature of a curve concave Northeasterly having a central angle of 44°45'00", a radius of 460.00 feet and a tangent length of 189.36 feet; thence on the arc of said curve 359.27 feet to P.R.M. No.47 at Y=1,708,429.70, X=539,221.93, the point of tangency thereof; thence N25°37'09"W a distance of 481.00 feet to P.R.M. No.46 at Y=1,708,863.41, X=539,013.95, the point of curvature of a curve concave Southwesterly having a central angle of 34°45'00", a radius of 540.00 feet and a tangent length of 168.96 feet; thence on the arc of said curve 327.51 feet to P.R.M. No.45 at Y=1,709,099.30, X=538,794.02, the point of tangency thereof; thence N60°22'09"W a distance of 1360.00 feet to P.R.M. No.44 at Y=1,709,771.70, X=537,611.87, the point of curvature of a curve concave Northeasterly having a central angle of 60°24'21", a radius of 460.00 feet and a tangent length of 267.76 feet; thence on the arc of said curve a distance of 484.97 feet to P.R.M. No.43 at Y=1,710,171.84, X=537,379.30, the point of tangency thereof; thence N00°02'12"E a distance of 660.00 feet to P.R.M. No.42 at Y=1,710,831.84, X=537,379.72; thence N89°57'48"W a distance of 224.22 feet to P.R.M. No.41 at Y=1,710,831.98, X=537,155.49, the Northwest Corner of the aforementioned Boundary of Unit 35. Leaving said Boundary PROCEED thence N00°02'12"E a distance of 1303.71 feet to P.R.M. No.80 at Y=1,712,135.68, X=537,156.33; thence continuing N00°02'12"E a distance of 1329.61 feet to P.R.M. No.81 at Y=1,713,465.30, X=537,157.17; thence S89°57'19"E a distance of 1333.25 feet to P.R.M. No.82 at Y=1,713,464.26, X=538,490.42; thence S89°57'31"E a distance of 1334.02 feet to P.R.M. No.83 at Y=1,713,463.30, X=539,824.44; thence continuing S89°57'31"E a distance of 1332.84 feet to P.R.M. No.69, the POINT OF BEGINNING.

NOTES:

Percolation test data meets standards for septic tank installation, but applications for septic tank permits will be considered on a lot by lot basis only, for construction in outlying areas of this subdivision not served by central sewage collection systems. Use of septic tanks after installation would not be permitted. When density justifies expansion of water and sewer systems they will be provided.

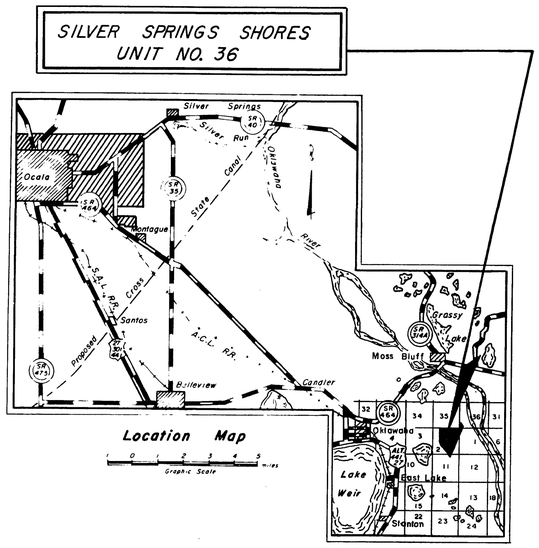

NOTES:

Co-ordinates refer to Mercator Projection, Florida West Zone.

Bearings are derived from True Meridian.

All cul-de-sac radii are 50.00 feet unless otherwise shown.

All block corners at street intersections have a 25.00 feet radius unless otherwise shown. Distances shown extend to the point of intersection of street right-of-way lines, but lot ownership extends only to the curve.

◎ = 4"x 4" Concrete Permanent Reference Monument (P.R.M.).
◉ = 4"x 4" Concrete Permanent Control Point Monument (P.C.P.).
○ = 4"x 4" Concrete Monument.

— — — — = Flood Plain.

D.E = Drainage Easement.

SCALE IN FEET
0 100 200 300 400
GRAPHIC SCALE FOR PLAT SHEETS

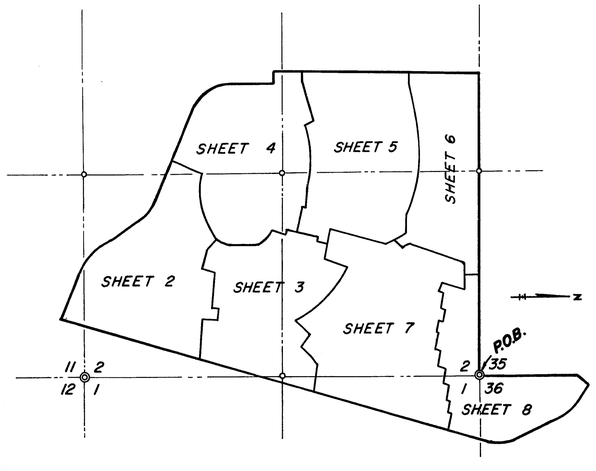

SHEET INDEX

STATE OF FLORIDA
COUNTY OF MARION

The undersigned corporation which is duly organized under the laws of the State of Florida and the owner of the real estate included in this plat does hereby authorize the same to be recorded in the public records of Marion County, Florida, and does hereby dedicate to the public forever the roads, streets and water retention areas and easements as shown hereon for the benefit of the public.

Witness whereof said corporation has caused its seal to be affixed by the undersigned officials, duly authorized by the Board of Directors, this 17th day of Feb. A.D. 1972.
Signed, sealed, and delivered in the presence of:

Bruce H. Phillips
Witness
Ella J. Waters
Witness

SILVER SPRINGS SHORES, INC.
Clyde B. Larramore
Clyde B. Larramore, Vice President
Thelma Patten
Thelma Patten, Assistant Secretary

STATE OF FLORIDA
COUNTY OF MARION

Before me this day personally appeared Clyde B. Larramore and Thelma Patten, Vice President and Assistant Secretary, respectively, of Silver Springs Shores, Inc, a Florida Corporation and acknowledged before me that they executed the dedication hereon shown for the uses and purposes therein stated on behalf of said Silver Springs Shores, Inc, as its free act and deed and have been duly authorized so to do by the Board of Directors thereof.

Witness my hand and official seal at Ocala, County of Marion, State of Florida, this 17th day of Feb. A.D. 1972.

My commission expires: Nov. 24, 1974

Joseph Martone
Notary Public, State of Florida at large

I, J.W. Jernigan, of the Marion Engineering Associates, Inc., maker of this plat, do hereby certify that it is a correct representation of the land platted and that permanent reference monuments have been placed thereon as called for under chapter 177, Florida Statutes.

J.W. Jernigan
J.W. Jernigan, Registered Land Surveyor
Certificate No. 974, State of Florida

This certifies that this plat was presented to the Board of County Commissioners of Marion County, Florida, and approved by them for record on the 7 day of March A.D. 1972.

Attest: John F. Nicholson
Clerk of the Circuit Court

George McRae Jr.
Chairman, Board of County Commissioners

I, John F. Nicholson, Clerk of the Circuit Court for Marion County, Florida, do hereby certify that this foregoing plat conforms to the provisions of chapter 177, Florida statutes, was filed in my office for record on the 7 day of March A.D. 1972, and recorded in the public records of said County on the 7 day of March A.D. 1972 in plat book "J", pages 312 thru 319.

John F. Nicholson
Clerk of the Circuit Court

"As a condition precedent to the recordation of this plat in the Public records of Marion County, Florida, the undersigned owners of this subdivision do hereby guarantee to each and every person, firm, copartnership, or corporation, their heirs, successors, and assigns, who shall purchase a lot or lots in said subdivision from said owners, that said owners shall within 15 years of the date of the sale thereof fully comply with each and every regulation of the Board of County Commissioners of Marion County, Florida, covering subdivisions in effect at the time of the filing of this final plat in so far as the same effects a lot or lots sold. Time of such performance being of the essence, which said guarantee shall be a part of each deed of conveyance or contract of sale covering lots in said subdivision, executed by said owners to the same extent and purpose as if said guarantee were incorporated verbatim in each said conveyance or contract of sale."

SILVER SPRINGS SHORES, INC.
Clyde B. Larramore
Clyde B. Larramore, Vice President
Thelma Patten
Thelma Patten, Assistant Secretary

Prepared By
Marion Engineering Associates, Inc.
1759 S.W. 12th ST., Ocala, Fla.

"NOTICE: There may be additional restrictions that are not recorded on this plat that may be found in the public records of this county."

SILVER SPRINGS SHORES

MARION COUNTY, FLORIDA

UNIT NO. 36

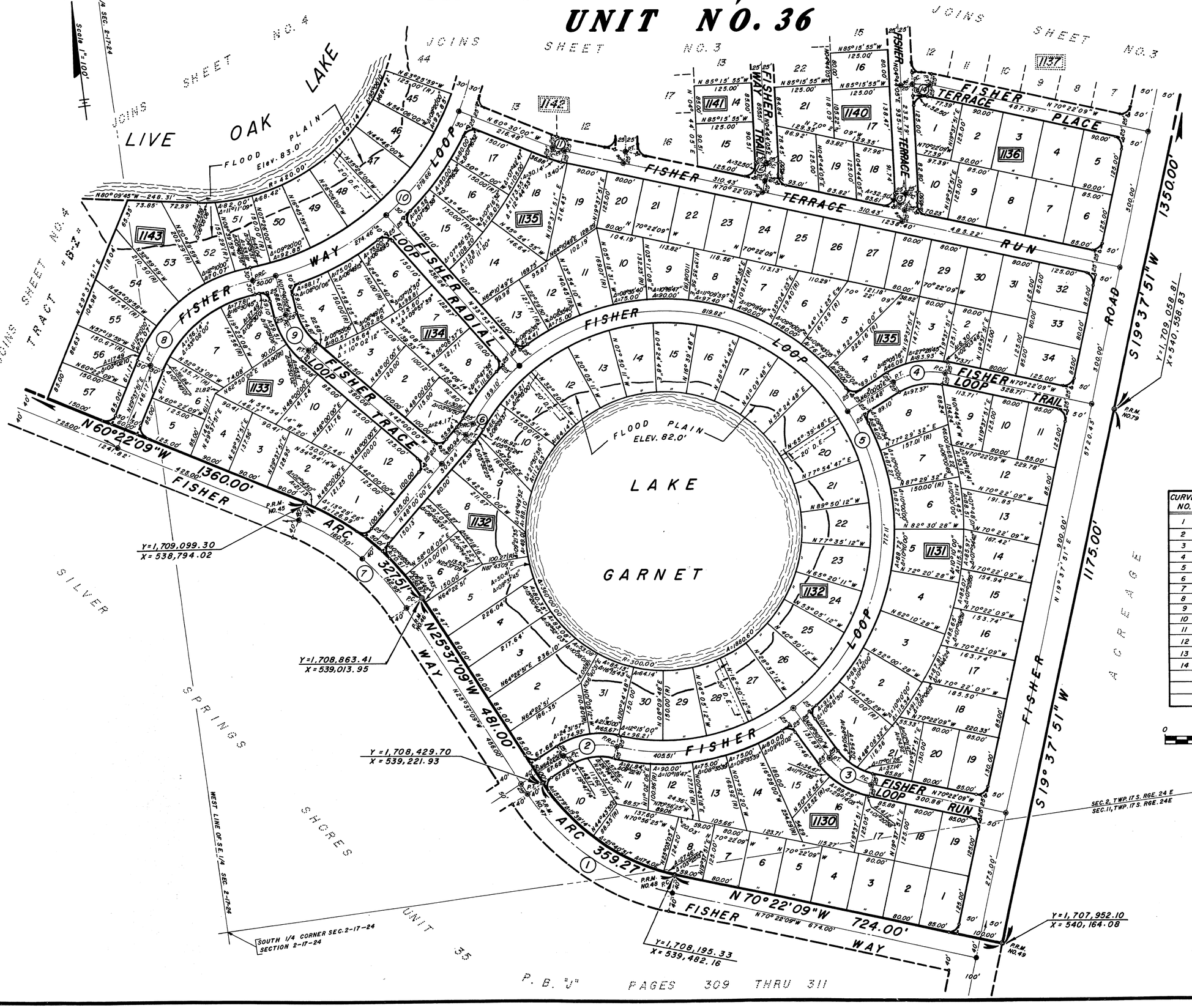

℄ CURVE DATA

CURVE NO.	CHORD DIST.	CHORD BEARING
1	380.66'	N47°59'40"W
2	117.30'	N87°23'50"E
3	107.19'	S49°26'03"E
4	113.91'	N89°18'55"E
5	761.22'	N16°20'01"W
6	28.96'	S42°27'37"W
7	298.62'	N42°59'39"W
8	288.42'	N58°21'44"E
9	88.51'	N24°50'27"W
10	790.10'	N45°54'50"E
11	25.81'	S65°26'02"E
12	38.89'	N12°10'52"E
13	"	"
14	"	S77°49'00"E

℄ CURVE DATA

CURVE NO.	△	TAN.	RADIUS	LENGTH
1	44°45'00"	205.83'	500.00'	390.52'
2	46°01'57"	63.72'	150.00'	120.51'
3	41°52'09"	57.38'	"	109.61'
4	44°37'51"	61.57'	"	116.84'
5	253°29'37"	—	475.00'	2101.54'
6	11°04'49"	14.55'	150.00'	29.01'
7	34°45'00"	156.45'	500.00'	303.25'
8	57°27'46"	164.46'	300.00'	300.88'
9	34°19'09"	46.32'	150.00'	89.85'
10	82°21'32"	524.88'	600.00'	862.46'
11	09°52'09"	12.95'	150.00'	25.84'
12	14°53'46"	19.61'	"	39.00'
13	"	"	"	"
14	14°53'47"	"	"	"

0 100 200 300 400

SCALE IN FEET

Prepared By
Marion Engineering Associates, Inc.
1759 S.W. 12 th ST., Ocala, Fla.

"NOTICE: There may be additional restrictions that are not recorded on this plat that may be found in the public records of this county."

SILVER SPRINGS SHORES

MARION COUNTY, FLORIDA

UNIT NO. 36

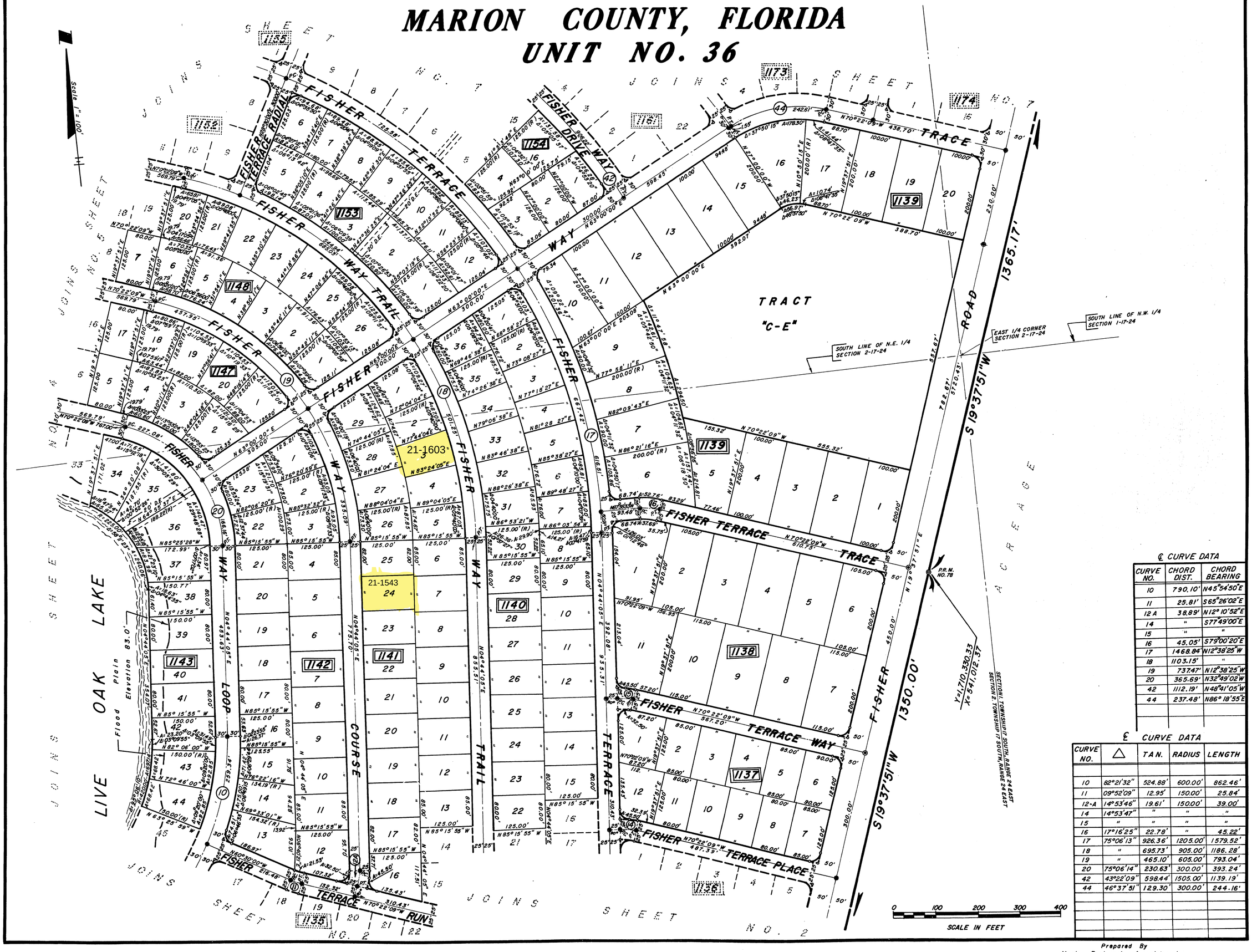

℄ CURVE DATA

CURVE NO.	CHORD DIST.	CHORD BEARING
10	790.10'	N45°54'50"E
11	25.81'	S65°26'02"E
12 A	38.89'	N12°10'52"E
14	"	S77°49'00"E
15	"	"
16	45.05'	S79°00'20"E
17	1468.84'	N12°38'25"W
18	1103.15'	"
19	737.47'	N12°38'25"W
20	365.69'	N32°49'02"W
42	1112.19'	N48°41'05"W
44	237.48'	N86°18'55"E

℄ CURVE DATA

CURVE NO.	△	TAN.	RADIUS	LENGTH
10	82°21'32"	524.88'	600.00'	862.46'
11	09°52'09"	12.95'	150.00'	25.84'
12-A	14°53'46"	19.61'	150.00'	39.00'
14	14°53'47"	"	"	"
15	"	"	"	"
16	17°16'25"	22.78'	"	45.22'
17	75°06'13"	926.36'	1205.00'	1579.52'
18	"	695.73'	905.00'	1186.28'
19	"	465.10'	605.00'	793.04'
20	75°06'14"	230.63'	300.00'	393.24'
42	43°22'09"	598.44'	1505.00'	1139.19'
44	46°37'51"	129.30'	300.00'	244.16'

Prepared By
Marion Engineering Associates, Inc.
1759 S.W. 12 th ST., Ocala, Fla.

"NOTICE: There may be additional restrictions that are not recorded on this plat that may be found in the public records of this county."

SILVER SPRINGS SHORES

MARION COUNTY, FLORIDA

UNIT NO. 36

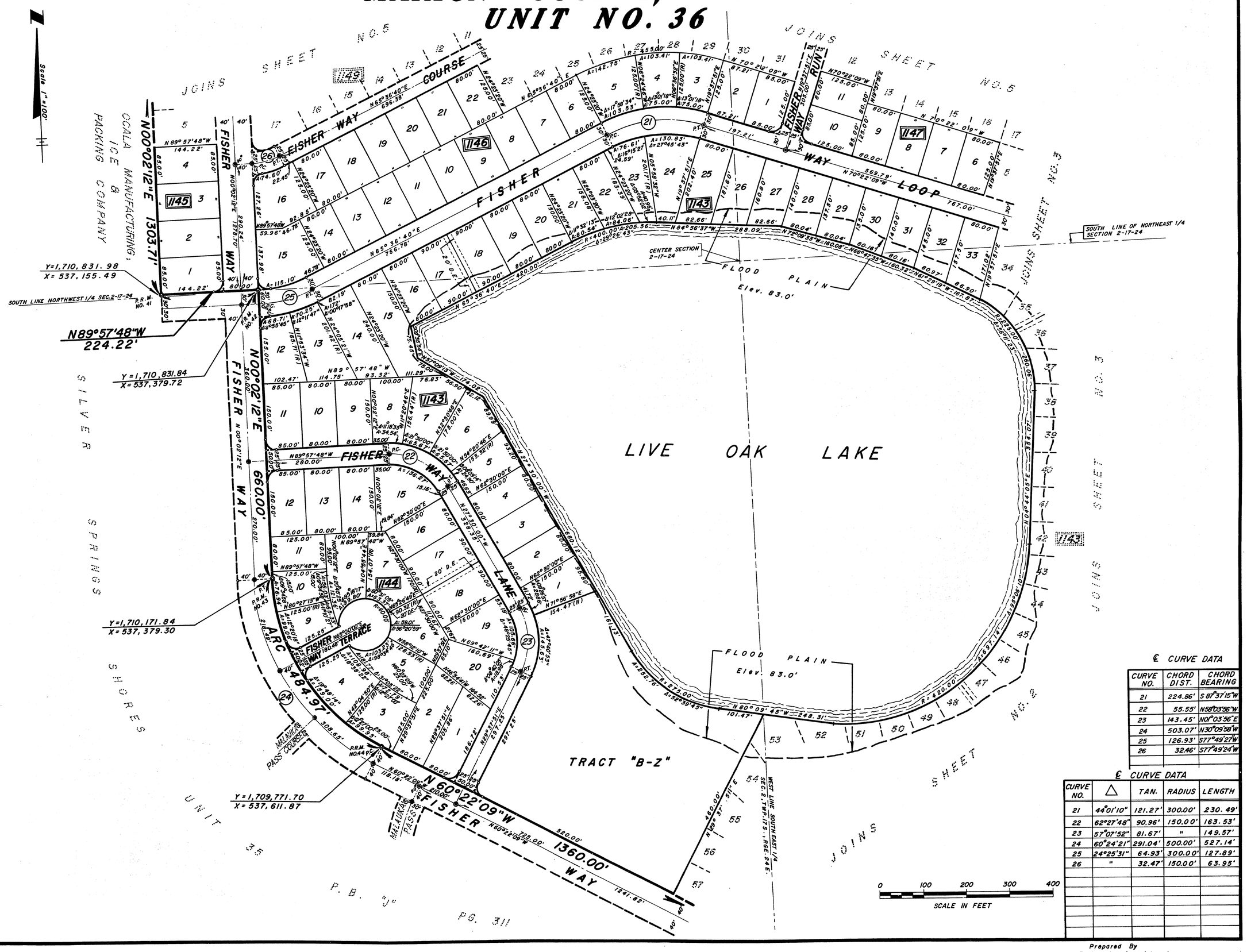

℄ CURVE DATA

CURVE NO.	CHORD DIST.	CHORD BEARING
21	224.86'	S 87°37'15"W
22	55.55'	N58°03'56"W
23	143.45'	N01°03'56"E
24	503.07'	N30°09'58"W
25	126.93'	S77°49'27"W
26	32.46'	S77°49'24"W

℄ CURVE DATA

CURVE NO.	△	TAN.	RADIUS	LENGTH
21	44°01'10"	121.27'	300.00'	230.49'
22	62°27'48"	90.96'	150.00'	163.53'
23	57°07'52"	81.67'	"	149.57'
24	60°24'21"	291.04'	500.00'	527.14'
25	24°25'31"	64.93'	300.00'	127.89'
26	"	32.47'	150.00'	63.95'

Prepared By
Marion Engineering Associates, Inc.
1759 S.W. 12 th ST., Ocala, Fla.

"NOTICE: There may be additional restrictions that are not recorded on this plat that may be found in the public records of this county."

SILVER SPRINGS SHORES

MARION COUNTY, FLORIDA

UNIT NO. 36

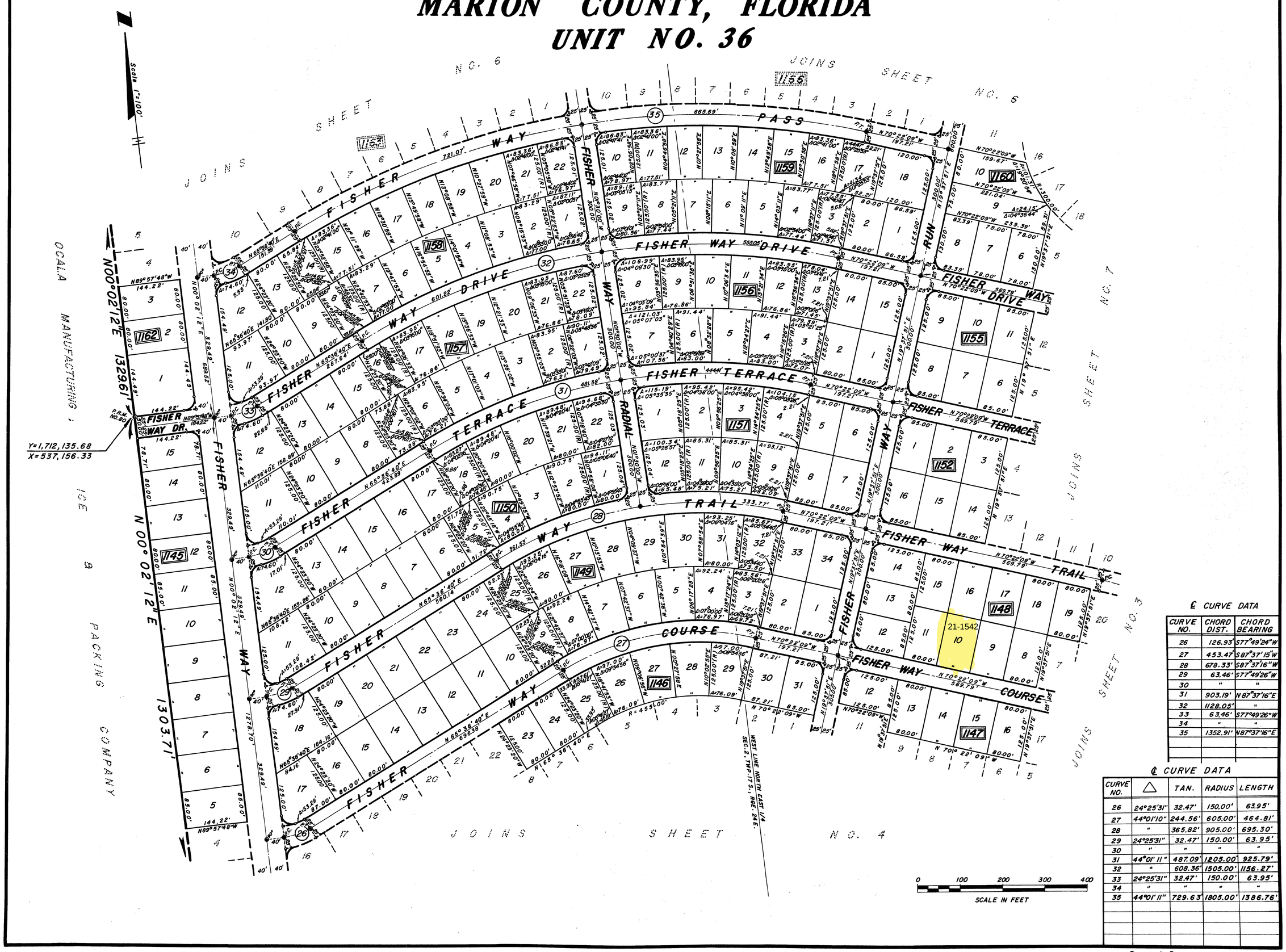

℄ CURVE DATA

CURVE NO.	CHORD DIST.	CHORD BEARING
26	126.93'	S77°49'24"W
27	453.47'	S87°37'15"W
28	678.33'	S87°37'16"W
29	63.46'	S77°49'26"W
30	"	"
31	903.19'	N87°37'16"E
32	1128.05'	"
33	63.46'	S77°49'26"W
34	"	"
35	1352.91'	N87°37'16"E

℄ CURVE DATA

CURVE NO.	△	TAN.	RADIUS	LENGTH
26	24°25'31"	32.47'	150.00'	63.95'
27	44°01'10"	244.56'	605.00'	464.81'
28	"	365.82'	905.00'	695.30'
29	24°25'31"	32.47'	150.00'	63.95'
30	"	"	"	"
31	44°01'11"	487.09'	1205.00'	925.79'
32	"	608.36'	1505.00'	1156.27'
33	24°25'31"	32.47'	150.00'	63.95'
34	"	"	"	"
35	44°01'11"	729.63'	1805.00'	1386.76'

0 100 200 300 400
SCALE IN FEET

Prepared By
Marion Engineering Associates, Inc.
1759 S.W. 12th ST., Ocala, Fla.

"NOTICE: There may be additional restrictions that are not recorded on this plat that may be found in the public records of this county."

SILVER SPRINGS SHORES

MARION COUNTY, FLORIDA

UNIT NO. 36

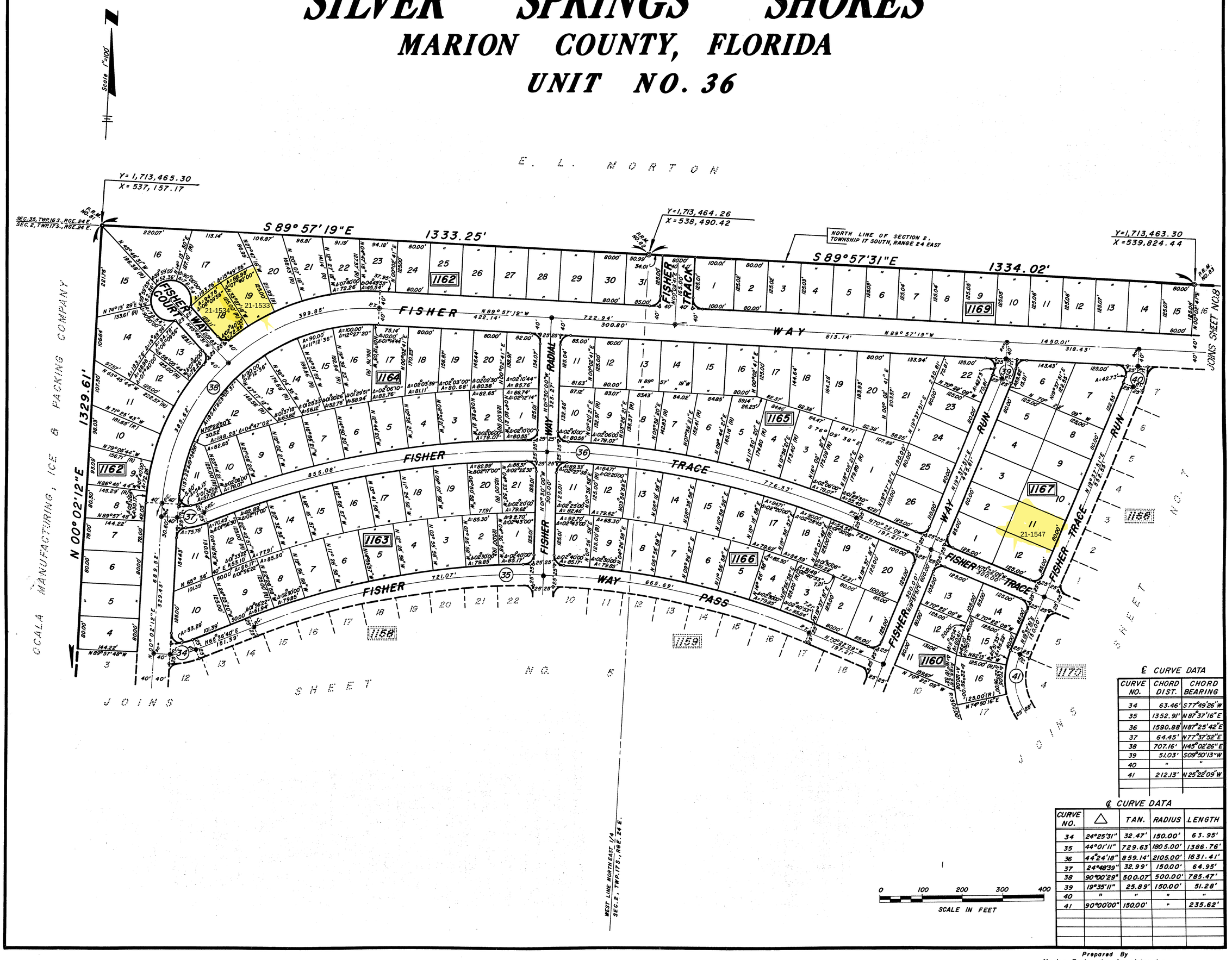

℄ CURVE DATA

CURVE NO.	CHORD DIST.	CHORD BEARING
34	63.46'	S77°49'26"W
35	1352.91'	N87°37'16"E
36	1590.88'	N87°25'42"E
37	64.45'	N77°37'52"E
38	707.16'	N45°02'26"E
39	51.03'	S09°50'13"W
40	"	"
41	212.13'	N25°22'09"W

℄ CURVE DATA

CURVE NO.	△	TAN.	RADIUS	LENGTH
34	24°25'31"	32.47'	150.00'	63.95'
35	44°01'11"	729.63'	1805.00'	1386.76'
36	44°24'18"	859.14'	2105.00'	1631.41'
37	24°48'39"	32.99'	150.00'	64.95'
38	90°00'29"	500.07'	500.00'	785.47'
39	19°35'11"	25.89'	150.00'	51.28'
40	"	"	"	"
41	90°00'00"	150.00'	"	235.62'

Prepared By
Marion Engineering Associates, Inc.
1759 S.W. 12th ST., Ocala, Fla.

"NOTICE: There may be additional restrictions that are not recorded on this plat that may be found in the public records of this county."

SILVER SPRINGS SHORES

MARION COUNTY, FLORIDA

UNIT NO. 36

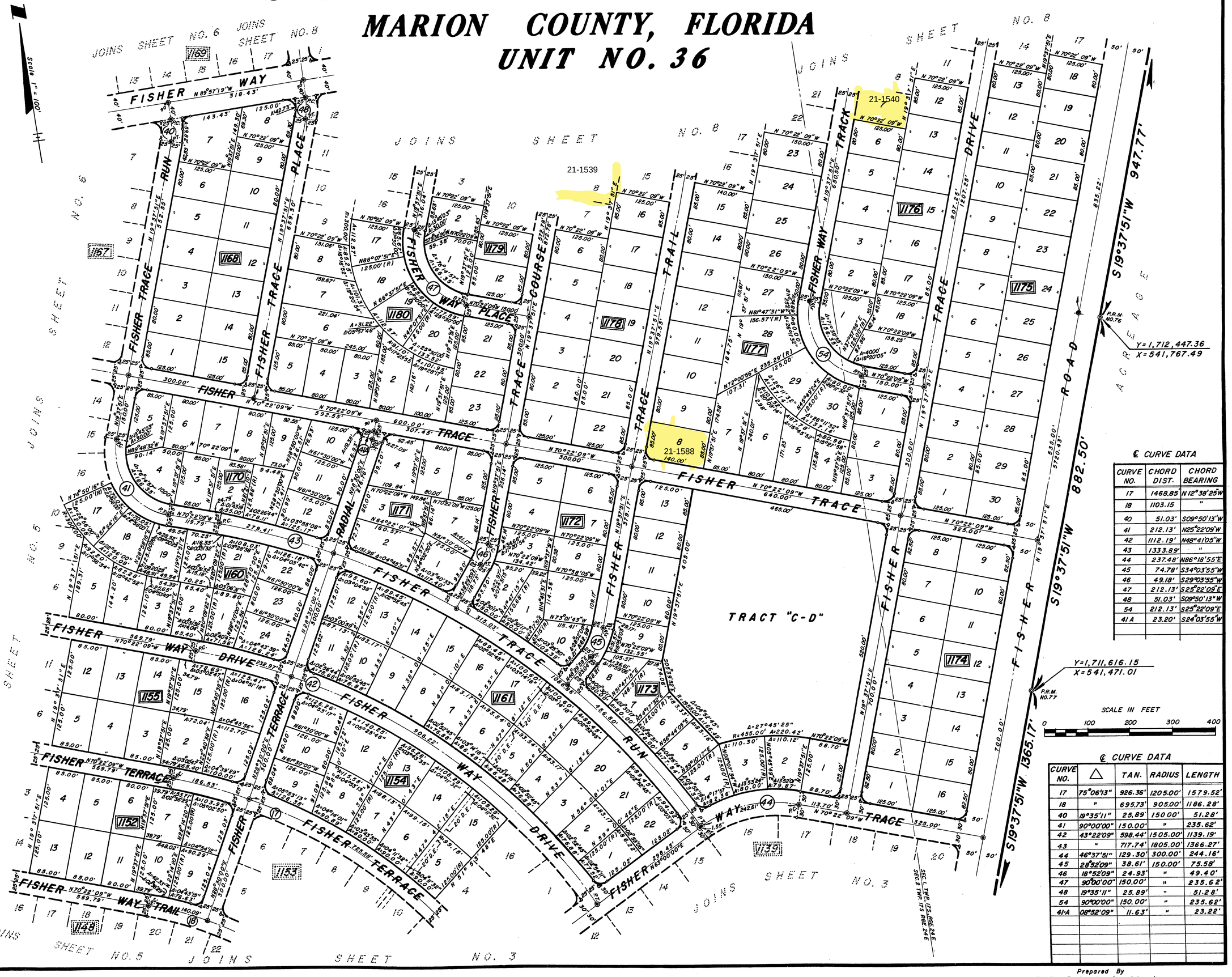

SCALE IN FEET

0 100 200 300 400

℄ CURVE DATA

CURVE NO.	CHORD DIST.	CHORD BEARING
17	1468.85'	N12°38'25"W
18	1103.15	"
40	51.03'	S09°50'13"W
41	212.13'	N25°22'09"W
42	1112.19'	N48°41'05"W
43	1333.89'	"
44	237.48'	N86°18'55"E
45	74.78'	S34°03'55"W
46	49.18'	S29°03'55"W
47	212.13'	S25°22'09"E
48	51.03'	S09°50'13"W
54	212.13'	S25°22'09"E
41A	23.20'	S24°03'55"W

℄ CURVE DATA

CURVE NO.	△	TAN.	RADIUS	LENGTH
17	75°06'13"	926.36'	1205.00'	1579.52'
18	"	695.73'	905.00'	1186.28'
40	19°35'11"	25.89'	150.00'	51.28'
41	90°00'00"	150.00'	"	235.62'
42	43°22'09"	598.44'	1505.00'	1139.19'
43	"	717.74'	1805.00'	1366.27'
44	46°37'51"	129.30'	300.00'	244.16'
45	28°52'09"	38.61'	150.00'	75.58'
46	18°52'09"	24.93'	"	49.40'
47	90°00'00"	150.00'	"	235.62'
48	19°35'11"	25.89'	"	51.28'
54	90°00'00"	150.00'	"	235.62'
41-A	08°52'09"	11.63'	"	23.22'

Prepared By
Marion Engineering Associates, Inc.
1759 S.W. 12th ST., Ocala, Fla.

"NOTICE: There may be additional restrictions that are not recorded on this plat that may be found in the public records of this county."

SILVER SPRINGS SHORES

MARION COUNTY, FLORIDA

UNIT NO. 36

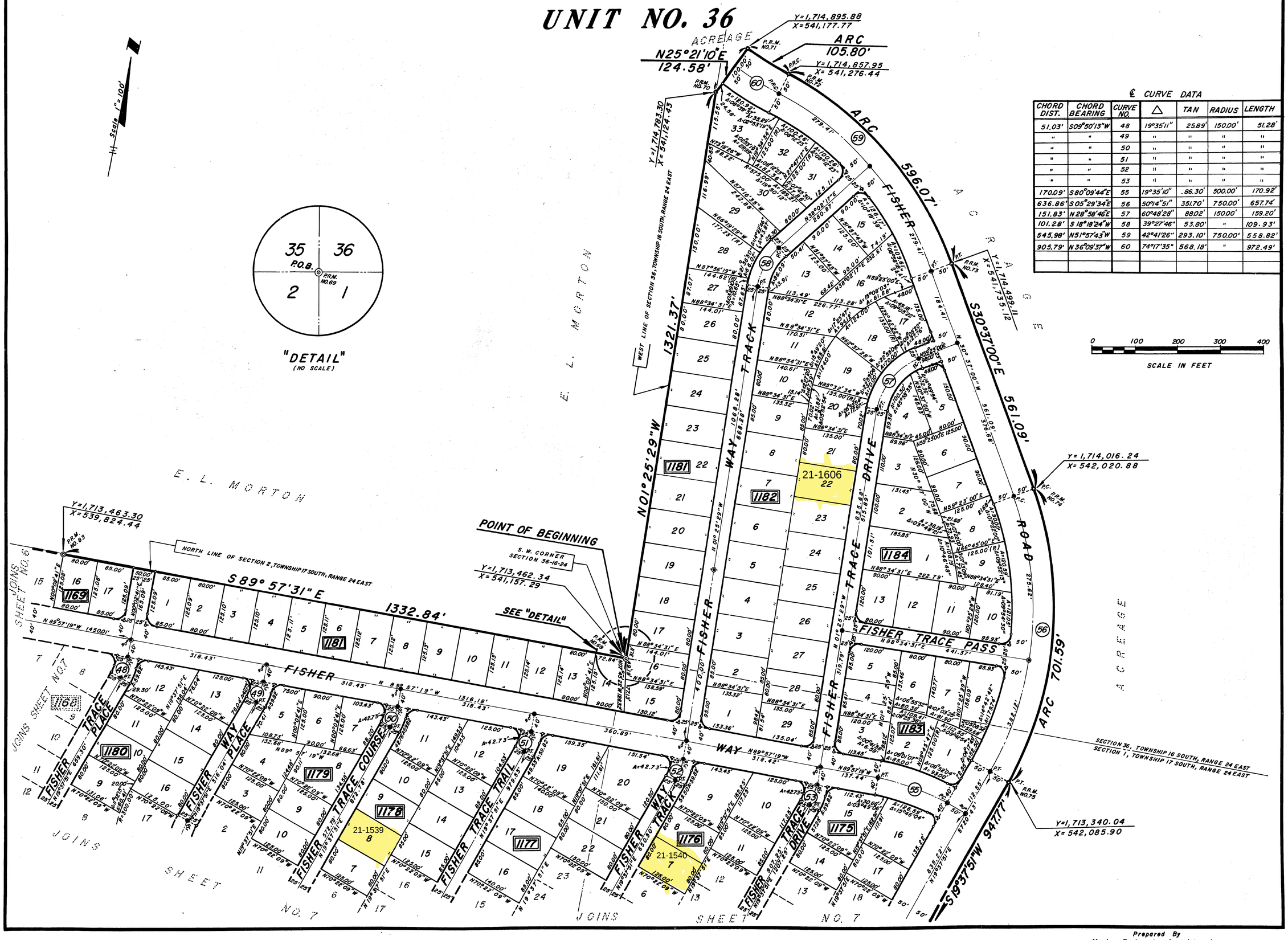

℄ CURVE DATA

CHORD DIST.	CHORD BEARING	CURVE NO.	△	TAN	RADIUS	LENGTH
51.03'	S09°50'13"W	48	19°35'11"	25.89'	150.00'	51.28'
"	"	49	"	"	"	"
"	"	50	"	"	"	"
"	"	51	"	"	"	"
"	"	52	"	"	"	"
"	"	53	"	"	"	"
170.09'	S80°09'44"E	55	19°35'10"	.86.30'	500.00'	170.92'
636.86'	S05°29'34"E	56	50°14'51"	351.70'	750.00'	657.74'
151.83'	N28°58'46"E	57	60°48'28"	88.02'	150.00'	159.20'
101.28'	S18°18'24"W	58	39°27'46"	53.80'	"	109.93'
545.98'	N51°57'43"W	59	42°41'26"	293.10'	750.00'	558.82'
905.79'	N36°09'37"W	60	74°17'35"	568.18'	"	972.49'

Prepared By
Marion Engineering Associates, Inc.
1759 S.W. 12th ST., Ocala, Fla.