# ROPER TRAILS



A PORTION OF LAND LYING IN SECTION 11, TOWNSHIP 22 SOUTH, RANGE 24 EAST
CITY OF MASCOTTE, LAKE COUNTY, FLORIDA

## LEGAL DESCRIPTION:

A PORTION OF LAND LYING IN SECTION 11, TOWNSHIP 22 SOUTH, RANGE 24 EAST, CITY OF MASCOTTE, LAKE COUNTY, FLORIDA, BEING MORE PARTICULARLY DESCRIBED AS FOLLOWS:

**COMMENCE** AT THE NORTHWEST CORNER OF THE SOUTHWEST 1/4 OF THE SOUTHWEST 1/4 OF SECTION 11 TOWNSHIP 22 SOUTH RANGE 24 EAST AND RUN SOUTH SOUTH 00° 35' 47" WEST ALONG THE WESTERN LINE OF THE SOUTHWEST 1/4 OF SECTION 11-22-24 FOR A DISTANCE OF 550.47 FEET; THENCE RUN SOUTH 87°53'07" EAST FOR A DISTANCE OF 19.48 FEET TO **THE POINT OF BEGINNING;**
THENCE, RUN SOUTH 87° 53' 07" EAST FOR A DISTANCE OF 227.02 FEET; THENCE, RUN NORTH 01° 39' 59" EAST FOR A DISTANCE OF 235.73 FEET; THENCE, RUN ALONG THE SOUTH LINE OF LAKE VIEW ESTATES AS DESCRIBED IN PLAT BOOK 63, PAGES 41 THROUGH 43 SOUTH 89° 23' 30" EAST FOR A DISTANCE OF 430.21 FEET; THENCE, RUN ALONG THE WESTERLY RIGHT OF WAY LINE OF COUNTY ROAD NO. 33/BLUFF LAKE ROAD AS DESCRIBED ON FLORIDA DEPARTMENT OF TRANSPORTATION MAINTENANCE MAP, SECTION 11020 SOUTH 16° 53' 52" EAST FOR A DISTANCE OF 1030.00 FEET; THENCE, LEAVING SAID RIGHT OF WAY RUN ALONG THE NORTHERN RIGHT OF WAY LINE OF UNDERPASS ROAD AS DESCRIBED IN MAP BOOK 3, PAGES 125 AND 126 NORTH 89° 14' 35" WEST FOR A DISTANCE OF 329.16 FEET; THENCE, CONTINUE ALONG SAID RIGHT OF WAY LINE NORTH 00° 45' 25" EAST FOR A DISTANCE OF 7.00 FEET; THENCE, CONTINUE ALONG SAID RIGHT OF WAY NORTH 89° 14' 35" WEST FOR A DISTANCE OF 230.00 FEET; THENCE, CONTINUE ALONG SAID RIGHT OF WAY NORTH 00° 45' 25" EAST FOR A DISTANCE OF 8.00 FEET; THENCE, CONTINUE ALONG SAID RIGHT OF WAY RUN NORTH 89° 14' 35" WEST FOR A DISTANCE OF 425.33 FEET; THENCE, LEAVING SAID RIGHT OF WAY RUN ALONG THE EASTERN RIGHT OF WAY OF NORTH SUNSET AVENUE AS DESCRIBED IN MAP BOOK. 1, PAGES 8 THROUGH 9 OR SAID PUBLIC RECORDS OF LAKE COUNTY FLORIDA, NORTH 01° 34' 15" EAST FOR A DISTANCE OF 496.37 FEET; THENCE CONTINUE ALONG SAID RIGHT OF WAY LINE NORTH 01° 45' 13" EAST A DISTANCE OF 238.76 FEET TO THE POINT OF BEGINNING.

CONTAINING, 744,629 SQUARE FEET OR 17.09 ACRES MORE OR LESS

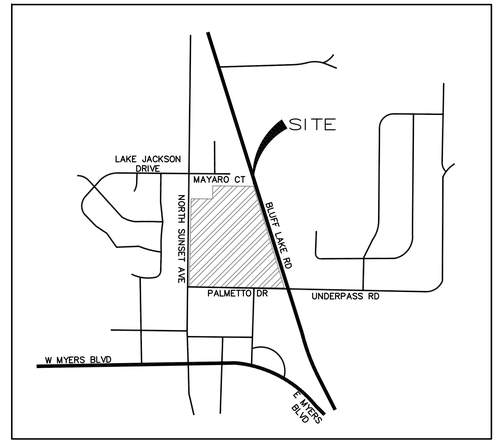


VICINITY MAP NOT TO SCALE

## SURVEYOR'S NOTES:

1. BEARINGS SHOWN HEREON ARE ASSUMED BASED ON THE WEST LINE OF THE SOUTHWEST 1/4 OF SECTION 11-22-24 AS BEING SOUTH 00°35'47" WEST
2. ALL LOT LINES INTERSECTING CURVES ARE RADIAL, UNLESS OTHERWISE NOTED NON-RADIAL (NR).
3. ALL PLATTED UTILITY EASEMENTS SHALL ALSO BE EASEMENTS FOR THE CONSTRUCTION, INSTALLATION, MAINTENANCE, AND OPERATION OF CABLE TELEVISION AND DATA SERVICES; PROVIDED, HOWEVER, NO SUCH CONSTRUCTION, INSTALLATION, MAINTENANCE, AND OPERATION OF CABLE TELEVISION SERVICES SHALL INTERFERE WITH THE FACILITIES AND SERVICES OF AN ELECTRIC, TELEPHONE, GAS, OR OTHER PUBLIC UTILITY. IN THE EVENT A CABLE TELEVISION COMPANY DAMAGES THE FACILITIES OF A PUBLIC UTILITY, IT SHALL BE SOLELY RESPONSIBLE FOR THE DAMAGES. THIS SECTION SHALL NOT APPLY TO THOSE PRIVATE EASEMENTS GRANTED TO OR OBTAINED BY A PARTICULAR ELECTRIC, TELEPHONE, GAS, OR OTHER PUBLIC UTILITY. SUCH CONSTRUCTION, INSTALLATION, MAINTENANCE, AND OPERATION SHALL COMPLY WITH THE NATIONAL ELECTRICAL SAFETY CODE AS ADOPTED BY THE FLORIDA PUBLIC SERVICE COMMISSION.
4. THE CITY OF MASCOTTE HAS THE RIGHT, BUT NOT THE OBLIGATION, TO ACCESS, MAINTAIN, REPAIR, REPLACE, AND OTHERWISE CARE FOR OR CAUSE TO BE CARED FOR ANY AND ALL TRACTS AS DEPICTED ON THIS PLAT WHICH ARE DEDICATED TO THE ROPER TRAILS HOMEOWNERS ASSOCIATION, INC. (THE ASSOCIATION) IN THE EVENT ANY OF SAID TRACTS ARE NOT MAINTAINED OR BECOME A NUISANCE AND ARE A THREAT TO THE PUBLIC HEALTH, SAFETY, AND WELFARE. IN THE EVENT THE CITY EXERCISES THE AFOREMENTIONED RIGHT, EACH OF THE LOT OWNERS OF ROPER TRAILS ARE HEREBY ULTIMATELY RESPONSIBLE FOR PAYMENT OF THE COST OF MAINTENANCE, REPAIR, REPLACEMENT, AND CARE PROVIDED BY THE CITY OF MASCOTTE OR ITS AGENTS, PLUS ADMINISTRATIVE FEES AND ATTORNEYS COSTS INCURRED BY THE CITY OF MASCOTTE. SAID COSTS SHALL BE A LIEN OR ASSESSMENT ON ALL LOTS IN THE SUBDIVISION AND ON ALL COMMON PROPERTY AND TRACTS AND MAY BE ENFORCED BY ANY AND ALL LEGAL AND EQUITABLE REMEDIES AVAILABLE TO THE CITY. THIS RIGHT AND THE CITY'S EXERCISE OF SAID RIGHT SHALL NOT IMPOSE ANY OBLIGATION ON THE CITY TO MAINTAIN, REPAIR, REPLACE, OR OTHERWISE CARE FOR SAID TRACTS AND/OR COMMON PROPERTY.
5. TRACT A (PARK/RECREATION) SHALL BE OWNED AND MAINTAINED BY THE ASSOCIATION
6. TRACT C (RETENTION AREA) SHALL BE OWNED AND MAINTAINED BY THE ASSOCIATION
7. TRACT D (COMMERCIAL) SHALL BE OWNED AND MAINTAINED BY THE OWNER, IT'S SUCCESSORS AND ASSIGNS.
8. TRACTS LS-1 AND LS-2 (LANDSCAPE BUFFER) SHALL BE OWNED AND MAINTAINED BY THE ASSOCIATION.
9. THIS PLAT AND THE LANDS DESCRIBED HEREIN ARE SUBJECT TO THE FOLLOWING INSTRUMENTS RECORDED IN THE PUBLIC RECORDS OF LAKE COUNTY, FLORIDA, CREATING EASEMENTS, COVENANTS AND/OR RESTRICTIONS WHICH MAY AFFECT THE PLATTED LANDS:

   DEVELOPMENT AGREEMENT, BY AND BETWEEN THE CITY OF MASCOTTE, FLORIDA, A FLORIDA MUNICIPAL CORPORATION (THE CITY) AND ROPER MASCOTTE II, LLC, A FLORIDA LIMITED LIABILITY COMPANY, RECORDED IN OFFICIAL RECORDS BOOK 5200, PAGE 449, PUBLIC RECORDS OF LAKE COUNTY, FLORIDA.

   ASSIGNMENT OF PLATS, PLANS, DEVELOPMENT AND OTHER RIGHTS DATED NOVEMBER 18, 2020, BY AND BETWEEN ROPER MASCOTTE II, LLC, A FLORIDA LIMITED LIABILITY COMPANY (ASSIGNOR) AND AMH DEVELOPMENT LLC, A DELAWARE LIMITED LIABILITY COMPANY (ASSIGNEE) RECORDED NOVEMBER 23, 2020 IN OFFICIAL RECORDS BOOK 5588, PAGE 1486, PUBLIC RECORDS OF LAKE COUNTY, FLORIDA.

## LEGEND:

| | | | | | |
|---|---|---|---|---|---|
| P.O.C. | POINT OF COMMENCEMENT | ⊡ | RECOVERED 4" X 4" CONCRETE MONUMENT, NO ID (UNLESS OTHERWISE NOTED HEREON) | D.E. | DRAINAGE EASEMENT |
| P.O.B. | POINT OF BEGINNING | ■ | SET 4" X 4" CONCRETE MONUMENT STAMPED PRM LB 6723, UNLESS OTHERWISE NOTED | D.U.E. | DRAINAGE & UTILITY EASEMENT |
| R/W | RIGHT OF WAY | R | RADIUS | R.P. | RADIUS POINT |
| P.C. | POINT OF CURVATURE | CB | CHORD BEARING | | CHANGE IN DIRECTION |
| P.C.C. | POINT OF COMPOUND CURVATURE | CH | CHORD | M.B. | MAP BOOK |
| P.T. | POINT OF TANGENCY | Δ | DELTA ANGLE | R/W | RIGHT OF WAY |
| P.I. | POINT OF INTERSECTION | L | ARC LENGTH | PLS | PROFESSIONAL LAND SURVEYOR |
| N.T. | NON-TANGENT | ℄ | CENTERLINE | P.B. | PLAT BOOK |
| CCR# | CERTIFIED CORNER RECORD | F.D.O.T. | FLORIDA DEPARTMENT OF TRANSPORTATION | U.E. | UTILITY EASEMENT |
| ◉ | SET NAIL AND DISK, STAMPED LB 6723 PERMANENT CONTROL POINT (PCP) | ID | IDENTIFICATION | | |
| NR | NON-RADIAL | FND | FOUND | | |
| LB | LICENSED BUSINESS | | | | |
| PRM | PERMANENT REFERENCE MONUMENT | | | | |

ALLEN & COMPANY
Founded in 1988
SURVEYING • MAPPING
GEOSPATIAL SERVICES
www.allen-company.com
Licensed Business #6723
16 EAST PLANT STREET
WINTER GARDEN, FLORIDA 34787
(407) 654-5355 FAX (407) 654-5356

SHEET INDEX
SHEET 1 OF 4 – LEGAL DESCRIPTION, DEDICATION, LEGEND & NOTES
SHEET 2 OF 4 – BOUNDARY & TRACT GEOMETRY INFORMATION
SHEET 3 & 4 OF 4 – CENTERLINE, TRACT, & LOT GEOMETRY INFORMATION

NOTICE: THIS PLAT, AS RECORDED IN ITS GRAPHIC FORM, IS THE OFFICIAL DEPICTION OF THE SUBDIVIDED LANDS DESCRIBED HEREIN AND WILL IN NO CIRCUMSTANCES BE SUPPLANTED IN AUTHORITY BY ANY OTHER GRAPHIC OR DIGITAL FORM OF THE PLAT. THERE MAY BE ADDITIONAL RESTRICTIONS THAT ARE NOT RECORDED ON THIS PLAT THAT MAY BE FOUND IN THE PUBLIC RECORDS OF THIS COUNTY.

## QUALIFICATION STATEMENT OF SURVEYOR AND MAPPER

KNOW ALL MEN BY THESE PRESENTS, that I the undersigned, being a licensed surveyor and mapper, do hereby certify that on _____ I completed the survey of the lands as shown in the foregoing plat: that said plat is a true and correct representation of the lands surveyed and platted and was prepared under my direction and supervision; that permanent reference monuments have been placed as shown thereon; and this plat complies with all the survey requirements of Chapter 177, Part 1, Platting, Florida Statutes; and that said land is located in Lake County, Florida.

By: _____ Date: _____

James L. Rickman P.S.M. # 5633

Allen & Company
Licensed Business # 6723
16 East Plant Street
Winter Garden, Florida 34787

PLAT BOOK_____ PAGE _____

ROPER TRAILS

## D E D I C A T I O N

KNOW ALL MEN BY THESE PRESENTS, That AMH Development, LLC, a Delaware limited liability company,, being the owner in fee simple of all of the lands described in the foregoing caption to this plat, hereby dedicates said lands and plat for the uses and purposes therein expressed and dedicates the streets, drainage easements and utility easements to the perpetual use of the public.

Tract B (Lift Station/Mail) shall be owned and maintained by the City of Mascotte

IN WITNESS WHEREOF, the undersigned, Geoffrey Reid, Vice President of Land has caused these presents to be executed and acknowledged by its undersigned thereunto duly authorized on this _____day of 2021.

BY: _____
TITLE: VICE PRESIDENT OF LAND
PRINTED NAME: GEOFFREY REID

SIGNED AND SEALED IN THE PRESENCE OF:

_____

PRINTED NAME: _____

_____

PRINTED NAME: _____

STATE OF FLORIDA,

COUNTY OF _____

THE FOREGOING INSTRUMENT WAS ACKNOWLEDGED BEFORE ME, BY MEANS OF
[ ] PHYSICAL PRESENCE OR [ ] ONLINE NOTARIZATION, THIS ____ DAY OF _____, 2021, BY GEOFFREY REID, AS VICE PRESIDENT OF LAND FOR AMH DEVELOPMENT LLC, SUCH PERSON [ ] IS PERSONALLY KNOWN TO ME OR [ ] HAS PRODUCED _____ AS IDENTIFICATION.

_____
SIGNATURE OF PERSON TAKING ACKNOWLEDGEMENT

NOTARY PUBLIC

_____
Notary Public

Commission Expires: _____

Commission Number: _____

Printed Name: _____

## CERTIFICATE OF CLERK

I HEREBY CERTIFY, THAT I HAVE EXAMINED THE FOREGOING PLAT AND FIND THAT IT COMPLIES WITH ALL THE REQUIREMENTS OF CHAPTER 177, F.S., AND WAS FILED FOR RECORD ON _____AT_____ FILE NO._____.

_____
CLERK OF THE CIRCUIT COURT IN AND FOR LAKE COUNTY, FLORIDA

_____
Print Name

## CERTIFICATE OF APPROVAL OF MUNICIPALITY

THIS IS TO CERTIFY, that this plat was reviewed in accordance with Chapter 177, Part 1, Platting, Florida Statutes and presented to the CITY COUNCIL of Mascotte, Lake County, Florida and approved by said CITY COUNCIL of Mascotte for record on the ___ day of _____ 2021 provided that this plat is recorded in the office of the Clerk of the Circuit Court of Lake County, Florida within 365 days from the date of approval by said City of Mascotte, Florida.

Attest: City of Mascotte

_____ _____
City Clerk Mayor

_____ _____
Print Name Print Name

## CERTIFICATE OF REVIEW BY CITY SURVEYOR

Pursuant to Section 177.081 F.S., I have reviewed this plat for conformity to Chapter 177, Part 1, Florida Statutes. and find said plat complies with the technical requirements of that Chapter; provided, however, that my review does not include field verification of any of the coordinates, points or measurements shown on this plat.

_____ _____
City Surveyor: Jennings E. Griffin Date

Professional Land Surveyor No. 4486
Halff, Inc.
902 N. Sinclair Ave., Tavares, FL 32778
(352-343-8481) Licensed Business No. 8348

# ROPER TRAILS

A PORTION OF LAND LYING IN SECTION 11, TOWNSHIP 22 SOUTH, RANGE 24 EAST
CITY OF MASCOTTE, LAKE COUNTY, FLORIDA



PLAT BOOK_____ PAGE _____

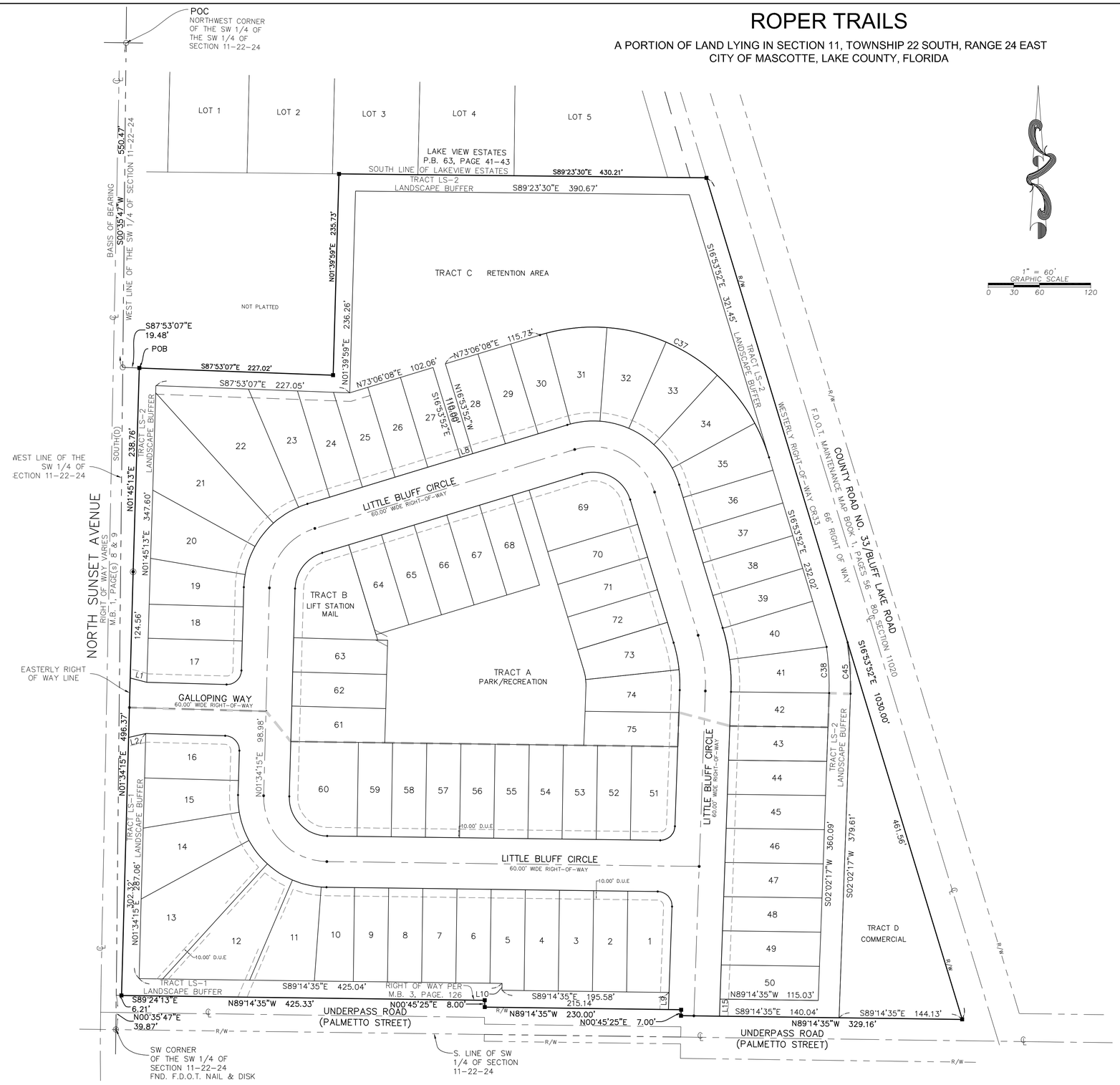





| LINE TABLE | | |
|---|---|---|
| LINE NO. | BEARING | LENGTH |
| L1 | N75°35'08"W | 20.09 |
| L2 | S77°28'00"W | 20.62 |
| L8 | N73°06'08"E | 15.00 |
| L9 | N02°02'27"E | 120.65 |
| L10 | N00°45'25"E | 8.00 |
| L15 | S02°02'27"W | 20.01 |

| CURVE TABLE | | | | | |
|---|---|---|---|---|---|
| CURVE NO. | RADIUS | LENGTH | DELTA | CHORD | CHORD DIRECTION |
| C37 | 215.00 | 337.72 | 090°00'00" | 304.06 | N61°53'52"W |
| C38 | 317.08 | 54.23 | 009°47'59" | 54.17 | S03°12'03"E |
| C45 | 342.08 | 60.54 | 010°08'26" | 60.46 | S03°21'31"E |

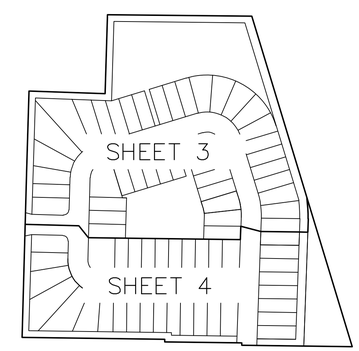


KEY MAP

SHEET INDEX
SHEET 1 OF 4 – LEGAL DESCRIPTION, DEDICATION, LEGEND & NOTES
SHEET 2 OF 4 – BOUNDARY & TRACT GEOMETRY INFORMATION
SHEET 3 & 4 OF 4 – CENTERLINE, TRACT, & LOT GEOMETRY INFORMATION

ALLEN & COMPANY
Founded in 1988
SURVEYING • MAPPING
GEOSPATIAL SERVICES
www.allen-company.com
Licensed Business #6723
16 EAST PLANT STREET
WINTER GARDEN, FLORIDA 34787
(407) 654-5355 FAX (407) 654-5356

# ROPER TRAILS

A PORTION OF LAND LYING IN SECTION 11, TOWNSHIP 22 SOUTH, RANGE 24 EAST
CITY OF MASCOTTE, LAKE COUNTY, FLORIDA



PLAT BOOK_____ PAGE _____

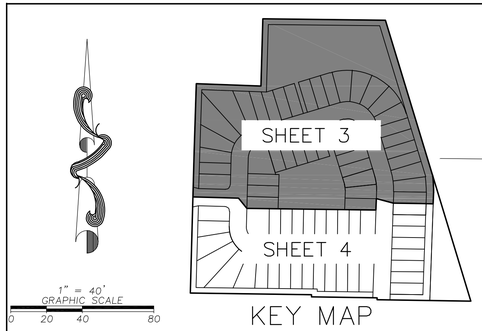


1" = 40'
GRAPHIC SCALE
0 20 40 80

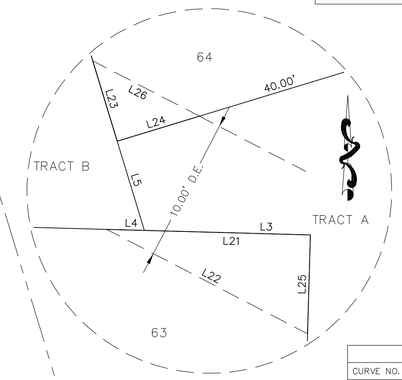


DETAIL A
NOT TO SCALE

| CURVE TABLE | | | | | |
|---|---|---|---|---|---|
| CURVE NO. | RADIUS | LENGTH | DELTA | CHORD | CHORD DIRECTION |
| C14 | 230.00 | 0.09 | 000°01'19" | 0.09 | N02°01'47"E |
| C15 | 230.00 | 37.85 | 009°25'45" | 37.81 | N02°41'45"W |
| C16 | 230.00 | 37.54 | 009°21'06" | 37.50 | N12°05'11"W |
| C17 | 230.00 | 0.54 | 000°08'08" | 0.54 | N16°49'48"W |
| C18 | 215.00 | 43.40 | 011°33'54" | 43.32 | N22°40'50"W |
| C19 | 105.00 | 21.19 | 011°33'54" | 21.16 | S22°40'50"E |
| C20 | 215.00 | 71.67 | 019°05'55" | 71.34 | N38°00'44"W |
| C21 | 105.00 | 35.00 | 019°05'55" | 34.84 | S38°00'44"E |
| C22 | 215.00 | 71.67 | 019°05'55" | 71.34 | N57°06'39"W |
| C23 | 105.00 | 35.00 | 019°05'55" | 34.84 | S57°06'39"E |
| C24 | 215.00 | 71.67 | 019°05'55" | 71.34 | N76°12'34"W |
| C25 | 105.00 | 35.00 | 019°05'55" | 34.84 | S76°12'34"E |
| C26 | 215.00 | 71.67 | 019°05'55" | 71.34 | S84°41'31"W |
| C27 | 105.00 | 35.00 | 019°05'55" | 34.84 | N84°41'31"E |
| C28 | 215.00 | 7.66 | 002°02'26" | 7.66 | S74°07'21"W |
| C29 | 105.00 | 3.74 | 002°02'26" | 3.74 | N74°07'21"E |
| C32 | 17.00 | 26.70 | 090°00'00" | 24.04 | S46°34'15"W |
| C33 | 105.00 | 14.98 | 008°10'22" | 14.96 | N05°39'26"E |
| C34 | 105.00 | 35.00 | 019°05'55" | 34.84 | N19°17'34"E |
| C35 | 105.00 | 35.00 | 019°05'55" | 34.84 | N38°23'29"E |
| C36 | 105.00 | 35.00 | 019°05'55" | 34.84 | N57°29'24"E |
| C37 | 215.00 | 337.72 | 090°00'00" | 304.06 | N61°53'52"W |
| C38 | 317.08 | 54.23 | 009°47'59" | 54.17 | S03°12'03"E |
| C39 | 45.00 | 56.18 | 071°31'53" | 52.60 | N37°20'11"E |
| C40 | 45.00 | 70.69 | 090°00'00" | 63.64 | S61°53'52"E |
| C41 | 170.00 | 32.26 | 010°52'21" | 32.21 | S11°27'42"E |
| C42 | 60.00 | 11.39 | 010°52'21" | 11.37 | N11°27'42"W |
| C43 | 60.00 | 8.45 | 008°03'58" | 8.44 | N01°59'32"W |
| C44 | 170.00 | 23.93 | 008°03'58" | 23.91 | S01°59'32"E |
| C45 | 342.08 | 60.54 | 010°08'26" | 60.46 | S03°21'31"E |
| C46 | 200.00 | 66.11 | 018°56'19" | 65.81 | N07°25'43"W |
| C47 | 75.00 | 117.81 | 090°00'00" | 106.07 | N61°53'52"W |
| C48 | 75.00 | 93.63 | 071°31'53" | 87.67 | S37°20'11"W |
| C51 | 105.00 | 11.11 | 006°03'46" | 11.11 | N70°04'15"E |
| C52 | 230.00 | 76.02 | 018°56'19" | 75.68 | N07°25'43"W |
| C55 | 60.00 | 19.83 | 018°56'19" | 19.74 | N07°25'43"W |
| C56 | 105.00 | 161.55 | 088°09'10" | 146.08 | N60°58'27"W |
| C57 | 105.00 | 131.09 | 071°31'53" | 122.74 | S37°20'11"W |
| C60 | 170.00 | 56.19 | 018°56'19" | 55.94 | N07°25'43"W |

| LINE TABLE | | |
|---|---|---|
| LINE NO. | BEARING | LENGTH |
| L1 | N75°35'08"W | 20.09 |
| L3 | S88°25'45"E | 11.60 |
| L4 | S88°25'45"E | 2.63 |
| L5 | S16°53'52"E | 116.52 |
| L7 | N73°06'08"E | 20.61 |
| L8 | N73°06'08"E | 15.00 |
| L16 | N01°34'15"E | 34.47 |
| L20 | S16°53'52"E | 15.78 |
| L21 | S88°25'45"E | 14.23 |
| L22 | N62°34'07"W | 15.81 |
| L23 | S16°53'52"E | 5.86 |
| L24 | N73°06'08"E | 6.00 |
| L25 | S01°34'15"W | 6.90 |
| L26 | N62°34'07"W | 8.39 |

SHEET INDEX
SHEET 1 OF 4 – LEGAL DESCRIPTION, DEDICATION, LEGEND & NOTES
SHEET 2 OF 4 – BOUNDARY & TRACT GEOMETRY INFORMATION
SHEET 3 & 4 OF 4 – CENTERLINE, TRACT, & LOT GEOMETRY INFORMATION

ALLEN & COMPANY
Founded in 1988
SURVEYING • MAPPING
GEOSPATIAL SERVICES
www.allen-company.com
Licensed Business #6723
16 EAST PLANT STREET
WINTER GARDEN, FLORIDA 34787
(407) 654-5355 FAX (407) 654-5356

# ROPER TRAILS

SHEET 4 OF 4

PLAT BOOK_____ PAGE _____

A PORTION OF LAND LYING IN SECTION 11, TOWNSHIP 22 SOUTH, RANGE 24 EAST
CITY OF MASCOTTE, LAKE COUNTY, FLORIDA

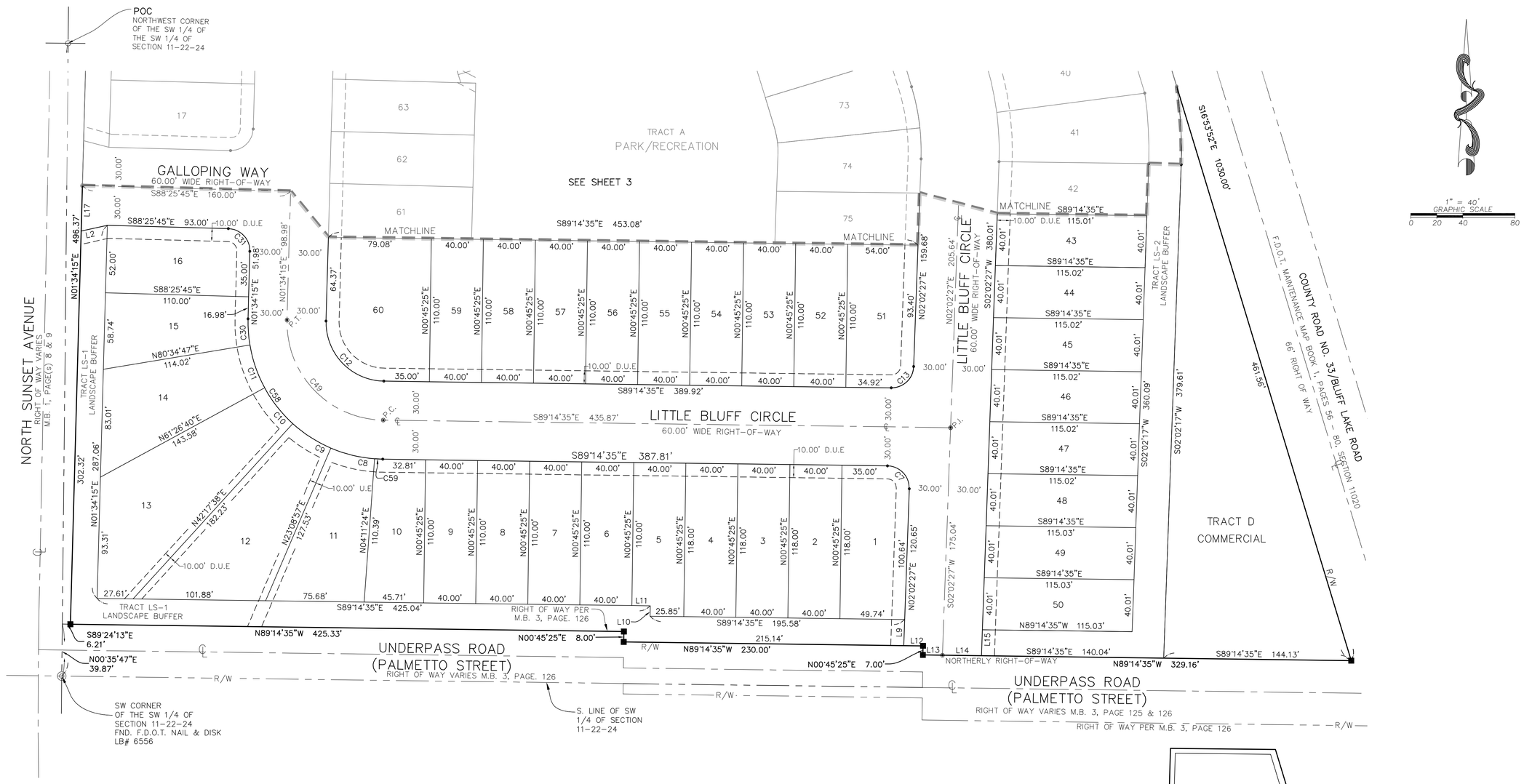


| LINE TABLE | | |
|---|---|---|
| LINE NO. | BEARING | LENGTH |
| L2 | S77°28'00"W | 20.62 |
| L9 | N02°02'33"E | 20.01 |
| L10 | N00°45'25"E | 8.00 |
| L11 | S89°14'35"E | 14.15 |
| L12 | S89°14'35"E | 14.86 |
| L13 | S89°14'35"E | 15.00 |
| L14 | N89°14'35"W | 30.00 |
| L15 | S02°02'27"W | 20.01 |
| L17 | N01°34'15"E | 35.03 |

| CURVE TABLE | | | | | |
|---|---|---|---|---|---|
| CURVE NO. | RADIUS | LENGTH | DELTA | CHORD | CHORD DIRECTION |
| C7 | 17.00 | 27.08 | 091°17'01" | 24.31 | N43°36'04"W |
| C8 | 105.00 | 34.74 | 018°57'33" | 34.59 | S76°19'49"E |
| C9 | 105.00 | 35.08 | 019°08'41" | 34.92 | S57°16'42"E |
| C10 | 105.00 | 35.10 | 019°09'02" | 34.93 | S38°07'51"E |
| C11 | 105.00 | 35.07 | 019°08'07" | 34.90 | S18°59'17"E |
| C12 | 45.00 | 71.32 | 090°48'49" | 64.09 | N43°50'10"W |
| C13 | 17.00 | 26.32 | 088°42'59" | 23.77 | S46°23'52"W |
| C30 | 105.00 | 20.14 | 010°59'28" | 20.11 | S03°55'29"E |
| C31 | 17.00 | 26.70 | 090°00'00" | 24.04 | N43°25'45"W |
| C49 | 75.00 | 118.87 | 090°48'49" | 106.82 | S43°50'10"E |
| C58 | 105.00 | 35.10 | 019°09'02" | 34.93 | S38°07'51"E |
| C59 | 105.00 | 6.29 | 003°25'59" | 6.29 | S87°31'35"E |

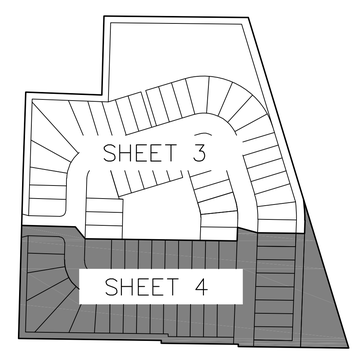


KEY MAP

SHEET INDEX
SHEET 1 OF 4 – LEGAL DESCRIPTION, DEDICATION, LEGEND & NOTES
SHEET 2 OF 4 – BOUNDARY & TRACT GEOMETRY INFORMATION
SHEET 3 & 4 OF 4 – CENTERLINE, TRACT, & LOT GEOMETRY INFORMATION


ALLEN & COMPANY
Founded in 1988
SURVEYING • MAPPING
GEOSPATIAL SERVICES
www.allen-company.com
Licensed Business #6723
16 EAST PLANT STREET
WINTER GARDEN, FLORIDA 34787
(407) 654-5355 FAX (407) 654-5356