SUMMERBROOKE PHASE 4

LYING IN SECTION 28, TOWNSHIP 19 SOUTH, RANGE 27 EAST
CITY OF MOUNT DORA, LAKE COUNTY, FLORIDA

PLAT BOOK_____ PAGE _____

LEGAL DESCRIPTION:

A TRACT OF LAND LYING IN SECTION 28, TOWNSHIP 19 SOUTH, RANGE 27 EAST, LAKE COUNTY, FLORIDA, BEING DESCRIBED AS FOLLOWS:

COMMENCE AT THE NORTH 1/4 CORNER OF SAID SECTION 28; THENCE RUN SOUTH 00°36'04" EAST ALONG THE WEST LINE OF THE NORTHEAST 1/4 OF SAID SECTION 28 AND THE EAST LINE OF ORANGE LAKE ESTATES, ACCORDING TO THE PLAT THEREOF AS RECORDED IN PLAT BOOK 27, PAGES 6 AND 7, OF THE PUBLIC RECORDS OF LAKE COUNTY, FLORIDA, 524.06 FEET TO THE POINT OF BEGINNING AND A POINT ON A LINE PARALLEL TO AND 524.00 FEET SOUTH OF THE NORTH LINE OF THE NORTHEAST 1/4 OF SAID SECTION 28; THENCE RUN SOUTH 89°42'10" EAST ALONG SAID PARALLEL LINE, 320.04 FEET; THENCE DEPARTING SAID PARALLEL LINE RUN NORTH 00°36'04" WEST, 494.06 FEET TO A POINT ON THE SOUTH RIGHT-OF-WAY LINE OF WOLF BRANCH ROAD; THENCE RUN SOUTH 89°42'10" EAST ALONG SAID SOUTH RIGHT-OF-WAY LINE FOR A DISTANCE OF 50.01 FEET; THENCE DEPARTING SAID SOUTH RIGHT-OF-WAY LINE RUN SOUTH 00°36'04" EAST, 513.01 FEET TO A POINT ON A NON-TANGENT CURVE CONCAVE WESTERLY; THENCE RUN SOUTHWESTERLY ALONG SAID NON-TANGENT CURVE HAVING A CENTRAL ANGLE OF 21°00'17", A RADIUS OF 324.97 FEET, AN ARC LENGTH OF 119.13 FEET, A CHORD BEARING OF SOUTH 10°35'49" WEST AND A CHORD DISTANCE OF 118.47 FEET; THENCE RUN SOUTH 68°53'59" EAST, 77.06 FEET; THENCE RUN NORTH 64°00'31" EAST, 50.35 FEET; THENCE RUN NORTH 69°54'51" EAST, 10.07 FEET; THENCE RUN SOUTH 34°59'18" EAST, 56.84 FEET; THENCE RUN SOUTH 18°05'41" EAST, 57.13 FEET; THENCE RUN SOUTH 17°38'48" EAST, 70.04 FEET; THENCE RUN SOUTH 17°39'42" WEST, 89.85 FEET; THENCE RUN SOUTH 00°24'41" EAST, 88.60 FEET; THENCE RUN SOUTH 18°29'09" EAST, 69.62 FEET; THENCE RUN SOUTH 13°06'10" EAST, 46.29 FEET; THENCE RUN NORTH 60°41'50" EAST, 61.02 FEET; THENCE RUN NORTH 83°52'53" EAST, 111.43 FEET; THENCE RUN SOUTH 54°24'47" EAST, 42.40 FEET; THENCE RUN SOUTH 03°34'11" EAST, 62.60 FEET; THENCE RUN SOUTH 47°46'15" EAST, 50.58 FEET; THENCE RUN SOUTH 49°19'49" EAST, 54.28 FEET; THENCE RUN NORTH 78°14'57" EAST, 43.52 FEET; THENCE RUN SOUTH 43°24'14" EAST, 52.87 FEET; THENCE RUN SOUTH 26°52'34" EAST, 74.92 FEET; THENCE RUN SOUTH 08°14'15" EAST, 42.41 FEET; THENCE RUN SOUTH 19°09'29" EAST, 58.37 FEET; THENCE RUN SOUTH 03°24'34" WEST, 57.15 FEET; THENCE RUN SOUTH 07°09'12" WEST, 52.61 FEET; THENCE RUN NORTH 71°43'14" WEST, 81.67 FEET; THENCE RUN NORTH 86°02'40" WEST, 60.70 FEET; THENCE RUN SOUTH 07°04'41" WEST, 103.09 FEET; THENCE RUN SOUTH 20°40'36" WEST, 50.12 FEET; THENCE RUN SOUTH 14°36'31" WEST, 61.26 FEET; THENCE RUN SOUTH 74°57'18" EAST, 32.89 FEET; THENCE RUN NORTH 70°00'39" EAST, 75.70 FEET; THENCE RUN NORTH 57°13'34" EAST, 77.96 FEET; THENCE RUN SOUTH 17°36'37" EAST, 83.16 FEET; THENCE RUN SOUTH 65°27'09" EAST, 28.37 FEET; THENCE RUN NORTH 80°01'00" EAST, 27.73 FEET; THENCE RUN SOUTH 11°52'21" EAST, 35.15 FEET; THENCE RUN SOUTH 79°50'37" EAST, 29.68 FEET; THENCE RUN SOUTH 13°41'30" EAST, 48.59 FEET; THENCE RUN SOUTH 41°04'08" WEST, 58.88 FEET; THENCE RUN SOUTH 04°25'34" EAST, 31.00 FEET; THENCE RUN NORTH 88°58'30" EAST, 27.06 FEET; THENCE RUN SOUTH 28°02'08" EAST, 20.58 FEET; THENCE RUN SOUTH 60°45'44" WEST, 43.12 FEET; THENCE RUN SOUTH 41°21'54" WEST, 58.63 FEET; THENCE RUN SOUTH 57°54'53" WEST, 29.01 FEET; THENCE RUN SOUTH 25°32'24" EAST, 50.57 FEET; THENCE RUN SOUTH 45°20'58" WEST, 31.43 FEET; THENCE RUN NORTH 78°33'48" WEST, 84.94 FEET; THENCE RUN SOUTH 29°25'31" WEST, 30.63 FEET; THENCE RUN NORTH 89°25'01" EAST, 35.84 FEET; THENCE RUN SOUTH 74°56'58" EAST, 46.08 FEET; THENCE RUN SOUTH 60°45'41" WEST, 41.36 FEET; THENCE RUN NORTH 85°56'45" EAST, 28.41 FEET; THENCE RUN SOUTH 79°01'47" EAST, 79.10 FEET; THENCE RUN SOUTH 44°33'35" EAST, 43.15 FEET; THENCE RUN SOUTH 14°35'59" WEST, 71.63 FEET; THENCE RUN NORTH 54°04'39" WEST, 53.51 FEET; THENCE RUN SOUTH 49°52'31" WEST, 49.66 FEET; THENCE RUN SOUTH 86°06'58" WEST, 21.11 FEET; THENCE RUN SOUTH 38°12'28" EAST, 23.17 FEET; THENCE RUN SOUTH 71°15'23" EAST, 26.02 FEET; THENCE RUN SOUTH 10°01'44" EAST, 18.00 FEET; THENCE RUN SOUTH 42°09'09" EAST, 43.34 FEET; THENCE RUN SOUTH 10°28'51" EAST, 61.53 FEET; THENCE RUN SOUTH 15°53'49" WEST, 19.13 FEET; THENCE RUN SOUTH 85°28'48" WEST, 73.81 FEET; THENCE RUN SOUTH 00°33'42" WEST, 77.38 FEET; THENCE RUN SOUTH 19°36'32" EAST, 50.78 FEET; THENCE RUN SOUTH 02°11'50" EAST, 54.64 FEET; THENCE RUN SOUTH 41°27'37" WEST, 38.27 FEET; THENCE RUN SOUTH 00°05'44" EAST, 83.15 FEET; THENCE RUN SOUTH 09°55'34" EAST, 44.82 FEET; THENCE RUN SOUTH 32°58'24" EAST, 38.86 FEET; THENCE RUN SOUTH 18°19'32" EAST, 65.86 FEET; THENCE RUN NORTH 60°32'56" WEST, 36.95 FEET; THENCE RUN SOUTH 06°25'32" WEST, 64.18 FEET; THENCE RUN SOUTH 24°59'22" WEST, 69.60 FEET; THENCE RUN SOUTH 20°49'32" WEST, 45.59 FEET; THENCE RUN NORTH 35°32'32" WEST, 53.12 FEET; THENCE RUN NORTH 06°21'42" WEST, 76.44 FEET; THENCE RUN SOUTH 28°22'15" WEST, 78.46 FEET; THENCE RUN SOUTH 04°05'14" EAST, 51.38 FEET; THENCE RUN SOUTH 33°38'07" EAST, 42.91 FEET; THENCE RUN SOUTH 12°41'46" WEST, 58.55 FEET; THENCE RUN SOUTH 67°36'43" EAST, 38.08 FEET; THENCE RUN SOUTH 04°34'59" WEST, 76.26 FEET; THENCE RUN SOUTH 06°44'44" EAST, 74.44 FEET; THENCE RUN SOUTH 29°17'09" EAST, 89.43 FEET; THENCE RUN SOUTH 29°18'39" WEST, 42.79 FEET; THENCE RUN SOUTH 07°45'17" EAST, 27.56 FEET; THENCE RUN SOUTH 57°04'46" EAST, 36.35 FEET; THENCE RUN SOUTH 12°46'19" EAST, 35.76 FEET; THENCE RUN SOUTH 83°45'08" EAST, 41.96 FEET; THENCE RUN SOUTH 02°55'04" EAST, 39.80 FEET; THENCE RUN SOUTH 33°16'15" WEST, 16.10 FEET TO A POINT ON A NON-TANGENT CURVE CONCAVE NORTHERLY; THENCE RUN NORTHWEST ALONG SAID NON-TANGENT CURVE HAVING A CENTRAL ANGLE OF 21°42'05", A RADIUS OF 381.95 FEET, AN ARC LENGTH OF 144.67 FEET, A CHORD BEARING OF NORTH 84°04'40" WEST AND A CHORD DISTANCE OF 143.80 FEET TO A REVERSE CURVE CONCAVE SOUTHERLY; THENCE RUN NORTHWEST ALONG SAID REVERSE CURVE HAVING A CENTRAL ANGLE OF 11°10'52", A RADIUS OF 576.41 FEET, AN ARC LENGTH OF 112.48 FEET, A CHORD BEARING OF NORTH 78°51'39" WEST AND A CHORD DISTANCE OF 112.31 FEET TO A POINT ON A NON-TANGENT LINE; THENCE RUN SOUTH 05°35'49" WEST, 75.00 FEET TO A POINT ON THE NORTHERLY LINE OF SUMMERBROOKE PHASE 1, ACCORDING TO THE PLAT THEREOF AS RECORDED IN PLAT BOOK 58, PAGES 1 THROUGH 10, OF AFORESAID PUBLIC RECORDS; THENCE RUN THE FOLLOWING COURSES ALONG SAID NORTHERLY LINE: SOUTH 07°02'54" WEST, 82.42 FEET; THENCE RUN NORTH 82°57'06" WEST, 120.00 FEET; THENCE RUN NORTH 07°02'54" EAST, 3.08 FEET; THENCE RUN NORTH 82°57'06" WEST, 50.00 FEET; THENCE RUN SOUTH 89°18'17" WEST, 166.00 FEET TO A NON-TANGENT CURVE CONCAVE WESTERLY; THENCE RUN SOUTHWEST ALONG SAID NON-TANGENT CURVE HAVING A CENTRAL ANGLE OF 02°23'43", A RADIUS OF 2645.00 FEET, AN ARC LENGTH OF 110.57 FEET, A CHORD BEARING OF SOUTH 00°30'08" WEST AND A CHORD DISTANCE OF 110.56 FEET TO A NON-TANGENT CURVE CONCAVE NORTHWESTERLY; THENCE RUN SOUTHWEST ALONG SAID CURVE HAVING A CENTRAL ANGLE OF 90°00'00", A RADIUS OF 155.93 FEET, AN ARC LENGTH OF 244.94 FEET, A CHORD BEARING OF SOUTH 44°21'58" WEST AND A CHORD DISTANCE OF 220.52 FEET TO THE POINT OF TANGENCY; THENCE RUN SOUTH 89°21'58" WEST, 175.06 FEET TO A POINT ON THE AFORESAID WEST LINE OF THE NORTHEAST 1/4 OF SAID SECTION; THENCE DEPARTING SAID NORTH LINE OF SUMMERBROOKE PHASE 1, RUN NORTH 00°36'04" WEST ALONG SAID WEST LINE, 3325.26 FEET TO THE POINT OF BEGINNING.

THE ABOVE DESCRIBED PARCEL OF LAND CONTAINS 60.05 ACRES MORE OR LESS.

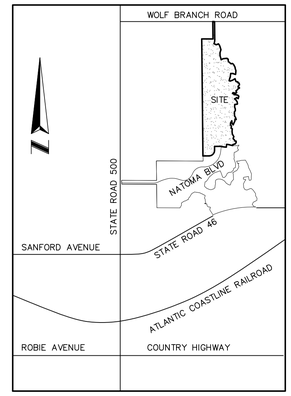

VICINITY MAP (scale 1"=2000')

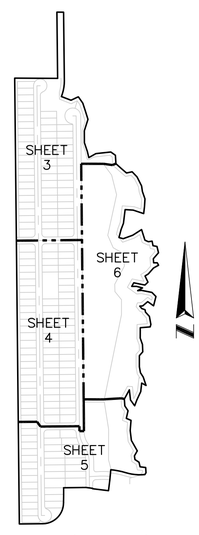

KEY MAP (not to scale)

SURVEYORS NOTES:

1. Bearings shown hereon are based on assumed datum, the West line of the Northeast 1/4 of Section 28, Township 19 South, Range 27 East as being N 00°36'04" West for angular designation only.
2. All property and lot corners shall be set within the stipulated time relative to the recording of this plat.
3. Tracts OS-01, OS-02, OS-03 (Open Space/Wall Tracts) and OS-04 (Open Space) together with any improvements constructed thereon shall be owned and maintained by the Summerbrooke Master Homeowners' Association (the Association).
4. Tracts OS-01, OS-02, OS-03 (Open Space/Wall Tracts) and OS-04 (Open Space) and SW-1 and SW-2 (Stormwater Tracts) and WB-1 (Wetland Buffer Tract) are subject to blanket public drainage and utility easements.
5. Tracts SW-1 and SW-2 (Stormwater Tracts) together with any improvements constructed thereon shall be owned and maintained by the Association, subject to the drainage easement dedicated to the City of Mount Dora.
6. Tract WB-1 is a Wetland Buffer Tract and shall be owned and maintained by the Association. No clearing, grading, construction or alteration to the Wetland Buffer Tract is permitted without prior approval of all agencies with jurisdiction over the same. To the extent required by such agencies, appropriate instrument for conservation easement shall be recorded in the official records of Lake County, Florida.
7. The 20.00' Wall Easement over Lots 99 through 101 is dedicated to and shall be maintained by the Association.
8. All lot lines intersecting curves are radial, unless otherwise noted non-radial (N.R.).
9. State Plane Coordinates as shown hereon are based on Direct Global Positioning System (GPS) observation, in accordance with third order, class II requirements as set forth in Standards and Specifications for Geodetic Control Networks Federal Geodetic Control Committee, September 1984.

   THE LANDS DESCRIBED HEREON ARE AFFECTED BY THE FOLLOWING:
10. Reservation for Easement(s) as set forth in Warranty Deed recorded November 5, 2004 in Official Records Book 2692, Page 1108, Public Records of Lake County Florida, but deleting any covenant, condition or restriction indicating a preference, limitation or discrimination based on race, color, religion, sex, handicap, familial status or national origin to the extent such covenants, conditions or restrictions violate 42 USC 3604(c). (BLANKET IN NATURE AND CANNOT BE GRAPHICALLY SHOWN)
11. Declaration of Covenants, Conditions, Easements and Restrictions for SUMMERBROOKE, which contains provisions for a private charge or assessments, recorded January 9, 2007 in Official Records Book 3344, Page 1327, as affected by: Amendment to Declaration of Conditions, Covenants, Easements and Restrictions for Summerbrooke recorded May 23, 2007 in Official Records Book 3437, Page 1444 and Partial Assignment of Declarant's Rights Under Declaration of Conditions, Covenants, Easements and Restrictions for Summerbrooke recorded February 16, 2010 in Official Records Book 3872, Page 1936 and Second Amendment to Declaration of Conditions, Covenants, Easements and Restrictions for Summerbrooke recorded March 3, 2011 in Official Records Book 4008, Page 1460 and Notice of Easement recorded December 19, 2012 in Official Records Book 4255, Page 208 and Supplemental Declaration of Conditions, Covenants, Easements and Restrictions for The Homeowners' Association of Summerbrooke, Adding Summerbrooke Phases 2 and 3 recorded June 15, 2016 in Official Records Book 4793, Page 1871, Public Records of Lake County Florida, but deleting any covenant, condition orrestriction indicating a preference, limitation or discrimination based on race, color, religion, sex, handicap, familial status or national origin to the extent such covenants, conditions or restrictions violate 42 usc 3604(c). (BLANKET IN NATURE AND CANNOT BE GRAPHICALLY SHOWN)
12. Easement Deed in favor of the City of Mount Dora recorded December 11, 2008 in Official Records Book 3709, Page 1907, Public Records of Lake County Florida. (GRAPHICALLY SHOWN HEREON)
13. Easement Deed in favor of the City of Mount Dora recorded June 4, 2009 in Official Records Book 3778, Page 496, Public Records of Lake County Florida. (GRAPHICALLY SHOWN HEREON)
14. Permanent Ingress/Egress Access, Grading, Utility and Drainage Easement in favor of Lake County recorded June 11, 2013 in Official Records Book 4336, Page 642, Public Records of Lake County Florida. (GRAPHICALLY SHOWN HEREON)
15. Utility Agreement by and between The City of Mount Dora, Florida and Park Square Enterprises, Inc., a Florida corporation recorded October 13, 2006 in Official Records Book 3282, Page 436, Public Records of Lake County Florida. (BLANKET IN NATURE AND CANNOT BE GRAPHICALLY SHOWN)
16. No placement of fences, trees, bushes, sheds, or other accessory structures shall be allowed within the 20.00' utility easement located on the south side of lots 1 and 98.
17. A Joinder & Consent to Plat will be recorded via separate instrument in the public records of Lake County, Florida, for that certain RESTATED MORTGAGE AND SECURITY AGREEMENT (INCLUDING ASSIGNMENT OF LEASES AND RENTS AND FIXTURE FILING) recorded December 31, 2014 in Official Records Book 10855, Page 0320 of the Public Records of Orange County, Florida, as modified by that certain MORTGAGE MODIFICATION AGREEMENT AND RECEIPT FOR FUTURE ADVANCE recorded September 29, 2016 in Instrument Number 20160512177 of the Public Records of Orange County, Florida, as further modified by 2018 MORTGAGE MODIFICATION AGREEMENT AND RECEIPT FOR FUTURE ADVANCE recorded September 7, 2018 in Instrument Number 20180532729 of the Public Records of Orange County, Florida, which is attached to, incorporated by reference as part of and as further modified by that certain SPREADER AND MODIFICATION AGREEMENT recorded November 25, 2019 in Official Records Book 5379, Page 2063 of the Public Records of Lake County, Florida, as further modified by that certain Assignment of Notes and Mortgage, Mortgage Spreader and Modification and Partial Release Agreement recorded February 26, 2020 in Official Records Book 5428, Page 1488 of the Public Records of Lake County, Florida, as further modified by that certain 2020 Mortgage Consolidation and Modification Agreement recorded February 26, 2020 in Official Records Book 5428, Page 1501, of the Public Records of Lake County, Florida.

LEGEND:

℄	denotes centerline
O.R.	denotes Official Records Book
PG(S).	denotes page
P.C.	denotes point of curvature
P.T.	denotes point of tangency
P.I.	denotes point of intersection
P.C.C.	denotes point of compound curvature
N.T.	denotes non-tangent
Δ	denotes interior angle
R	denotes radius
L	denotes arc length
(N.R.)	denotes non-radial
CCR #	denotes Certified Corner Record Number
TB	denotes tangent bearing
PB	denotes plat book
P.R.C.	denotes point of reverse curvature
R.P.	denotes radius point
R/W	denotes right-of-way
LB	denotes licensed business
D.E.	denotes drainage easement
U.E.	denotes utility and gas easement
W.E.	denotes wall easement
T.E.	denotes trail easement
◉	denotes set nail & disk L.B. # 6723 permanent control point (P.C.P.)
■	denotes set 4" x 4" concrete monument L.B. # 6723 permanent reference monument (P.R.M.)
P.R.M.	Permanent Reference Monument

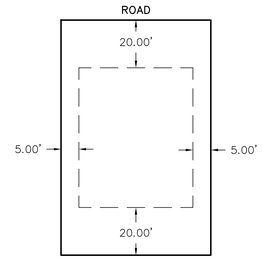

TYPICAL LOT AND SETBACKS (not to scale)

ALLEN & COMPANY
Professional Surveyors & Mappers
16 EAST PLANT STREET
WINTER GARDEN, FLORIDA 34787
(407) 654-5355
LICENSED BUSINESS # 6723

SHEET INDEX

SHEET 1 OF 6 – LEGAL DESCRIPTION, DEDICATION, LEGEND & NOTES
SHEET 2 OF 6 – OVERALL BOUNDARY
SHEET 3-6 OF 6 – BOUNDARY INFORMATION, CENTERLINE, TRACT & LOT GEOMETRY

NOTICE: THIS PLAT, AS RECORDED IN ITS GRAPHIC FORM, IS THE OFFICIAL DEPICTION OF THE SUBDIVIDED LANDS DESCRIBED HEREIN AND WILL IN NO CIRCUMSTANCES BE SUPPLANTED IN AUTHORITY BY ANY OTHER GRAPHIC OR DIGITAL FORM OF THE PLAT. THERE MAY BE ADDITIONAL RESTRICTIONS THAT ARE NOT RECORDED ON THIS PLAT THAT MAY BE FOUND IN THE PUBLIC RECORDS OF THIS COUNTY.

APPROVAL OF MUNICIPAL PLANNING AND ZONING AUTHORITY

THIS IS TO CERTIFY, that on the ____ day of _____, 2021 the foregoing plat was officially approved by the Planning and Development Committee of the City of Mount Dora, Florida.

_____ _____

_____ _____

CERTIFICATE OF PREPARING SURVEYOR

KNOW ALL MEN BY THESE PRESENTS, that I the undersigned, being a registered surveyor and mapper, fully licensed to practice in the State of Florida do hereby certify that on _____ 2021, I completed the survey of the lands as shown in the foregoing plat: that said plat is a true and correct representation of the lands surveyed and platted and was prepared under my direction and supervision; that permanent reference monuments have been placed as shown thereon; and this plat complies with all the survey requirements of Chapter 177, Part 1, Platting, Florida Statutes; and that said land is located in Lake County, Florida.

By: _____ Date: _____

James L. Rickman P.S.M. # 5633

Allen & Company
Licensed Business # 6723
16 East Plant Street
Winter Garden, Florida 34787

SUMMERBROOKE PHASE 4 DEDICATION

KNOW ALL MEN BY THESE PRESENTS, That PARK SQUARE ENTERPRISES, LLC, A DELAWARE LIMITED LIABILITY COMPANY, being the owner in fee simple of the lands described in the foregoing caption to this plat, hereby dedicates the Streets and Drainage Easements, as designated herein, to the City of Mount Dora, Florida for all right, privilege and authority to the City to install, construct, operate, maintain, repair and replace its public facilities and infrastructure and/or for any other purposes that the City, in its sole discretion, deems appropriate in order to ensure the proper operation and maintenance of its facilities and infrastructure and/or the right of ingress and egress, over, across and beneath the real property tracts as depicted and described.

PARK SQUARE ENTERPRISES, LLC, A DELAWARE LIMITED LIABILITY COMPANY, hereby dedicates a drainage easement over Tract SW-1 and SW-2 (Stormwater Tracts) to the City of Mount Dora for all the cities facilities, infrastructure drainage systems to drain thereto.

PARK SQUARE ENTERPRISES, LLC, hereby dedicates a 10.00 feet wide Trail Easement over Tract OS-02, as depicted therein, to the City of Mount Dora, for public trail purposes, trail related improvements and maintenance, as deemed necessary and appropriate by the City, along with the right of ingress and egress, over and across and beneath same.

All platted Utility Easements dedicated to the City of Mount Dora and the public, shall be easements for the construction, installation, maintenance and operation of cable television services: provided, however, no such construction, installation, maintenance and operation of cable television facilities shall interfere with or in any way impede the City of Mount Dora's use of the Utility Easement or use of the Utility Easement area for the purpose of providing electric, telephone, gas, water, waste water, reclaim water, fiber or other public utilities. In the event a cable television company damages the facilities or infrastructure of the City of Mount Dora or another utility provider which are located within the Utility Easement, said company shall be solely responsible for such damages. The utility easements, as designated herein, are hereby dedicated to the City of Mount Dora and the perpetual use of the public for the purpose of gas, electric, telephone, or other public utilities. An ingress/egress/utility easement is hereby granted over all streets to the City of Mount Dora and the providers of public utilities.

IN WITNESS WHEREOF, Park Square Enterprises, LLC have caused these presents to be signed by the Individuals named below this ____ day of _____, 2021.

Signed and sealed in the presence of:

_____

By: _____

Name: _____

By: _____

Name:

Park Square Enterprises, LLC,
a Delaware Limited Liability Company

Name: _____

Title: _____

STATE OF FLORIDA
COUNTY OF _____

The foregoing instrument was acknowledged before me on _____2021 by _____ of PARK SQUARE ENTERPRISES, LLC, A DELAWARE LIMITED LIABILITY COMPANY, on behalf of the company.
He/she is personally known to me or has produced _____ as identification and did/did not take an oath.

NOTARY PUBLIC _____

My Commission Expires: _____

Commission No.: _____

CERTIFICATE OF REVIEW BY CITY SURVEYOR

I HEREBY CERTIFY that this plat has been reviewed for the conformity to the requirements of Chapter 177, Part I of Florida Statues. No confirmation of mathematical closure or the placement of PRM's and PCP's in the field was made in this review.

_____ _____

By: Randall L. Roberts, R.L.S.
Florida Registration Number 3144
State of Florida
CPH Inc. LB#7143

Date:

CERTIFICATE OF APPROVAL OF MUNICIPALITY

THIS IS TO CERTIFY, that this plat was reviewed in accordance with Section 177.081, Florida Statutes and presented to the City Council of Mount Dora, Lake County, Florida and approved by said City Council of Mount Dora for record on the ___ day of _____ 2021 provided that this plat is recorded in the office of the Clerk of the Circuit Court of Lake County, Florida within 365 days from the date of approval by said City of Mount Dora, Florida.

Attest:

City of Mount Dora

_____ _____

City Clerk Mayor

_____ _____

Print Name Print Name

CERTIFICATE OF CLERK

I hereby certify, that I have examined the foregoing plat and find that it complies with all the requirements of Chapter 177, F.S., and was filed for record on _____at_____
File No._____.

_____

CLERK OF THE CIRCUIT COURT IN AND FOR LAKE COUNTY, FLORIDA

SUMMERBROOKE PHASE 4

LYING IN SECTION 28, TOWNSHIP 19 SOUTH, RANGE 27 EAST
CITY OF MOUNT DORA, LAKE COUNTY, FLORIDA

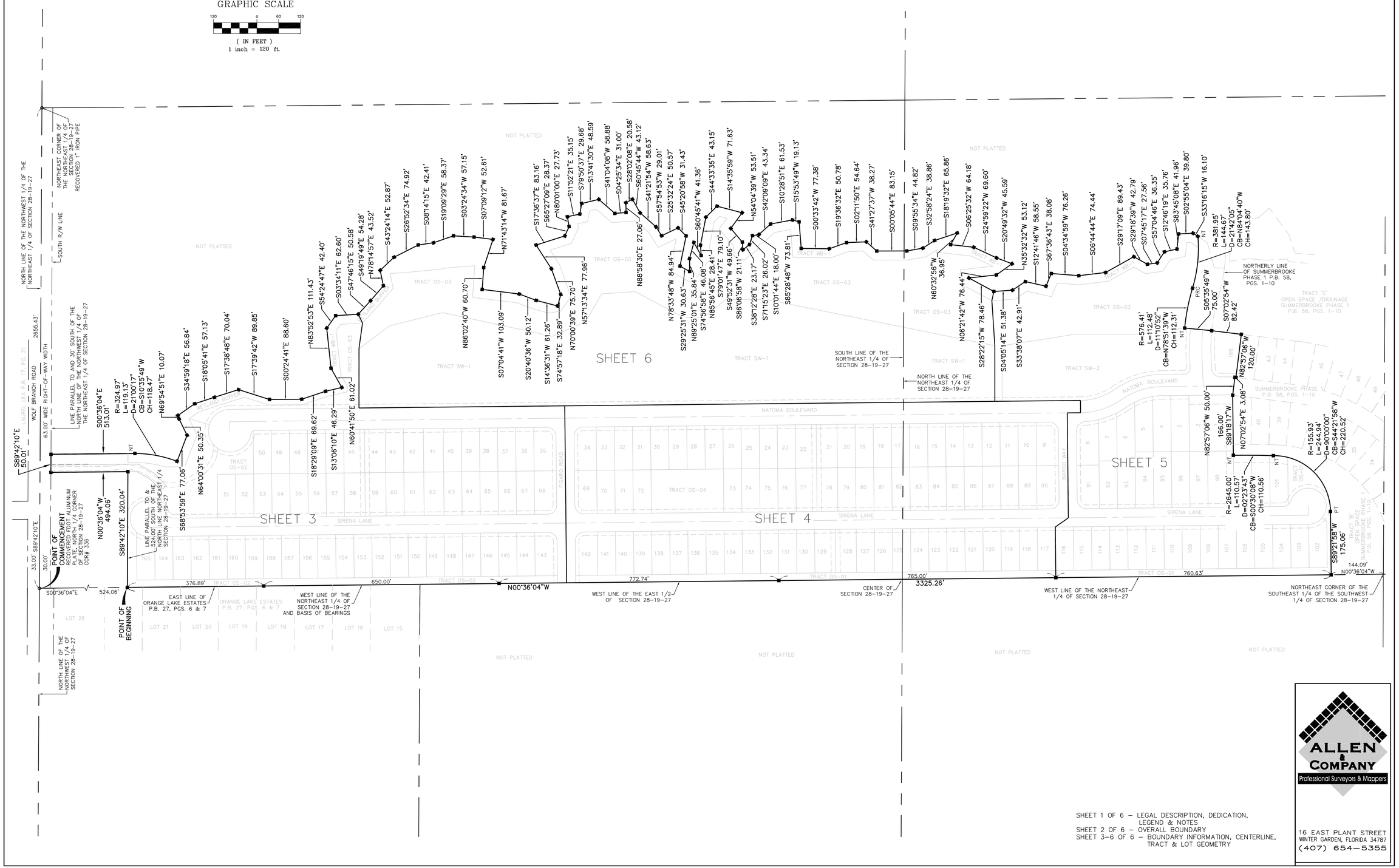

SHEET 1 OF 6 – LEGAL DESCRIPTION, DEDICATION, LEGEND & NOTES
SHEET 2 OF 6 – OVERALL BOUNDARY
SHEET 3–6 OF 6 – BOUNDARY INFORMATION, CENTERLINE, TRACT & LOT GEOMETRY

ALLEN & COMPANY
Professional Surveyors & Mappers
16 EAST PLANT STREET
WINTER GARDEN, FLORIDA 34787
(407) 654-5355

SUMMERBROOKE PHASE 4

LYING IN SECTION 28, TOWNSHIP 19 SOUTH, RANGE 27 EAST
CITY OF MOUNT DORA, LAKE COUNTY, FLORIDA

CURVE TABLE					
CURVE	RADIUS	BEARING	CHORD	DELTA	LENGTH
C1	324.97'	N10°33'21"E	118.47'	21°00'17"	119.13'
C20	93.83'	N48°24'02"W	20.76'	12°42'09"	20.80'
C21	93.83'	N21°21'16"W	27.35'	16°45'45"	27.45'
C22	97.51'	S18°04'35"E	17.35'	10°12'22"	17.37'
C23	327.12'	S28°28'03"E	60.30'	10°34'34"	60.38'
C24	71.33'	S64°41'26"E	79.50'	67°44'19"	84.33'
C25	83.83'	N33°51'45"W	59.78'	41°46'42"	61.13'
C26	107.51'	S18°04'35"E	19.13'	10°12'22"	19.15'
C27	337.12'	S28°26'46"E	61.89'	10°32'01"	61.98'
C28	81.33'	S60°36'59"E	80.37'	59°13'14"	84.06'
C200	25.00'	N44°23'56"E	35.36'	90°00'00"	39.27'
C201	50.00'	N55°20'13"W	81.65'	250°31'44"	218.63'
C202	25.00'	S34°39'47"W	28.87'	70°31'44"	30.77'
C203	25.00'	S45°36'04"E	35.36'	90°00'00"	39.27'
C204	25.00'	N44°23'56"E	35.36'	90°00'00"	39.27'
C205	25.00'	N07°51'10"W	6.31'	14°30'12"	6.33'
C206	8.00'	N49°11'26"W	8.97'	68°10'20"	9.52'
C207	59.00'	S48°03'40"W	88.60'	262°40'32"	270.49'
C208	50.00'	S20°01'10"W	35.22'	41°14'30"	35.99'
C209	50.00'	N63°16'18"W	97.07'	152°10'34"	132.80'
C210	299.97'	N08°14'09"E	84.67'	16°13'33"	84.95'
C219	59.00'	N37°04'37"W	70.15'	72°57'05"	75.12'
C220	50.00'	N18°48'05"E	10.43'	11°58'11"	10.45'
C221	50.00'	N47°21'25"E	38.38'	45°08'29"	39.39'
C222	59.00'	S78°40'37"W	54.98'	55°32'26"	57.19'
C223	59.00'	S43°38'41"W	14.92'	14°31'27"	14.96'
C224	59.00'	S23°26'50"E	102.02'	119°39'33"	123.22'

LINE TABLE		
LINE	BEARING	LENGTH
L1	S68°56'27"E	77.06'
L2	N63°58'03"E	50.35'
L3	N69°26'36"E	9.58'
L4	S34°59'18"E	56.84'
L5	S18°05'41"E	57.13'
L6	S17°38'48"E	70.04'
L7	S17°39'42"W	89.85'
L8	S00°24'41"E	88.60'
L9	S18°29'09"E	69.62'
L10	S13°06'10"E	46.29'
L11	N60°41'50"E	61.02'
L12	N83°52'53"E	111.43'
L13	S54°24'47"E	42.40'
L14	S03°34'11"E	62.60'
L20	S54°45'06"E	16.09'
L21	S54°45'06"E	13.14'
L200	S89°23'56"W	25.00'
L201	N89°21'24"E	25.39'
L202	N00°36'04"W	18.79'
L203	N00°36'04"W	53.64'
L204	N68°53'59"W	94.15'
L205	S64°00'31"W	49.75'

LINE TABLE		
LINE	BEARING	LENGTH
L206	N34°59'18"W	32.83'
L207	N18°05'41"W	53.32'
L208	N17°38'48"W	79.28'
L209	N17°39'42"E	70.16'
L210	N00°24'41"W	93.37'
L211	N18°29'09"W	71.30'
L212	N13°06'10"W	57.62'
L213	S89°23'56"W	15.88'
L214	S60°41'50"W	36.38'
L215	S83°52'53"W	122.18'
L216	N54°24'47"W	20.99'
L217	N03°34'11"W	60.87'
L218	S16°26'51"W	58.37'
L219	S82°09'23"E	71.35'
L220	N64°19'47"E	26.98'
L221	N89°23'56"E	25.00'
L222	S29°33'05"W	53.23'
L223	S47°39'47"W	46.29'
L224	N47°39'47"E	40.85'
L225	N29°33'05"E	44.66'
L226	N00°36'04"W	23.97'
L227	S33°57'55"E	51.55'
L228	N33°57'50"W	90.92'

GRAPHIC SCALE

60 0 30 60

(IN FEET)
1 inch = 60 ft.

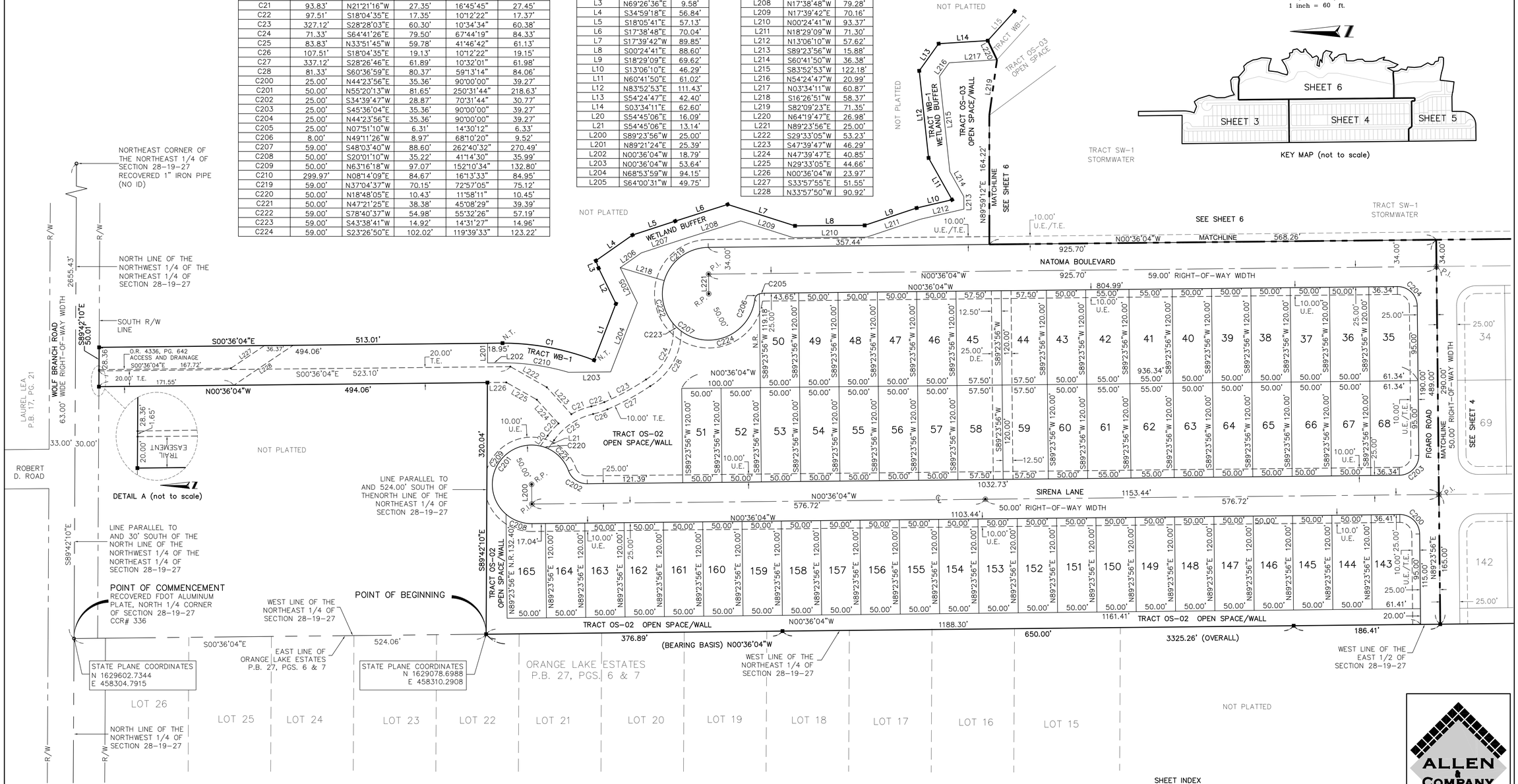

SHEET INDEX

SHEET 1 OF 6 – LEGAL DESCRIPTION, DEDICATION, LEGEND & NOTES
SHEET 2 OF 6 – OVERALL BOUNDARY
SHEET 3–6 OF 6 – BOUNDARY INFORMATION, CENTERLINE, TRACT & LOT GEOMETRY

ALLEN & COMPANY
Professional Surveyors & Mappers
16 EAST PLANT STREET
WINTER GARDEN, FLORIDA 34787
(407) 654-5355

SUMMERBROOKE PHASE 4

LYING IN SECTION 28, TOWNSHIP 19 SOUTH, RANGE 27 EAST
CITY OF MOUNT DORA, LAKE COUNTY, FLORIDA

PLAT BOOK____ PAGE____

GRAPHIC SCALE

60 0 30 60

(IN FEET)
1 inch = 60 ft.

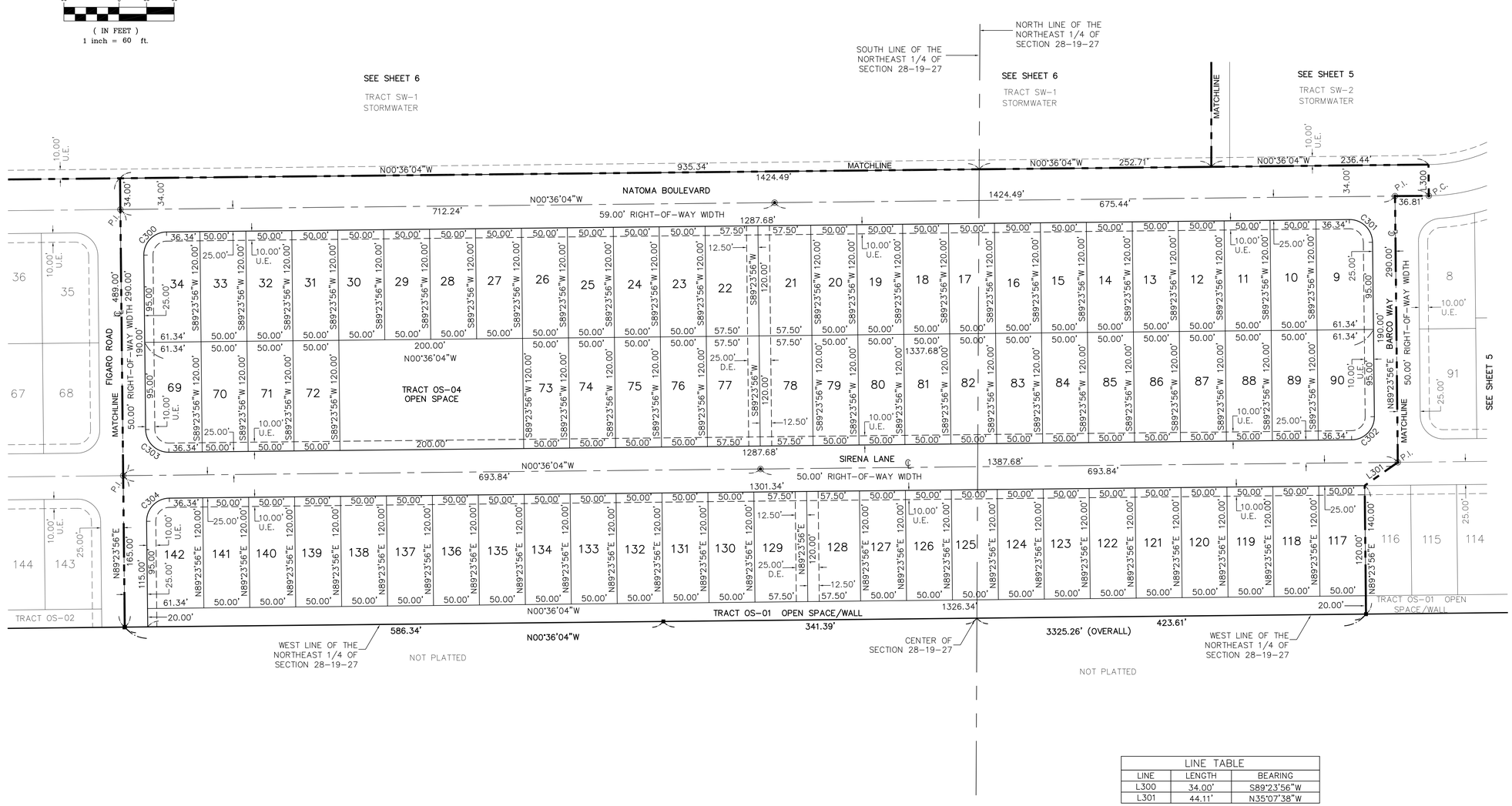

LINE TABLE		
LINE	LENGTH	BEARING
L300	34.00'	S89°23'56"W
L301	44.11'	N35°07'38"W

CURVE TABLE					
CURVE	RADIUS	LENGTH	CHORD	BEARING	DELTA
C300	25.00'	39.27'	35.36'	N45°36'04"W	90°00'00"
C301	25.00'	39.27'	35.36'	N44°23'56"E	90°00'00"
C302	25.00'	39.27'	35.36'	S45°36'04"E	90°00'00"
C303	25.00'	39.27'	35.36'	S44°23'56"W	90°00'00"
C304	25.00'	39.27'	35.36'	N45°36'04"W	90°00'00"

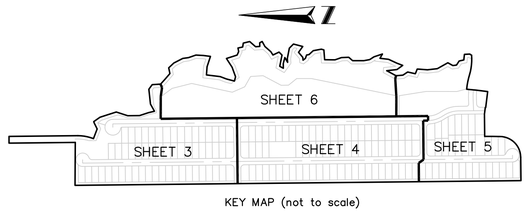

KEY MAP (not to scale)

SHEET INDEX
SHEET 1 OF 6 – LEGAL DESCRIPTION, DEDICATION, LEGEND & NOTES
SHEET 2 OF 6 – OVERALL BOUNDARY
SHEET 3–6 OF 6 – BOUNDARY INFORMATION, CENTERLINE, TRACT & LOT GEOMETRY

ALLEN & COMPANY
Professional Surveyors & Mappers
16 EAST PLANT STREET
WINTER GARDEN, FLORIDA 34787
(407) 654-5355

SUMMERBROOKE PHASE 4

LYING IN SECTION 28, TOWNSHIP 19 SOUTH, RANGE 27 EAST
CITY OF MOUNT DORA, LAKE COUNTY, FLORIDA

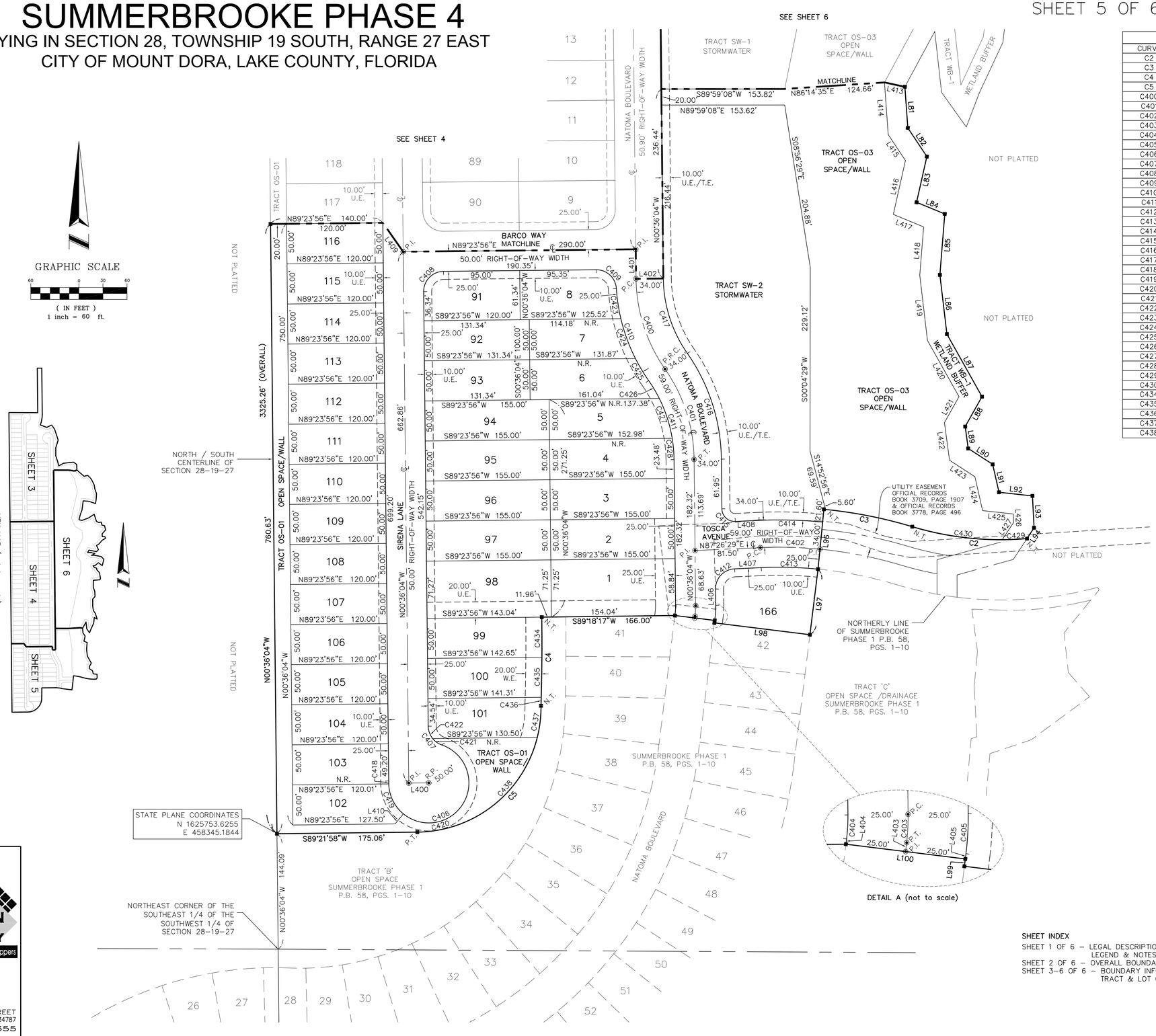

CURVE TABLE					
CURVE	RADIUS	LENGTH	CHORD	BEARING	DELTA
C2	381.95'	144.67'	143.80'	N84°04'40"W	21°42'05"
C3	576.41'	112.48'	112.31'	N78°51'39"W	11°10'52"
C4	2645.00'	110.57'	110.56'	S00°30'08"W	02°23'43"
C5	155.93'	244.94'	220.52'	S44°21'58"W	90°00'00"
C400	200.00'	120.12'	118.32'	S17°48'25"E	34°24'41"
C401	200.00'	120.12'	118.32'	N17°48'25"W	34°24'41"
C402	526.42'	74.44'	74.38'	N88°30'26"W	08°06'09"
C403	100.00'	13.35'	13.34'	N03°13'25"E	07°38'58"
C404	75.00'	10.01'	10.01'	N03°13'25"E	07°38'58"
C405	125.00'	16.69'	16.68'	N03°13'25"E	07°38'58"
C406	50.00'	219.00'	81.44'	N54°20'51"E	250°57'10"
C407	25.00'	30.77'	28.87'	S35°51'54"E	70°31'40"
C408	25.00'	39.27'	35.36'	S44°23'56"W	90°00'00"
C409	25.00'	37.95'	34.41'	N47°06'49"W	86°58'31"
C410	225.00'	123.26'	121.72'	S19°19'10"E	31°23'13"
C411	175.00'	105.10'	103.53'	N17°48'25"W	34°24'41"
C412	25.00'	38.42'	34.75'	S43°25'12"W	88°02'34"
C413	501.42'	70.89'	70.83'	N88°30'31"W	08°06'00"
C414	560.42'	79.28'	79.22'	N88°30'20"W	08°06'21"
C415	16.00'	25.68'	23.01'	S46°34'48"E	91°57'26"
C416	234.00'	140.54'	138.44'	N17°48'25"W	34°24'41"
C417	166.00'	99.70'	98.21'	S17°48'25"E	34°24'41"
C418	50.00'	1.17'	1.17'	S00°50'49"E	01°20'29"
C419	50.00'	42.91'	41.60'	S26°06'02"E	49°09'58"
C420	50.00'	174.92'	98.41'	N29°05'37"E	200°26'43"
C421	25.00'	14.10'	13.92'	S54°58'11"E	32°19'05"
C422	25.00'	16.67'	16.36'	S19°42'22"E	38°12'34"
C423	225.00'	38.06'	38.02'	S08°28'20"E	09°41'33"
C424	225.00'	53.16'	53.04'	S20°05'14"E	13°32'15"
C425	225.00'	32.03'	32.01'	S30°56'03"E	08°09'25"
C426	175.00'	25.91'	25.88'	N30°46'19"W	08°28'54"
C427	175.00'	52.57'	52.38'	N17°55'29"W	17°12'46"
C428	175.00'	26.62'	26.60'	N04°57'35"W	08°43'01"
C429	381.95'	30.86'	30.86'	S87°23'12"W	04°37'48"
C430	381.95'	113.80'	113.38'	N81°45'46"W	17°04'17"
C434	2645.00'	50.00'	50.00'	N00°09'13"W	01°04'59"
C435	2645.00'	50.02'	50.02'	N00°55'46"E	01°05'01"
C436	2645.00'	10.55'	10.55'	N01°35'08"E	00°13'43"
C437	155.93'	39.89'	39.78'	N06°41'41"E	14°39'25"
C438	155.93'	205.05'	190.59'	N51°41'41"E	75°20'35"

LINE TABLE		
LINE	LENGTH	BEARING
L81	51.38'	S04°05'14"E
L82	42.91'	S33°38'07"E
L83	58.55'	S12°41'46"W
L84	38.08'	S67°36'43"E
L85	76.26'	S04°34'59"W
L86	74.44'	S06°44'44"E
L87	89.43'	S29°17'09"E
L88	42.79'	S29°18'39"W
L89	27.56'	S07°45'17"E
L90	36.35'	S57°04'46"E
L91	35.76'	S12°46'19"E
L92	41.96'	S83°45'08"E
L93	39.80'	S02°55'04"E
L94	16.10'	S33°16'15"W
L96	75.00'	S05°35'49"W
L97	82.42'	S07°02'54"W
L98	120.00'	N82°57'06"W
L99	3.08'	N07°02'54"E
L100	50.00'	N82°57'06"W
L400	25.00'	N89°23'56"E
L401	36.81'	N00°36'04"W
L402	34.00'	N89°23'56"E
L403	2.20'	N07°02'54"E
L404	2.20'	N07°02'54"E
L405	2.20'	N07°02'54"E
L406	20.31'	N00°36'04"W
L407	33.18'	N87°26'29"E
L408	29.77'	N87°26'29"E
L409	44.11'	S35°07'38"E
L410	16.23'	S39°18'59"W
L413	26.04'	S77°51'29"E
L414	65.25'	N04°05'14"W
L415	38.81'	N33°38'07"W
L416	68.95'	N12°41'46"E
L417	40.94'	N67°36'43"W
L418	60.51'	N04°34'59"E
L419	81.90'	N06°44'44"W
L420	80.38'	N29°17'09"W
L421	37.14'	N29°18'39"E
L422	47.42'	N07°45'17"W
L423	37.65'	N57°04'46"W
L424	43.40'	N12°46'19"W
L425	38.49'	N83°45'08"W
L426	10.34'	N02°55'04"W
L427	26.02'	N33°16'15"E

SHEET INDEX

SHEET 1 OF 6 – LEGAL DESCRIPTION, DEDICATION, LEGEND & NOTES
SHEET 2 OF 6 – OVERALL BOUNDARY
SHEET 3–6 OF 6 – BOUNDARY INFORMATION, CENTERLINE, TRACT & LOT GEOMETRY

ALLEN & COMPANY
Professional Surveyors & Mappers
16 EAST PLANT STREET
WINTER GARDEN, FLORIDA 34787
(407) 654-5355

SUMMERBROOKE PHASE 4

LYING IN SECTION 28, TOWNSHIP 19 SOUTH, RANGE 27 EAST
CITY OF MOUNT DORA, LAKE COUNTY, FLORIDA

PLAT BOOK____ PAGE____

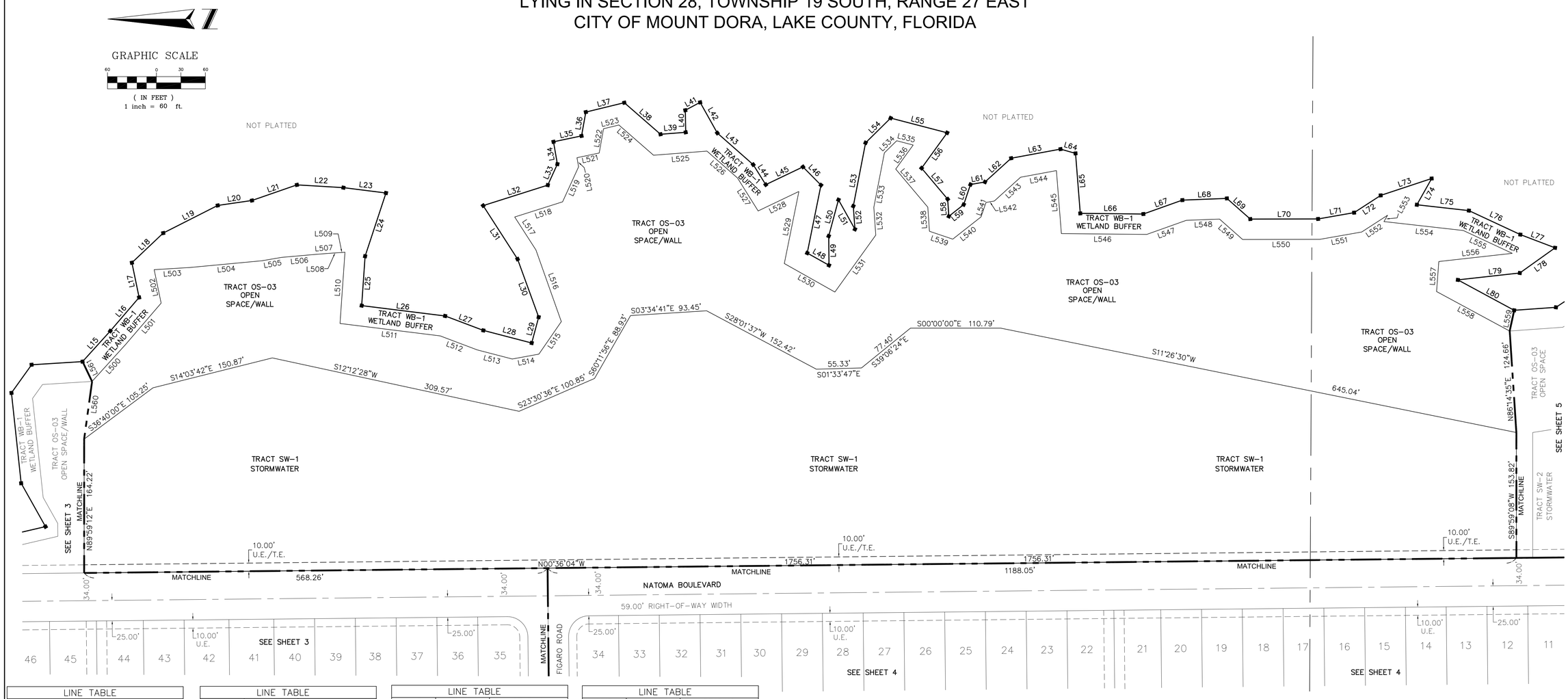

LINE TABLE		
LINE	LENGTH	BEARING
L15	50.58'	S47°46'15"E
L16	54.28'	S49°19'49"E
L17	43.52'	N78°14'57"E
L18	52.87'	S43°24'14"E
L19	74.92'	S26°52'34"E
L20	42.41'	S08°14'15"E
L21	58.37'	S19°09'29"E
L22	57.15'	S03°24'34"W
L23	52.61'	S07°09'12"W
L24	81.67'	N71°43'14"W
L25	60.70'	N86°02'40"W
L26	103.09'	S07°04'41"W
L27	50.12'	S20°40'36"W
L28	61.26'	S14°36'31"W
L29	32.89'	S74°57'18"E
L30	75.70'	N70°00'39"E
L31	77.96'	N57°13'34"E
L32	83.16'	S17°36'37"E
L33	28.37'	S65°27'09"E
L34	27.73'	N80°01'00"E
L35	35.15'	S11°52'21"E
L36	29.68'	S79°50'37"E
L37	48.59'	S13°41'30"E
L38	58.88'	S41°04'08"W
L39	31.00'	S04°25'34"E
L40	27.06'	N88°58'30"E
L41	20.58'	S28°02'08"E
L42	43.12'	S60°45'44"W
L43	58.63'	S41°21'54"W
L44	29.01'	S57°54'53"W
L45	50.57'	S25°32'24"E
L46	31.43'	S45°20'58"W

LINE TABLE		
LINE	LENGTH	BEARING
L47	84.94'	N78°33'48"W
L48	30.63'	S29°25'31"W
L49	35.84'	N89°25'01"E
L50	46.08'	S74°56'58"E
L51	41.36'	S60°45'41"W
L52	28.41'	N85°56'45"E
L53	79.10'	S79°01'47"E
L54	43.15'	S44°33'35"E
L55	71.63'	S14°35'59"W
L56	53.51'	N54°04'39"W
L57	49.66'	S49°52'31"W
L58	21.11'	S86°06'58"W
L59	23.17'	S38°12'28"E
L60	26.02'	S71°15'23"E
L61	18.00'	S10°01'44"E
L62	43.34'	S42°09'09"E
L63	61.53'	S10°28'51"E
L64	19.13'	S15°53'49"W
L65	73.81'	S85°28'48"W
L66	77.38'	S00°33'42"W
L67	50.78'	S19°36'32"E
L68	54.64'	S02°11'50"E
L69	38.27'	S41°27'37"W
L70	83.15'	S00°05'44"E
L71	44.82'	S09°55'34"E
L72	38.86'	S32°58'24"E
L73	65.86'	S18°19'32"E
L74	36.95'	N60°32'56"W
L75	64.18'	S06°25'32"W
L76	69.60'	S24°59'22"W
L77	45.59'	S20°49'32"W
L78	53.12'	N35°32'32"W

LINE TABLE		
LINE	LENGTH	BEARING
L79	76.44'	N06°21'42"W
L80	78.46'	S28°22'15"W
L500	61.07'	N47°46'15"W
L501	66.93'	N49°19'49"W
L502	41.87'	S78°14'57"W
L503	44.17	S03°33'31"E
L504	88.54	S05°19'30"E
L505	24.54	S09°43'21"E
L506	42.77	S05°03'59"E
L507	18.26	S04°18'47"E
L508	9.21	S03°51'08"E
L509	7.53	S05°40'21"E
L510	87.52'	S86°02'40"E
L511	123.79'	N07°04'41"E
L512	48.46'	N20°40'36"E
L513	44.37'	N14°36'31"E
L514	33.36	S10°22'05"E
L515	48.44	S55°26'51"E
L516	93.17'	S70°30'06"W
L517	48.08'	S57°13'34"W
L518	61.57'	N17°36'37"W
L519	47.23'	N65°27'09"W
L520	11.32'	S80°01'00"W
L521	27.82'	N11°52'21"W
L522	30.25'	N79°50'37"W
L523	19.36'	N13°41'30"W
L524	56.42'	N41°04'08"E
L525	65.70'	N04°25'34"W
L526	49.86'	N41°21'54"E
L527	47.67'	N57°54'53"E
L528	55.07'	N25°32'24"W
L529	89.79'	S78°33'48"E

LINE TABLE		
LINE	LENGTH	BEARING
L530	71.20'	N29°25'31"E
L531	85.93'	N54°17'46"W
L532	34.15'	S85°56'45"W
L533	68.05'	N79°01'47"W
L534	21.20'	N44°33'35"W
L535	20.85'	N14°35'59"E
L536	36.46'	S54°04'39"E
L537	61.03'	N49°52'31"E
L538	29.62'	N86°06'58"E
L539	30.23'	N18°38'49"E
L540	44.12'	N38°12'28"W
L541	18.64'	N71°15'23"W
L542	10.41'	N10°01'44"W
L543	43.45'	N42°09'09"W
L544	44.72'	N10°28'51"W
L545	77.48'	N85°28'48"E
L546	104.70'	N00°33'42"E
L547	51.40'	N19°36'32"W
L548	40.80'	N02°11'50"W
L549	37.74'	N41°27'37"E
L550	94.78'	N00°05'44"W
L551	52.07'	N09°55'34"W
L552	37.69'	N32°58'24"W
L553	8.84'	S60°32'56"E
L554	97.89'	N06°25'32"E
L555	66.24'	N24°59'22"E
L556	90.62'	S06°21'42"E
L557	36.95'	S85°43'43"E
L558	101.94'	N28°22'15"E
L559	26.04'	S77°51'29"E
L560	71.35'	S82°09'23"E
L561	26.98'	N64°19'47"E

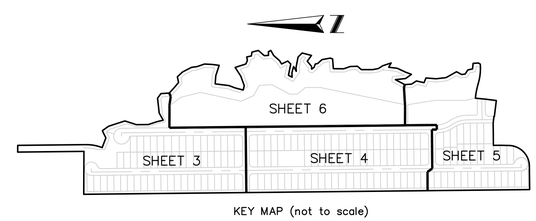

KEY MAP (not to scale)

SHEET INDEX

SHEET 1 OF 6 – LEGAL DESCRIPTION, DEDICATION, LEGEND & NOTES
SHEET 2 OF 6 – OVERALL BOUNDARY
SHEET 3–6 OF 6 – BOUNDARY INFORMATION, CENTERLINE, TRACT & LOT GEOMETRY

ALLEN & COMPANY
Professional Surveyors & Mappers
16 EAST PLANT STREET
WINTER GARDEN, FLORIDA 34787
(407) 654-5355