10/6/2020 2:10:31 PM
Instrument # 2020191184 #1
BOOK: 61 PAGE: 175

MAP BOOK: 61 PAGE: 175

LINCOLN OAKS

LYING IN SECTION 5, TOWNSHIP 17 SOUTH, RANGE 30 EAST
CITY OF DELAND, VOLUSIA COUNTY, FLORIDA

LEGAL DESCRIPTION

A TRACT OF LAND, BEING A PORTION OF THE SOUTH 3/4 OF THE WEST 10.25 CHAINS (676.50 FEET) OF THE EAST 1/2 OF THE SOUTHEAST 1/4, AND A PORTION OF THE WEST 1/2 OF THE SOUTHEAST 1/4, EXCEPT THAT PORTION THEREOF LYING WEST OF THE EAST RIGHT-OF-WAY BOUNDARY OF ORANGE AVENUE AS PRESENTLY LAID OUT, AND EXCEPT THE NORTH 5.0 CHAINS OF THE WEST 9.0 CHAINS OF SECTION 5, TOWNSHIP 17 SOUTH, RANGE 30 EAST, VOLUSIA COUNTY, FLORIDA.

COMMENCE AT THE SOUTHEAST CORNER OF SECTION 5, TOWNSHIP 17 SOUTH, RANGE 30 EAST, FOR A POINT OF REFERENCE; THENCE RUN SOUTH 89°05'09" WEST, ALONG THE SOUTH LINE OF SAID SECTION 5, A DISTANCE OF 1,323.12 FEET TO THE SOUTHEAST CORNER OF THE WEST HALF OF THE SOUTHEAST QUARTER OF SAID SECTION 5; THENCE DEPARTING SAID SOUTH LINE, RUN NORTH 01°32'10" WEST, ALONG THE EAST LINE OF THE WEST HALF OF THE SOUTHEAST QUARTER OF SAID SECTION 5, A DISTANCE OF 63.00 FEET TO THE POINT OF BEGINNING; SAID POINT LIES 63.00 FEET NORTH, BY PERPENDICULAR MEASURE OF THE SOUTH LINE OF SAID SECTION 5; THENCE DEPARTING SAID EAST LINE, RUN SOUTH 89°05'09" WEST, PARALLEL WITH SAID SOUTH LINE OF SECTION 5, A DISTANCE OF 653.78 FEET TO A POINT LYING ON THE EASTERLY MAINTAINED RIGHT-OF-WAY LINE OF NORTH ORANGE AVENUE (BEING 15.00 FEET EAST OF THE EXISTING CENTERLINE); THENCE RUN ALONG SAID EASTERLY MAINTAINED RIGHT-OF-WAY LINE THE FOLLOWING COURSES: NORTH 12°55'09" WEST, 221.08 FEET TO THE POINT OF CURVATURE OF A CURVE, CONCAVE NORTHEASTERLY; THENCE RUN NORTHWESTERLY, ALONG SAID CURVE, HAVING A RADIUS OF 1595.00 FEET, A CENTRAL ANGLE OF 11°32'37", AN ARC LENGTH OF 321.35 FEET, A CHORD LENGTH OF 320.81 FEET AND A CHORD BEARING OF NORTH 07°08'51" WEST TO THE POINT OF TANGENCY; THENCE RUN NORTH 01°22'32" WEST 152.63 FEET; THENCE RUN NORTH 01°43'21" WEST, 104.22 FEET; THENCE RUN NORTH 01°16'01" WEST, 105.14 FEET; THENCE RUN NORTH 01°37'33" WEST, 102.97 FEET; THENCE RUN NORTH 02°24'58" WEST, 265.31 FEET TO THE POINT OF CURVATURE OF A CURVE, CONCAVE SOUTHWESTERLY; THENCE RUN NORTHWESTERLY, ALONG SAID CURVE, HAVING A RADIUS OF 705.00 FEET, A CENTRAL ANGLE OF 32°46'55", AN ARC LENGTH OF 403.37 FEET, A CHORD LENGTH OF 397.89 FEET AND A CHORD BEARING OF NORTH 18°48'25" WEST TO THE POINT OF TANGENCY; THENCE RUN NORTH 35°11'53" WEST 353.75 FEET; THENCE RUN NORTH 34°49'39" WEST, 292.10 FEET TO THE POINT OF CURVATURE OF A CURVE, CONCAVE NORTHEASTERLY; THENCE RUN NORTHWESTERLY, ALONG SAID CURVE, HAVING A RADIUS OF 635.00 FEET, A CENTRAL ANGLE OF 07°44'52", AN ARC LENGTH OF 85.87 FEET, A CHORD LENGTH OF 85.80 FEET AND A CHORD BEARING OF NORTH 30°57'13" WEST TO A POINT LYING ON THE SOUTH LINE OF THE NORTH 5.0 CHAINS OF THE WEST 9.0 CHAINS OF AFORESAID SOUTHEAST QUARTER OF SECTION 5; THENCE DEPARTING SAID EASTERLY MAINTAINED RIGHT-OF-WAY LINE, RUN NORTH 89°26'21" EAST, ALONG SAID SOUTH LINE, 521.39 FEET TO THE SOUTHEAST CORNER OF THE NORTH 5.0 CHAINS OF THE WEST 9.0 CHAINS OF SAID SOUTHEAST QUARTER OF SECTION 5; THENCE RUN NORTH 01°30'17" WEST, ALONG THE EAST LINE OF SAID NORTH 5.0 CHAINS OF THE WEST 9.0 CHAINS OF SAID SOUTHEAST QUARTER OF SECTION 5, A DISTANCE OF 330.04 FEET TO A POINT LYING ON THE NORTH LINE OF THE SOUTHEAST QUARTER OF SAID SECTION 5; THENCE RUN NORTH 89°26'21" EAST, ALONG SAID NORTH LINE, 727.69 FEET TO THE NORTHEAST CORNER OF THE WEST HALF OF THE SOUTHEAST QUARTER OF SAID SECTION 5; THENCE RUN SOUTH 01°32'10" EAST, ALONG THE EAST LINE OF THE WEST HALF OF THE SOUTHEAST QUARTER OF SAID SECTION 5, A DISTANCE OF 659.60 FEET TO THE NORTHWEST CORNER OF THE SOUTH THREE QUARTERS OF THE WEST 10.25 CHAINS (676.50 FEET) OF THE EAST HALF OF THE SOUTHEAST QUARTER OF SAID SECTION 5; THENCE RUN NORTH 89°21'03" EAST, ALONG SAID NORTH LINE, 676.58 FEET TO THE NORTHEAST CORNER OF SAID SOUTH THREE QUARTERS OF THE WEST 10.25 CHAINS (676.50 FEET) OF THE EAST HALF OF THE SOUTHEAST QUARTER OF SAID SECTION 5; THENCE RUN SOUTH 01°32'10" EAST, ALONG THE EAST LINE OF SAID SOUTH THREE QUARTERS OF THE WEST 10.25 CHAINS (676.50 FEET) OF THE EAST HALF OF THE SOUTHEAST QUARTER OF SAID SECTION 5, A DISTANCE OF 1912.68 FEET TO A POINT LYING ON THE NORTH RIGHT-OF-WAY LINE OF WEST PLYMOUTH AVENUE, SAID POINT LIES ON THE NORTH LINE OF THE SOUTHERLY 63.00 FEET OF THE WEST 10.25 CHAINS (676.50 FEET) OF THE EAST HALF OF THE SOUTHEAST QUARTER OF SAID SECTION 5; THENCE RUN SOUTH 89°05'09" WEST, ALONG SAID NORTH LINE, 676.54 FEET TO THE POINT OF BEGINNING.

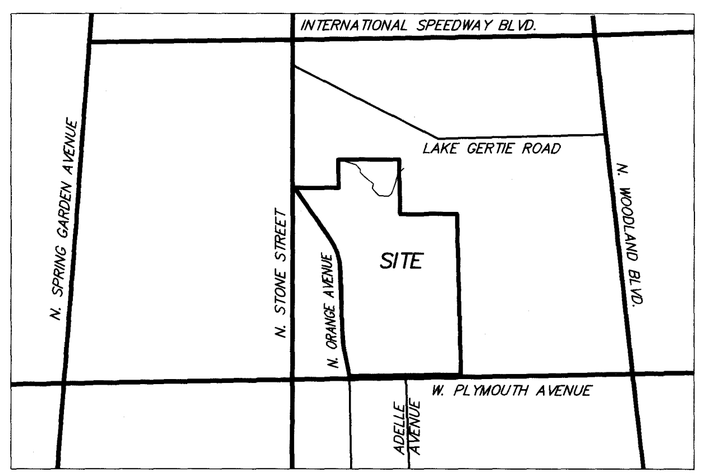

LOCATION MAP
NOT TO SCALE

LEGEND

P.O.C.	– POINT OF COMMENCEMENT	C	– CHORD LENGTH
P.O.B.	– POINT OF BEGINNING	CB	– CHORD BEARING
P.C.	– POINT OF CURVATURE	P.B.	– PLAT BOOK
P.T.	– POINT OF TANGENCY	PG.	– PAGE
R	– RADIUS	O.R.B.	– OFFICIAL RECORDS BOOK
Δ	– CENTRAL ANGLE	R/W	– RIGHT-OF-WAY
L	– ARC LENGTH	●	– SET 4" X 4" CONCRETE MONUMENT W/DISK STAMPED PRM LS. # 4044, UNLESS OTHERWISE NOTED.
U.E.	– UTILITY EASEMENT		
D.E.	– DRAINAGE EASEMENT	◉	– SET NAIL AND DISK STAMPED PCP LS. # 4044, UNLESS OTHERWISE NOTED.
W.E.	– WALL EASEMENT		
PA/OS	– PEDESTRIAN ACCESS/OPEN SPACE		
H.O.A.	– LINCOLN OAKS HOMEOWNERS ASSOCIATION, INC.		

TRACT SUMMARY

TRACT NAME	TYPE	OWNER/MAINTENANCE
TRACT A	ADDITIONAL RIGHT-OF-WAY	VOLUSIA COUNTY
TRACT B	TREE PROTECTION AREA	H.O.A.
TRACT C	TREE PROTECTION AREA	H.O.A.
TRACT D	TREE PROTECTION AREA	H.O.A.
TRACT E	TREE PROTECTION AREA	H.O.A.
TRACT F	TREE PROTECTION AREA	H.O.A.
TRACT G	TREE PROTECTION AREA	H.O.A.
TRACT H	OPEN SPACE	H.O.A.
TRACT I	OPEN SPACE/UTILITY EASEMENT	H.O.A.
TRACT J	OPEN SPACE/PEDESTRIAN ACCESS/DRAINAGE EASEMENT	H.O.A.
TRACT K	OPEN SPACE/PEDESTRIAN ACCESS	H.O.A.
TRACT L	OPEN SPACE/PEDESTRIAN ACCESS	H.O.A.
TRACT M	PEDESTRIAN ACCESS/DRAINAGE/UTILITY TRACT	H.O.A.
TRACT N	RECREATIONAL TRACT	H.O.A.
TRACT O	LIFT STATION	CITY OF DELAND
TRACT P	DRAINAGE/UTILITY TRACT	H.O.A.
TRACT Q	WETLAND TRACT	H.O.A.
TRACT R	FUTURE DEVELOPMENT/COMMERCIAL	RETAINED BY VOLUSIA OAKS, LLC
TRACT S	TREE PROTECTION AREA	H.O.A.
TRACT T	STORMWATER MANAGEMENT AREA	H.O.A.
TRACT U	INGRESS/EGRESS/DRAINAGE/UTILITY TRACT	H.O.A.
TRACT V	TREE PROTECTION AREA	H.O.A.
TRACT W	OPEN SPACE	H.O.A.

NOTICE:
"THIS PLAT, AS RECORDED IN ITS GRAPHIC FORM, IS THE OFFICIAL DEPICTION OF THE SUBDIVIDED LANDS DESCRIBED HEREIN AND WILL IN NO CIRCUMSTANCES BE SUPPLANTED IN AUTHORITY BY ANY OTHER GRAPHIC OR DIGITAL FORM OF THE PLAT. THERE MAY BE ADDITIONAL RESTRICTIONS THAT ARE NOT RECORDED ON THIS PLAT THAT MAY BE FOUND IN THE PUBLIC RECORDS OF THIS COUNTY."

PEC | SURVEYING AND MAPPING, LLC
CERTIFICATE OF AUTHORIZATION NUMBER LB 7808
2100 Alafaya Trail, Suite 203 • Oviedo, Florida 32765 • 407-542-4967

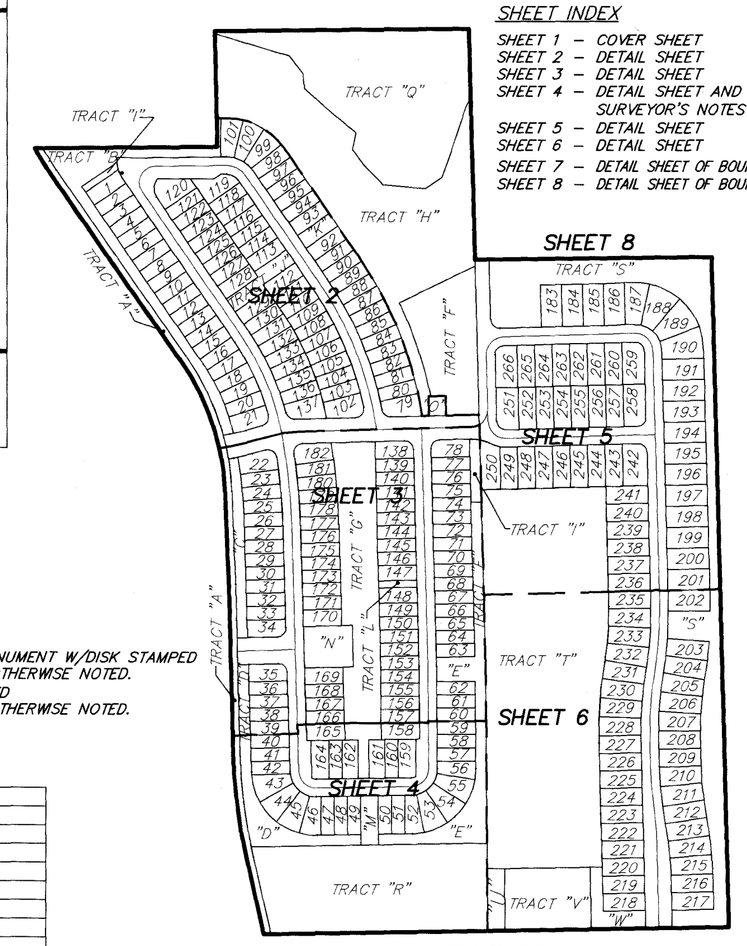

KEY SHEET
NOT TO SCALE

SHEET INDEX

SHEET 1 – COVER SHEET
SHEET 2 – DETAIL SHEET
SHEET 3 – DETAIL SHEET
SHEET 4 – DETAIL SHEET AND SURVEYOR'S NOTES
SHEET 5 – DETAIL SHEET
SHEET 6 – DETAIL SHEET
SHEET 7 – DETAIL SHEET OF BOUNDARY
SHEET 8 – DETAIL SHEET OF BOUNDARY

CERTIFICATE OF APPROVAL BY THE CITY COMMISSION

The DeLand City Commission hereby approves the Final Plat for the Lincoln Oaks Subdivision

Mayor, DeLand _____ Date 10-5-20
(Seal)

CERTIFICATE OF SURVEYOR AND MAPPER

KNOWN ALL MEN BY THESE PRESENTS; That the undersigned being a licensed and registered land surveyor, does hereby certify that on OCTOBER 30TH, 2019 he completed the surveying of the lands as shown in the accompanying plat, that said plat is a correct representation of the lands therein described and platted; that permanent reference monuments have been placed as shown thereon and complies with the requirements of Chapter 177, Florida Statutes; and that said land is located in Volusia County, Florida.

Sept 23 2020
Date

Surveyor's Signature
David A. White
Surveyor's Name (printed)

LS 4044
Surveyor's Registration Number

PEC – Surveying and Mapping, LLC
2100 Alafaya Trail, Suite 203, Oviedo, Florida, 32765

LB 7808
Certificate of Authorization Number

LINCOLN OAKS
JOINDER AND CONSENT TO DEDICATION

The undersigned hereby certifies that it is the holder of that certain mortgage executed by CW-LINCOLN OAKS, LLC., a Delaware limited liability company in favor of TREZ CAPITAL (2015) CORPORATION, a British Columbia corporation, dated DECEMBER, 20, 2019 and recorded in Official Records Book 7790, Page 3439 in the Official Records of VOLUSIA County, Florida, and consents to the Dedication of the lands described in this Plat and agrees that it's foregoing lien shall be subordinate to said Dedication.

IN WITNESS WHEREOF, has caused these presents to be signed and attested to by the officers named below and its corporate seal to be affixed hereto on this 28TH day of September A.D. 2020.

TREZ CAPITAL (2015) CORPORATION
A British Columbia corporation

BY: _____
PRINTED NAME John D. Hutchinson

By: Trez Capital Funding II, LLC,
A Delaware limited liability company
its Administrative Agent
Signed and sealed in the presence of:

PRINTED NAME TIM LITINAS
PRINTED NAME Steven M. Fluker

STATE OF Texas COUNTY OF Dallas

The foregoing instrument was acknowledged before me by means of ☒ physical presence or [] online notarization, this 28th day of September 2020, by John Hutchinson as President of Trez Capital Funding II, LLC, on behalf of the company, who ☒ is personally known to me or [] has produced _____ as identification.

(AFFIX NOTARY SEAL)
ANGELA WILLIAMS
Notary Public, State of Texas
Comm. Expires 02-07-2021
Notary ID 125190354

Angela Williams
Notary Public
Print Name Angela Williams
My Commission Expires 2-7-2021

CERTIFICATE OF APPROVAL OF THE DESIGN AND INSTALLATION OF STREETS, UTILITIES AND OTHER IMPROVEMENTS

I hereby certify that all streets, utilities and other required improvements have been installed in an acceptable manner and according to city specifications and standards and all applicable regulations in the Lincoln Oaks Subdivision or that a guarantee of the installation of the required improvements in a manner according to Section 33-147 has been received.

10/6/20
City Engineer

CERTIFICATE OF APPROVAL BY CITY REGISTERED SURVEYOR

THIS IS TO CERTIFY, That on October 05, 2020 this plat was approved.

By: JEFF W. BARNES, P.S.M. NO. 5576
City Registered Surveyor

LINCOLN OAKS
DEDICATION

KNOWN ALL MEN BY THESE PRESENTS, That the limited liability companies named below, being the owners in fee simple of the lands described in the attached plat, entitled LINCOLN OAKS, located in the City of DeLand, Volusia County, Florida, do hereby dedicate said lands and plat for the uses and purposes therein expressed and hereby dedicate and convey Tract "O" (Lift Station), in fee simple to the City of DeLand and dedicate all streets and utility easements shown or described thereon to the perpetual use of the public.

Tract "A" (Additional Right-of-way), is reserved to the City of DeLand for future conveyance at a later date and by a separate instrument to Volusia County, for ownership and maintenance.

Tracts B, C, D, E, F, G, S, and V (Tree Protection Areas), Tracts H, and W (Open Space), Tract I (Open Space/Utility Easement), Tract J (Open Space/Pedestrian Access/Drainage Easement), Tracts K and L (Open Space/Pedestrian Access), Tract M, (Pedestrian Access/Drainage Utility Tract), Tract N (Recreational Tract), Tract P (Drainage/Utility Tract), Tract Q (Wetland Tract), Tract T (Stormwater Management Area), and Tract U (Ingress/Egress/Drainage/Utility Tract), are hereby dedicated to the Lincoln Oaks Homeowners Association, Inc.

Tract R (Future Development/Commercial), is hereby retained by the Volusia Oaks, LLC, a Florida limited liability company, for future Development.

There is a Non-Vehicular access easement over Tracts B, C, D, E, and S, as shown and described in the attached plat to the City of DeLand, Florida.

IN WITNESS WHEREOF, has caused these presents to be signed and attested to by the officers named below and its corporate seal to be affixed hereto on this 28TH day of September A.D. 2020.

CW-LINCOLN OAKS, LLC,
A DELAWARE LIMITED LIABILITY COMPANY

Signed and sealed in the presence of:

PRINTED NAME Kim Zittle
PRINTED NAME Burton Winnard

By: CW-TLB MANAGEMENT, LLC,
A DELAWARE LIMITED LIABILITY COMPANY
ITS SOLE MANAGER

BY: _____
John E. Cork, President

NOTARY PUBLIC:
STATE OF Arizona COUNTY OF Maricopa

The foregoing instrument was acknowledged before me by means of ☒ physical presence or [] online notarization, this 28th day of September 2020, by John Cork as President of CW-LINCOLN OAKS, LLC., on behalf of the company, who ☒ is personally known to me or [] has produced _____ as identification.

(AFFIX NOTARY SEAL)
Alisa R Rotundo
Notary Public
Maricopa County, Arizona
My Comm. Expires 03-07-21

Alisa R. Rotundo
Notary Public
Print Name Alisa R. Rotundo
My Commission Expires March 7, 2021

VOLUSIA OAKS, LLC,
A FLORIDA LIMITED LIABILITY COMPANY BY: _____
PRINTED NAME Curtis Knauss

Signed and sealed in the presence of:

PRINTED NAME CHRISTINA M. LEE
PRINTED NAME Daniela Reina

NOTARY PUBLIC:
STATE OF Florida COUNTY OF Orange

The foregoing instrument was acknowledged before me by means of ☒ physical presence or [] online notarization, this 30th day of September 2020, by CURTIS KNAUSS Manager of VOLUSIA OAKS, LLC., on behalf of the company, who ☒ is personally known to me or [] has produced _____ as identification.

(AFFIX NOTARY SEAL)

Christina M. Lee
Notary Public
Print Name Christina M. Lee
My Commission Expires October 11, 2022 con# GG 227037

CERTIFICATE OF CLERK

I HEREBY CERTIFY, That I have examined the foregoing plat and find that it complies in form with all the requirements of Chapter 177, Florida Statutes, and was file for record on Oct. 6, 2020, at 2:10 pm - DeLand

Lisa Moses - Deputy Clerk
Clerk of the Circuit Court
in and for Volusia County, Florida.

2020191184
File Number

Instrument # 2020191184 #2
BOOK: 61 PAGE: 176

MAP BOOK: 61 PAGE: 176

LINCOLN OAKS

LYING IN SECTION 5, TOWNSHIP 17 SOUTH, RANGE 30 EAST
CITY OF DELAND, VOLUSIA COUNTY, FLORIDA

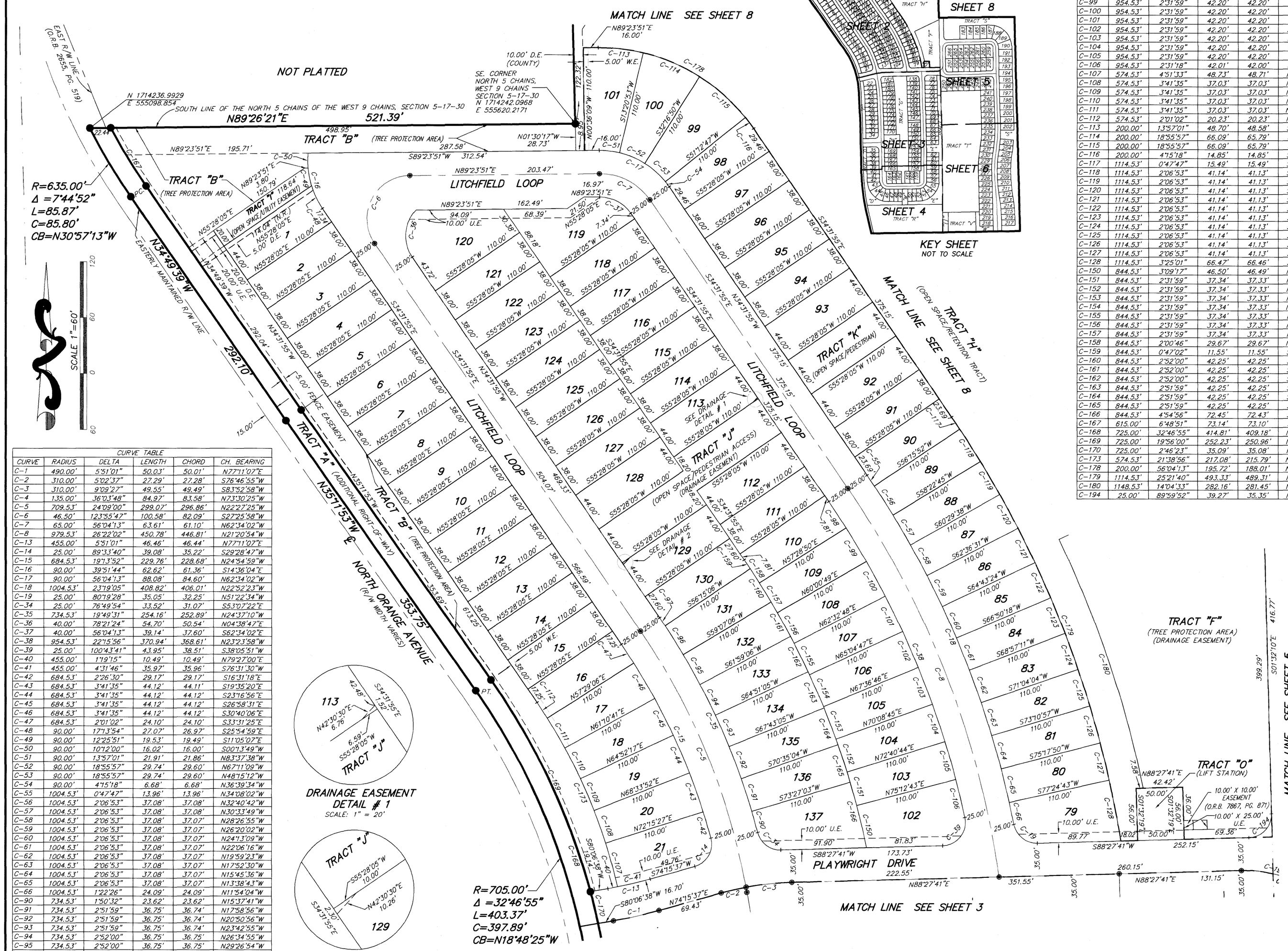

CURVE TABLE					
CURVE	RADIUS	DELTA	LENGTH	CHORD	CH. BEARING
C-97	734.53'	0°47'02"	10.05'	10.05'	N34°08'24"W
C-98	954.53'	2°00'46"	33.53'	33.53'	S33°31'33"E
C-99	954.53'	2°31'59"	42.20'	42.20'	S31°15'10"E
C-100	954.53'	2°31'59"	42.20'	42.20'	S28°43'11"E
C-101	954.53'	2°31'59"	42.20'	42.20'	S26°11'12"E
C-102	954.53'	2°31'59"	42.20'	42.20'	S23°39'13"E
C-103	954.53'	2°31'59"	42.20'	42.20'	S21°07'14"E
C-104	954.53'	2°31'59"	42.20'	42.20'	S18°35'16"E
C-105	954.53'	2°31'59"	42.20'	42.20'	S16°03'17"E
C-106	954.53'	2°31'18"	42.01'	42.00'	S13°31'39"E
C-107	574.53'	4°51'33"	48.73'	48.71'	N15°18'46"W
C-108	574.53'	3°41'35"	37.03'	37.03'	N19°35'20"W
C-109	574.53'	3°41'35"	37.03'	37.03'	N23°16'56"W
C-110	574.53'	3°41'35"	37.03'	37.03'	N26°58'31"W
C-111	574.53'	3°41'35"	37.03'	37.03'	N30°40'06"W
C-112	574.53'	2°01'02"	20.23'	20.23'	N33°31'25"W
C-113	200.00'	13°57'01"	48.70'	48.58'	S83°37'38"E
C-114	200.00'	18°55'57"	66.09'	65.79'	S67°11'09"E
C-115	200.00'	18°55'57"	66.09'	65.79'	S48°15'12"E
C-116	200.00'	4°15'18"	14.85'	14.85'	S36°39'34"E
C-117	1114.53'	0°47'47"	15.49'	15.49'	S34°08'02"E
C-118	1114.53'	2°06'53"	41.14'	41.13'	S32°40'42"E
C-119	1114.53'	2°06'53"	41.14'	41.13'	S30°33'49"E
C-120	1114.53'	2°06'53"	41.14'	41.13'	S28°26'55"E
C-121	1114.53'	2°06'53"	41.14'	41.13'	S26°20'02"E
C-122	1114.53'	2°06'53"	41.14'	41.13'	S24°13'09"E
C-123	1114.53'	2°06'53"	41.14'	41.13'	S22°06'16"E
C-124	1114.53'	2°06'53"	41.14'	41.13'	S19°59'23"E
C-125	1114.53'	2°06'53"	41.14'	41.13'	S17°52'30"E
C-126	1114.53'	2°06'53"	41.14'	41.13'	S15°45'36"E
C-127	1114.53'	2°06'53"	41.14'	41.13'	S13°38'43"E
C-128	1114.53'	3°25'01"	66.47'	66.46'	S10°52'46"E
C-150	844.53'	3°09'17"	46.50'	46.49'	N13°12'39"W
C-151	844.53'	2°31'59"	37.34'	37.33'	N16°03'17"W
C-152	844.53'	2°31'59"	37.34'	37.33'	N18°35'16"W
C-153	844.53'	2°31'59"	37.34'	37.33'	N21°07'14"W
C-154	844.53'	2°31'59"	37.34'	37.33'	N23°39'13"W
C-155	844.53'	2°31'59"	37.34'	37.33'	N26°11'12"W
C-156	844.53'	2°31'59"	37.34'	37.33'	N28°43'11"W
C-157	844.53'	2°31'59"	37.34'	37.33'	N31°15'10"W
C-158	844.53'	2°00'46"	29.67'	29.67'	N33°31'33"W
C-159	844.53'	0°47'02"	11.55'	11.55'	S34°08'24"E
C-160	844.53'	2°52'00"	42.25'	42.25'	S32°18'54"E
C-161	844.53'	2°52'00"	42.25'	42.25'	S29°26'54"E
C-162	844.53'	2°52'00"	42.25'	42.25'	S26°34'55"E
C-163	844.53'	2°51'59"	42.25'	42.25'	S23°42'55"E
C-164	844.53'	2°51'59"	42.25'	42.25'	S20°50'56"E
C-165	844.53'	2°51'59"	42.25'	42.25'	S17°58'56"E
C-166	844.53'	4°54'56"	72.45'	72.43'	S14°05'29"E
C-167	615.00'	6°48'51"	73.14'	73.10'	S31°25'14"E
C-168	725.00'	32°46'55"	414.81'	409.18'	N18°48'25"W
C-169	725.00'	19°56'00"	252.23'	250.96'	N25°13'53"W
C-170	725.00'	2°46'23"	35.09'	35.08'	N13°52'41"W
C-173	574.53'	21°38'56"	217.08'	215.79'	N23°42'28"W
C-178	200.00'	56°04'13"	195.72'	188.01'	N62°34'02"W
C-179	1114.53'	25°21'40"	493.33'	489.31'	N21°51'06"W
C-180	1148.53'	14°04'33"	282.16'	281.45'	N18°48'33"W
C-194	25.00'	89°59'52"	39.27'	35.35'	N43°27'45"E

CURVE TABLE					
CURVE	RADIUS	DELTA	LENGTH	CHORD	CH. BEARING
C-1	490.00'	5°51'01"	50.03'	50.01'	N27°11'07"E
C-2	310.00'	5°02'37"	27.29'	27.28'	S76°46'55"W
C-3	310.00'	9°09'27"	49.55'	49.49'	S83°52'58"W
C-4	135.00'	36°03'48"	84.97'	83.58'	N73°30'25"W
C-5	709.53'	24°09'00"	299.07'	296.86'	N22°27'25"W
C-6	46.50'	123°55'47"	100.58'	82.09'	S27°25'58"W
C-7	65.00'	56°04'13"	63.61'	61.10'	N62°34'02"W
C-8	979.53'	26°22'02"	450.78'	446.81'	N21°20'54"W
C-13	455.00'	5°51'01"	46.46'	46.44'	N27°11'07"E
C-14	25.00'	89°33'40"	39.08'	35.22'	S29°28'47"W
C-15	684.53'	19°13'52"	229.76'	228.68'	N24°54'59"W
C-16	90.00'	39°51'44"	62.62'	61.36'	S14°36'04"E
C-17	90.00'	56°04'13"	88.08'	84.60'	N62°34'02"W
C-18	1004.53'	23°19'05"	408.82'	406.01'	N22°52'23"W
C-19	25.00'	80°19'28"	35.05'	32.25'	N51°22'34"W
C-34	25.00'	76°49'54"	33.52'	31.07'	S53°07'22"E
C-35	734.53'	19°49'31"	254.16'	252.89'	N24°37'10"W
C-36	40.00'	78°21'24"	54.70'	50.54'	N04°38'47"E
C-37	40.00'	56°04'13"	39.14'	37.60'	S62°34'02"E
C-38	954.53'	22°15'56"	370.94'	368.61'	N23°21'58"W
C-39	25.00'	100°43'41"	43.95'	38.51'	S38°05'51"W
C-40	455.00'	1°19'15"	10.49'	10.49'	N79°27'00"E
C-41	455.00'	4°31'46"	35.97'	35.96'	S76°31'30"W
C-42	684.53'	2°26'30"	29.17'	29.17'	S16°31'18"E
C-43	684.53'	3°41'35"	44.12'	44.11'	S19°35'20"E
C-44	684.53'	3°41'35"	44.12'	44.12'	S23°16'56"E
C-45	684.53'	3°41'35"	44.12'	44.12'	S26°58'31"E
C-46	684.53'	3°41'35"	44.12'	44.12'	S30°40'06"E
C-47	684.53'	2°01'02"	24.10'	24.10'	S33°31'25"E
C-48	90.00'	17°13'54"	27.07'	26.97'	S25°54'59"E
C-49	90.00'	12°25'51"	19.53'	19.49'	S11°05'07"E
C-50	90.00'	10°12'00"	16.02'	16.00'	S00°13'49"W
C-51	90.00'	13°57'01"	21.91'	21.86'	N83°37'38"W
C-52	90.00'	18°55'57"	29.74'	29.60'	N67°11'09"W
C-53	90.00'	18°55'57"	29.74'	29.60'	N48°15'12"W
C-54	90.00'	4°15'18"	6.68'	6.68'	N36°39'34"W
C-55	1004.53'	0°47'47"	13.96'	13.96'	N34°08'02"W
C-56	1004.53'	2°06'53"	37.08'	37.08'	N32°40'42"W
C-57	1004.53'	2°06'53"	37.08'	37.08'	N30°33'49"W
C-58	1004.53'	2°06'53"	37.08'	37.07'	N28°26'55"W
C-59	1004.53'	2°06'53"	37.08'	37.07'	N26°20'02"W
C-60	1004.53'	2°06'53"	37.08'	37.07'	N24°13'09"W
C-61	1004.53'	2°06'53"	37.08'	37.07'	N22°06'16"W
C-62	1004.53'	2°06'53"	37.08'	37.07'	N19°59'23"W
C-63	1004.53'	2°06'53"	37.08'	37.07'	N17°52'30"W
C-64	1004.53'	2°06'53"	37.08'	37.07'	N15°45'36"W
C-65	1004.53'	2°06'53"	37.08'	37.07'	N13°38'43"W
C-66	1004.53'	1°22'26"	24.09'	24.09'	N11°54'04"W
C-90	734.53'	1°50'32"	23.62'	23.62'	N15°37'41"W
C-91	734.53'	2°51'59"	36.75'	36.74'	N17°58'56"W
C-92	734.53'	2°51'59"	36.75'	36.74'	N20°50'56"W
C-93	734.53'	2°51'59"	36.75'	36.74'	N23°42'55"W
C-94	734.53'	2°52'00"	36.75'	36.75'	N26°34'55"W
C-95	734.53'	2°52'00"	36.75'	36.75'	N29°26'54"W
C-96	734.53'	2°52'00"	36.75'	36.75'	N32°18'54"W

PEC SURVEYING AND MAPPING, LLC
CERTIFICATE OF AUTHORIZATION NUMBER LB 7808
2100 Alafaya Trail, Suite 203 • Oviedo, Florida 32765 • 407-542-4967

Instrument # 2020191184 #3
BOOK: 61 PAGE: 177

MAP BOOK: 61 PAGE: 177

LINCOLN OAKS

LYING IN SECTION 5, TOWNSHIP 17 SOUTH, RANGE 30 EAST
CITY OF DELAND, VOLUSIA COUNTY, FLORIDA

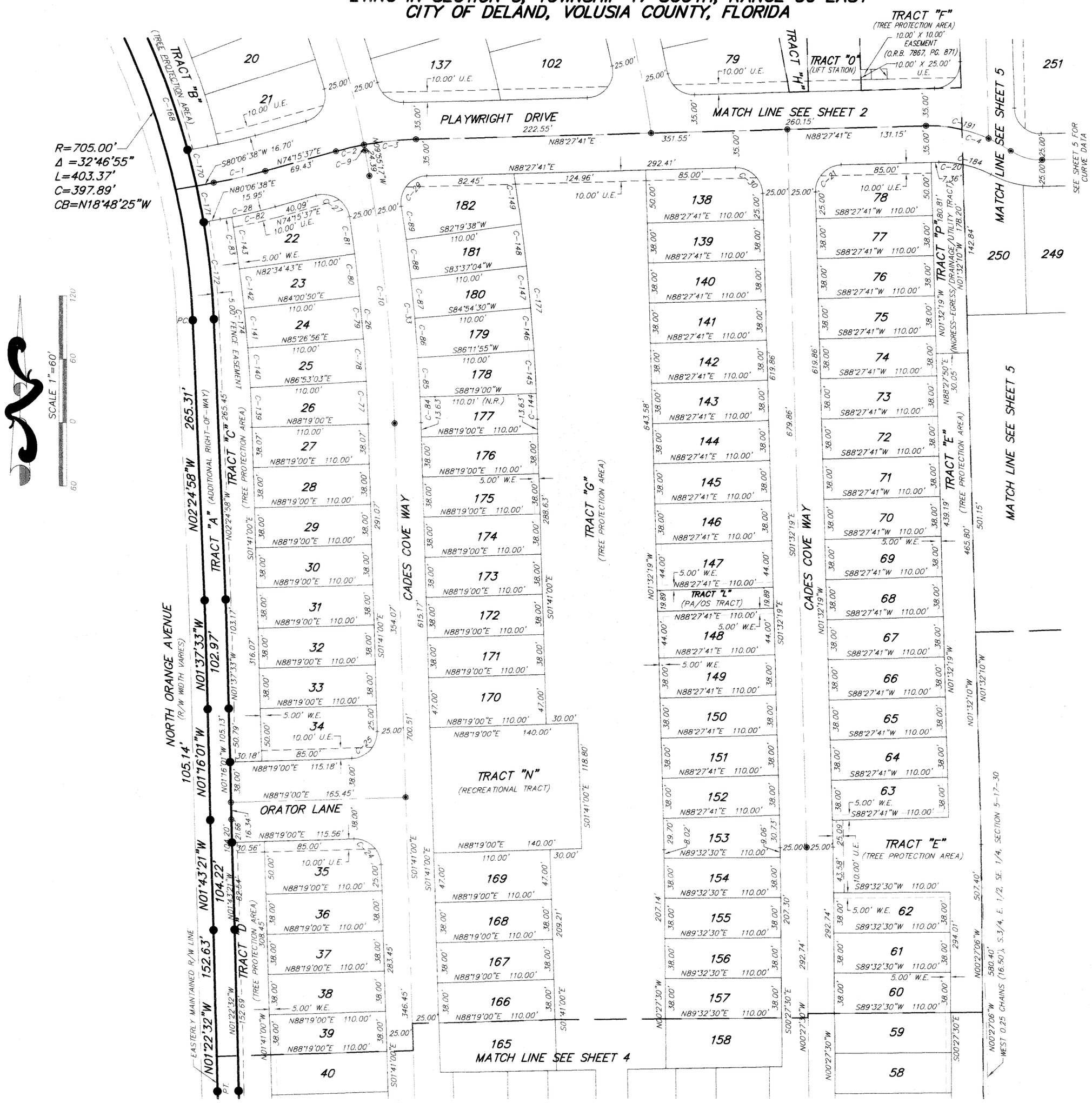

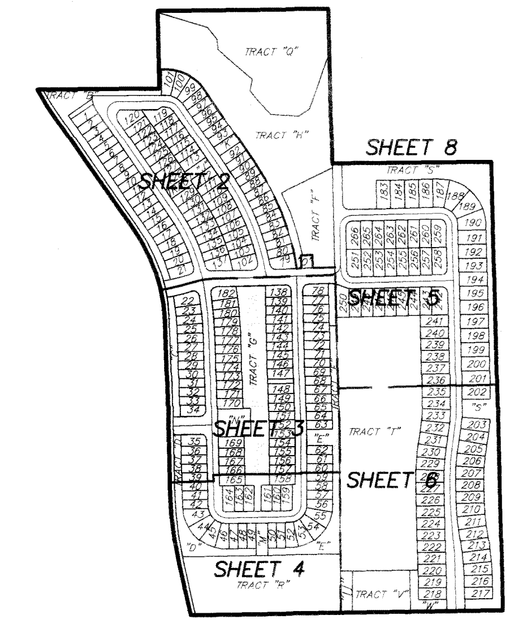

KEY SHEET
NOT TO SCALE

CURVE TABLE					
CURVE	RADIUS	DELTA	LENGTH	CHORD	CH. BEARING
C-1	490.00'	5°51'01"	50.03'	50.01'	N77°11'07"E
C-2	310.00'	5°02'37"	27.29'	27.28'	S76°46'55"W
C-3	310.00'	9°09'27"	49.55'	49.49'	S83°52'58"W
C-4	50.00'	29°59'52"	26.18'	25.88'	N73°27'45"E
C-9	709.53'	0°27'38"	5.70'	5.70'	N10°09'06"W
C-10	1637.12'	8°14'17"	235.39'	235.19'	N05°48'06"W
C-20	100.00'	13°06'58"	22.89'	22.84'	N84°58'49"W
C-21	25.00'	90°00'00"	39.27'	35.36'	N4°31'27"E
C-24	25.00'	90°00'00"	39.27'	35.36'	S46°41'00"E
C-25	25.00'	90°00'00"	39.27'	35.36'	S43°19'00"W
C-26	1612.12'	7°00'20"	197.12'	196.99'	N05°11'10"W
C-27	25.00'	97°03'03"	42.35'	37.46'	S57°12'52"E
C-28	525.00'	5°51'01"	53.61'	53.58'	N77°11'07"E
C-29	25.00'	97°13'56"	42.43'	37.51'	N39°50'43"E
C-30	25.00'	90°00'00"	39.27'	35.36'	S46°32'19"E
C-33	1662.12'	7°05'15"	205.60'	205.47'	N05°13'37"W
C-77	1612.12'	1°25'58"	40.31'	40.31'	S02°23'59"E
C-78	1612.12'	1°26'06"	40.38'	40.38'	S03°50'01"E
C-79	1612.12'	1°26'06"	40.38'	40.38'	S05°16'07"E
C-80	1612.12'	1°26'06"	40.38'	40.38'	S06°42'13"E
C-81	1612.12'	1°16'04"	35.67'	35.67'	S08°03'18"E
C-82	525.00'	4°37'36"	42.39'	42.38'	N76°34'25"E
C-83	525.00'	1°13'25"	11.21'	11.21'	N79°29'55"E
C-84	1662.12'	0°50'24"	24.37'	24.37'	N02°06'12"W
C-85	1662.12'	1°16'41"	37.07'	37.07'	N03°09'44"W
C-86	1662.12'	1°17'26"	37.44'	37.44'	N04°26'48"W
C-87	1662.12'	1°17'26"	37.44'	37.44'	N05°44'13"W
C-88	1662.12'	1°17'26"	37.44'	37.44'	N07°01'39"W
C-89	1662.12'	1°05'53"	31.85'	31.85'	N08°13'19"W
C-139	1502.12'	1°25'58"	37.56'	37.56'	N02°23'59"W
C-140	1502.12'	1°26'06"	37.62'	37.62'	N03°50'01"W
C-141	1502.12'	1°26'06"	37.62'	37.62'	N05°16'07"W
C-142	1502.12'	1°26'06"	37.62'	37.62'	N06°42'13"W
C-143	1502.12'	1°53'34"	49.62'	49.62'	N08°22'04"W
C-144	1772.12'	0°47'16"	24.37'	24.37'	S02°04'38"E
C-145	1772.12'	1°19'49"	41.14'	41.14'	S03°08'10"E
C-146	1772.12'	1°17'26"	39.91'	39.91'	S04°26'48"E
C-147	1772.12'	1°17'26"	39.91'	39.91'	S05°44'13"E
C-148	1772.12'	1°17'26"	39.91'	39.91'	S07°01'39"E
C-149	1772.12'	1°33'51"	48.38'	48.38'	S08°27'18"E
C-168	725.00'	32°46'55"	414.81'	409.18'	N18°48'25"W
C-170	725.00'	2°46'23"	35.09'	35.08'	N13°52'41"W
C-171	725.00'	2°46'01"	35.01'	35.01'	N11°06'30"W
C-172	725.00'	7°18'32"	92.48'	92.42'	N06°04'13"W
C-174	1502.12'	7°37'51"	200.06'	199.91'	N05°29'55"W
C-177	1772.12'	7°33'14"	233.63'	233.46'	N05°27'37"W
C-184	100.00'	29°13'17"	51.00'	50.45'	N76°55'40"W
C-185	100.00'	29°13'17"	51.00'	50.45'	S76°55'40"E
C-186	25.00'	90°00'08"	39.27'	35.36'	S46°32'15"E
C-187	25.00'	89°59'52"	39.27'	35.35'	S43°27'45"W
C-188	25.00'	90°00'08"	39.27'	35.36'	S46°32'15"E
C-189	50.00'	89°59'52"	78.54'	70.71'	S43°27'45"W
C-190	50.00'	36°03'48"	31.47'	30.95'	S73°30'25"E
C-191	135.00'	25°52'11"	60.95'	60.44'	N78°36'13"W
C-192	135.00'	10°11'36"	24.02'	23.99'	N60°34'19"W
C-193	100.00'	16°06'19"	28.11'	28.02'	N70°22'11"W

PEC SURVEYING AND MAPPING, LLC
CERTIFICATE OF AUTHORIZATION NUMBER LB 7808
2100 Alafaya Trail, Suite 203 • Oviedo, Florida 32765 • 407-542-4967

Instrument # 2020191184 04
BOOK: 61 PAGE: 178

MAP BOOK: 61 PAGE: 178

LINCOLN OAKS

LYING IN SECTION 5, TOWNSHIP 17 SOUTH, RANGE 30 EAST
CITY OF DELAND, VOLUSIA COUNTY, FLORIDA

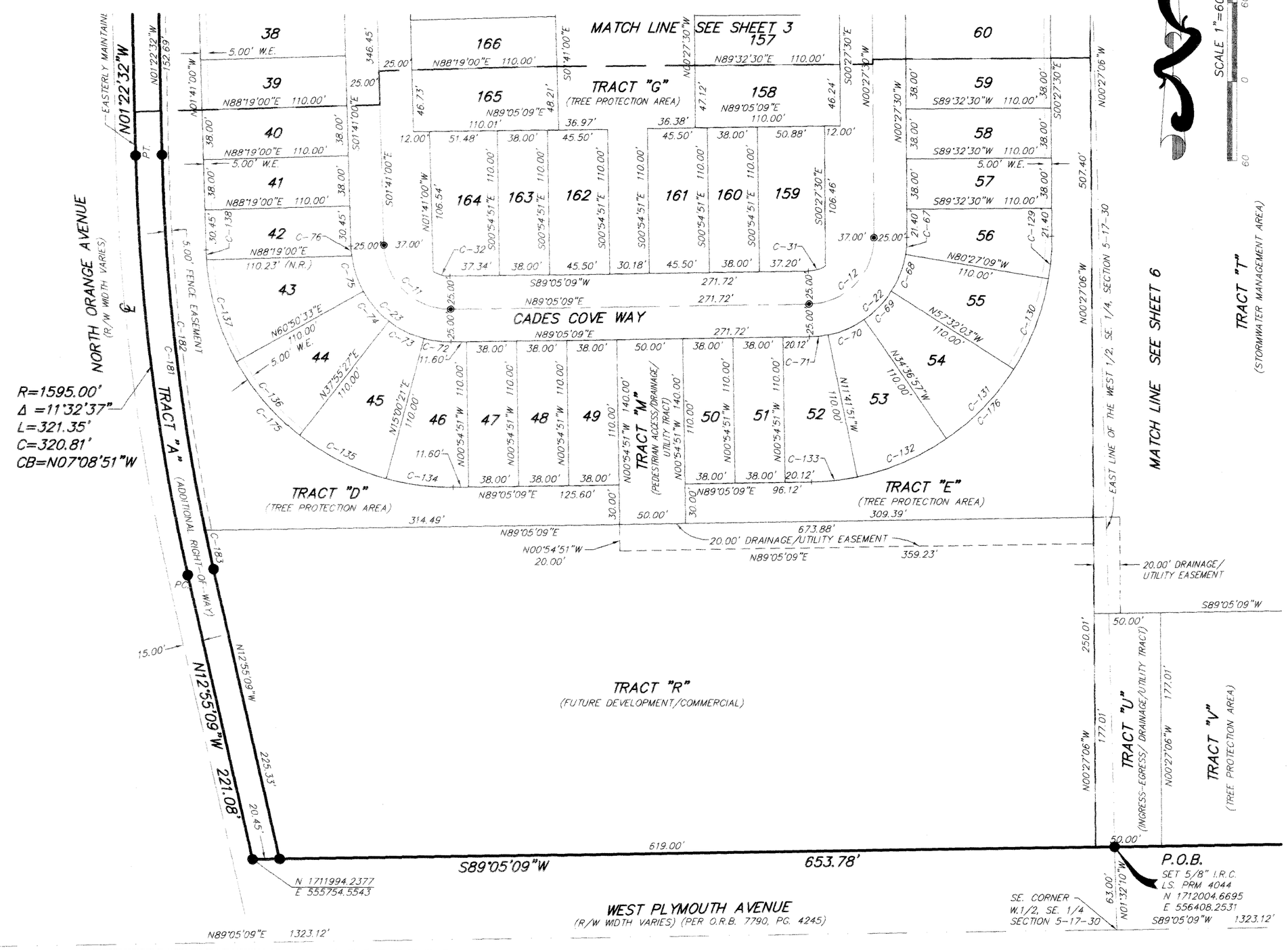

CURVE TABLE					
CURVE	RADIUS	DELTA	LENGTH	CHORD	CH. BEARING
C-11	50.00'	89°13'51"	77.87'	70.23'	S46°17'56"E
C-12	50.00'	89°32'39"	78.14'	70.43'	N44°18'49"E
C-22	75.00'	89°32'39"	117.21'	105.64'	N44°18'49"E
C-23	75.00'	89°13'51"	116.80'	105.35	S46°17'56"E
C-31	25.00'	30°52'35"	13.47'	13.31'	S73°38'51"W
C-32	25.00'	30°33'48"	13.34'	13.18'	N75°37'58"W
C-67	75.00'	10°00'21"	13.10'	13.08'	N04°32'41"E
C-68	75.00'	22°55'06"	30.00'	29.80'	N21°00'24"E
C-69	75.00'	22°55'06"	30.00'	29.80'	N43°55'30"E
C-70	75.00'	22°55'06"	30.00'	29.80'	N66°50'36"E
C-71	75.00'	10°47'00"	14.12'	14.09'	N83°41'39"E
C-72	75.00'	15°55'12"	20.84'	20.77'	S82°57'15"E
C-73	75.00'	22°55'06"	30.00'	29.80'	S63°32'06"E
C-74	75.00'	22°55'06"	30.00'	29.80'	S40°37'00"E
C-75	75.00'	21°41'37"	28.40'	28.23'	S18°18'39"E
C-76	75.00'	5°46'51"	7.57'	7.56'	S04°34'25"E
C-129	185.00'	10°00'21"	32.31'	32.27'	S04°32'41"W
C-130	185.00'	22°55'06"	74.00'	73.51'	S21°00'24"W
C-131	185.00'	22°55'06"	74.00'	73.51'	S43°55'30"W
C-132	185.00'	22°55'06"	74.00'	73.51'	S66°50'36"W
C-133	185.00'	10°47'00"	34.82'	34.77'	S83°41'39"W
C-134	185.00'	15°55'12"	51.40'	51.24'	N82°57'15"W
C-135	185.00'	22°55'06"	74.00'	73.51	N63°32'06"W
C-136	185.00'	22°55'06"	74.00'	73.51'	N40°37'00"W
C-137	185.00'	25°08'03"	81.15'	80.51'	N16°35'26"W
C-138	185.00'	2°20'25"	7.56'	7.56'	N02°51'12"W
C-175	185.00'	89°13'51"	288.11'	259.87'	S46°17'56"E
C-176	185.00'	89°32'39"	289.13'	260.59'	N44°18'49"E
C-181	1575.00'	11°32'37"	317.32'	316.79'	S07°08'51"E
C-182	1575.00'	10°26'42"	287.12'	286.72'	S06°35'53"E
C-183	1575.00'	1°05'55"	30.20'	30.20'	S12°22'12"E

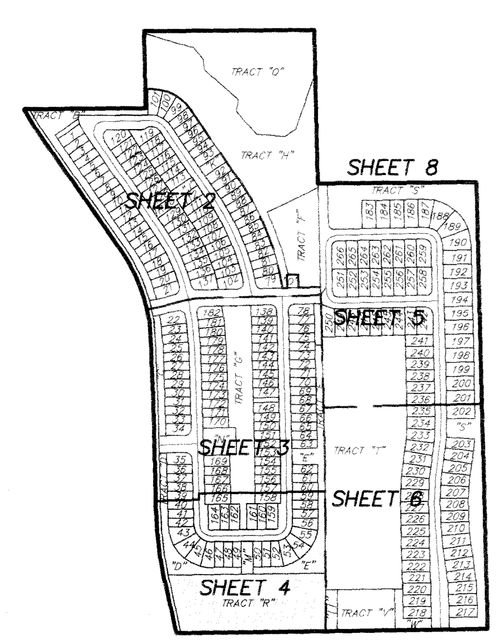

KEY SHEET
NOT TO SCALE

SURVEYOR'S NOTES:

(1) BEARINGS SHOWN HEREON ARE ASSUMED RELATIVE TO THE SOUTH LINE OF THE SOUTHEAST QUARTER OF SECTION 5, TOWNSHIP 17 SOUTH, RANGE 30 EAST, BEING SOUTH 89°05'09" WEST.

(2) —●— DENOTES A PERMANENT REFERENCE MONUMENT (P.R.M.) A SET 4" X 4" CONCRETE MONUMENT WITH A DISK STAMPED LS. # 4044.

(3) —⊕— DENOTES A PERMANENT CONTROL POINT (P.C.P.) A SET NAIL AND DISK STAMPED LS. # 4044.

(4) ALL PLATTED UTILITY EASEMENTS SHALL PROVIDE THAT SUCH EASEMENTS SHALL ALSO BE EASEMENTS FOR THE CONSTRUCTION, INSTALLATION, MAINTENANCE, AND OPERATION OF CABLE TELEVISION SERVICES; PROVIDED, HOWEVER, NO SUCH CONSTRUCTION, INSTALLATION, MAINTENANCE, AND OPERATION OF CABLE TELEVISION SERVICES SHALL INTERFERE WITH THE FACILITIES AND SERVICES OF AN ELECTRIC, TELEPHONE, GAS, OR OTHER PUBLIC UTILITY. IN THE EVENT A CABLE TELEVISION COMPANY DAMAGES THE FACILITIES OF A PUBLIC UTILITY, IT SHALL BE SOLELY RESPONSIBLE FOR DAMAGES. THIS SECTION SHALL NOT APPLY TO THOSE PRIVATE EASEMENTS GRANTED TO OR OBTAINED BY A PARTICULAR ELECTRIC, TELEPHONE, GAS, OR OTHER PUBLIC UTILITY. SUCH CONSTRUCTION, INSTALLATION, MAINTENANCE, AND OPERATION SHALL COMPLY WITH THE NATIONAL ELECTRICAL SAFETY CODE AS ADOPTED BY THE FLORIDA PUBLIC SERVICE COMMISSION.

(5) COORDINATES VALUES SHOWN HEREON, ARE BASED ON THE FLORIDA STATE PLANE COORDINATE SYSTEM (EAST ZONE) NAD 1983 DATUM.

(6) ALL MEASUREMENTS REFER TO HORIZONTAL PLANE AND IN ACCORDANCE WITH THE DEFINITION OF THE U.S. SURVEY FOOT OR METER ADOPTED BY THE NATIONAL INSTITUTE OF STANDARDS AND TECHNOLOGY. ALL MEASUREMENTS SHALL USE THE 39.37/12 = 3.280833333333 EQUATION FOR CONVERSION FROM U.S. FOOT TO METERS.

(7) TRACT "A", (ADDITIONAL RIGHT-OF-WAY), SHALL BE OWNED AND MAINTAINED BY VOLUSIA COUNTY.

(8) TRACTS "B", "C", "D", "E", "F", "G", "S" AND "V", (TREE PROTECTION AREAS), SHALL BE OWNED AND MAINTAINED BY THE LINCOLN OAKS HOMEOWNERS ASSOCIATION, INC. TRACT "F", HAS A DRAINAGE EASEMENT OVER THE ENTIRE TRACT.

(9) TRACT "H", (OPEN SPACE), SHALL BE OWNED AND MAINTAINED BY THE LINCOLN OAKS HOMEOWNERS ASSOCIATION, INC.

(10) TRACT "I", (OPEN SPACE/UTILITY EASEMENT), TRACT "P", (DRAINAGE/UTILITY TRACT), TRACT "M", (PEDESTRIAN ACCESS/ DRAINAGE/UTILITY TRACT), AND TRACT "U", (INGRESS/EGRESS/DRAINAGE/UTILITY TRACT), SHALL BE OWNED AND MAINTAINED BY THE LINCOLN OAKS HOMEOWNERS ASSOCIATION, INC. WITH A DRAINAGE AND UTILITY EASEMENT DEDICATED TO THE CITY OF DELAND.

(11) TRACT "J", (OPEN SPACE/PEDESTRIAN ACCESS/AND DRAINAGE EASEMENT), TRACT "N", (RECREATIONAL TRACT), AND TRACT "W", (OPEN SPACE), SHALL BE OWNED AND MAINTAINED BY THE LINCOLN OAKS HOMEOWNERS ASSOCIATION, INC.

(12) TRACTS "K", AND "L", (OPEN SPACE/PEDESTRIAN ACCESS), SHALL BE OWNED AND MAINTAINED BY THE LINCOLN OAKS HOMEOWNERS ASSOCIATION, INC.

(13) TRACT "O", (WETLAND TRACT), AND BUFFER AREA SHOWN HEREON, SHALL BE OWNED AND MAINTAINED BY THE LINCOLN OAKS HOMEOWNERS ASSOCIATION, INC.

(14) TRACT "R", (FUTURE DEVELOPMENT/COMMERCIAL), SHALL BE RETAINED BY THE VOLUSIA OAKS, LLC, A FLORIDA LIMITED LIABILITY COMPANY, ITS SUCCESSORS AND/OR ASSIGNS, FOR FUTURE DEVELOPMENT.

(15) TRACT "T", (STORMWATER MANAGEMENT AREA), SHALL BE OWNED AND MAINTAINED BY LINCOLN OAKS HOMEOWNERS ASSOCIATION, INC. WITH A DRAINAGE/UTILITY EASEMENT DEDICATED TO THE CITY OF DELAND.

(16) WALL EASEMENT SHOWN HEREON, SHALL BE MAINTAINED BY THE LINCOLN OAKS HOMEOWNERS ASSOCIATION, INC.

(17) THERE IS A 10.00 FOOT WIDE UTILITY EASEMENT ALONG ALL FRONT LOT LINES AND TRACTS, ADJACENT TO ALL INTERIOR RIGHTS-OF-WAYS.

(18) THE LANDS DESCRIBED HEREIN, EXCEPT FOR TRACT R (FUTURE DEVELOPMENT/ COMMERCIAL), ARE SUBJECT TO THAT CERTAIN DECLARATION OF COVENANTS, CONDITIONS, EASEMENT AND RESTRICTIONS FOR LINCOLN OAKS RECORDED IN OFFICIAL RECORDS BOOK 7920 PAGE 1812, PUBLIC RECORDS OF VOLUSIA COUNTY, FLORIDA.

(19) THE 5.00' WIDE FENCE EASEMENT AND THE 5.00' WIDE FENCE/WALL EASEMENT SHOWN HEREON, SHALL BE MAINTAINED BY THE LINCOLN OAKS HOMEOWNERS ASSOCIATION, INC.

(20) THIS PLAT IS CREATING 266 LOTS.

(21) TRACTS "F", "J", AND "T" ARE HEREBY SUBJECT TO AN EMERGENCY DRAINAGE AND ACCESS EASEMENT IN FAVOR OF THE CITY OF DELAND.

(22) TRACTS "B", "C", "D", "E", "F", "G", "S" AND "V", (TREE PROTECTION AREAS), ARE HEREBY SUBJECT TO A TREE PROTECTION, ACCESS, AND INSPECTION EASEMENT IN FAVOR OF THE CITY OF DELAND. ALL LANDSCAPING WITHIN THE ABOVE TRACTS WILL BE IN STRICT COMPLIANCE WITH THE CITY OF DELAND'S REGULATIONS FOR CLASS "B" LANDSCAPE BUFFERS, AS STATED IN THE CODE OF ORDINANCES SECTION 33-92.

(23) THE LANDS SHOWN HEREON ARE SUBJECT TO THE FOLLOWING: 1) AN ACCESS EASEMENT AND COST SHARING AGREEMENT RECORDED IN OFFICIAL RECORDS BOOK 7790 PAGE 3422. 2) A DRAINAGE FACILITY AND ACCESS AGREEMENT RECORDED IN OFFICIAL RECORDS BOOK 7790 PAGE 4249. 3) A DRAINAGE FACILITY AND ACCESS AGREEMENT RECORDED IN OFFICIAL RECORDS BOOK 7799 PAGE 4934.

(24) VEHICULAR ACCESS TO N. ORANGE AVENUE OR PLYMOUTH ROAD IS PROHIBITED THROUGH TRACTS B, C, D, E AND S AND A 1 FOOT NON-VEHICULAR EASEMENT IN FAVOR OF THE CITY OF DELAND IS PROVIDED WITHIN TRACTS B, C, D, E AND S LYING ADJACENT TO THE LOTS LYING ADJACENT TO TRACTS B, C, D, E AND S.

PEC SURVEYING AND MAPPING, LLC
CERTIFICATE OF AUTHORIZATION NUMBER LB 7808
2100 Alafaya Trail, Suite 203 • Oviedo, Florida 32765 • 407-542-4967

Instrument # 2020191104 #5
BOOK: 61 PAGE: 179

MAP BOOK: 61 PAGE: 179

LINCOLN OAKS

LYING IN SECTION 5, TOWNSHIP 17 SOUTH, RANGE 30 EAST
CITY OF DELAND, VOLUSIA COUNTY, FLORIDA

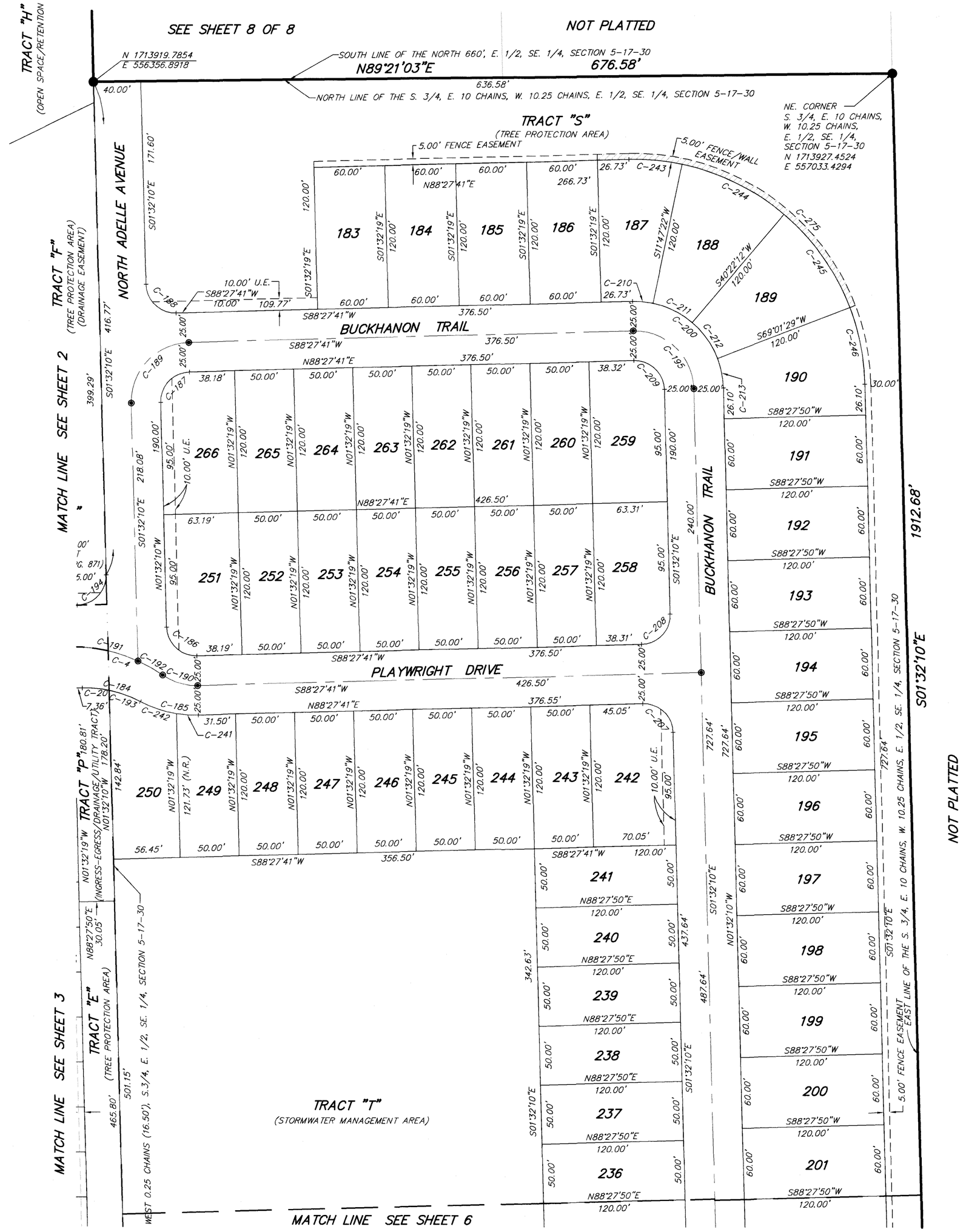

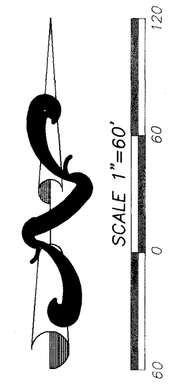

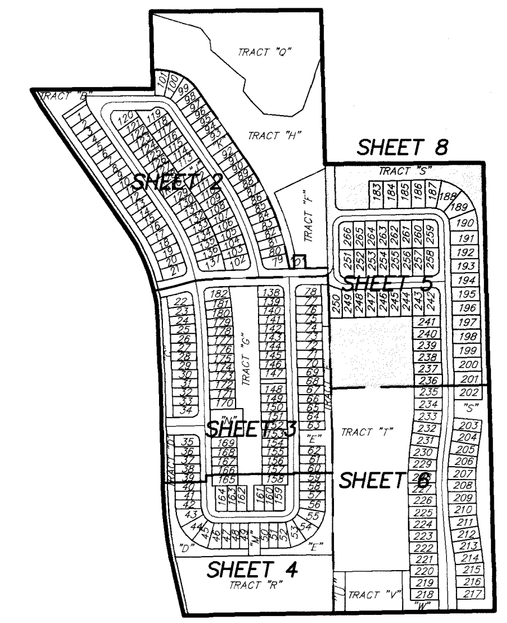

KEY SHEET
NOT TO SCALE

CURVE TABLE					
CURVE	RADIUS	DELTA	LENGTH	CHORD	CH. BEARING
C-184	100.00'	29°13'17"	51.00'	50.45'	N76°55'40"W
C-185	100.00'	29°13'17"	51.00'	50.45'	S76°55'40"E
C-186	25.00'	90°00'08"	39.27'	35.36'	S46°32'15"E
C-187	25.00'	89°59'52"	39.27'	35.35'	S43°27'45"W
C-188	25.00'	90°00'08"	39.27'	35.36'	S46°32'15"E
C-189	50.00'	89°59'52"	78.54'	70.71'	S43°27'45"W
C-190	50.00'	36°03'48"	31.47'	30.95'	S73°30'25"E
C-191	135.00'	25°52'11"	60.95'	60.44'	N78°36'13"W
C-192	135.00'	10°11'36"	24.02'	23.99'	N60°34'19"W
C-193	100.00'	16°06'19"	28.11'	28.02'	N70°22'11"W
C-195	50.00'	90°00'08"	78.54'	70.71'	N46°32'15"W
C-200	75.00'	90°00'08"	117.81'	106.07'	N46°32'15"W
C-207	25.00'	90°00'08"	39.27'	35.36'	S46°32'15"E
C-208	25.00'	89°59'52"	39.27'	35.35'	S43°27'45"W
C-209	25.00'	90°00'08"	39.27'	35.36'	S46°32'15"E
C-210	75.00'	13°19'40"	17.45'	17.41'	N84°52'29"W
C-211	75.00'	28°34'51"	37.41'	37.03'	N63°55'13"W
C-212	75.00'	28°39'17"	37.51'	37.12'	N35°18'09"W
C-213	75.00'	19°26'21"	25.45'	25.32'	N11°15'21"W
C-241	100.00'	10°39'40"	18.61'	18.58'	S86°12'29"E
C-242	100.00'	18°33'37"	32.39'	32.25'	S71°35'50"E
C-243	195.00'	13°19'40"	45.36'	45.26'	S84°52'29"E
C-244	195.00'	28°34'51"	97.27'	96.27'	S63°55'13"E
C-245	195.00'	28°39'17"	97.52'	96.51'	S35°18'09"E
C-246	195.00'	19°26'21"	66.16'	65.84'	S11°15'21"E
C-275	195.00'	90°00'08"	306.31'	275.78'	N46°32'15"W

PEC SURVEYING AND MAPPING, LLC
CERTIFICATE OF AUTHORIZATION NUMBER LB 7808
2100 Alafaya Trail, Suite 203 • Oviedo, Florida 32765 • 407-542-4967

Instrument # 2020191184 B6
BOOK: 61 PAGE: 180

MAP BOOK: 61 PAGE: 180

LINCOLN OAKS

LYING IN SECTION 5, TOWNSHIP 17 SOUTH, RANGE 30 EAST
CITY OF DELAND, VOLUSIA COUNTY, FLORIDA

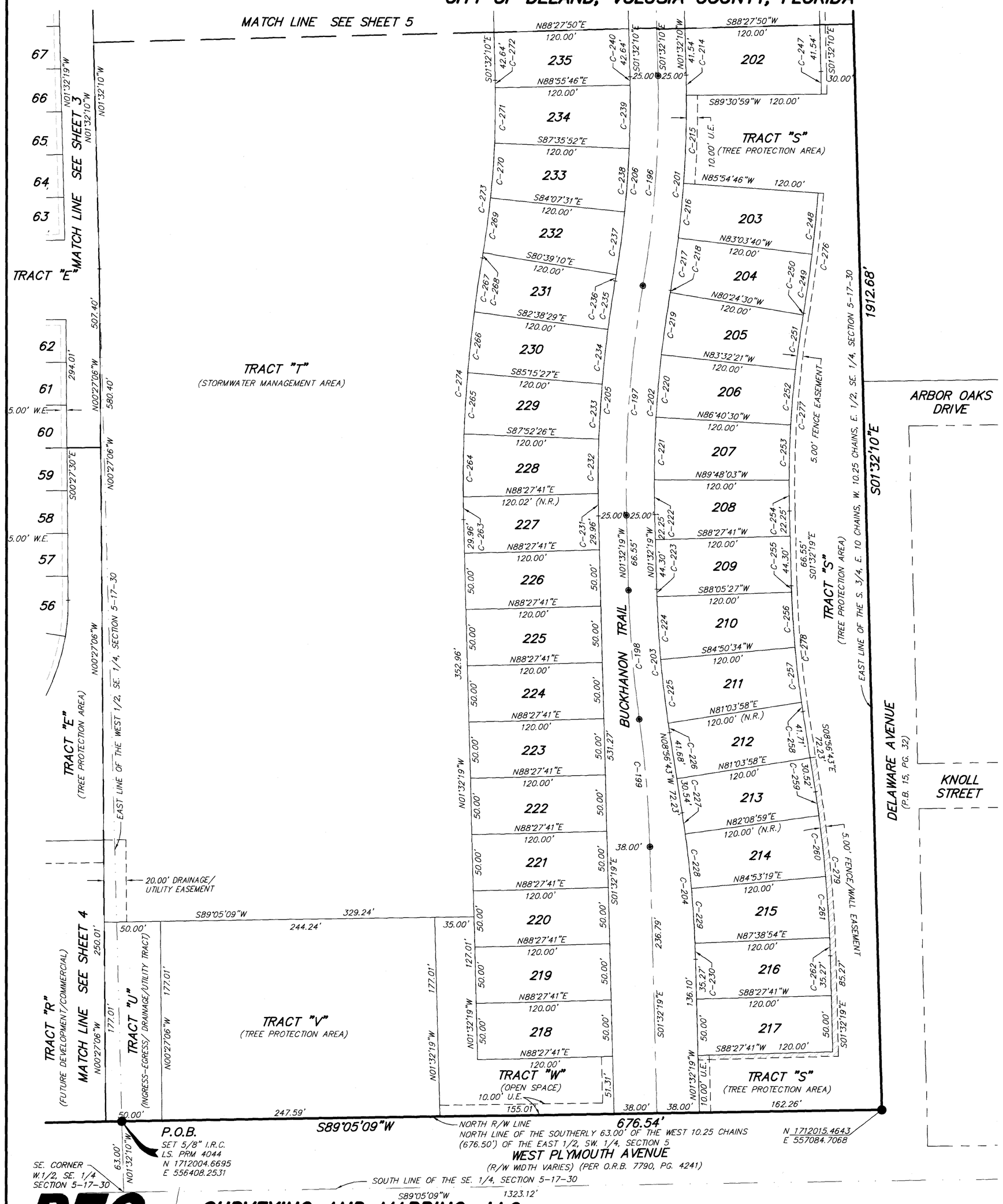

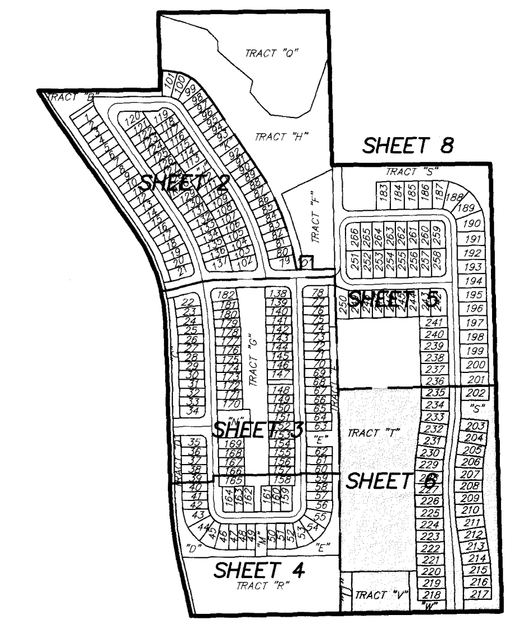

KEY SHEET
NOT TO SCALE

CURVE TABLE					
CURVE	RADIUS	DELTA	LENGTH	CHORD	CH. BEARING
C-196	955.00'	11°13'38"	187.13'	186.83'	N04°04'38"E
C-197	1045.00'	11°13'46"	204.81'	204.48'	S04°04'34"W
C-198	1012.00'	6°31'00"	115.10'	115.04'	S04°47'49"E
C-199	1000.00'	6°31'00"	113.74'	113.68'	N04°47'49"W
C-201	980.00'	11°13'38"	192.03'	191.73'	N04°04'38"E
C-202	1020.00'	11°13'46"	199.91'	199.59'	S04°04'34"W
C-203	987.00'	7°24'25"	127.59'	127.51'	S05°14'31"E
C-204	1013.00'	7°24'25"	130.96'	130.86'	N05°14'31"W
C-205	1070.00'	11°13'46"	209.71'	209.37'	S04°04'34"W
C-206	930.00'	11°13'38"	182.23'	181.94'	N04°04'38"E
C-214	980.00'	1°03'09"	18.00'	18.00'	N01°00'36"W
C-215	980.00'	4°34'15"	78.18'	78.16'	N01°48'06"E
C-216	980.00'	2°51'06"	48.78'	48.77'	N05°30'47"E
C-217	980.00'	2°45'08"	47.07'	47.07'	N08°18'54"E
C-218	1020.00'	0°05'57"	1.77'	1.77'	N09°38'29"E
C-219	1020.00'	3°07'51"	55.74'	55.73'	N08°01'35"E
C-220	1020.00'	3°08'09"	55.83'	55.82'	N04°53'35"E
C-221	1020.00'	3°07'34"	55.65'	55.64'	N01°45'43"E
C-222	1020.00'	1°44'15"	30.93'	30.93'	N00°40'11"W
C-223	987.00'	0°22'14"	6.38'	6.38'	N01°43'26"W
C-224	987.00'	3°14'53"	55.95'	55.94'	N03°31'59"W
C-225	987.00'	3°18'20"	56.94'	56.93'	N06°48'36"W
C-226	987.00'	0°28'58"	8.32'	8.32'	N08°42'15"W
C-227	1013.00'	1°04'26"	18.99'	18.99'	N08°24'30"W
C-228	1013.00'	2°45'36"	48.80'	48.79'	N06°29'29"W
C-229	1013.00'	2°45'36"	48.80'	48.79'	N03°43'54"W
C-230	1013.00'	0°48'42"	14.38'	14.38'	N01°56'42"W
C-231	1070.00'	1°04'23"	20.04'	20.04'	S01°00'07"E
C-232	1070.00'	2°35'30"	48.40'	48.40'	S00°49'49"W
C-233	1070.00'	2°36'58"	48.86'	48.85'	S03°26'03"W
C-234	1070.00'	2°36'58"	48.86'	48.85'	S06°03'02"W
C-235	1070.00'	2°19'56"	43.56'	43.55'	S08°31'29"W
C-236	930.00'	0°20'38"	5.58'	5.58'	S09°31'09"W
C-237	930.00'	3°28'21"	56.36'	56.36'	S07°36'39"W
C-238	930.00'	3°28'21"	56.36'	56.36'	S04°08'18"W
C-239	930.00'	3°28'21"	56.37'	56.36'	S00°39'57"W
C-240	930.00'	0°27'57"	7.56'	7.56'	S01°18'12"E
C-247	1100.00'	1°03'09"	20.21'	20.21'	S01°00'36"E
C-248	1100.00'	2°51'06"	54.75'	54.74'	S05°30'47"W
C-249	1100.00'	2°45'08"	52.84'	52.83'	S08°18'54"W
C-250	900.00'	0°05'57"	1.56'	1.56'	S09°38'29"W
C-251	900.00'	3°07'51"	49.18'	49.17'	S08°01'35"W
C-252	900.00'	3°08'09"	49.26'	49.25'	S04°53'35"W
C-253	900.00'	3°07'34"	49.10'	49.10'	S01°45'43"W
C-254	900.00'	1°44'15"	27.29'	27.29'	S00°40'11"E
C-255	867.00'	0°22'14"	5.61'	5.61'	S01°43'26"E
C-256	867.00'	3°14'53"	49.15'	49.14'	S03°31'59"E
C-257	867.00'	3°14'25"	49.03'	49.03'	S06°46'38"E
C-258	867.00'	0°32'53"	8.29'	8.29'	S08°40'17"E
C-259	1133.00'	1°04'34"	21.28'	21.28'	S08°24'26"E
C-260	1133.00'	2°45'28"	54.53'	54.53'	S06°29'25"E
C-261	1133.00'	2°45'36"	54.58'	54.57'	S03°43'54"E
C-262	1133.00'	0°48'47"	16.08'	16.08'	S01°56'42"E
C-263	1190.00'	0°57'53"	20.04'	20.04'	N01°03'22"W
C-264	1190.00'	2°42'00"	56.08'	56.07'	N00°46'34"E
C-265	1190.00'	2°36'58"	54.34'	54.33'	N03°26'03"E
C-266	1190.00'	2°36'58"	54.34'	54.33'	N06°03'02"E
C-267	1190.00'	2°19'56"	48.44'	48.44'	N08°31'29"E
C-268	810.00'	0°20'38"	4.86'	4.86'	N09°31'09"E
C-269	810.00'	3°28'21"	49.09'	49.08'	N07°36'39"E
C-270	810.00'	3°28'21"	49.09'	49.08'	N04°08'18"E
C-271	810.00'	3°28'21"	49.09'	49.08'	N00°39'57"E
C-272	810.00'	0°27'57"	6.58'	6.58'	N01°18'12"W
C-273	810.00'	11°13'38"	158.72'	158.42'	N04°04'38"E
C-274	1190.00'	11°13'46"	233.23'	232.86'	S04°04'34"W
C-276	1100.00'	5°36'14"	107.59'	107.54'	N06°53'20"E
C-277	900.00'	11°13'46"	176.39'	176.11'	S04°04'34"W
C-278	867.00'	7°24'25"	112.08'	112.00'	S05°14'31"E
C-279	1133.00'	7°24'25"	146.47'	146.37'	N05°14'31"W

PEC SURVEYING AND MAPPING, LLC
CERTIFICATE OF AUTHORIZATION NUMBER LB 7808
2100 Alafaya Trail, Suite 203 • Oviedo, Florida 32765 • 407-542-4967

Instrument # 2020191186 #7
BOOK: 61 PAGE: 181

MAP BOOK: 61 PAGE: 181

LINCOLN OAKS

LYING IN SECTION 5, TOWNSHIP 17 SOUTH, RANGE 30 EAST
CITY OF DELAND, VOLUSIA COUNTY, FLORIDA

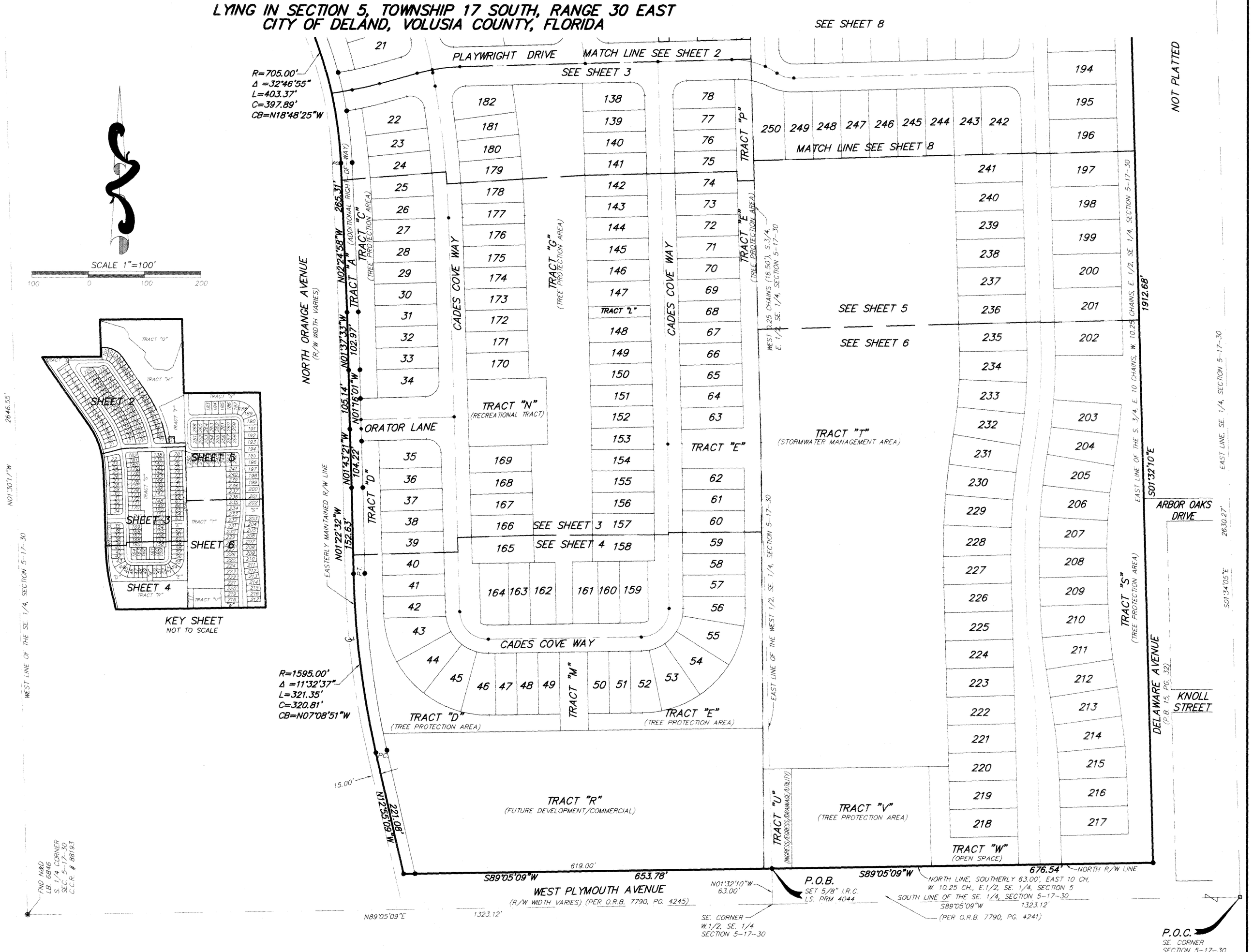

PEC SURVEYING AND MAPPING, LLC

CERTIFICATE OF AUTHORIZATION NUMBER LB 7808

2100 Alafaya Trail, Suite 203 • Oviedo, Florida 32765 • 407-542-4967

MAP BOOK: 61 PAGE: 182

LINCOLN OAKS

LYING IN SECTION 5, TOWNSHIP 17 SOUTH, RANGE 30 EAST
CITY OF DELAND, VOLUSIA COUNTY, FLORIDA

Instrument # 2020191184 #8
BOOK: 61 PAGE: 182
Laura E. Roth
Volusia County, Clerk of Court

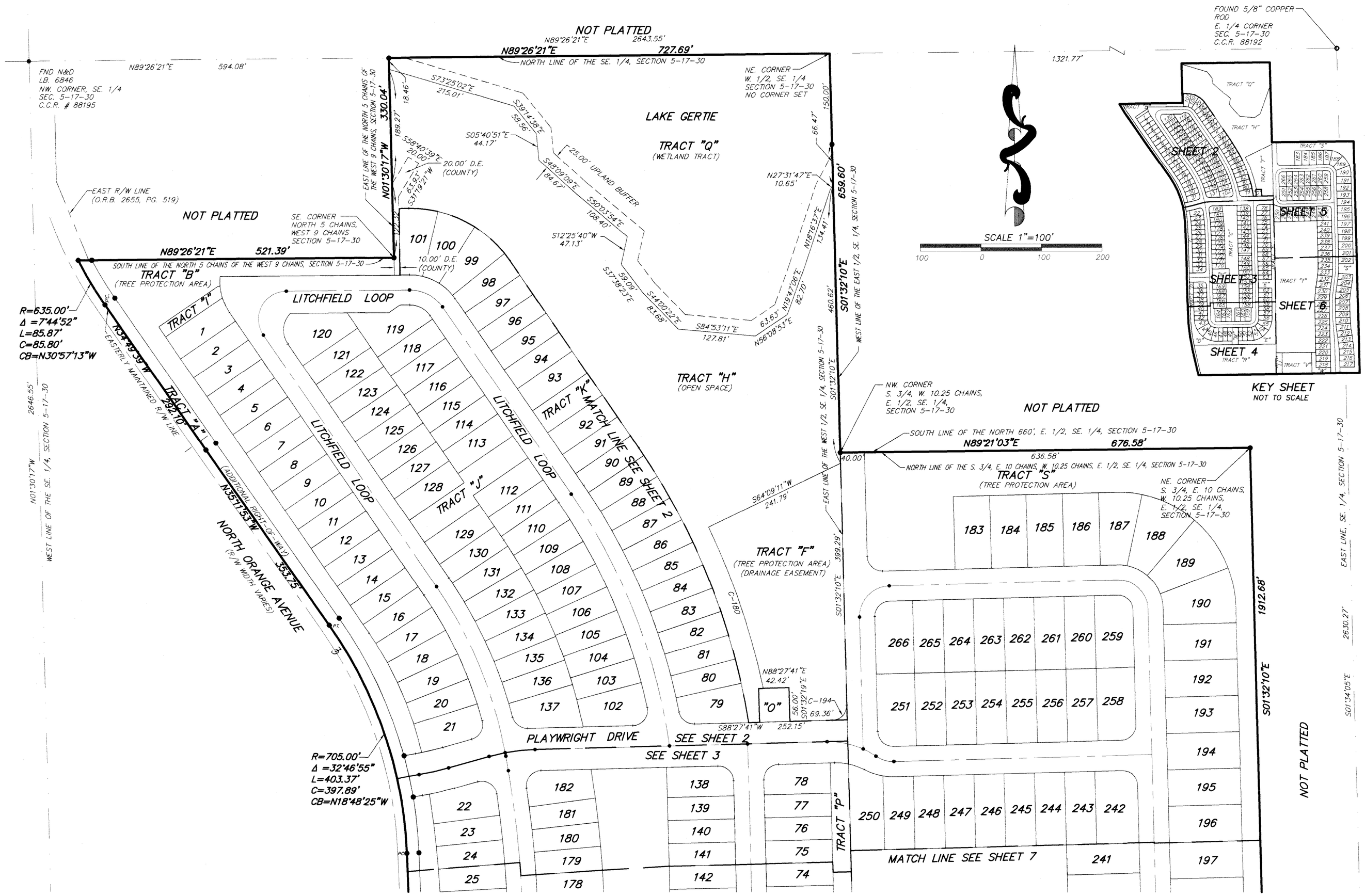

CURVE TABLE					
CURVE	RADIUS	DELTA	LENGTH	CHORD	CH. BEARING
C-194	25.00'	89°59'52"	39.27'	35.35'	N43°27'45"E

PEC SURVEYING AND MAPPING, LLC
CERTIFICATE OF AUTHORIZATION NUMBER LB 7808
2100 Alafaya Trail, Suite 203 • Oviedo, Florida 32765 • 407-542-4967