THE GLEN AT WEST HAVEN

A PARCEL OF LAND LYING IN SECTION 5, TOWNSHIP 26 SOUTH, RANGE 27 EAST, POLK COUNTY, FLORIDA

PLAT BOOK PAGE NO.

DESCRIPTION:

A parcel of land lying within Section 5, Township 26 South, Range 27 East, Polk County, Florida, and being more particularly described as follows:

BEGIN at the Southwest corner of Section 5; thence N.00°13'27"W., along the West line of said Section 5, a distance of 1017.69 feet; thence departing said West line of Section 5, N.89°46'33"E., a distance of 80.00 feet to the point of intersection with the Southeasterly right-of-way of proposed Dunson Road Extension the following six (6) courses; (1) Northeasterly, 321.50 feet along the arc of a non-tangent curve to the right having a radius of 330.00 feet and a central angle of 55°49'11" (chord bearing N.27°41'09"E., 308.93 feet); (2) N.55°35'44"E., a distance of 51.91 feet; (3) Easterly, 39.27 feet along the arc of a tangent curve to the right having a radius of 25.00 feet and a central angle of 90°00'00" (chord bearing S.79°24'16"E., 35.36 feet); (4) N.55°35'44"E., a distance of 100.00 feet; (5) Northerly, 39.25 feet along the arc of a non-tangent curve to the right having a radius of 25.00 feet and a central angle of 89°56'36" (chord bearing N.10°34'02"E., 35.34 feet); (6) Northeasterly, 289.74 feet along the arc of a reverse curve to the left having a radius of 430.00 feet and a central angle of 38°36'23" (chord bearing N.36°14'09"E., 284.29 feet) to a Southwesterly corner of DALES AT WEST HAVEN, as recorded in Plat Book 151, Page 37, of the public records of Polk County, Florida; thence the following three (3) courses along said Southerly line of aforementioned DALES AT WEST HAVEN; (1) Southeasterly, 37.04 feet along the arc of a non-tangent curve to the left having a radius of 25.00 feet and a central angle of 84°52'59" (chord bearing S.25°30'32"E., 33.74 feet); (2) Easterly 115.31 feet along the arc of a compound curve to the left having a radius of 300.00 feet and a central angle of 22°01'24" (chord bearing S.78°57'43"E., 114.60 feet); (3) S.89°58'25"E., a distance of 642.55 feet to the point of intersection with the East Boundary of the West 1/2 of the Southwest 1/4 of Section 5; thence S.00°17'56"E., along said East Boundary of the West 1/2 of the Southwest 1/4 of Section 5, a distance of 1576.24 feet to the point of intersection with the South Boundary of Section 5; thence S.89°44'28"W., along said South Boundary of Section 5, a distance of 1331.97 feet to the **POINT OF BEGINNING**.

Containing 44.706 acres, more or less.

NOTES:

1. Northing and Easting coordinates (indicated in feet) as shown hereon refer to the State Plane Coordinate System, North American Horizontal Datum of 1983 (NAD 83 - 1990 ADJUSTMENT) for the West Zone of Florida, have been established to a minimum of third order accuracy, and are supplemental data only.

2. Lot lines are radial unless otherwise noted as (NR) Non-Radial.

3. Subdivision plats by no means represent a determination on whether properties will or will not flood. Land within the boundaries of this plat may or may not be subject to flooding; the Floodplain Manager for Polk County has information regarding flooding and restrictions on development.

4. Placement of walls, fences, landscaping and other improvements shall not interfere with or impede any utility, drainage or other easements granted hereunder.

   This note shall appear on each affected deed.

5. All platted utility easements shall provide that such easements shall also be easements for the construction, installation, maintenance, and operation of cable television services; provided, however, no such construction, installation, maintenance, and operation of cable television services shall interfere with the facilities and services of an electric, telephone, gas, or other public utility.

6. Benchmarks shown hereon are based on the North American Vertical Datum of 1988 (NAVD 88).

7. The subject parcel lies in Flood Zone "AE" and "X", according to LOMR 19-04-4641P effective August 21, 2019 and issued by the Federal Emergency Management Agency. Lines shown have been digitally translated from DFIRM database information supplied by the FEMA Map Service Center (https://msc.fema.gov).

8. A separate Mortgagee Consent and Joinder to the plat has been executed by the party that, at the time of recording, is the mortgagee of the lands shown hereon and may be found in the public records of this County.

9. Short term rentals are permitted in this subdivision.

10. At the time of recording this plat is affected by the following recorded easements found in the Public Records of Polk County, Florida: (which this reference does not act to reimpose same)

    a. Oil, Gas, Mineral and Metal reservations contained in Deed of Conveyance recorded in Deed Book 725, Page 393; as affected by Conveyance of Mineral Rights, Etc. recorded in Official Records Book 1471, Page 1013, Public Records of Polk County, Florida. (AFFECTS - NON-PLOTTABLE)

    b. Southwest Florida Water Management District Realigning the Boundaries of the Peace River Basin Resolution No.723 recorded in Official Records Book 1833, Page 1383, Public Records of Polk County, Florida. (AFFECTS - NON-PLOTTABLE)

    c. Declaration of Covenants, Conditions and Restrictions for West Haven recorded in Official Records Book 4561, Page 2033; as affected by First Amendment to Declaration of covenants, Conditions and Restrictions for West Haven recorded in Official Records Book 4627, Page 1; Second Amendment to Declaration of Covenants, Conditions and Restrictions for West Haven recorded in Official Records Book 5511, Page 1482; Third Amendment to Declaration of Covenants, Conditions and Restrictions for West Haven recorded in Official Records Book 4973, Page 622; Fourth Amendment to Declaration of Covenants, Conditions and Restrictions for West Haven recorded in Official Records Book 5074, Page 1847; Fifth Amendment to Declaration of Covenants, Conditions and Restrictions for West Haven recorded in Official Records Book 5511, Page 1486; Sixth Amendment to Declaration of Covenants, Conditions and Restrictions for West Haven recorded in Official Records Book 5704, Page 1225; Seventh Amendment to Declaration of Covenants, Conditions and Restrictions for West Haven recorded in Official Records Book 6260, Page 734; Eighth Amendment to Declaration of Covenants, Conditions and Restrictions for West Haven recorded in Official Records Book 6900, Page 1641; Ninth Amendment to Declaration of Covenants, Conditions and Restrictions for West Haven recorded in Official Records Book 7360, Page 1259; Tenth Amendment to Declaration of Covenants, Conditions and Restrictions for West Haven recorded in Official Records Book 7268, Page 1461; Tenth Amendment to Declaration of Covenants, Conditions and Restrictions for West Haven recorded in Official Records Book 7337, Page 388; Corrective Assignment and Assumption of Declarant's Rights recorded in Official Records Book 8985, Page 1317; Eleventh Amendment to Declaration of Covenants, Conditions and Restrictions for West Haven recorded in Official Records Book 8985, Page 1322; Twelfth Amendment to Declaration of Covenants, Conditions and Restrictions for West Haven recorded in Official Records Book 9351, Page 95; Assignment of Declarant's Rights Under the Declaration of Covenants, Conditions and Restrictions for West Haven recorded in Official Records Book 10935, Page 1970; Thirteenth Amendment to Declaration of Covenants, Conditions and Restrictions for West Haven recorded in Official Records Book 10960, Page 184; Fourteenth Amendment to Declaration of Covenants, Conditions and Restrictions for West Haven recorded in Official Records Book 11054, Page 943; Fifteenth Amendment to Declaration of Covenants, Conditions and Restrictions for West Haven recorded in Official Records Book 11598, Page 432, Public Records of Polk County, Florida. (AFFECTS - NON-PLOTTABLE)

    d. Easement in West Haven Development recorded in Official Records Book 7939, Page 208, Public Records of Polk County, Florida. (as to Parcel 2) (AFFECTS - SHOWN HEREON)

    e. Polk County Utilities Easement recorded in Official Records Book 11377, Page 2214, Public Records of Polk County, Florida. (Affects the subject property - shown hereon.

    f. Infrastructure Agreement for Buckingham and Dunson Road Intersection recorded in Official Records Book 11566, Page 162, Public Records of Polk County, Florida .

    g. Recorded Notice of Environmental Resource Permit recorded in Official Records Book 9754, Page 2134, Public Records of Polk County, Florida .

    h. Notice of Commencement recorded July 14, 2021 in Official Records Book 11802, Page 636, Public Records of Polk County, Florida .

11. Upland Buffer distance varies from 15' minimum to 25' average from all potential encroachments.

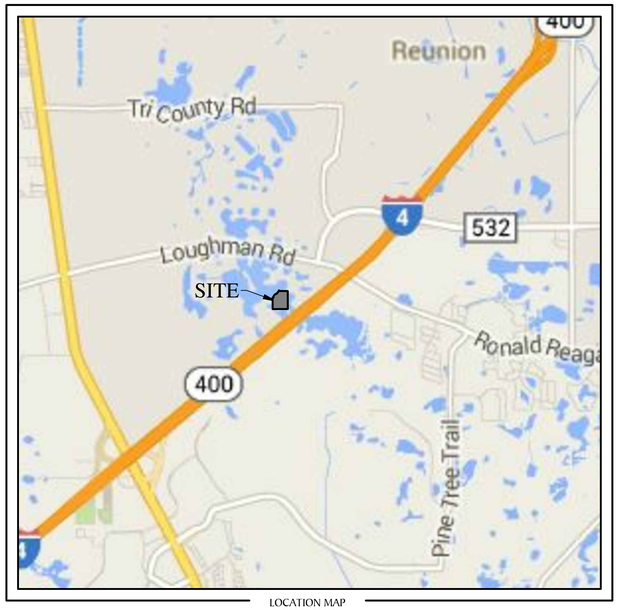

LOCATION MAP
NOT TO SCALE
POLK COUNTY, FLORIDA
SECTION 5, TOWNSHIP 26 SOUTH, RANGE 27 EAST

DEDICATION:

The undersigned, as Owner of the land described in the legal description hereon, hereby dedicates this plat of The Glen at West Haven for record, does hereby state and declare the following:

Owner hereby dedicates to the public the following, each as public rights-of-way: Champions Gate West Boulevard, Buckingham Drive, Cressbrook Lane, Lancashire Street, Derwent Drive and Tracts R-1 and R-2.

Tract W-1 (Wetland/Conservation Area), Tracts UB-1, UB-2, UB-3, UB-4 and UB-5 (Upland Buffers), Tract P-1 (Stromwater Pond), Tracts OS-1, OS-2, and OS-5 (Open Space) are not dedicated to the public but are hereby dedicated to the West Haven Homeowners Association, Inc. ("HOA") for the benefit of the owners within the platted land for the purposes stated within the Declaration of Covenants, Conditions, Restrictions and Easements for West Haven as recorded in Official Records Book 4561, Page 2033, of the Public Recods of Polk County, Florida, as amended from time to time ("Declaration"). Said Tracts shall be maintained by the HOA.

The non-exclusive Public Utility Easements (P.U.E.) shown hereon are dedicated to the providers of Public Utilities forever for the purposes of installation, operation, repair and maintenance of Public Utilities.

Owner hereby grants, conveys and deicates to the HOA, its successors and assigns, or legal representatives, a perpetual easement over and across all lands shown hereon as Drainage Easements for the purposes of maintaining, repairing, replacing and accessing the stormwater drainage facilities lying thereon.

An Easement across all Tracts within the land shown hereon for emergency maintenance and repairs to the stormwater drainage facilities is necessary to protect the public improvements together with the right, but not the obligation, to perform emergency maintenance and repairs is hereby dedicated to Polk County, Florida, its successors and assigns.

CW-GLEN, LLC, a Delaware Limited Liability Company - OWNER

_____
JOHN E. CORK
PRESIDENT

_____
Witness,

_____
Witness,

ACKNOWLEDGEMENT: State of Arizona, County of Maricopa

The foregoing instrument was acknowledged before me this___, day of_____, 2021 by John E. Cork as President of CW-GLEN, LLC, a Delaware Limited Liability Company, on behalf of the company. He is personally known to me.

_____
Notary Public, State of Florida at Large

Printed Name of Notary _____

My Commission expires:

Commission Number:

COUNTY COMMISSIONERS CONDITIONAL APPROVAL:
STATE OF FLORIDA
COUNTY OF POLK

This plat is conditionally approved this____day of_____,A.D 2021 in open meeting of the Board of County Commissioners of Polk County, Florida. The plat will not receive final approval, nor can it be recorded until all conditions have been satisfied.

BOARD OF COUNTY COMMISSIONERS ATTEST:

By:_____ _____
Chairperson Clerk

COUNTY COMMISSIONERS APPROVAL:
STATE OF FLORIDA
COUNTY OF POLK

This plat has received final approval this _____ day of _____, A.D 2021 by the Chairperson of the Board of County Commissioners of Polk County, Florida, in accordance with the procedures adopted by the Board of County Commissioners.

BOARD OF COUNTY COMMISSIONERS ATTEST:

By:_____ _____
Chairperson Clerk

APPROVAL: REVIEWED FOR CONFORMITY
STATE OF FLORIDA
COUNTY OF POLK

The undersigned Professional Surveyor and Mapper, under contract to the Board of County Commissioners of Polk County, Florida, has reviewed this plat for conformity to Florida Statutes Chapter 177, Part 1, and found it to be substantially in compliance with the provisions of said Statute.

_____
Gary L. Allen, P.L.S. Date
Florida Registration No. 4756
CivilSurv Group, Inc.
Florida Registration No. LB 7805

CLERK OF THE CIRCUIT COURT:
STATE OF FLORIDA
COUNTY OF POLK

I, Stacy M. Butterfield, Clerk of the Circuit Court of Polk County, Florida do hereby certify that this plat has been approved for recording this day of _____ A.D. 2021.

By:_____
Clerk of the Circuit Court

POLK COUNTY ENGINEER APPROVAL:
STATE OF FLORIDA
COUNTY OF POLK

This plat of The Glen At West Haven is hereby approved by the Polk County Engineer this____day of_____, A.D. 2021.

By:_____
County Engineer

LAND DEVELOPMENT DIVISION APPROVAL:
STATE OF FLORIDA
COUNTY OF POLK

This plat of The Glen At West Haven is hereby approved by the Land Development Division this____day of_____, A.D. 2021.

By:_____
Land Development Division Director

SURVEYOR'S CERTIFICATION

I, the undersigned surveyor, hereby certify that this Platted Subdivision is a correct representation of the land being subdivided; that this plat was prepared under my direction and supervision; that this plat complies with all the requirements of Chapter 177, Part I, Florida Statutes, and the Polk County Land Development Code; that permanent reference monuments (PRMs) were set

on the ____ day of _____, 2021, as shown hereon; and that permanent control points (PCPs) and lot corners have been set or will be set per requirements of Florida Statute or in accordance with conditions of bonding.

By:

_____
Judd D. French, (License No. LS7095)
Florida Professional Surveyor and Mapper

GeoPoint Surveying, Inc. 555 Winderly Pl, Suite 120 Maitland, Florida 32751 Licensed Business Number LB 7768

NOTICE: This plat, as recorded in its graphic form, is the official depiction of the subdivided lands described herein and will in no circumstances be supplanted in authority by any other graphic or digital form of the plat. There may be additional restrictions that are not recorded on this plat that may be found in the Public Records of Polk County.

GeoPoint Surveying, Inc.
555 Winderly Pl, Suite 109
Maitland, Florida 32751
www.geopointsurvey.com
Phone: (321) 270-0440
Fax: (813) 248-2266
Licensed Business No.: LB 7768

THE GLEN AT WEST HAVEN

A PARCEL OF LAND LYING IN SECTION 5, TOWNSHIP 26 SOUTH, RANGE 27 EAST, POLK COUNTY, FLORIDA

PLAT BOOK	PAGE NO.

BOUNDARY AND KEY SHEET

LINE DATA TABLE		
NO.	BEARING	LENGTH
L1	N 55°35'44" E	51.91'
L2	N 55°35'44" E	100.00'

CURVE DATA TABLE					
NO.	RADIUS	DELTA	ARC	CHORD	BEARING
C1	330.00'	55°49'11"	321.50'	308.93'	N 27°41'09" E
C2	25.00'	90°00'00"	39.27'	35.36'	S 79°24'16" E
C3	25.00'	89°56'36"	39.25'	35.34'	N 10°34'02" E
C4	430.00'	38°36'23"	289.74'	284.29'	N 36°14'09" E
C5	25.00'	84°52'59"	37.04'	33.74'	S 25°30'32" E
C6	300.00'	22°01'24"	115.31'	114.60'	S 78°57'43" E

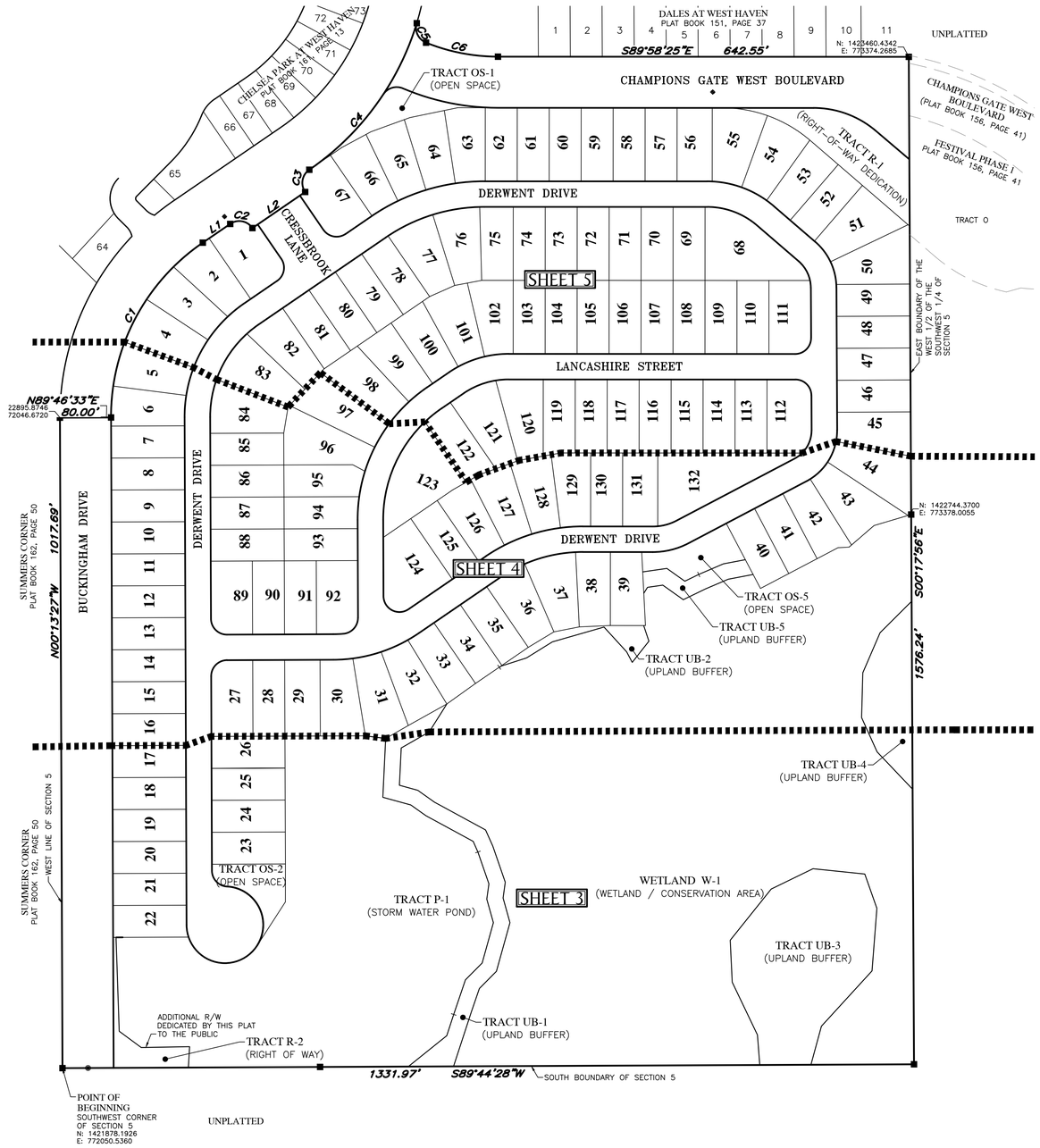

N

200 100 0 100 200

SCALE: 1" = 100'

KEY SHEET

NOTE: REFER TO THE FOLLOWING SHEETS OF THIS PLAT FOR DETAILED LABELING AND DIMENSIONING.

TRACT DESIGNATIONS

WETLAND W-1 – (WETLAND)
TRACT UB-1 – (UPLAND BUFFER)
TRACT UB-2 – (UPLAND BUFFER)
TRACT UB-3 – (UPLAND BUFFER)
TRACT UB-4 – (UPLAND BUFFER)
TRACT UB-5 – (UPLAND BUFFER)
TRACT P-1 – (STORMWATER POND)
TRACT OS-1 – (OPEN SPACE)
TRACT OS-2 – (OPEN SPACE)
TRACT OS-5 – (OPEN SPACE)
TRACT R-1 – (DEDICATED RIGHT OF WAY POLK COUNTY)
TRACT R-2 – (DEDICATED RIGHT OF WAY POLK COUNTY)

PARALLEL OFFSET NOTE: EASEMENTS, BUFFERS AND OTHER SUCH LABELS AND DIMENSIONS OF A PARALLEL NATURE AS SHOWN HEREON AND INDICATED TO THE NEAREST FOOT (eg: 5' UTILITY EASEMENT) ARE ASSUMED TO BE THE SAME DIMENSION EXTENDED TO THE NEAREST HUNDREDTH OF A FOOT WITH NO GREATER OR LESSER VALUE (eg: 5' = 5.00') (eg: 7.5' = 7.50')

FLOOD ZONE NOTE:

THE PLATTED LANDS OF GLEN AT WESTHAVEN SHOWN HEREON, LIES IN FLOOD ZONE "AE" AND "X", ACCORDING TO LOMR 19–04–4641P EFFECTIVE AUGUST 21, 2019 AND ISSUED BY THE FEDERAL EMERGENCY MANAGEMENT AGENCY. LINES SHOWN HAVE BEEN DIGITALLY TRANSLATED FROM DFIRM DATABASE INFORMATION SUPPLIED BY THE FEMA MAP SERVICE CENTER (HTTPS://MSC.FEMA.GOV).

FLOOD HAZARD WARNING:

THIS PROPERTY MAY BE SUBJECT TO FLOODING. EVEN MEETING FEDERAL, STATE, OR LOCAL STANDARDS DOES NOT ENSURE THAT ANY IMPROVEMENTS SUCH AS STRUCTURES, DRIVEWAYS, YARDS, SANITARY SEWAGE SYSTEMS, AND WATER SYSTEMS WILL NOT BE FLOODED IN CERTAIN RAIN EVENTS.

LEGEND:

–o----- indicates Found (P.R.M.) Permanent Reference Monument – 4"x4" Concrete Monument LB7768, unless otherwise noted.
–■----- indicates (P.R.M.) Offset Permanent Reference Monument – 4"x4" Concrete Monument LB7768, unless otherwise noted.
–●----- indicates (P.C.P.) Permanent Control Point LB7768
(NR) ---- indicates non–radial line
P.U.E.--- indicates Public Utility Easement
(R) ---- indicates radial line
P.B. ---- Plat Book
Pg. ---- Page

NOTICE:

THIS PLAT, AS RECORDED IN ITS GRAPHIC FORM, IS THE OFFICIAL DEPICTION OF THE SUBDIVIDED LANDS DESCRIBED HEREIN AND WILL UNDER NO CIRCUMSTANCES BE SUPPLANTED IN AUTHORITY BY ANY OTHER GRAPHIC OR DIGITAL FORM OF THE PLAT.
THERE MAY BE ADDITIONAL RESTRICTIONS THAT ARE NOT RECORDED ON THIS PLAT THAT MAY BE FOUND IN THE PUBLIC RECORDS OF THIS COUNTY.

GeoPoint Surveying, Inc.
555 Winderly Pl, Suite 109
Maitland, Florida 32751
www.geopointsurvey.com
Phone: (321) 270-0440
Fax: (813) 248-2266
Licensed Business No.: LB 7768

THE GLEN AT WEST HAVEN

A PARCEL OF LAND LYING IN SECTION 5, TOWNSHIP 26 SOUTH, RANGE 27 EAST, POLK COUNTY, FLORIDA

PLAT BOOK PAGE NO.

SHEET 3 OF 5 SHEETS

LINE DATA TABLE		
NO.	BEARING	LENGTH
L7	S 04°29'33" E	47.23'
L8	N 18°52'45" E	39.02'
L9	N 44°44'54" E	37.90'
L10	N 15°34'01" W	40.04'
L11	N 07°46'04" E	24.93'
L12	N 19°02'14" W	59.75'
L13	N 23°59'58" W	27.72'
L14	N 54°32'20" W	31.93'
L15	N 74°38'18" W	29.79'
L16	N 02°44'23" E	58.39'
L17	N 60°11'16" E	50.45'
L33	N 43°33'03" W	21.95'

LINE DATA TABLE		
NO.	BEARING	LENGTH
L34	N 43°33'03" W	58.67'
L35	N 24°18'34" W	58.87'
L44	S 18°05'07" W	34.36'
L45	S 18°41'27" W	57.07'
L46	S 44°44'54" W	37.17'
L47	S 15°33'07" W	65.55'
L48	S 15°34'01" E	38.24'
L49	S 07°46'04" W	24.14'
L50	S 19°02'14" E	52.71'
L51	S 23°59'58" E	18.15'
L52	S 54°32'20" E	29.02'
L53	S 74°38'18" E	45.38'

CURVE DATA TABLE					
NO.	RADIUS	DELTA	ARC	CHORD	BEARING
C96	25.00'	86°37'40"	37.80'	34.30'	S 43°32'17" E
C97	60.00'	119°41'27"	125.34'	103.76'	N 27°00'23" W
C98	60.00'	266°40'05"	279.25'	87.28'	N 46°28'56" E
C99	60.00'	128°26'47"	134.51'	108.06'	S 82°56'17" E
C100	60.00'	18°31'51"	19.41'	19.32'	S 09°26'58" E

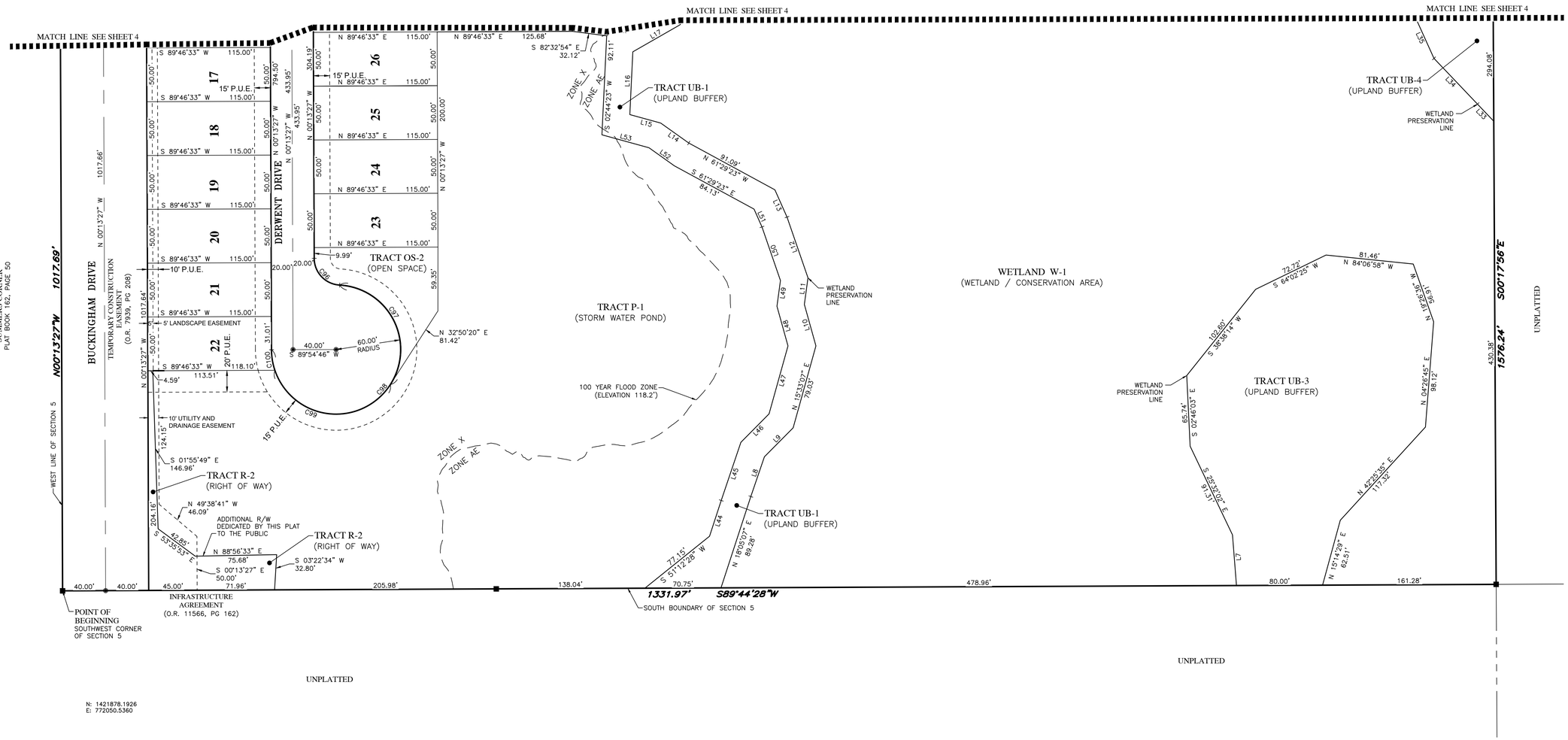

LEGEND:

- indicates (P.R.M.) Permanent Reference Monument – 4"x4" Concrete Monument LB7768, unless otherwise noted.
- indicates (P.R.M.) Offset Permanent Reference Monument – 4"x4" Concrete Monument LB7768, unless otherwise noted.
- indicates (P.C.P.) Permanent Control Point LB7768
- (NR) indicates non-radial line
- P.U.E. indicates Public Utility Easement
- (R) indicates radial line
- O.R. Official Records Book
- P.B. Plat Book
- Pg. Page

PARALLEL OFFSET NOTE: EASEMENTS, BUFFERS AND OTHER SUCH LABELS AND DIMENSIONS OF A PARALLEL NATURE AS SHOWN HEREON AND INDICATED TO THE NEAREST FOOT (eg: 5' UTILITY EASEMENT) ARE ASSUMED TO BE THE SAME DIMENSION EXTENDED TO THE NEAREST HUNDREDTH OF A FOOT WITH NO GREATER OR LESSER VALUE (eg: 5' = 5.00') (eg: 7.5' = 7.50')

GeoPoint Surveying, Inc.
555 Winderly Pl, Suite 109
Maitland, Florida 32751
www.geopointsurvey.com
Phone: (321) 270-0440
Fax: (813) 248-2266
Licensed Business No.: LB 7768

THE GLEN AT WEST HAVEN

A PARCEL OF LAND LYING IN SECTION 5, TOWNSHIP 26 SOUTH, RANGE 27 EAST, POLK COUNTY, FLORIDA

PLAT BOOK PAGE NO.

SHEET 4 OF 5 SHEETS

N

100 50 0 50 100

SCALE: 1" = 50'

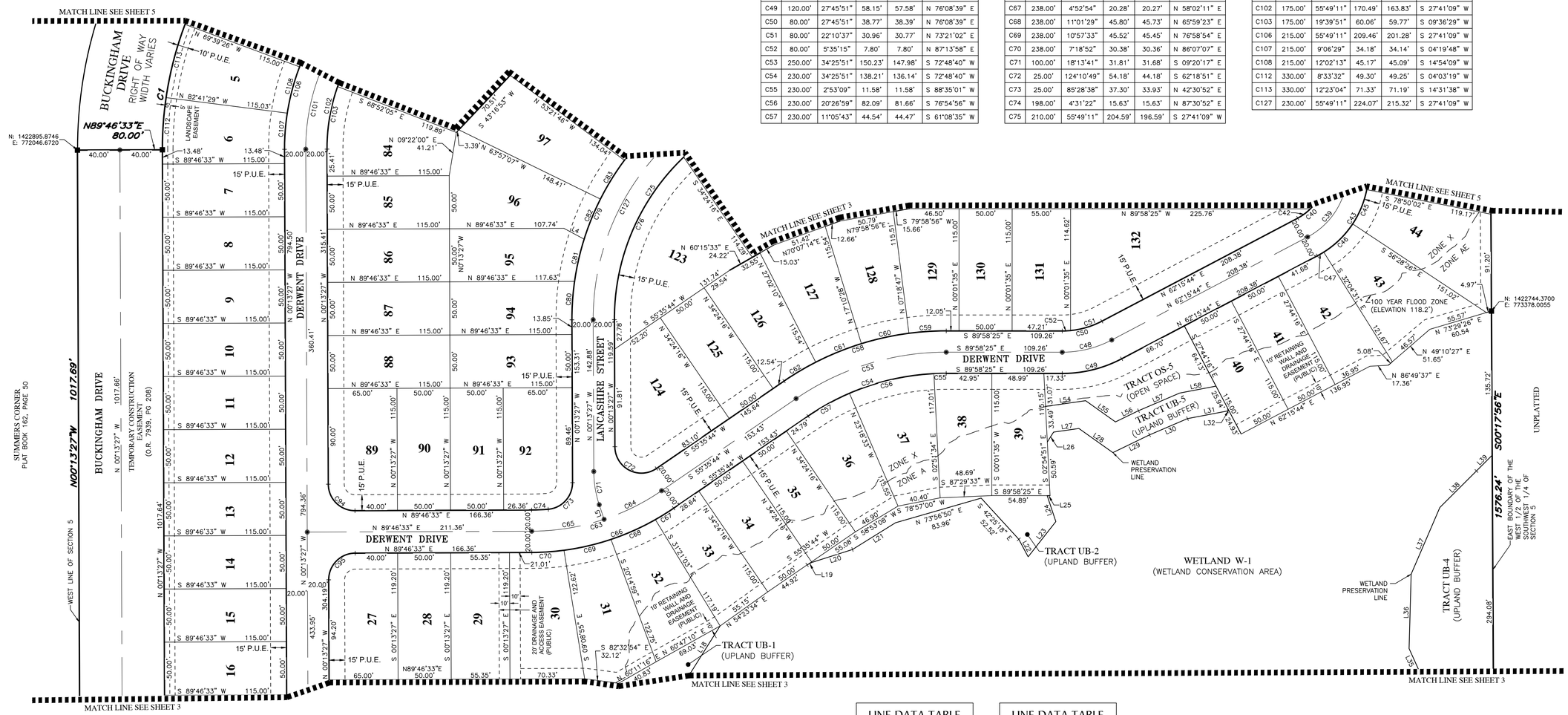

CURVE DATA TABLE

NO.	RADIUS	DELTA	ARC	CHORD	BEARING
C1	330.00'	55°49'11"	321.50'	308.93'	N 27°41'09" E
C39	70.00'	62°33'40"	76.43'	72.69'	N 30°58'54" E
C40	50.00'	62°33'40"	54.59'	51.92'	N 30°58'54" E
C42	50.00'	16°57'47"	14.80'	14.75'	N 53°46'50" E
C43	90.00'	62°33'40"	98.27'	93.46'	N 30°58'54" E
C45	90.00'	22°21'35"	35.12'	34.90'	N 22°20'46" E
C46	90.00'	24°23'55"	38.33'	38.04'	N 45°43'31" E
C47	90.00'	4°20'15"	6.81'	6.81'	N 60°05'36" E
C48	100.00'	27°45'51"	48.46'	47.99'	N 76°08'39" E
C49	120.00'	27°45'51"	58.15'	57.58'	N 76°08'39" E
C50	80.00'	27°45'51"	38.77'	38.39'	N 76°08'39" E
C51	80.00'	22°10'37"	30.96'	30.77'	N 73°21'02" E
C52	80.00'	5°35'15"	7.80'	7.80'	N 87°13'58" E
C53	250.00'	34°25'51"	150.23'	147.98'	S 72°48'40" W
C54	230.00'	34°25'51"	138.21'	136.14'	S 72°48'40" W
C55	230.00'	2°53'09"	11.58'	11.58'	S 88°35'01" W
C56	230.00'	20°26'59"	82.09'	81.66'	S 76°54'56" W
C57	230.00'	11°05'43"	44.54'	44.47'	S 61°08'35" W

CURVE DATA TABLE

NO.	RADIUS	DELTA	ARC	CHORD	BEARING
C58	270.00'	34°25'51"	162.25'	159.82'	S 72°48'40" W
C59	270.00'	7°28'21"	35.21'	35.19'	S 86°17'25" W
C60	270.00'	9°43'42"	45.84'	45.79'	S 77°41'23" W
C61	270.00'	9°51'41"	46.47'	46.41'	S 67°53'41" W
C62	270.00'	7°22'06"	34.72'	34.70'	S 59°16'47" W
C63	218.00'	34°10'49"	130.05'	128.13'	N 72°41'09" E
C64	218.00'	15°57'08"	60.70'	60.50'	N 63°34'18" E
C65	218.00'	18°13'41"	69.35'	69.06'	N 80°39'43" E
C66	238.00'	34°10'49"	141.98'	139.88'	N 72°41'09" E
C67	238.00'	4°52'54"	20.28'	20.27'	N 58°02'11" E
C68	238.00'	11°01'29"	45.80'	45.73'	N 65°59'23" E
C69	238.00'	10°57'33"	45.52'	45.45'	N 76°58'54" E
C70	238.00'	7°18'52"	30.38'	30.36'	N 86°07'07" E
C71	100.00'	18°13'41"	31.81'	31.68'	S 09°20'17" E
C72	25.00'	124°10'49"	54.18'	44.18'	S 62°18'51" E
C73	25.00'	85°28'38"	37.30'	33.93'	N 42°30'52" E
C74	198.00'	4°31'22"	15.63'	15.63'	N 87°30'52" E
C75	210.00'	55°49'11"	204.59'	196.59'	S 27°41'09" W

CURVE DATA TABLE

NO.	RADIUS	DELTA	ARC	CHORD	BEARING
C76	210.00'	46°39'13"	170.99'	166.31'	S 23°06'10" W
C79	250.00'	55°49'11"	243.56'	234.04'	S 27°41'09" W
C80	250.00'	8°18'50"	36.28'	36.24'	S 03°55'58" W
C81	250.00'	9°21'18"	40.82'	40.77'	S 12°46'02" W
C82	250.00'	9°20'40"	40.77'	40.73'	S 22°07'01" W
C83	250.00'	9°50'53"	42.97'	42.92'	S 31°42'48" W
C94	25.00'	90°00'00"	39.27'	35.36'	S 45°13'27" E
C95	25.00'	90°00'00"	39.27'	35.36'	S 44°46'33" W
C101	195.00'	55°49'11"	189.98'	182.55'	S 27°41'09" W
C102	175.00'	55°49'11"	170.49'	163.83'	S 27°41'09" W
C103	175.00'	19°39'51"	60.06'	59.77'	S 09°36'29" W
C106	215.00'	55°49'11"	209.46'	201.28'	S 27°41'09" W
C107	215.00'	9°06'29"	34.18'	34.14'	S 04°19'48" W
C108	215.00'	12°02'13"	45.17'	45.09'	S 14°54'09" W
C112	330.00'	8°33'32"	49.30'	49.25'	S 04°03'19" W
C113	330.00'	12°23'04"	71.33'	71.19'	S 14°31'38" W
C127	230.00'	55°49'11"	224.07'	215.32'	S 27°41'09" W

LINE DATA TABLE

NO.	BEARING	LENGTH
L4	S 61°54'08" E	21.65'
L5	N 18°27'08" W	14.48'
L18	N 32°12'03" E	51.74'
L19	N 62°06'51" E	4.73'
L20	N 72°21'03" E	40.44'
L21	N 58°08'05" E	47.68'
L22	S 28°07'51" E	18.69'
L23	N 38°09'28" E	42.19'
L24	N 18°27'20" W	25.74'
L25	S 89°58'25" E	2.72'
L26	N 32°12'22" E	10.95'
L27	N 81°52'56" E	24.13'
L28	S 54°36'31" E	39.26'
L29	N 64°09'49" E	38.37'

LINE DATA TABLE

NO.	BEARING	LENGTH
L30	N 66°46'55" E	38.84'
L31	N 79°12'24" E	38.73'
L32	N 68°09'34" E	0.98'
L35	N 24°18'34" W	58.87'
L36	N 01°35'35" E	70.12'
L37	N 23°17'30" E	68.27'
L38	N 45°03'46" E	48.67'
L39	N 45°03'46" E	20.97'
L54	N 81°52'56" E	38.16'
L55	S 54°36'31" E	34.44'
L56	N 64°09'49" E	24.15'
L57	N 66°46'55" E	42.13'
L58	N 79°12'24" E	34.85'

LEGEND:

- ■ ----- indicates (P.R.M.) Permanent Reference Monument – 4"x4" Concrete Monument LB7768, unless otherwise noted.
- ⊖ ----- indicates (P.R.M.) Offset Permanent Reference Monument – 4"x4" Concrete Monument LB7768, unless otherwise noted.
- ● ----- indicates (P.C.P.) Permanent Control Point LB7768
- (NR) ---- indicates non–radial line
- P.U.E.---- indicates Public Utility Easement
- O.R. ---- Official Records Book
- Pg. ---- Page

PARALLEL OFFSET NOTE: EASEMENTS, BUFFERS AND OTHER SUCH LABELS AND DIMENSIONS OF A PARALLEL NATURE AS SHOWN HEREON AND INDICATED TO THE NEAREST FOOT (eg: 5' UTILITY EASEMENT) ARE ASSUMED TO BE THE SAME DIMENSION EXTENDED TO THE NEAREST HUNDREDTH OF A FOOT WITH NO GREATER OR LESSER VALUE (eg: 5' = 5.00') (eg: 7.5' = 7.50')

GeoPoint Surveying, Inc.
555 Winderly Pl, Suite 109
Maitland, Florida 32751
www.geopointsurvey.com
Phone: (321) 270-0440
Fax: (813) 248-2266
Licensed Business No.: LB 7768

THE GLEN AT WEST HAVEN

A PARCEL OF LAND LYING IN SECTION 5, TOWNSHIP 26 SOUTH, RANGE 27 EAST, POLK COUNTY, FLORIDA

PLAT BOOK PAGE NO.

SHEET 5 OF 5 SHEETS

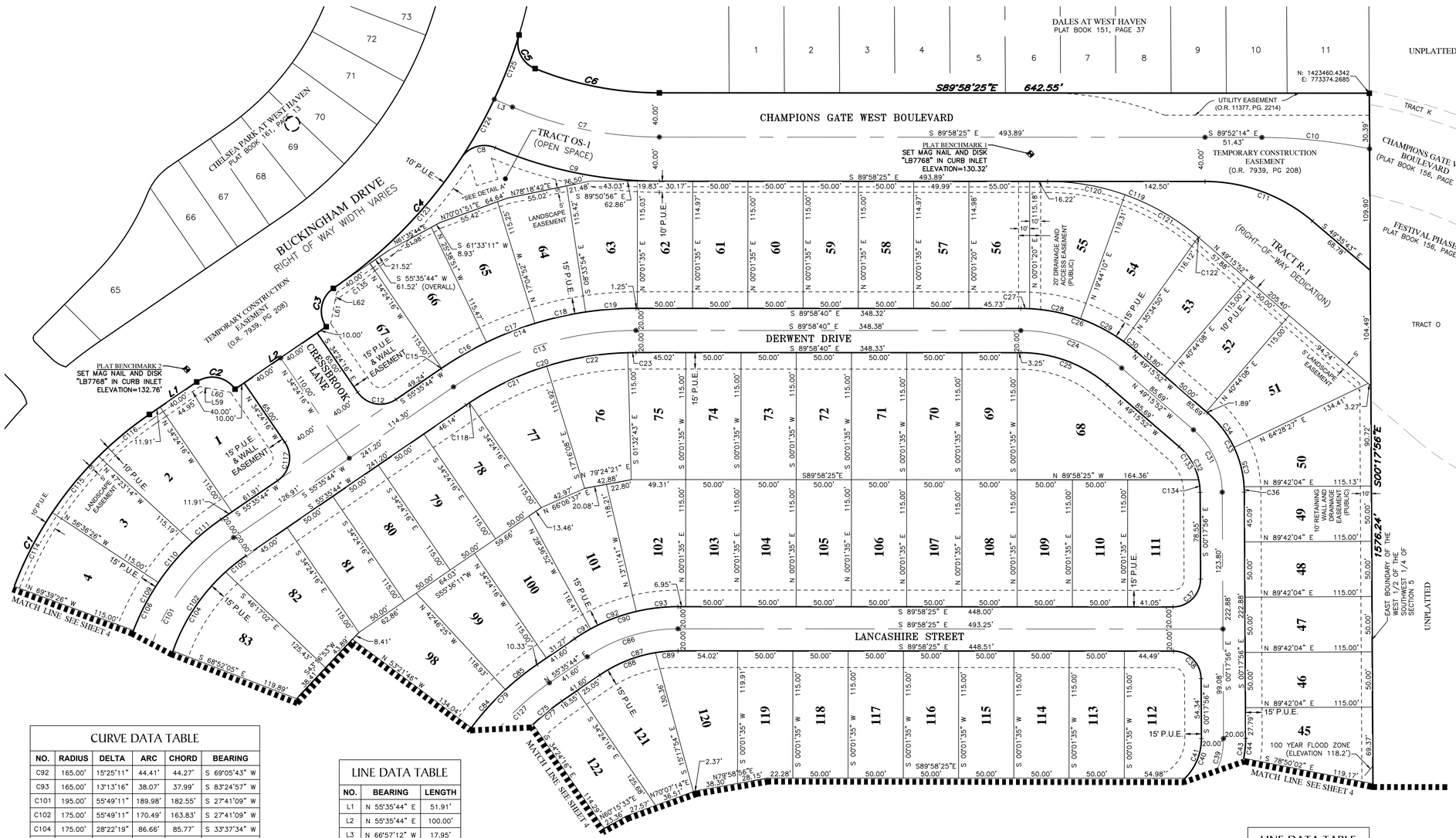

N

100 50 0 50 100

SCALE: 1" = 50'

CURVE DATA TABLE

NO.	RADIUS	DELTA	ARC	CHORD	BEARING
C1	330.00'	55°49'11"	321.50'	308.93'	N 27°41'09" E
C2	25.00'	90°00'00"	39.27'	35.36'	S 79°24'16" E
C3	25.00'	89°56'36"	39.25'	35.34'	N 10°34'02" E
C4	430.00'	38°36'23"	289.74'	284.29'	N 36°14'09" E
C5	25.00'	84°52'59"	37.04'	33.74'	S 25°30'32" E
C6	300.00'	22°01'24"	115.31'	114.60'	S 78°57'43" E
C7	340.00'	23°01'13"	136.61'	135.69'	S 78°27'48" E
C8	25.00'	79°40'16"	34.76'	32.03'	S 73°12'40" W
C9	380.00'	23°01'13"	152.68'	151.65'	S 78°27'48" E
C10	475.00'	11°50'54"	98.23'	98.05'	S 83°56'47" E
C11	150.00'	40°22'42"	105.71'	103.54'	N 69°47'04" W
C12	25.00'	90°00'39"	39.27'	35.35'	S 79°24'17" E
C13	292.00'	34°26'17"	175.51'	172.88'	S 72°48'53" W
C14	312.00'	34°26'54"	187.59'	184.77'	S 72°48'32" W
C15	312.00'	0°07'44"	0.70'	0.70'	S 55°39'36" W
C16	312.00'	8°37'17"	46.95'	46.90'	S 60°02'06" W
C17	312.00'	8°38'40"	47.07'	47.03'	S 68°40'05" W
C18	312.00'	8°38'41"	47.07'	47.03'	S 77°18'46" W
C19	312.00'	8°23'52"	45.73'	45.69'	S 85°50'03" W
C20	272.00'	34°26'17"	163.49'	161.04'	S 72°48'53" W
C21	272.00'	16°20'52"	77.61'	77.35'	S 64°34'11" W
C22	272.00'	15°44'00"	74.69'	74.46'	S 80°36'37" W
C23	272.00'	1°33'24"	7.39'	7.39'	S 89°15'20" W
C24	140.00'	40°42'48"	99.48'	97.40'	N 69°37'16" W
C25	120.00'	40°42'48"	85.27'	83.49'	N 69°37'16" W
C26	160.00'	40°42'48"	113.69'	111.32'	N 69°37'16" W
C27	160.00'	2°50'31"	7.94'	7.94'	N 88°33'25" W
C28	160.00'	16°52'03"	47.10'	46.93'	N 78°42'08" W
C29	160.00'	15°50'39"	44.25'	44.10'	N 62°20'47" W
C30	160.00'	5°09'35"	14.41'	14.40'	N 51°50'40" W
C31	75.00'	48°57'55"	64.10'	62.16'	N 24°46'54" W
C32	55.00'	48°57'56"	47.00'	45.59'	N 24°46'54" W
C33	95.00'	48°57'55"	81.19'	78.74'	N 24°46'54" W
C34	95.00'	23°44'19"	39.36'	39.08'	N 37°23'42" W
C35	95.00'	22°15'58"	36.92'	36.69'	N 14°23'34" W
C36	95.00'	2°57'39"	4.91'	4.91'	N 01°46'46" W
C37	25.00'	90°19'32"	39.41'	35.46'	N 44°51'49" E
C38	25.00'	89°40'28"	39.13'	35.25'	N 45°08'11" W
C39	70.00'	62°33'40"	76.43'	72.69'	N 30°58'54" E
C40	50.00'	62°33'40"	54.59'	51.92'	N 30°58'54" E
C41	50.00'	45°35'53"	39.79'	38.75'	N 22°30'00" E
C43	90.00'	62°33'40"	98.27'	93.46'	N 30°58'54" E
C44	90.00'	11°27'55"	18.01'	17.98'	N 05°26'01" E
C75	210.00'	55°49'11"	204.59'	196.59'	S 27°41'09" W
C77	210.00'	9°09'58"	33.60'	33.56'	S 51°00'45" W
C79	250.00'	55°49'11"	243.56'	234.04'	S 27°41'09" W
C84	250.00'	10°35'21"	46.20'	46.14'	S 41°55'55" W
C85	250.00'	8°22'09"	36.52'	36.48'	S 51°24'40" W
C86	145.00'	34°25'51"	87.14'	85.83'	S 72°48'40" W
C87	125.00'	34°25'51"	75.12'	73.99'	S 72°48'40" W
C88	125.00'	25°03'13"	54.66'	54.22'	S 68°07'21" W
C89	125.00'	9°22'38"	20.46'	20.43'	S 85°20'16" W
C90	165.00'	34°25'51"	99.15'	97.67'	S 72°48'40" W
C91	165.00'	5°47'24"	16.67'	16.67'	S 58°29'26" W

CURVE DATA TABLE

NO.	RADIUS	DELTA	ARC	CHORD	BEARING
C92	165.00'	15°25'11"	44.41'	44.27'	S 69°05'43" W
C93	165.00'	13°13'16"	38.07'	37.99'	S 83°24'57" W
C101	195.00'	55°49'11"	189.98'	182.55'	S 27°41'09" W
C102	175.00'	55°49'11"	170.49'	163.83'	S 27°41'09" W
C104	175.00'	28°22'19"	86.66'	85.77'	S 33°37'34" W
C105	175.00'	7°47'00"	23.77'	23.75'	S 51°42'14" W
C106	215.00'	55°49'11"	209.46'	201.28'	S 27°41'09" W
C109	215.00'	13°03'39"	49.01'	48.90'	S 27°27'05" W
C110	215.00'	12°41'58"	47.65'	47.56'	S 40°19'53" W
C111	215.00'	8°54'52"	33.45'	33.42'	S 51°08'18" W
C114	330.00'	13°03'26"	75.20'	75.04'	S 27°14'53" W
C115	330.00'	11°29'08"	66.15'	66.04'	S 39°31'09" W
C116	330.00'	10°20'01"	59.52'	59.44'	S 50°25'44" W
C117	25.00'	89°59'48"	39.27'	35.36'	N 10°35'49" E
C118	272.00'	0°48'01"	3.80'	3.80'	S 55°59'44" W
C119	210.00'	21°01'19"	77.05'	76.62'	N 59°58'36" W
C120	210.00'	19°29'09"	71.42'	71.08'	N 80°13'50" W
C121	210.00'	21°01'19"	77.05'	76.62'	N 59°58'36" W
C122	210.00'	0°12'04"	0.74'	0.74'	N 49°21'54" W
C123	430.00'	22°09'48"	166.33'	165.30'	S 44°27'26" W
C124	430.00'	8°07'08"	60.93'	60.88'	S 29°18'58" W
C125	430.00'	8°19'26"	62.47'	62.42'	S 21°05'41" W
C127	230.00'	55°49'11"	224.07'	215.32'	S 27°41'09" W
C133	55.00'	37°05'23"	35.60'	34.99'	N 30°43'11" W
C134	55.00'	11°52'33"	11.40'	11.38'	N 06°14'13" W
C135	440.00'	5°51'56"	45.04'	45.02'	N 53°15'15" E

LINE DATA TABLE

NO.	BEARING	LENGTH
L1	N 55°35'44" E	51.91'
L2	N 55°35'44" E	100.00'
L3	N 66°57'12" W	17.95'
L59	S 79°28'50" E	7.00'
L60	S 79°28'50" E	21.25'
L61	S 10°34'02" W	21.24'
L62	S 10°34'02" W	7.03'

LINE DATA TABLE

NO.	BEARING	LENGTH
L66	S 78°18'42" W	63.24'
L67	S 70°01'51" W	64.64'
L68	S 61°33'11" W	8.93'
L69	S 61°36'45" W	22.28'

LEGEND:

- indicates (P.R.M.) Permanent Reference Monument – 4"x4" Concrete Monument LB7768, unless otherwise noted.
- indicates (P.R.M.) Offset Permanent Reference Monument – 4"x4" Concrete Monument LB7768, unless otherwise noted.
- indicates (P.C.P.) Permanent Control Point LB7768
- (NR) indicates non-radial line
- P.U.E. indicates Public Utility Easement

PARALLEL OFFSET NOTE: EASEMENTS, BUFFERS AND OTHER SUCH LABELS AND DIMENSIONS OF A PARALLEL NATURE AS SHOWN HEREON AND INDICATED TO THE NEAREST FOOT (eg: 5' UTILITY EASEMENT) ARE ASSUMED TO BE THE SAME DIMENSION EXTENDED TO THE NEAREST HUNDREDTH OF A FOOT WITH NO GREATER OR LESSER VALUE (eg: 5' = 5.00') (eg: 7.5' = 7.50')

DETAIL A

SCALE: 1"=50'

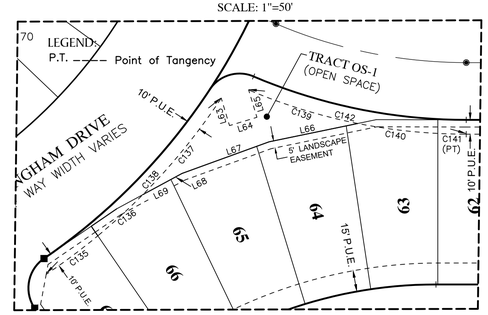

CURVE DATA TABLE

NO.	RADIUS	DELTA	ARC	CHORD	BEARING
C135	440.00'	5°51'56"	45.04'	45.02'	N 53°15'15" E

GeoPoint Surveying, Inc.
555 Winderly Pl, Suite 109
Maitland, Florida 32751
www.geopointsurvey.com
Phone: (321) 270-0440
Fax: (813) 248-2266
Licensed Business No.: LB 7768