Grant Maloy, Clerk Of The Circuit Court & Comptroller Seminole County, FL
Inst #2018086998P Book:83 Page:19-23; (5 PAGES) RCD: 7/27/2018 2:58:08 PM
REC FEE $0.00

PARKDALE PLACE

LYING IN SECTION 21, TOWNSHIP 21 SOUTH, RANGE 31 EAST
SEMINOLE COUNTY, FLORIDA

LEGAL DESCRIPTION:

A PARCEL OF LAND, BEING A PORTION OF THE NORTH HALF OF THE SOUTHWEST 1/4 OF SECTION 21, TOWNSHIP 21 SOUTH, RANGE 31 EAST, SEMINOLE COUNTY, FLORIDA. DESCRIBED AS FOLLOWS:

COMMENCE AT THE SOUTH QUARTER CORNER OF SAID SECTION 21, FOR A POINT OF REFERENCE; THENCE RUN NORTH 00°32'54" WEST, ALONG THE EAST LINE THE SAID SOUTHWEST QUARTER, OF SAID SECTION 21, A DISTANCE OF 1327.54 FEET TO THE SOUTHEAST CORNER OF THE NORTHEAST QUARTER OF THE SOUTHWEST QUARTER OF SAID SECTION 21 AND THE POINT OF BEGINNING; THENCE RUN SOUTH 89°42'54" WEST, ALONG THE SOUTH LINE OF SAID NORTHEAST QUARTER OF THE SOUTHWEST QUARTER, A DISTANCE OF 1332.07 FEET TO THE SOUTHWEST CORNER OF SAID NORTHEAST QUARTER OF THE SOUTHWEST QUARTER OF SECTION 21; THENCE RUN NORTH 00°34'49" WEST, ALONG THE WEST LINE OF SAID NORTHEAST QUARTER OF THE SOUTHWEST QUARTER, A DISTANCE OF 663.79 FEET TO THE SOUTHWEST CORNER OF THE NORTH HALF OF THE NORTHEAST QUARTER OF THE SOUTHWEST QUARTER OF SECTION 21; THENCE RUN SOUTH 89°42'57" WEST, ALONG THE SOUTH LINE OF THE NORTHEAST QUARTER OF THE NORTHWEST QUARTER OF THE SOUTHWEST QUARTER OF SAID SECTION 21, A DISTANCE OF 540.00 FEET; THENCE DEPARTING SAID SOUTH LINE, RUN NORTH 00°34'49" WEST, 663.80 FEET TO A POINT LYING ON THE NORTH LINE OF SAID SOUTHWEST QUARTER OF SECTION 21; SAID POINT ALSO LIES ON THE SOUTH RIGHT-OF-WAY LINE OF A 15' WIDE UN-NAMED ROAD, OF THE SLAVIA COLONY COMPANY SUBDIVISION, ACCORDING TO THE PLAT THEREOF, AS RECORDED IN PLAT BOOK 2 PAGE 71 OF SAID PUBLIC RECORDS; THENCE RUN NORTH 89°43'00" EAST, ALONG SAID NORTH LINE OF SAID SOUTHWEST QUARTER OF SECTION 21 AND THE SOUTH RIGHT-OF-WAY LINE, 540.00 FEET; THENCE DEPARTING SAID LINES, RUN SOUTH 00°34'49" EAST, 25.00 FEET TO A POINT LYING ON THE SOUTH RIGHT-OF-WAY LINE OF CLONTS ROAD; THENCE RUN NORTH 89°43'00" EAST, ALONG SAID SOUTH RIGHT-OF-WAY LINE, 1332.80 FEET TO A POINT LYING ON THE EAST LINE OF SAID SOUTHWEST QUARTER OF SECTION 21; THENCE RUN SOUTH 00°32'54" EAST, ALONG SAID EAST LINE, 1302.54 FEET TO THE POINT OF BEGINNING.

THE ABOVE DESCRIBED PARCEL OF LAND LIES IN SEMINOLE COUNTY, FLORIDA AND CONTAINS 48.072 ACRES, MORE OR LESS.

SURVEYOR'S NOTES:

(1) BEARINGS SHOWN HEREON ARE ASSUMED RELATIVE TO THE SOUTH LINE OF THE SOUTHWEST QUARTER OF SECTION 21, TOWNSHIP 21 SOUTH, RANGE 31 EAST, BEING SOUTH 89°42'48" WEST.
(2) —⊡— DENOTES A PERMANENT REFERENCE MONUMENT (P.R.M.) A SET 4" X 4" CONCRETE MONUMENT WITH A CAP STAMPED P.R.M. LS:. # 4044.
(3) —●— DENOTES A PERMANENT CONTROL POINT (P.C.P.) A SET NAIL AND DISK STAMPED P.C.P. LS. # 4044

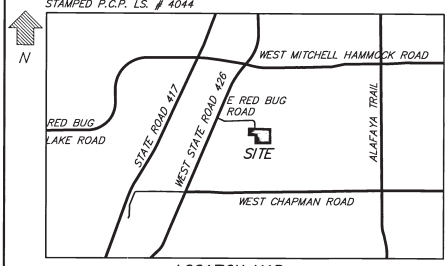

LOCATION MAP
NOT TO SCALE

NOTICE:
"THIS PLAT, AS RECORDED IN ITS GRAPHIC FORM, IS THE OFFICIAL DEPICTION OF THE SUBDIVIDED LANDS DESCRIBED HEREIN AND WILL IN NO CIRCUMSTANCES BE SUPPLANTED IN AUTHORITY BY ANY OTHER GRAPHIC OR DIGITAL FORM OF THE PLAT. THERE MAY BE ADDITIONAL RESTRICTIONS THAT ARE NOT RECORDED ON THIS PLAT THAT MAY BE FOUND IN THE PUBLIC RECORDS OF THIS COUNTY."

(4) THE LANDS DESCRIBED HEREIN ARE SUBJECT TO THE TERMS AND CONDITIONS OF THAT CERTAIN DECLARATION OF COVENANTS, CONDITIONS, EASEMENTS AND RESTRICTIONS FOR PARKDALE PLACE, RECORDED IN OFFICIAL RECORDS BOOK 8181 PAGE 1058 OF THE PUBLIC RECORDS OF SEMINOLE COUNTY, FLORIDA (THE "DECLARATION").
(5) ALL PLATTED UTILITY EASEMENTS SHALL PROVIDE THAT SUCH EASEMENTS SHALL ALSO BE EASEMENTS FOR THE CONSTRUCTION, INSTALLATION, MAINTENANCE, AND OPERATION OF CABLE TELEVISION SERVICES; PROVIDED, HOWEVER, NO SUCH CONSTRUCTION, INSTALLATION, MAINTENANCE, AND OPERATION OF CABLE TELEVISION SERVICES SHALL INTERFERE WITH THE FACILITIES AND SERVICES OF AN ELECTRIC, TELEPHONE, GAS, OR OTHER PUBLIC UTILITY. IN THE EVENT A CABLE TELEVISION COMPANY DAMAGES THE FACILITIES OF A PUBLIC UTILITY, IT SHALL BE SOLELY RESPONSIBLE FOR DAMAGES. THIS SECTION SHALL NOT APPLY TO THOSE PRIVATE EASEMENTS GRANTED TO OR OBTAINED BY A PARTICULAR ELECTRIC, TELEPHONE, GAS, OR OTHER PUBLIC UTILITY. SUCH CONSTRUCTION, INSTALLATION, MAINTENANCE, AND OPERATION SHALL COMPLY WITH THE NATIONAL ELECTRICAL SAFETY CODE AS ADOPTED BY THE FLORIDA PUBLIC SERVICE COMMISSION.
(6) TRACT "A" (PRIVATE ROADWAY), TRACTS "B" AND "C" (LANDSCAPE AREAS), TRACT "E" (BUFFER), TRACT "F" (POND ACCESS), TRACT "G" (POND ACCESS), AND TRACT "J" (PARK/OPEN SPACE/RECREATION AREA), ARE OWNED AND MAINTAINED BY THE PARKDALE PLACE HOMEOWNERS' ASSOCIATION, INC., ACCORDING TO THE DECLARATION.
(7) TRACT "D" (LIFT STATION), IS TO BE OWNED AND MAINTAINED BY THE SEMINOLE COUNTY BOARD OF COUNTY COMMISSIONERS.
(8) THE 20.00' EMERGENCY ACCESS EASEMENT OVER TRACT "F" (POND ACCESS), IS DEDICATED TO SEMINOLE COUNTY, FLORIDA AND OTHER APPLICABLE AGENCIES THAT PROVIDE LAW ENFORCEMENT, FIRE AND OTHER EMERGENCY SERVICES, FOR THE PURPOSE OF EMERGENCY ACCESS TO THE LAND SHOWN HEREON.
(9) TRACT "H" (POND/OPEN SPACE/RECREATION AREA) IS TO BE OWNED AND MAINTAINED BY THE PARKDALE PLACE HOMEOWNERS' ASSOCIATION, INC., ACCORDING TO THE DECLARATION, WITH A DRAINAGE EASEMENT OVER THE ENTIRE TRACT DEDICATED TO SEMINOLE COUNTY.
(10) TRACT "I" (COMPENSATING STORAGE AREA AND WETLAND RE-CREATION) IS TO BE OWNED AND MAINTAINED BY THE PARKDALE PLACE HOMEOWNERS' ASSOCIATION, INC., ACCORDING TO THE DECLARATION, WITH DEVELOPMENT RIGHTS DEDICATED TO SEMINOLE COUNTY WITH NO RESPONSIBILITY FOR MAINTENANCE.
(11) ALL LOT LINES ARE RADIAL UNLESS OTHERWISE NOTED.
(12) STATE PLANE COORDINATES ARE BASED ON NORTH AMERICAN DATUM OF 1983 (ADJUSTMENT 1990), BEING SEMINOLE COUNTY HORIZONTAL CONTROL POINTS. THE COMPUTED VALUES SHALL BE SUBORDINATE TO THE MONUMENTS, BEARINGS AND DISTANCES SHOWN ON THIS PLAT.
(13) THE GRANTING OF EASEMENTS TO SEMINOLE COUNTY DOES NOT IMPOSE ANY OBLIGATION, BURDEN, RESPONSIBILITY OR LIABILITY UPON SEMINOLE COUNTY, FLORIDA TO ENTER UPON THE SUBJECT PROPERTY AND TAKE ANY ACTION TO REPAIR OR MAINTAIN THE SYSTEM UNLESS OTHERWISE STATED.
(14) THE CONSERVATION EASEMENT OVER ALL WETLANDS AND FLOODPLAIN AND COMPENSATING STORAGE IS TO BE OWNED AND MAINTAINED BY THE HOMEOWNER'S ASSOCIATION. THE REMOVAL OF VEGETATION WITHIN THE EASEMENT IS PROHIBITED UNLESS APPROVAL FROM SEMINOLE COUNTY IS GRANTED TO REMOVE DEAD OR DAMAGED VEGETATION THAT POSES A HAZARD OR APPROVAL IS GRANTED TO REMOVE EXOTIC OR NUISANCE VEGETATION. ALL DEVELOPMENT RIGHTS WITHIN THE EASEMENT ARE GRANTED TO SEMINOLE COUNTY. NO SOIL EXCAVATION, FILL, OR REMOVAL WITHIN THE EASEMENT SHALL BE PERMITTED. CONSTRUCTION ACTIVITY WITHIN THE EASEMENT SHALL BE LIMITED TO A BOARDWALK, DOCK, OR PIER AND PERMISSION FROM SEMINOLE COUNTY SHALL BE REQUIRED.
(15) THE DRAINAGE EASEMENTS SHOWN ARE DEDICATED TO AND OWNED AND MAINTAINED BY THE HOMEOWNERS ASSOCIATION. THE DECLARANT DOES HEREBY GRANT TO SEMINOLE COUNTY, FLORIDA AN EMERGENCY ACCESS EASEMENT TO THE PRIVATE STORM DRAINAGE SYSTEM OVER TRACTS "F", "G", "H", "I" AND OVER PORTIONS OF THE COMMON AREAS USED FOR DRAINAGE PURPOSES AND DRAINAGE EASEMENTS SHOWN ON THIS PLAT, FOR EMERGENCY MAINTENANCE PURPOSES IN THE EVENT INADEQUATE MAINTENANCE OF THE STORM DRAINAGE SYSTEM CREATES A HAZARD TO THE PUBLIC HEALTH, SAFETY AND GENERAL WELFARE. THIS EMERGENCY ACCESS EASEMENT DOES NOT IMPOSE ANY OBLIGATION, BURDEN, RESPONSIBILITY OR LIABILITY UPON SEMINOLE COUNTY, FLORIDA, TO ENTER SUBJECT PROPERTY OR TO TAKE ANY ACTION TO REPAIR OR MAINTAIN THE PRIVATE DRAINAGE SYSTEM.
(16) THERE IS A 3.00 FOOT WIDE DRAINAGE EASEMENT ON ALL SIDE PROPERTY LINES. NO AIR CONDITIONER PADS, POOL EQUIPMENT ETC., WILL BE ALLOWED IN THE EASEMENT.

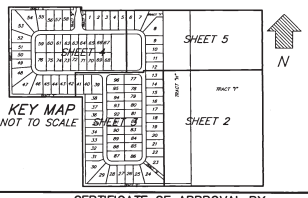

KEY MAP
NOT TO SCALE

PARKDALE PLACE

DEDICATION

KNOWN ALL MEN BY THESE PRESENTS, That the limited liability company named below, being the owner in fee simple of the lands described in the foregoing caption to this plat, hereby dedicates said lands and plat for the uses and purposes therein expressed.
TRACT "D" (LIFT STATION)_____ shown on this plat is hereby dedicated to the Perpetual use of Seminole County.

Tract "D" (Lift Station) is dedicated to and shall be owned and maintained by Seminole County, Florida. Tract "F" is subject to an emergency access easement as shown hereon, which easement is dedicated to Seminole County, Florida and other applicable agencies that provide law enforcement, fire and other emergency services, for the purpose of emergency access to the land shown hereon.
The owner does hereby grant to Seminole County the non-exclusive and perpetual right of ingress egress over and across all of the private streets shown and fire protection services, police, authorities of the United States postal service mail carriers, representatives of utilities authorized by the owner, holders of mortgage liens on such lands, the non-exclusive and perpetual right of ingress egress over and across said streets and easements. The utility easements described and shown hereon are to be dedicated to Seminole County. The utilities are to be owned and maintained by the utility provider. The purpose of the utility easements shown are as follows: Installation and maintenance of, but not limited to, sanitary sewers, water mains, power lines, telephone lines, and cablevision lines. Regardless of the preceding provisions, the lawful owner reserves the unrestricted and absolute right to deny the right of ingress to any person who, in the opinion of the lawful owner may create or participate in a disturbance or nuisance on any part of the land shown on this plat.

IN WITNESS WHEREOF, Park Square Enterprises, LLC, a Delaware limited liability company, has caused this Dedication to be executed in its name by the below-named officer thereunto duly authorized this 29 day of JUNE, 2018.

Signed, sealed and delivered in the presence of the following two witnesses:

Park Square Enterprises, LLC
a Delaware limited liability company
By: Vishaal Gupta
Manager

Print Name: Scott Johnston
(Witness)

Print Name: DAMON CASCIO
(Witness)

STATE OF FLORIDA
COUNTY OF SEMINOLE

THIS IS TO CERTIFY that the foregoing Dedication was acknowledged before me this 29 day of JUNE, 2018, by Vishaal Gupta, as Manager of Park Square Enterprises, LLC, a Delaware limited liability company.
Said person did not take an oath and is personally known to me or has produced the following identification

Notary Public State of Florida
Janet Boyce
My Commission GG 188409
Expires 03/19/2022

Print Name: JANET BOYCE
Notary Public – State of Florida
Commission No.: GG 188409
My Commission Expires: 3/19/22

CERTIFICATE OF SURVEYOR

KNOWN ALL MEN BY THESE PRESENTS, that the undersigned, being a licensed and registered Professional surveyor and mapper, does hereby certify that on October 30, 2017 he completed the survey of the said lands shown in the foregoing plat and said survey was made under my responsible direction and that permanent reference monuments have been placed as required by Chapter 177, Florida Statutes; and that said plat complies with all survey requirements at Chapter 177 Part I; and that said lands is located in Seminole County, Florida.

Surveyor's Signature — LS. 4044 Surveyor's Registration Number
David A. White — LB. 7808
Surveyor's Name — Certificate of Authorization Number
PEC – Surveying and Mapping, LLC
2100 Alafaya Trail, Suite 203, Oviedo, Florida, 32765

CERTIFICATE OF APPROVAL BY COUNTY SURVEYOR

I have reviewed this plat and find it to be in substantial conformity with Chapter 177, Florida Statutes.

7/6/18
Date

Printed Name: Gary A. Leise, PLS.
Certificate No.: 4723
COUNTY SURVEYOR FOR SEMINOLE COUNTY, FLORIDA

CERTIFICATE OF APPROVAL BY BOARD OF COUNTY COMMISSIONERS

THIS IS TO CERTIFY, That on _____ the foregoing plat was approved by the Board of County Commissioners of Seminole County, Florida.

7/24/18
Date

CHAIRMAN OF THE BOARD
Printed Name: John Horan
ATTEST:
Printed Name: Grant Maloy

CERTIFICATE OF CLERK

I HEREBY CERTIFY, That I have examined the foregoing plat and find that it complies in form with all the requirements of Chapter 177, Florida Statutes, and was filed for on, JULY 27, 2018
at 3:05 pm
File No.: 2018086998
CLERK OF THE CIRCUIT COURT
in and for Seminole County, Florida
By: _____ D.C.
Printed Name: Grant Maloy

PEC | SURVEYING AND MAPPING, LLC
CERTIFICATE OF AUTHORIZATION NUMBER LB. 7808
2100 Alafaya Trail, Suite 203 • Oviedo, Florida 32765 • 407-542-4967

PARKDALE PLACE

SHEET 2 OF 5

PLAT BOOK 83 PAGE 20

LYING IN SECTION 21, TOWNSHIP 21 SOUTH, RANGE 31 EAST
SEMINOLE COUNTY, FLORIDA

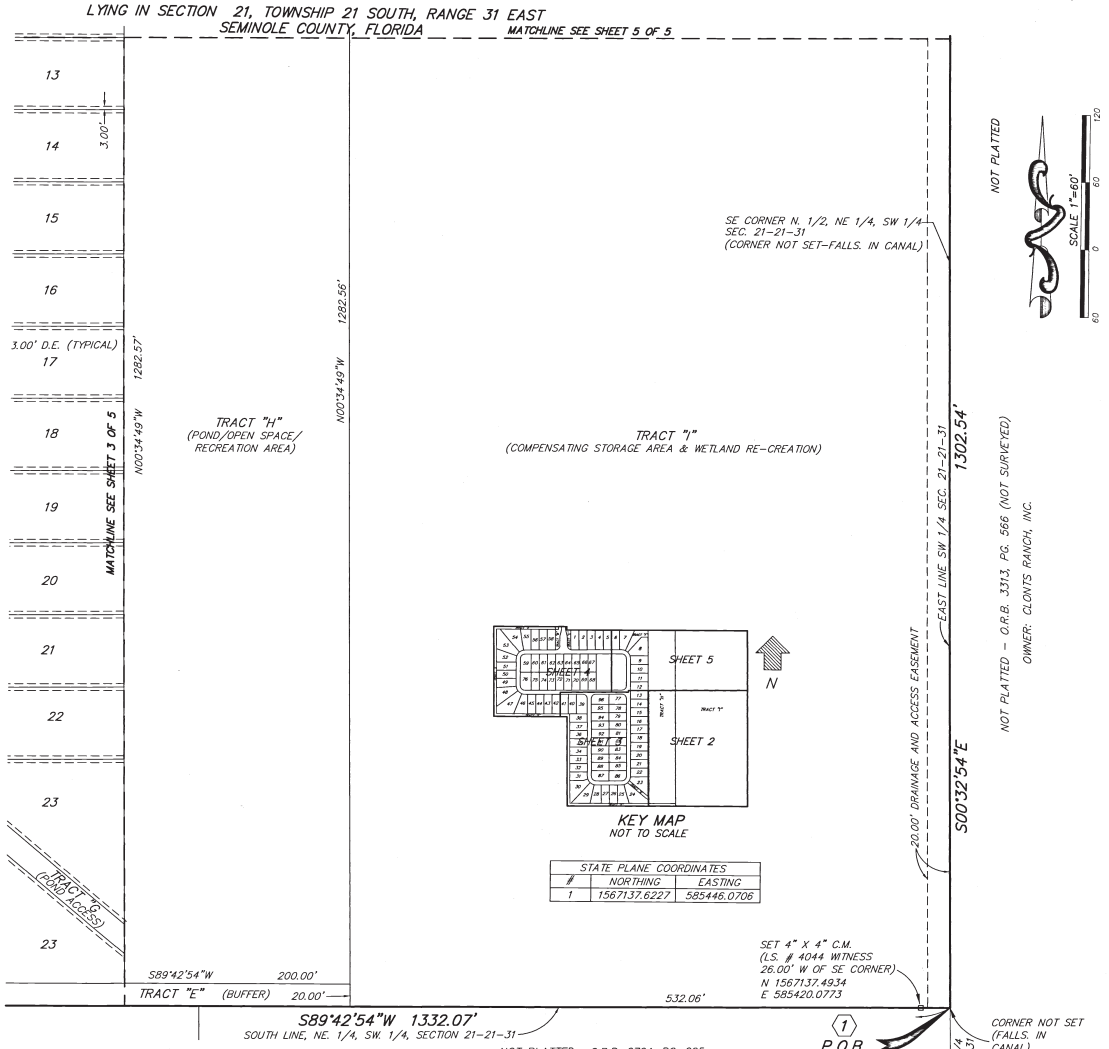

STATE PLANE COORDINATES		
#	NORTHING	EASTING
1	1567137.6227	585446.0706

PEC | SURVEYING AND MAPPING, LLC
CERTIFICATE OF AUTHORIZATION NUMBER LB. 7808
2100 Alafaya Trail, Suite 203 • Oviedo, Florida 32765 • 407-542-4967

PARKDALE PLACE

LYING IN SECTION 21, TOWNSHIP 21 SOUTH, RANGE 31 EAST
SEMINOLE COUNTY, FLORIDA

SHEET 3 OF 5

PLAT BOOK 83 PAGE 21

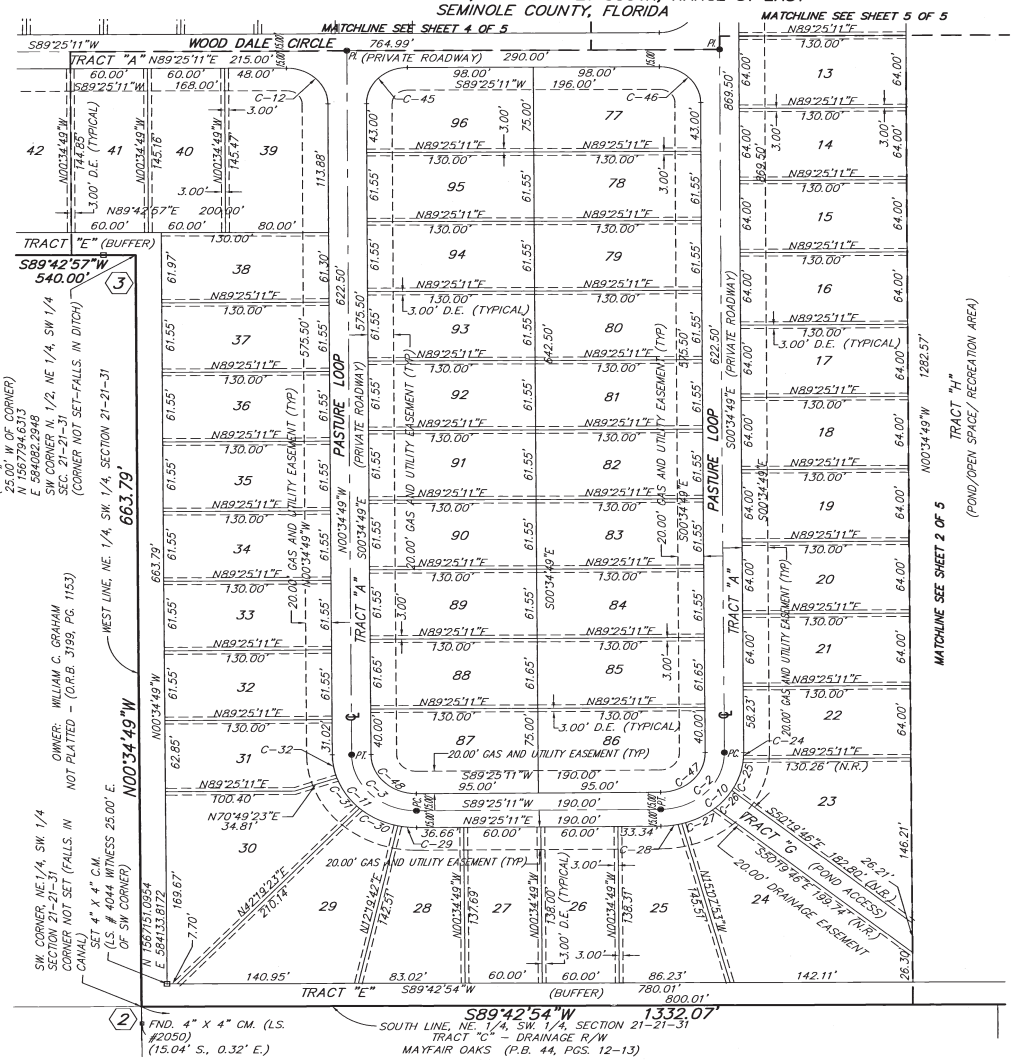

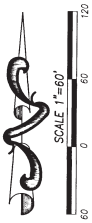

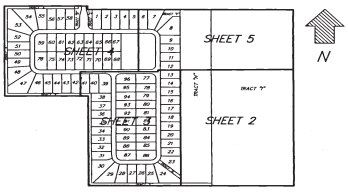

KEY MAP
NOT TO SCALE

CURVE TABLE					
CURVE	RADIUS	DELTA	LENGTH	CHORD	CH. BEARING
C-2	50.00'	90°00'00"	78.54'	70.71'	N44°25'11"E
C-3	50.00'	90°00'00"	78.54'	70.71'	S45°34'49"E
C-10	65.00'	90°00'00"	102.10'	91.92'	N44°25'11"E
C-11	65.00'	90°00'00"	102.10'	91.92'	S45°34'49"E
C-12	32.00'	90°00'00"	50.27'	45.25'	S45°34'49"E
C-24	65.00'	05°05'42"	5.78'	5.78'	N01°58'02"E
C-25	65.00'	26°18'21"	29.84'	29.58'	N17°40'04"E
C-26	65.00'	17°41'59"	20.08'	20.00'	N39°40'14"E
C-27	65.00'	26°20'53"	29.89'	29.63'	N61°41'40"E
C-28	65.00'	14°33'04"	16.51'	16.46'	N82°08'39"E
C-29	65.00'	12°54'31"	14.64'	14.61'	S84°07'34"E
C-30	65.00'	29°59'41"	34.03'	33.64'	S62°40'27"E
C-31	65.00'	28°30'00"	32.33'	32.00'	S33°25'37"E
C-32	65.00'	18°35'47"	21.10'	21.00'	S09°52'43"E
C-45	32.00'	90°00'00"	50.27'	45.25'	N44°25'11"E
C-46	32.00'	90°00'00"	50.27'	45.25'	S45°34'49"E
C-47	35.00'	90°00'00"	54.98'	49.50'	S44°25'11"W
C-48	35.00'	90°00'00"	54.98'	49.50'	N45°34'49"W

STATE PLANE COORDINATES		
#	NORTHING	EASTING
2	1567130.9968	584114.0184
3	1567794.7553	584107.2945

LEGEND

P.O.C.....POINT OF COMMENCEMENT
P.O.B.....POINT OF BEGINNING
R/W.....RIGHT-OF-WAY
P.B.....PLAT BOOK
O.R.B.....OFFICIAL RECORDS BOOK
PG.....PAGE
I.R.C.....IRON REBAR WITH CAP
CM.....CONCRETE MONUMENT
LB.....LISENCED BUSINESS
L.S.....LAND SURVEYOR
(N.R.).....NOT RADIAL

(2).....INDICATES STATE PLANE COORDINATES
⊡.....SET 4" X 4" CONCRETE MONUMENT LS. # 4044 UNLESS OTHERWISE NOTED
Q.C.D.....QUIT CLAIM DEED
D.E.....DRAINAGE EASEMENT
(TYP).....TYPICAL
℄.....CENTERLINE
P.T.....POINT OF TANGENCY
P.C.....POINT OF CURVATURE
(TYP).....TYPICAL
U.E.....UTILITY EASEMENT
D.B.....DEED BOOK
PI.....POINT OF INTERSECTION

PEC | SURVEYING AND MAPPING, LLC
CERTIFICATE OF AUTHORIZATION NUMBER LB. 7808
2100 Alafaya Trail, Suite 203 • Oviedo, Florida 32765 • 407-542-4967

SHEET 4 OF 5

PLAT BOOK 83 PAGE 22

PARKDALE PLACE

LYING IN SECTION 21, TOWNSHIP 21 SOUTH, RANGE 31 EAST
SEMINOLE COUNTY, FLORIDA

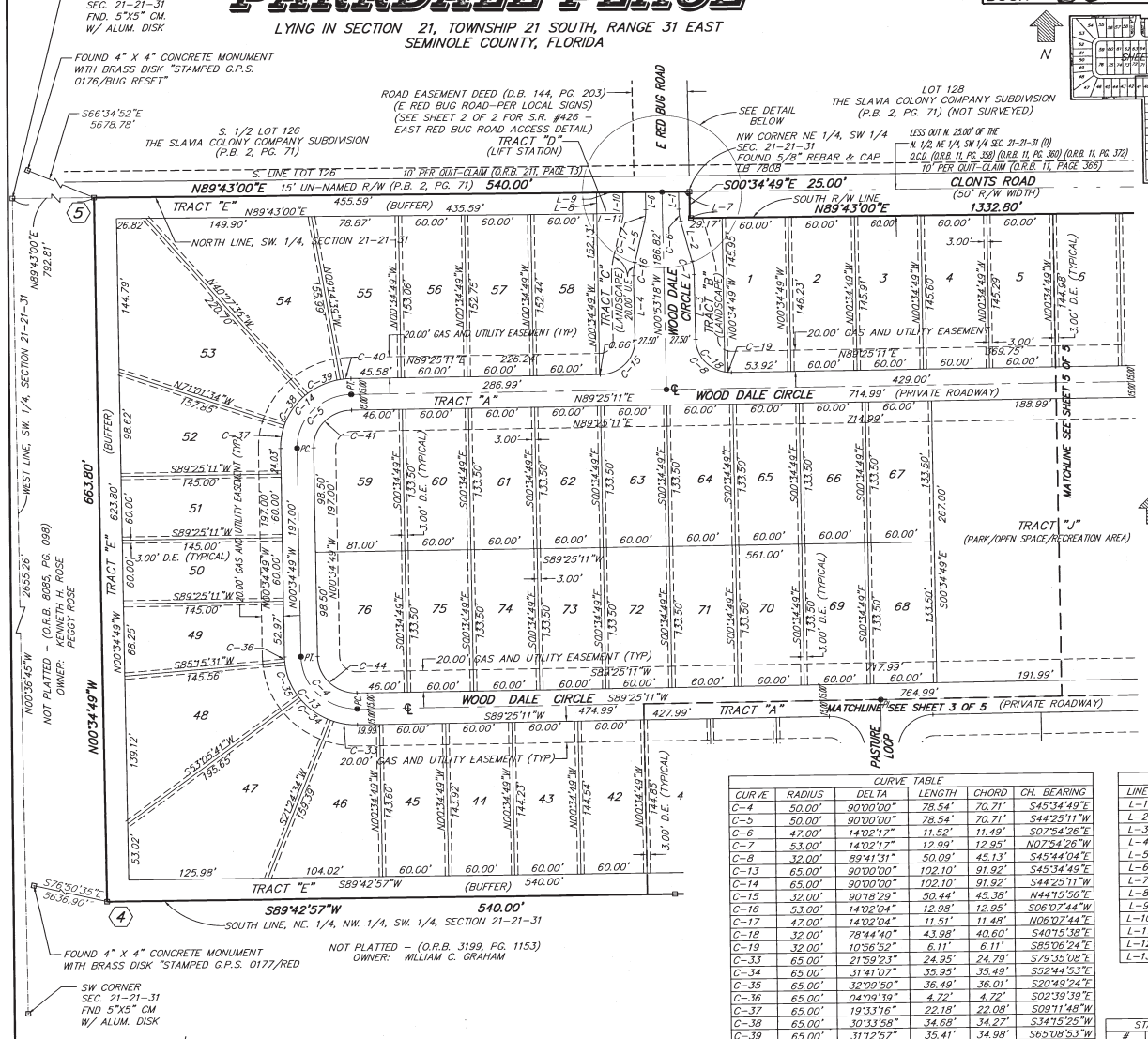

CURVE TABLE					
CURVE	RADIUS	DELTA	LENGTH	CHORD	CH. BEARING
C-4	50.00'	90°00'00"	78.54'	70.71'	S45°34'49"E
C-5	50.00'	90°00'00"	78.54'	70.71'	S44°25'11"W
C-6	47.00'	14°02'12"	11.52'	11.49'	S07°54'26"E
C-7	53.00'	14°02'12"	12.99'	12.95'	N07°54'26"W
C-8	32.00'	89°41'31"	50.09'	45.13'	S45°44'04"E
C-13	65.00'	90°00'00"	102.10'	91.92'	S45°34'49"E
C-14	65.00'	90°00'00"	102.10'	91.92'	S44°25'11"W
C-15	32.00'	90°18'29"	50.44'	45.38'	N44°15'56"E
C-16	53.00'	14°02'04"	12.98'	12.95'	S06°07'44"W
C-17	47.00'	14°02'04"	11.51'	11.48'	N06°07'44"E
C-18	32.00'	78°44'40"	43.98'	40.60'	S40°15'38"E
C-19	32.00'	10°56'52"	6.11'	6.11'	S85°06'24"E
C-33	65.00'	21°59'23"	24.95'	24.79'	S79°35'08"E
C-34	65.00'	31°41'07"	35.95'	35.49'	S52°44'53"E
C-35	65.00'	32°09'50"	36.49'	36.01'	S20°49'24"E
C-36	65.00'	04°09'39"	4.72'	4.72'	S02°39'39"E
C-37	65.00'	19°33'16"	22.18'	22.08'	S09°11'48"W
C-38	65.00'	30°33'58"	34.68'	34.27'	S34°15'25"W
C-39	65.00'	31°12'57"	35.41'	34.98'	S65°08'53"W
C-40	65.00'	08°39'50"	9.83'	9.82'	S85°05'16"W
C-41	35.00'	90°00'00"	54.98'	49.50'	N44°25'11"E
C-44	35.00'	90°00'00"	54.98'	49.50'	N45°34'49"W

LINE TABLE		
LINE	BEARING	LENGTH
L-1	N00°53'18"W	16.52'
L-2	S14°55'35"E	39.22'
L-3	S00°53'18"E	61.15'
L-4	S00°53'18"E	60.54'
L-5	N13°08'46"E	39.24'
L-6	N00°53'18"W	16.81'
L-7	N89°43'00"E	10.00'
L-8	N00°34'49"W	20.00'
L-9	N89°43'00"E	23.91'
L-10	S00°53'18"E	20.00'
L-11	N89°43'00"E	24.02'
L-12	S00°53'18"E	22.35'
L-13	S13°08'46"W	40.50'

STATE PLANE COORDINATES		
#	NORTHING	EASTING
4	1567792.0771	583567.3011
5	1568455.8435	583560.5771
6	1568458.5139	584100.5705
7	1568433.5148	584100.8238

PEC | SURVEYING AND MAPPING, LLC
CERTIFICATE OF AUTHORIZATION NUMBER LB. 7808
2100 Alafaya Trail, Suite 203 • Oviedo, Florida 32765 • 407-542-4967

PARKDALE PLACE

SHEET 5 OF 5

PLAT BOOK 83 PAGE 23

LYING IN SECTION 21, TOWNSHIP 21 SOUTH, RANGE 31 EAST
SEMINOLE COUNTY, FLORIDA

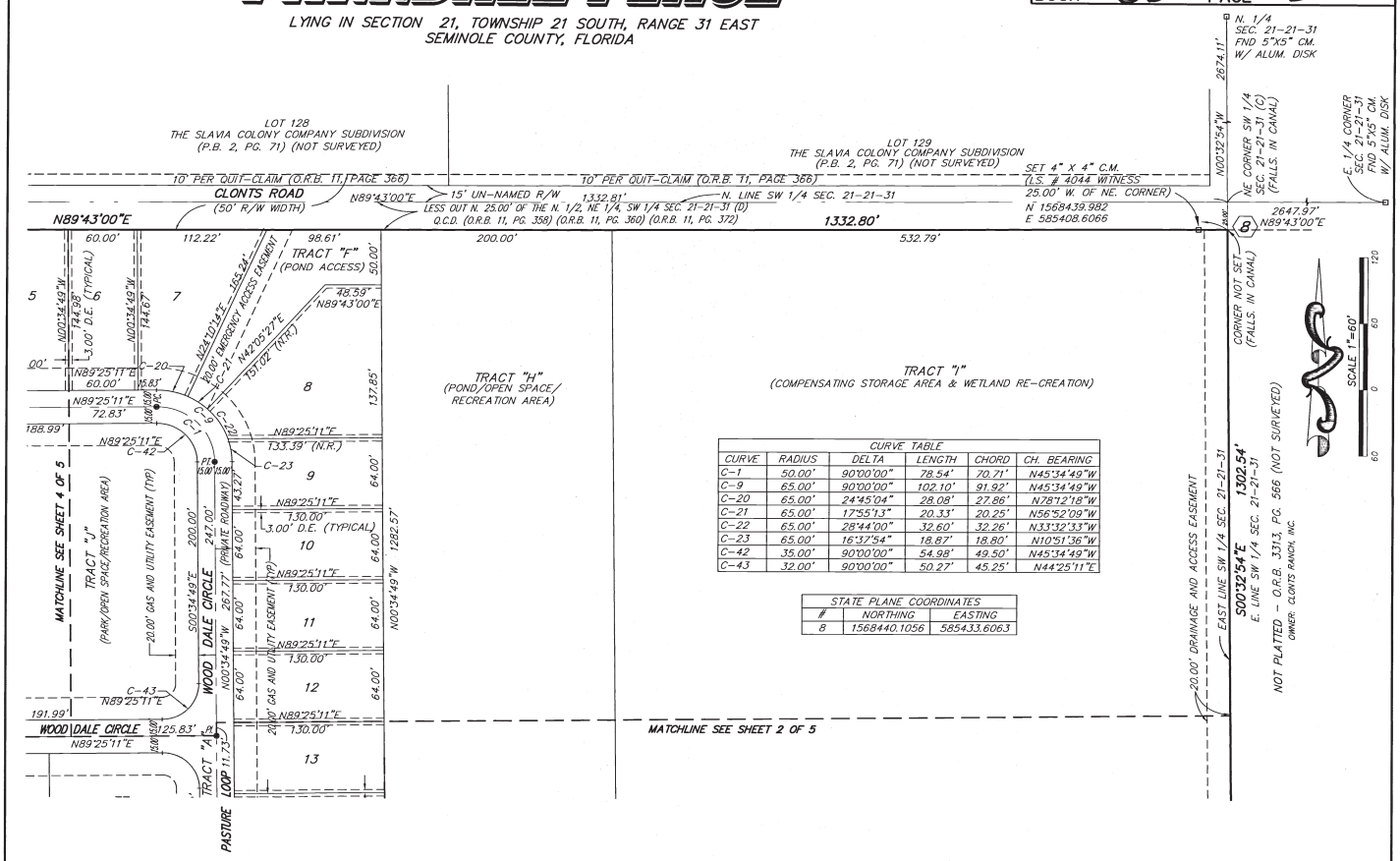

CURVE TABLE					
CURVE	RADIUS	DELTA	LENGTH	CHORD	CH. BEARING
C-1	50.00'	90°00'00"	78.54'	70.71'	N45°34'49"W
C-9	65.00'	90°00'00"	102.10'	91.92'	N45°34'49"W
C-20	65.00'	24°45'04"	28.08'	27.86'	N78°12'18"W
C-21	65.00'	17°55'13"	20.33'	20.25'	N56°52'09"W
C-22	65.00'	28°44'00"	32.60'	32.26'	N33°32'33"W
C-23	65.00'	16°37'54"	18.87'	18.80'	N10°51'36"W
C-42	35.00'	90°00'00"	54.98'	49.50'	N45°34'49"W
C-43	32.00'	90°00'00"	50.27'	45.25'	N44°25'11"E

STATE PLANE COORDINATES		
#	NORTHING	EASTING
8	1568440.1056	585433.6063

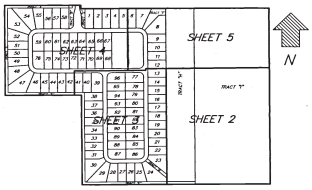

KEY MAP
NOT TO SCALE

PEC | SURVEYING AND MAPPING, LLC
CERTIFICATE OF AUTHORIZATION NUMBER LB. 7808
2100 Alafaya Trail, Suite 203 • Oviedo, Florida 32765 • 407-542-4967