LAKESIDE AT HAMLIN

A REPLAT OF LOT 3, HAMLIN SOUTHWEST INFRASTRUCTURE
AS RECORDED IN PLAT BOOK ___, PAGES ___ THROUGH ___,
LYING IN SECTIONS 20 AND 29, TOWNSHIP 23 SOUTH, RANGE 27 EAST,
ORANGE COUNTY, FLORIDA

LEGAL DESCRIPTION:

A PARCEL OF LAND COMPRISING PORTIONS OF SECTIONS 20 AND 29, TOWNSHIP 23 SOUTH, RANGE 27 EAST LYING IN ORANGE COUNTY, FLORIDA.

BEING MORE PARTICULARLY DESCRIBED AS:

COMMENCE AT THE SOUTHWEST CORNER OF SAID SECTION 20; THENCE RUN NORTH 89°39'25" EAST ALONG THE SOUTH LINE OF THE SOUTHWEST QUARTER OF SAID SECTION 20 FOR A DISTANCE OF 964.81 FEET TO A POINT ON THE EAST RIGHT-OF-WAY LINE OF LAKE HAMLIN TRAIL ACCORDING TO PLAT BOOK _____, PAGES _____ BEING A POINT ON A NON-TANGENT CURVE AND THE **POINT OF BEGINNING**; SAID CURVE BEING CONCAVE SOUTHEASTERLY HAVING A RADIUS OF 510.00 FEET, A CENTRAL ANGLE OF 40°48'34", A CHORD BEARING OF NORTH 22°35'08" EAST AND A CHORD DISTANCE OF 355.62 FEET; THENCE RUN THE FOLLOWING COURSES ALONG SAID EAST RIGHT-OF-WAY LINE: NORTHEASTERLY ALONG THE ARC OF SAID CURVE FOR A DISTANCE OF 363.25 FEET TO A POINT OF TANGENCY; THENCE RUN NORTH 42°59'25" EAST FOR A DISTANCE OF 616.65 FEET TO A POINT OF CURVATURE OF A CURVE CONCAVE SOUTHEASTERLY HAVING A RADIUS OF 1445.00 FEET, A CENTRAL ANGLE OF 10°30'55", A CHORD BEARING OF NORTH 48°14'52" EAST AND A CHORD DISTANCE OF 264.82 FEET, THENCE RUN NORTHEASTERLY ALONG THE ARC OF SAID CURVE FOR A DISTANCE OF 265.19 FEET TO A POINT OF REVERSE CURVATURE OF A CURVE CONCAVE NORTHWESTERLY HAVING A RADIUS OF 555.00 FEET, A CENTRAL ANGLE OF 45°54'34", A CHORD BEARING OF NORTH 30°33'03" EAST AND A CHORD DISTANCE OF 432.90 FEET; THENCE RUN NORTHEASTERLY ALONG THE ARC OF SAID CURVE FOR A DISTANCE OF 444.70 FEET TO A POINT OF NON-TANGENCY ON THE NORTH LINE OF THE NORTHWEST QUARTER OF THE SOUTHEAST QUARTER OF THE SOUTHWEST QUARTER OF SAID SECTION 20; THENCE DEPARTING SAID EAST RIGHT-OF-WAY LINE RUN NORTH 89°38'32" EAST ALONG SAID NORTH LINE FOR A DISTANCE OF 52.84 FEET TO THE NORTHEAST CORNER OF THE NORTHWEST QUARTER OF THE SOUTHEAST QUARTER OF THE SOUTHWEST QUARTER OF SAID SECTION 20 ALSO BEING A POINT ON THE WEST LIMITED ACCESS RIGHT-OF-WAY LINE OF STATE ROAD 429 ACCORDING TO PROJECT NO. 75320-6460-653; THENCE RUN THE FOLLOWING COURSES ALONG SAID WEST LIMITED ACCESS RIGHT-OF-WAY LINE: SOUTH 00°04'33" EAST FOR A DISTANCE OF 1470.16 FEET; THENCE RUN NORTH 77°53'50" EAST FOR A DISTANCE OF 33.69 FEET; THENCE RUN SOUTH 00°40'25" EAST FOR A DISTANCE OF 342.31 FEET TO A POINT ON A NON-TANGENT CURVE CONCAVE NORTHWESTERLY HAVING A RADIUS OF 3669.72 FEET, A CENTRAL ANGLE OF 05°47'21", A CHORD BEARING OF SOUTH 38°53'20" WEST AND A CHORD DISTANCE OF 370.63 FEET; THENCE RUN SOUTHWESTERLY ALONG THE ARC OF SAID CURVE FOR A DISTANCE OF 370.79 FEET TO THE POINT OF TANGENCY; THENCE RUN SOUTH 41°47'01" WEST FOR A DISTANCE OF 407.80 FEET TO THE MOST EASTERLY CORNER OF LOT 1, HAMLIN SOUTHWEST INFRASTRUCTURE ACCORDING TO PLAT BOOK___, PAGES____ OF THE PUBLIC RECORDS OF ORANGE COUNTY, FLORIDA; THENCE DEPARTING AFORESAID WEST LIMITED ACCESS RIGHT-OF-WAY LINE OF STATE ROAD 42 RUN THE FOLLOWING COURSES ALONG THE NORTHERLY LINE OF SAID LOT 1, HAMLIN SOUTHWEST INFRASTRUCTURE: NORTH 48°12'59" WEST FOR A DISTANCE OF 81.50 FEET; THENCE RUN NORTH 41°46'36" EAST FOR A DISTANCE OF 46.85 FEET; THENCE RUN NORTH 04°35'03" WEST FOR A DISTANCE OF 38.04 FEET; THENCE RUN NORTH 48°12'59" WEST FOR A DISTANCE OF 38.69 FEET; THENCE RUN NORTH 13°51'10" WEST FOR A DISTANCE OF 54.53 FEET TO A POINT ON A NON-TANGENT CURVE CONCAVE NORTHEASTERLY HAVING A RADIUS OF 90.00 FEET, A CENTRAL ANGLE OF 39°19'05", A CHORD BEARING OF NORTH 68°03'58" WEST AND A CHORD DISTANCE OF 60.56 FEET; THENCE RUN NORTHWESTERLY ALONG THE ARC OF SAID CURVE FOR A DISTANCE OF 61.76 FEET TO A POINT OF TANGENCY; THENCE RUN NORTH 48°24'26" WEST FOR A DISTANCE OF 681.54 FEET TO A POINT OF CURVATURE OF A CURVE CONCAVE SOUTHERLY HAVING A RADIUS OF 25.00 FEET, A CENTRAL ANGLE OF 90°19'16", A CHORD BEARING OF SOUTH 86°25'57" WEST AND A CHORD DISTANCE OF 35.45 FEET; THENCE RUN WESTERLY ALONG THE ARC OF SAID CURVE FOR A DISTANCE OF 39.41 FEET TO THE NORTHWEST CORNER OF SAID LOT 1, HAMLIN SOUTHWEST INFRASTRUCTURE AND A POINT ON THE EAST RIGHT-OF-WAY LINE OF LAKE HAMLIN TRAIL ACCORDING TO AFORESAID PLAT BOOK___, PAGES____, SAID POINT BEING THE CUSP OF A CURVE CONCAVE NORTHWESTERLY HAVING A RADIUS OF 465.00 FEET, A CENTRAL ANGLE OF 45°02'49", A CHORD BEARING OF NORTH 18°44'54" EAST AND A CHORD DISTANCE OF 356.25 FEET; THENCE RUN THE FOLLOWING TWO COURSES ALONG SAID EAST RIGHT-OF-WAY LINE: NORTHEASTERLY ALONG THE ARC OF SAID CURVE FOR A DISTANCE OF 365.59 FEET TO A POINT OF REVERSE CURVATURE OF A CURVE CONCAVE EASTERLY HAVING A RADIUS OF 510.00 FEET, A CENTRAL ANGLE OF 05°57'21", A CHORD BEARING OF NORTH 00°47'50" WEST AND A CHORD DISTANCE OF 52.99 FEET; THENCE RUN NORTHWESTERLY ALONG THE ARC OF SAID CURVE FOR A DISTANCE OF 53.01 FEET TO THE **POINT OF BEGINNING.**

CONTAINS 35.56 ACRES MORE OR LESS.

SURVEYOR'S NOTES:

1. BEARINGS SHOWN HEREON ARE ASSUMED AND BASED ON THE SOUTH LINE OF THE SOUTHWEST 1/4 OF SECTION 20-23-27 AS BEING AN ASSUMED BEARING OF NORTH 89°39'25" EAST, FOR ANGULAR DESIGNATION ONLY.

2. ALL LOT LINES INTERSECTING CURVES ARE RADIAL, UNLESS OTHERWISE NOTED NON-RADIAL (N.R.).

3. ALL PLATTED UTILITY EASEMENTS SHALL ALSO BE EASEMENTS FOR THE CONSTRUCTION, INSTALLATION, MAINTENANCE, AND OPERATION OF CABLE TELEVISION AND DATA SERVICES; PROVIDED, HOWEVER, NO SUCH CONSTRUCTION, INSTALLATION, MAINTENANCE, AND OPERATION OF CABLE TELEVISION SERVICES SHALL INTERFERE WITH THE FACILITIES AND SERVICES OF AN ELECTRIC, TELEPHONE, GAS, OR OTHER PUBLIC UTILITY. IN THE EVENT A CABLE TELEVISION COMPANY DAMAGES THE FACILITIES OF A PUBLIC UTILITY, IT SHALL BE SOLELY RESPONSIBLE FOR THE DAMAGES. THIS SECTION SHALL NOT APPLY TO THOSE PRIVATE EASEMENTS GRANTED TO OR OBTAINED BY A PARTICULAR ELECTRIC, TELEPHONE, GAS, OR OTHER PUBLIC UTILITY. SUCH CONSTRUCTION, INSTALLATION, MAINTENANCE, AND OPERATION SHALL COMPLY WITH THE NATIONAL ELECTRICAL SAFETY CODE AS ADOPTED BY THE FLORIDA PUBLIC SERVICE COMMISSION.

4. THE LANDS SHOWN HEREON ARE SUBJECT TO THAT CERTAIN DECLARATION OF COVENANTS, EASEMENTS AND RESTRICTIONS (THE DEDICATION) FOR THE PROPERTY OWNERS ASSOCIATION, INC. (THE ASSOCIATION) RECORDED IN THE PUBLIC RECORDS OF ORANGE COUNTY, FLORIDA, AND ANY SUPPLEMENT AND/OR AMENDMENTS THERETO.

5. THE PLAT AND THE LANDS SHOWN HEREIN ARE SUBJECT TO THE HAMLIN WEST MASTER DECLARATION AS RECORDED IN DOCUMENT NO. 20180535536 OF THE PUBLIC RECORDS OF ORANGE COUNTY, FLORIDA AND ANY SUPPLEMENT AND/OR AMENDMENT THERETO.

6. TRACTS OS-1, OS-2, OS-3, OS-4 AND OS-5 (OPEN SPACE TRACTS) ARE COMMON AREAS, SAID TRACTS SHALL BE OWNED AND MAINTAINED BY THE ASSOCIATION.

7. TRACTS P-1, P-2 AND P-3 (PARK TRACTS) ARE COMMON AREAS AND, SAID TRACTS SHALL BE OWNED AND MAINTAINED BY THE ASSOCIATION.

8. A UTILITY EASEMENT IS HEREBY DEDICATED OVER THE ENTIRETY OF TRACT OS-5, (OPEN SPACE) FOR THE PERPETUAL USE OF THE PUBLIC.

9. THE 40.00 FOOT GRADING BUFFER SHOWN HEREON SHALL BE DEDICATED TO AND MAINTAINED BY THE ASSOCIATION IN ACCORDANCE WITH THE PROVISIONS OF THE DEDICATION.

10. THE PRIVATE ACCESS AND DRAINAGE EASEMENTS (P.A.D.E.) AS DEPICTED ARE RESERVED FOR THE EXCLUSIVE USE AND BENEFIT OF THE FOLLOWING ENTITIES AND FOR THE FOLLOWING PURPOSES; (I) THE ASSOCIATION FOR THE PURPOSE OF EXERCISING ALL POWERS AND RESPONSIBILITIES DELEGATED TO THE ASSOCIATION PURSUANT TO THE DECLARATION, (II) THE OWNERS OF THE LOTS WITHIN THE PROPERTY FOR PURPOSES OF ACCESS TO AND FROM PUBLIC STREETS AND LOTS LYING ADJACENT TO SUCH PRIVATE ACCESS AND DRAINAGE EASEMENTS, AND (III) ORANGE COUNTY AND ITS EMPLOYEES AND AGENTS SOLEY FOR THE PURPOSE OF PERFORMING MUNICIPAL AND GOVERNMENT FUNCTIONS REASONABLY NECESSARY TO PROVIDE FOR AND PROTECT THE HEALTH, SAFETY AND WELFARE OF THE PROPERTY AND OWNERS THEREOF OR RESIDENTS THEREON, AS WELL AS SUCH OWNER'S GUESTS AND INVITEES, INCLUDING BUT NOT LIMITED TO, POLICE, FIRE AND EMERGENCY MEDICAL SERVICES. ANY ACCESS IMPROVEMENTS AND APPURTENANCES AND RELATED FACILITIES CONSTRUCTED WITHIN THE AREA OF THE AFOREDESCRIBED PRIVATE ACCESS AND DRAINAGE EASEMENTS SHALL BE MAINTAINED BY THE ASSOCIATION. ALL PRIVATE ACCESS AND DRAINAGE EASEMENTS ARE NOT DEDICATED TO THE PUBLIC, BUT ARE PRIVATE, AND ARE HEREBY RESERVED BY THE OWNER IN FAVOR OF THE ASSOCIATION AND SHALL BE MAINTAINED BY THE ASSOCIATION.

LEGEND:

DOC#	OFFICIAL RECORD DOCUMENT NUMBER OF THE PUBLIC RECORDS OF ORANGE COUNTY, FLORIDA	⊡	RECOVERED 4" X 4" CONCRETE MONUMENT LB 6723, UNLESS OTHERWISE NOTED
PG(S).	PAGE (PAGES)	■	SET 4" X 4" CONCRETE MONUMEN LB 6723
P.B.	PLAT BOOK	LB	LICENSED BUSINESS
CCR#	CERTIFIED CORNER RECORD	℄	CENTERLINE
R	RADIUS	◉	PERMANENT CONTROL POINT (PCP)
Δ	CENTRAL ANGLE	∘	CHANGE IN DIRECTION
O.C.A.E.	ORANGE COUNTY ACCESS EASEMENT	—///—	LIMITED ACCESS RIGHT-OF-WAY LINE
P.C.C.	POINT OF COMPOUND CURVATURE	R/W	RIGHT-OF-WAY

L	ARC LENGTH	U.E.	UTILITY EASEMENT
CH	CHORD LENGTH	P.I.	POINT OF INTERSECTION
CB	CHORD BEARING	R.P.	RADIUS POINT
N.R.	NON-RADIAL	P.S.M.	PROFESSIONAL SURVEYOR AND MAPPER
N.T.	NON-TANGENT	D.B.	DEED BOOK
P.C.	POINT OF CURVATURE	D.E.	DRAINAGE EASEMENT
P.T.	POINT OF TANGENCY	P.A.D.E.	PRIVATE ACCESS & DRAINAGE EASEMENT
P.R.C.	POINT OF REVERSE CURVATURE	OA	OVERALL DISTANCE

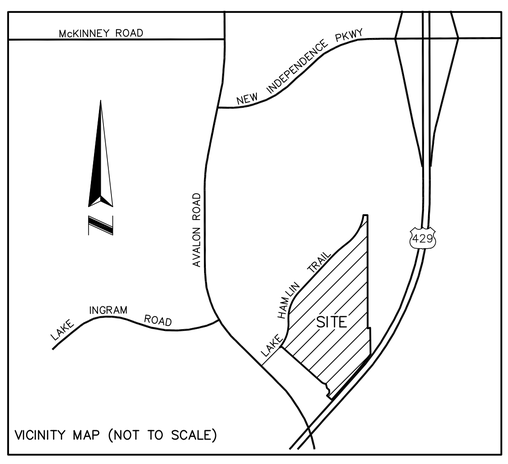

VICINITY MAP (NOT TO SCALE)

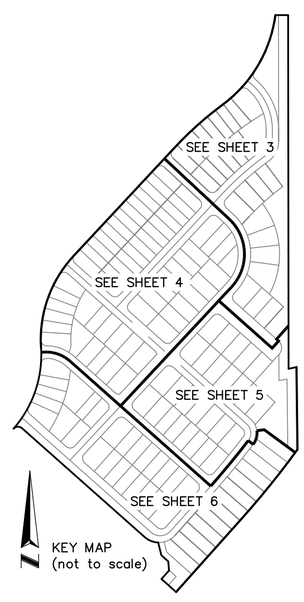

KEY MAP
(not to scale)

The property shown hereon represents the lands included in the HAMLIN SOUTHWEST PD/HAMLIN SOUTHWEST SUBDIVISION Preliminary Subdivision Plan (Case No. PSP-19-06-205) as approved by the Orange County Board of County Commissioners on February 11, 2020.

NOTICE: THIS PLAT, AS RECORDED IN ITS GRAPHIC FORM, IS THE OFFICIAL DEPICTION OF THE SUBDIVIDED LANDS DESCRIBED HEREIN AND WILL IN NO CIRCUMSTANCES BE SUPPLANTED IN AUTHORITY BY ANY OTHER GRAPHIC OR DIGITAL FORM OF THE PLAT. THERE MAY BE ADDITIONAL RESTRICTIONS THAT ARE NOT RECORDED ON THIS PLAT THAT MAY BE FOUND IN THE PUBLIC RECORDS OF THIS COUNTY.

QUALIFICATION STATEMENT OF SURVEYOR AND MAPPER

KNOW ALL MEN BY THESE PRESENTS, that I the undersigned, being a licensed surveyor and mapper, do hereby certify that on 3-20-2020 I completed the survey of the lands as shown in the foregoing plat or plan: that said plat is a true and correct representation of the lands surveyed and platted and was prepared under my direction and supervision; that permanent reference monuments have been placed as shown thereon; and this plat complies with all the survey requirements of Chapter 177, Florida Statutes; and that said land is located in Orange County, Florida.

By: _____ Date: _____

James L. Rickman P.S.M. # 5633

Allen & Company
Licensed Business # 6723
16 East Plant Street
Winter Garden, Florida 34787

ALLEN & COMPANY
Professional Surveyors & Mappers
16 EAST PLANT STREET
WINTER GARDEN, FLORIDA 34787
(407) 654-5355

PLAT BOOK_____ PAGE _____

LAKESIDE AT HAMLIN

D E D I C A T I O N

KNOW ALL MEN BY THESE PRESENTS, That Jen Florida 38, LLC, a Florida limited liability company being the owner in fee simple of all of the lands described in the foregoing caption to this plat, hereby dedicates said lands and plat for the uses and purposes therein expressed and dedicates the Streets, Drainage Easements and Utility Easements to the perpetual use of the public.

Tract LS-1 (Lift Station) is hereby dedicated in fee simple to Orange County, Florida without any restriction whatsoever. County ownership of this tract and the improvements thereon vests upon approval of this plat by the Board of County Commissioners of Orange County, Florida. Recording of this plat shall act as conveyance to Orange County, Florida and no further instrument shall be necessary to vest fee simple in the county as aforementioned.
The Orange County Access Easement (O.C.A.E.) over a portion of Tract OS-5 is dedicated to and shall be maintained by Orange County, Florida.

IN WITNESS WHEREOF, the undersigned have caused these presents to be executed and acknowledged by its undersigned Officer thereunto duly authorized on this ____ day of _____ 2020.

_____
Signature of Witness

_____
Printed Name of Witness

_____
Signature of Witness

_____
Printed Name of Witness

Jen Florida 38, LLC, a Florida limited liability company

By: Sun Terra Communities 1,LLC, a Florida Limited Liability company, as its manager.

By: _____
Richard A. Jerman, Manager

STATE OF FLORIDA COUNTY OF ORANGE

I HEREBY CERTIFY, that on this day, before me by means of ( ) physical presence or ( ) online notarization personally appeared Richard A. Jerman, Manager of Sun Terra Communities 1, LLC, a Florida Limited Liability company, as Manager of Jen Florida 38, LLC, a Florida Limited Liability company, who is ( ) personally known to me or ( ) produced _____ as identification, and the individual and officer described in and who executed the foregoing conveyance and acknowledged the execution thereof to be his free act and deed as such thereunto duly authorized.

WITNESS my hand and official seal this ____ day of_____ 2020.

_____
Signature of Notary Public

_____
Printed Name of Notary Public

Notary Public in and for the State of Florida

My Commission Expires:_____

Commission Number:_____

CERTIFICATE OF APPROVAL BY COUNTY ENGINEER

Examined and Approved _____
County Engineer Date

CERTIFICATE OF REVIEW BY COUNTY SURVEYOR

This plat has been reviewed for conformity with Chapter 177, Florida Statutes.

_____
County Surveyor Date

CERTIFICATE OF APPROVAL BY ZONING DIRECTOR

Examined and Approved _____
Zoning Director Date

CERTIFICATE OF APPROVAL BY BOARD OF COUNTY COMMISSIONERS

THIS IS TO CERTIFY, that on_____ the foregoing plat was approved by the Board of County Commissioners of Orange County, Florida.

_____
Orange County

Attest: _____
Clerk of the Board.

By: _____ D.C.

CERTIFICATE OF COUNTY COMPTROLLER

I HEREBY CERTIFY, that the foregoing plat was recorded in the Orange County Official Records

on _____ as Document No. _____

County Comptroller in and for Orange County, Florida.

By _____

LAKESIDE AT HAMLIN

A REPLAT OF LOT 3, HAMLIN SOUTHWEST INFRASTRUCTURE
AS RECORDED IN PLAT BOOK ___, PAGES ___ THROUGH ___,
LYING IN SECTIONS 20 AND 29, TOWNSHIP 23 SOUTH, RANGE 27 EAST,
ORANGE COUNTY, FLORIDA

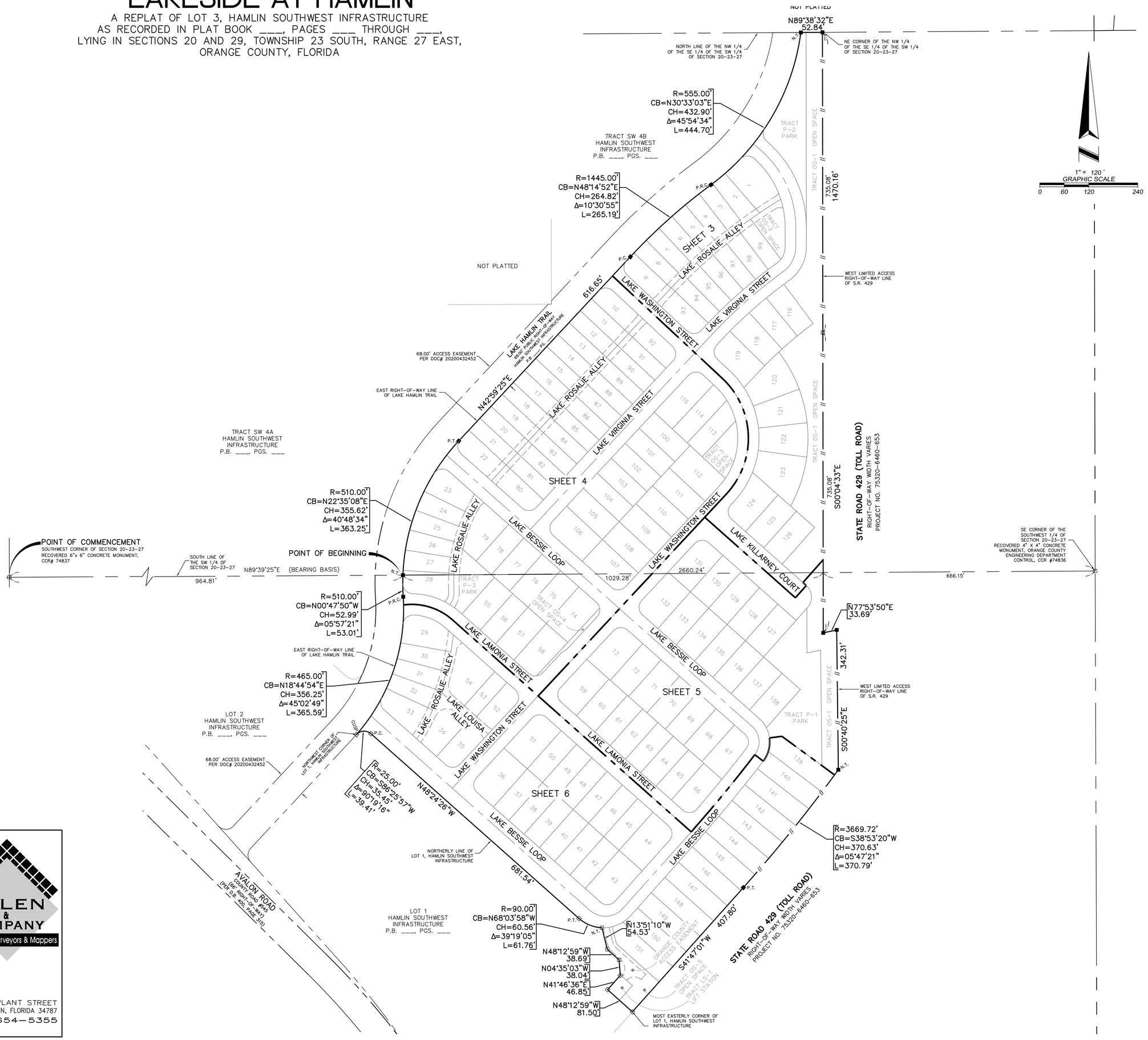

ALLEN & COMPANY
Professional Surveyors & Mappers
16 EAST PLANT STREET
WINTER GARDEN, FLORIDA 34787
(407) 654-5355

LAKESIDE AT HAMLIN

A REPLAT OF LOT 3, HAMLIN SOUTHWEST INFRASTRUCTURE
AS RECORDED IN PLAT BOOK ___, PAGES ___ THROUGH ___,
LYING IN SECTIONS 20 AND 29, TOWNSHIP 23 SOUTH, RANGE 27 EAST,
ORANGE COUNTY, FLORIDA

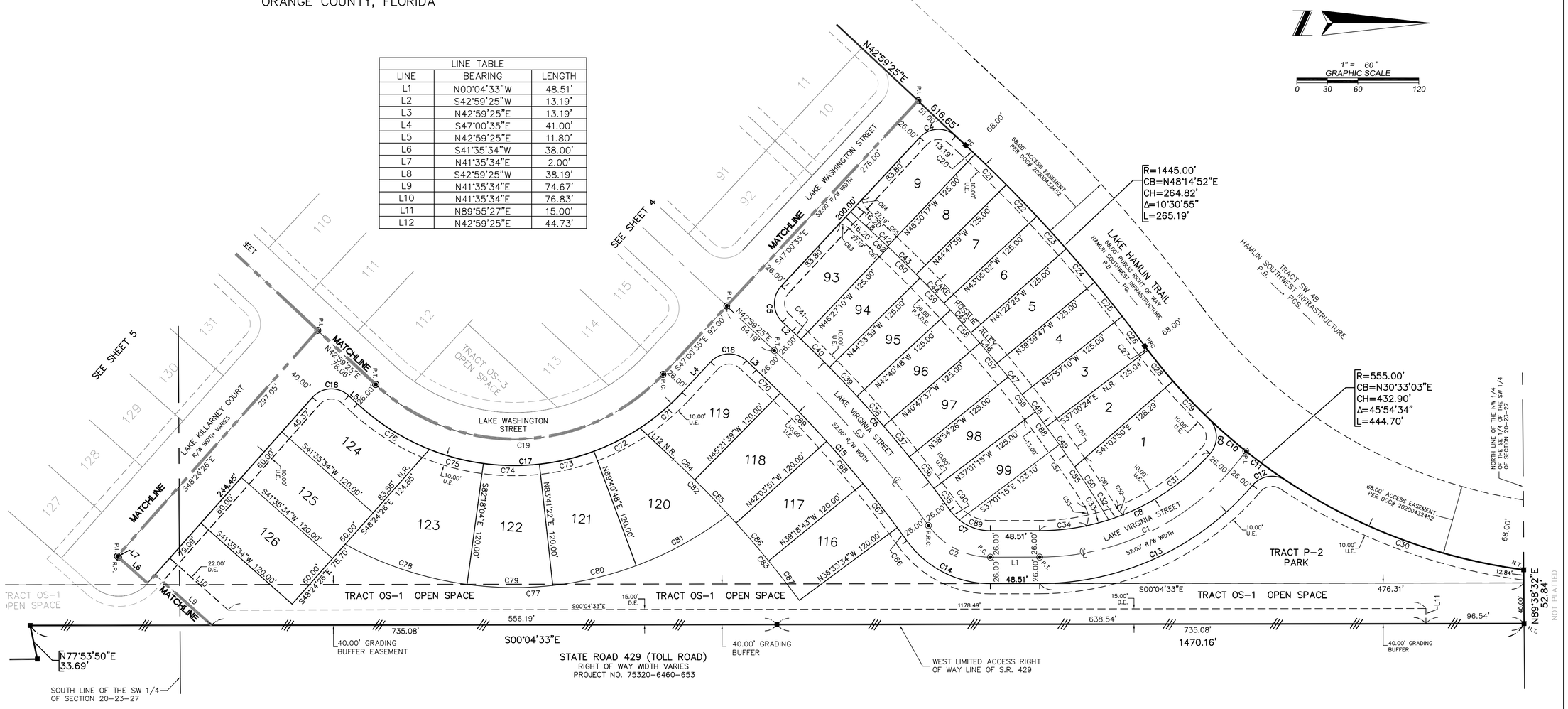

LINE TABLE		
LINE	BEARING	LENGTH
L1	N00°04'33"W	48.51'
L2	S42°59'25"W	13.19'
L3	N42°59'25"E	13.19'
L4	S47°00'35"E	41.00'
L5	N42°59'25"E	11.80'
L6	S41°35'34"W	38.00'
L7	N41°35'34"E	2.00'
L8	S42°59'25"W	38.19'
L9	N41°35'34"E	74.67'
L10	N41°35'34"E	76.83'
L11	N89°55'27"E	15.00'
L12	N42°59'25"E	44.73'

CURVE TABLE					
CURVE	RADIUS	BEARING	CHORD	DELTA	LENGTH
C1	250.00'	N27°12'51"W	228.07'	54°16'37"	236.83'
C2	75.00'	N27°05'12"E	68.48'	54°19'28"	71.11'
C3	1169.00'	S48°37'10"W	229.34'	11°15'31"	229.71'
C4	25.00'	S02°00'35"E	35.36'	90°00'00"	39.27'
C5	25.00'	N87°59'25"E	35.36'	90°00'00"	39.27'
C6	1195.00'	S48°37'10"W	234.44'	11°15'31"	234.82'
C7	49.00'	N27°05'12"E	44.74'	54°19'28"	46.46'
C8	224.00'	N24°19'24"W	183.99'	48°29'44"	189.59'
C9	25.00'	S87°34'03"W	34.65'	87°43'22"	38.28'
C10	555.00'	N41°11'22"E	48.74'	05°01'58"	48.75'
C11	555.00'	N36°08'28"E	49.04'	05°03'51"	49.05'
C12	25.00'	S07°57'03"E	33.17'	83°07'11"	36.27'
C13	276.00'	N24°47'36"W	230.82'	49°26'06"	238.13'
C14	101.00'	N27°05'12"E	92.22'	54°19'28"	95.76'
C15	1143.00'	S48°37'10"W	224.24'	11°15'31"	224.60'
C16	25.00'	S02°00'35"E	35.36'	90°00'00"	39.27'
C17	226.00'	N02°00'35"W	319.61'	90°00'00"	355.00'
C18	25.00'	S02°42'30"E	35.78'	91°23'50"	39.88'
C19	200.00'	N02°00'35"W	282.84'	90°00'00"	314.16'
C20	1445.00'	S43°14'34"W	12.74'	00°30'18"	12.74'
C21	1445.00'	S44°21'02"W	43.13'	01°42'37"	43.14'
C22	1445.00'	S46°03'39"W	43.13'	01°42'37"	43.14'
C23	1445.00'	S47°46'17"W	43.13'	01°42'37"	43.14'
C24	1445.00'	S49°28'54"W	43.13'	01°42'37"	43.14'
C25	1445.00'	S51°11'31"W	43.13'	01°42'37"	43.14'
C26	1445.00'	S52°46'35"W	36.77'	01°27'29"	36.77'
C27	555.00'	N53°14'58"E	4.96'	00°30'44"	4.96'
C28	555.00'	N50°57'53"E	39.29'	04°03'26"	39.30'
C29	555.00'	N46°19'16"E	50.64'	05°13'48"	50.66'

CURVE TABLE					
CURVE	RADIUS	BEARING	CHORD	DELTA	LENGTH
C30	555.00'	N20°36'09"E	249.82'	26°00'46"	251.98'
C31	224.00'	N35°06'36"W	104.29'	26°55'21"	105.25'
C32	224.00'	N19°42'10"W	15.21'	03°53'31"	15.22'
C33	224.00'	N14°51'32"W	22.65'	05°47'46"	22.66'
C34	224.00'	N06°01'06"W	46.38'	11°53'07"	46.47'
C35	1195.00'	S53°36'50"W	26.48'	01°16'11"	26.48'
C36	1195.00'	S52°02'09"W	39.34'	01°53'11"	39.34'
C37	1195.00'	S50°08'58"W	39.34'	01°53'11"	39.34'
C38	1195.00'	S48°15'48"W	39.34'	01°53'11"	39.34'
C39	1195.00'	S46°22'37"W	39.34'	01°53'11"	39.34'
C40	1195.00'	S44°29'26"W	39.34'	01°53'11"	39.34'
C41	1195.00'	S43°16'08"W	11.62'	00°33'25"	11.62'
C42	1320.00'	S43°14'34"W	11.64'	00°30'18"	11.64'
C43	1320.00'	S44°21'02"W	39.40'	01°42'37"	39.40'
C44	1320.00'	S46°03'39"W	39.40'	01°42'37"	39.40'
C45	1320.00'	S47°46'17"W	39.40'	01°42'37"	39.40'
C46	1320.00'	S49°28'54"W	39.40'	01°42'37"	39.40'
C47	1320.00'	S51°11'31"W	39.40'	01°42'37"	39.40'
C48	1320.00'	S52°54'30"W	39.67'	01°43'19"	39.67'
C49	1320.00'	S54°49'09"W	48.37'	02°05'59"	48.37'
C50	1320.00'	S57°12'48"W	61.94'	02°41'20"	61.95'
C51	1333.00'	S57°03'44"W	58.68'	02°31'21"	58.69'
C52	20.50'	N45°59'28"E	8.76'	24°39'52"	8.82'
C53	20.50'	S85°07'50"W	19.00'	55°12'06"	19.75'
C54	1307.00'	S55°15'16"W	103.77'	04°33'02"	103.80'
C55	1320.00'	S56°38'12"W	88.50'	03°50'32"	88.52'
C56	1320.00'	S52°02'09"W	43.46'	01°53'11"	43.46'
C57	1320.00'	S50°08'58"W	43.46'	01°53'11"	43.46'
C58	1320.00'	S48°15'48"W	43.46'	01°53'11"	43.46'

CURVE TABLE					
CURVE	RADIUS	BEARING	CHORD	DELTA	LENGTH
C59	1320.00'	S46°22'37"W	43.46'	01°53'11"	43.46'
C60	1320.00'	S44°29'26"W	43.46'	01°53'11"	43.46'
C61	1320.00'	S43°16'08"W	12.83'	00°33'25"	12.83'
C62	1307.00'	S43°16'08"W	12.71'	00°33'25"	12.71'
C63	20.50'	S26°45'52"W	11.46'	32°27'05"	11.61'
C64	20.50'	N59°12'58"E	11.46'	32°27'05"	11.61'
C65	1333.00'	S43°14'34"W	11.75'	00°30'18"	11.75'
C66	1143.00'	S53°50'41"W	16.12'	00°48'30"	16.12'
C67	1143.00'	S52°03'52"W	54.90'	02°45'09"	54.91'
C68	1143.00'	S49°18'43"W	54.90'	02°45'09"	54.91'
C69	1143.00'	S46°17'15"W	65.75'	03°17'47"	65.76'
C70	1143.00'	S43°48'53"W	32.90'	01°38'56"	32.90'
C71	226.00'	N40°05'52"W	54.40'	13°49'26"	54.53'
C72	226.00'	N26°45'10"W	50.64'	12°51'57"	50.75'
C73	226.00'	N13°18'55"W	55.12'	14°00'34"	55.26'
C74	226.00'	N00°41'39"E	55.12'	14°00'34"	55.26'
C75	226.00'	N14°40'29"E	54.89'	13°57'05"	55.03'
C76	226.00'	N32°19'13"E	83.69'	21°20'24"	84.17'
C77	346.00'	N04°24'41"W	378.22'	66°15'47"	400.15'
C78	346.00'	N18°12'35"E	126.23'	21°01'16"	126.94'
C79	346.00'	N00°41'39"E	84.39'	14°00'34"	84.60'
C80	346.00'	N13°18'55"W	84.39'	14°00'34"	84.60'
C81	346.00'	N28°55'53"W	103.62'	17°13'22"	104.01'
C82	1023.00'	S45°09'05"W	77.16'	04°19'20"	77.17'
C83	1023.00'	S50°22'36"W	109.36'	06°07'41"	109.41'
C84	1023.00'	S43°48'53"W	29.44'	01°38'56"	29.44'
C85	1023.00'	S46°17'15"W	58.85'	03°17'47"	58.86'
C86	1023.00'	S49°18'43"W	49.14'	02°45'09"	49.14'
C87	1023.00'	S52°03'52"W	49.14'	02°45'09"	49.14'
C89	49.00'	N19°06'05"E	32.19'	38°21'15"	32.80'
C90	49.00'	N46°15'49"E	13.61'	15°58'14"	13.66'

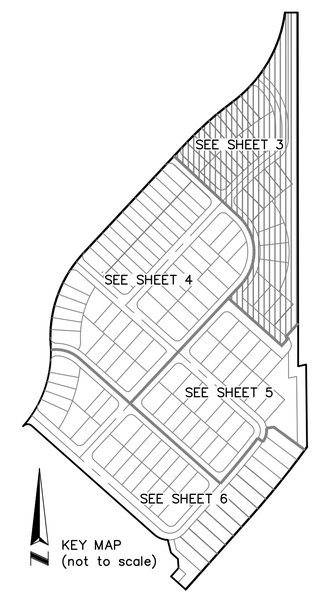

ALLEN & COMPANY
Professional Surveyors & Mappers
16 EAST PLANT STREET
WINTER GARDEN, FLORIDA 34787
(407) 654-5355

SHEET INDEX
SHEET 1 TO 2 OF 6 – LEGAL DESCRIPTION, DEDICATION, NOTES, LEGEND, & KEY SHEET
SHEET 3 TO 6 OF 6 – BOUNDARY INFORMATION, TRACT, & LOT BLOCK GEOMETRY

LAKESIDE AT HAMLIN

A REPLAT OF LOT 3, HAMLIN SOUTHWEST INFRASTRUCTURE
AS RECORDED IN PLAT BOOK ___, PAGES ___ THROUGH ___,
LYING IN SECTIONS 20 AND 29, TOWNSHIP 23 SOUTH, RANGE 27 EAST,
ORANGE COUNTY, FLORIDA

PLAT BOOK____ PAGE _____

DETAIL A
(NOT TO SCALE)

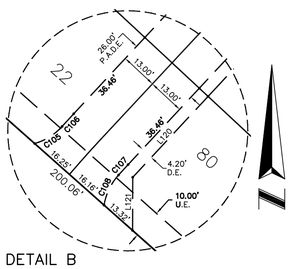

DETAIL B
(NOT TO SCALE)

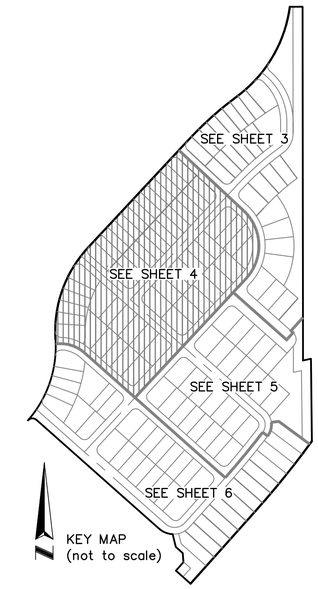

KEY MAP
(not to scale)

LINE TABLE		
LINE	BEARING	LENGTH
L100	S47°00'35"E	41.00'
L101	S06°05'25"E	32.41'
L102	N83°54'35"E	15.00'
L103	N06°05'25"W	17.69'
L104	N32°02'11"E	4.77'
L115	N59°09'34"E	14.36'
L120	S42°59'25"W	38.62'
L121	S00°07'55"W	18.56'

CURVE TABLE					
CURVE	RADIUS	BEARING	CHORD	DELTA	LENGTH
C113	25.00'	N87°17'30"E	34.92'	88°36'10"	38.66'
C114	25.00'	S02°42'30"E	35.78'	91°23'50"	39.88'
C115	174.00'	N39°34'59"W	44.98'	14°51'13"	45.11'
C116	174.00'	N23°05'42"W	54.80'	18°07'19"	55.03'
C117	174.00'	N10°11'11"E	142.77'	48°26'28"	147.11'
C118	174.00'	N38°41'55"E	26.04'	08°35'00"	26.07'
C119	25.00'	N29°16'25"W	16.39'	38°16'02"	16.70'
C120	25.00'	S72°26'26"E	20.36'	48°04'01"	20.97'
C121	176.00'	N68°47'10"W	122.58'	40°45'29"	125.20'
C122	25.00'	S44°39'09"E	35.05'	89°01'31"	38.84'
C123	176.00'	N50°46'00"W	14.49'	04°43'09"	14.50'
C124	176.00'	N54°05'13"W	5.90'	01°55'17"	5.90'
C125	176.00'	N56°30'20"W	8.96'	02°54'58"	8.96'
C126	176.00'	N60°26'18"W	15.20'	04°56'57"	15.20'
C128	20.50'	S18°28'47"W	8.06'	22°40'27"	8.11'
C129	63.00'	N13°25'57"E	35.54'	32°46'06"	36.03'
C130	20.50'	N38°53'45"E	12.58'	35°44'15"	12.79'
C132	176.00'	N76°02'20"W	79.94'	26°15'09"	80.64'
C133	510.00'	S00°08'51"E	64.53'	07°15'18"	64.58'
C134	510.00'	S06°18'38"W	50.37'	05°39'40"	50.39'
C135	510.00'	S11°58'18"W	50.37'	05°39'40"	50.39'
C136	510.00'	S17°37'58"W	50.37'	05°39'40"	50.39'
C137	510.00'	S23°17'38"W	50.37'	05°39'40"	50.39'
C138	510.00'	S28°51'58"W	48.79'	05°28'59"	48.81'
C139	510.00'	S37°17'56"W	101.15'	11°22'57"	101.32'
C140	25.00'	S81°36'01"W	38.30'	99°59'07"	43.63'
C141	20.50'	N20°32'46"E	8.11'	22°48'34"	8.16'
C142	398.00'	S29°02'16"W	40.45'	05°49'35"	40.47'
C143	20.50'	S52°04'02"W	15.34'	43°57'16"	15.73'
C144	372.00'	S21°27'06"W	111.75'	17°16'35"	112.17'
C145	385.00'	S29°26'38"W	44.58'	06°38'20"	44.61'
C146	385.00'	S23°17'38"W	38.02'	05°39'40"	38.04'
C147	385.00'	S17°37'58"W	38.02'	05°39'40"	38.04'
C148	385.00'	S11°58'18"W	38.02'	05°39'40"	38.04'
C149	385.00'	S06°18'38"W	38.02'	05°39'40"	38.04'
C150	385.00'	S00°15'51"W	43.20'	06°25'54"	43.22'
C152	398.00'	S00°15'51"W	44.65'	06°25'54"	44.68'
C153	372.00'	S04°55'51"W	102.03'	15°45'54"	102.36'
C154	385.00'	S05°27'34"W	112.63'	16°49'21"	113.04'
C155	385.00'	S23°19'01"W	126.37'	18°53'33"	126.95'
C206	465.00'	N02°32'44"W	19.96'	02°27'32"	19.96'
C207	510.00'	S34°44'24"W	55.73'	06°15'52"	55.76'
C208	150.00'	N73°03'01"W	125.09'	49°17'10"	129.03'
C232	25.00'	N29°16'25"W	16.39'	38°16'02"	16.70'
C233	25.00'	N16°25'31"E	22.36'	53°07'48"	23.18'
C234	25.00'	N63°15'29"E	17.32'	40°32'09"	17.69'
C235	25.00'	S72°26'26"E	20.36'	48°04'01"	20.97'

CURVE TABLE					
CURVE	RADIUS	BEARING	CHORD	DELTA	LENGTH
C19	200.00'	N02°00'35"W	282.84'	90°00'00"	314.16'
C100	25.00'	S87°59'25"W	35.36'	90°00'00"	39.27'
C101	25.00'	N02°00'35"W	35.36'	90°00'00"	39.27'
C102	25.00'	N87°17'30"E	34.92'	88°36'10"	38.66'
C103	25.00'	S02°42'30"E	35.78'	91°23'50"	39.88'
C104	385.00'	S41°45'49"W	16.48'	02°27'12"	16.49'
C105	20.50'	N58°05'09"E	11.27'	31°55'01"	11.42'
C106	398.00'	S42°33'32"W	5.99'	00°51'46"	5.99'
C107	372.00'	S42°36'35"W	4.94'	00°45'39"	4.94'
C108	20.50'	S25°41'07"W	11.67'	33°05'17"	11.84'
C109	20.50'	N26°45'52"E	11.46'	32°27'05"	11.61'
C110	20.50'	S59°12'58"W	11.46'	32°27'05"	11.61'
C111	25.00'	S87°59'25"W	35.36'	90°00'00"	39.27'
C112	174.00'	N02°00'35"W	246.07'	90°00'00"	273.32'

ALLEN & COMPANY
Professional Surveyors & Mappers
16 EAST PLANT STREET
WINTER GARDEN, FLORIDA 34787
(407) 654-5355

SHEET INDEX
SHEET 1 TO 2 OF 6 – LEGAL DESCRIPTION, DEDICATION, NOTES, LEGEND, & KEY SHEET
SHEET 3 TO 6 OF 6 – BOUNDARY INFORMATION, TRACT, & LOT BLOCK GEOMETRY

LAKESIDE AT HAMLIN

A REPLAT OF LOT 3, HAMLIN SOUTHWEST INFRASTRUCTURE
AS RECORDED IN PLAT BOOK ___, PAGES ___ THROUGH ___,
LYING IN SECTIONS 20 AND 29, TOWNSHIP 23 SOUTH, RANGE 27 EAST,
ORANGE COUNTY, FLORIDA

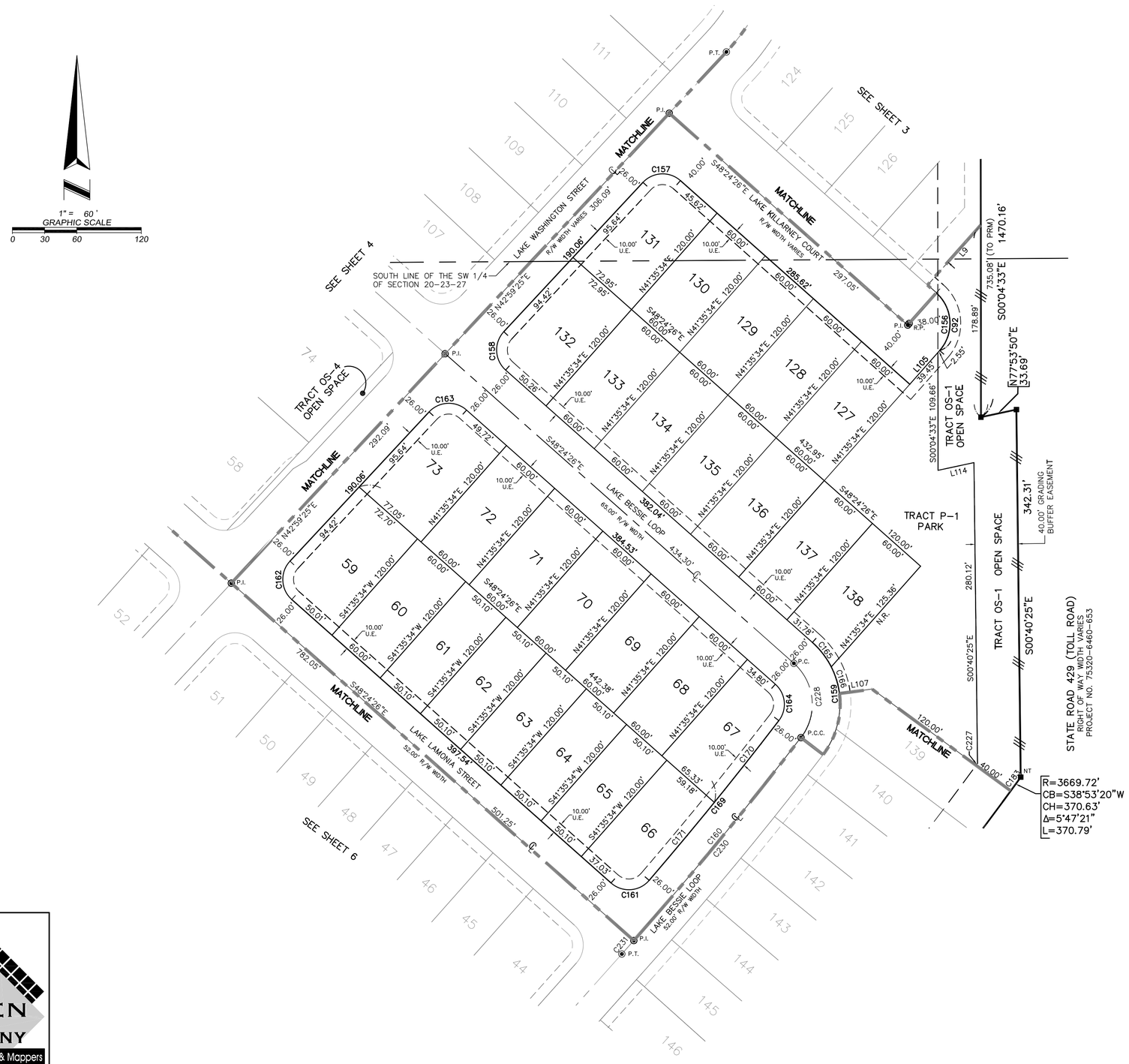

LINE TABLE		
LINE	BEARING	LENGTH
L9	N41°35'34"E	74.67'
L105	N41°35'34"E	42.00'
L107	N82°30'24"E	30.68'
L114	N77°53'50"E	34.21'

CURVE TABLE					
CURVE	RADIUS	BEARING	CHORD	DELTA	LENGTH
C92	38.00'	N01°56'03"W	52.34'	87°03'14"	57.74'
C156	38.00'	N03°24'26"W	53.74'	90°00'00"	59.69'
C157	25.00'	S87°17'30"W	34.92'	88°36'10"	38.66'
C158	25.00'	S02°42'30"E	35.78'	91°23'50"	39.88'
C159	77.00'	N05°27'47"W	104.92'	85°53'18"	115.43'
C160	3483.72'	N39°29'41"E	244.82'	04°01'38"	244.87'
C161	25.00'	N86°07'28"E	35.64'	90°56'13"	39.68'
C162	25.00'	S02°42'30"E	35.78'	91°23'50"	39.88'
C163	25.00'	S87°17'30"W	34.92'	88°36'10"	38.66'
C164	25.00'	N05°27'47"W	34.06'	85°53'18"	37.48'
C165	77.00'	N37°39'25"W	28.73'	21°30'01"	28.89'
C166	77.00'	N17°12'00"W	25.97'	19°24'48"	26.09'
C169	3457.72'	N39°04'06"E	191.57'	03°10'29"	191.59'
C170	3457.72'	N38°17'04"E	96.95'	01°36'24"	96.96'
C171	3457.72'	N39°52'18"E	94.63'	01°34'05"	94.64'
C183	3669.72'	N36°06'59"E	15.64'	00°14'39"	15.64'
C227	3629.72'	N36°13'15"E	2.24'	00°02'08"	2.24'
C228	51.00'	N05°27'47"W	69.49'	85°53'18"	76.45'
C230	3483.72'	N39°37'57"E	261.55'	04°18'10"	261.62'
C231	3483.72'	N41°38'46"E	16.74'	00°16'31"	16.74'

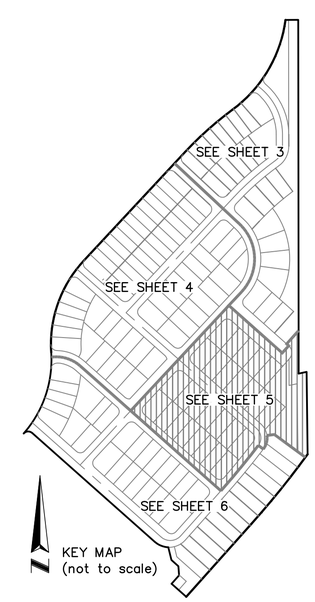

ALLEN & COMPANY
Professional Surveyors & Mappers
16 EAST PLANT STREET
WINTER GARDEN, FLORIDA 34787
(407) 654-5355

SHEET INDEX
SHEET 1 TO 2 OF 6 – LEGAL DESCRIPTION, DEDICATION, NOTES, LEGEND, & KEY SHEET
SHEET 3 TO 6 OF 6 – BOUNDARY INFORMATION, TRACT, & LOT BLOCK GEOMETRY

LAKESIDE AT HAMLIN

A REPLAT OF LOT 3, HAMLIN SOUTHWEST INFRASTRUCTURE
AS RECORDED IN PLAT BOOK ____, PAGES ____ THROUGH ____,
LYING IN SECTIONS 20 AND 29, TOWNSHIP 23 SOUTH, RANGE 27 EAST,
ORANGE COUNTY, FLORIDA

 PLAT BOOK____ PAGE _____

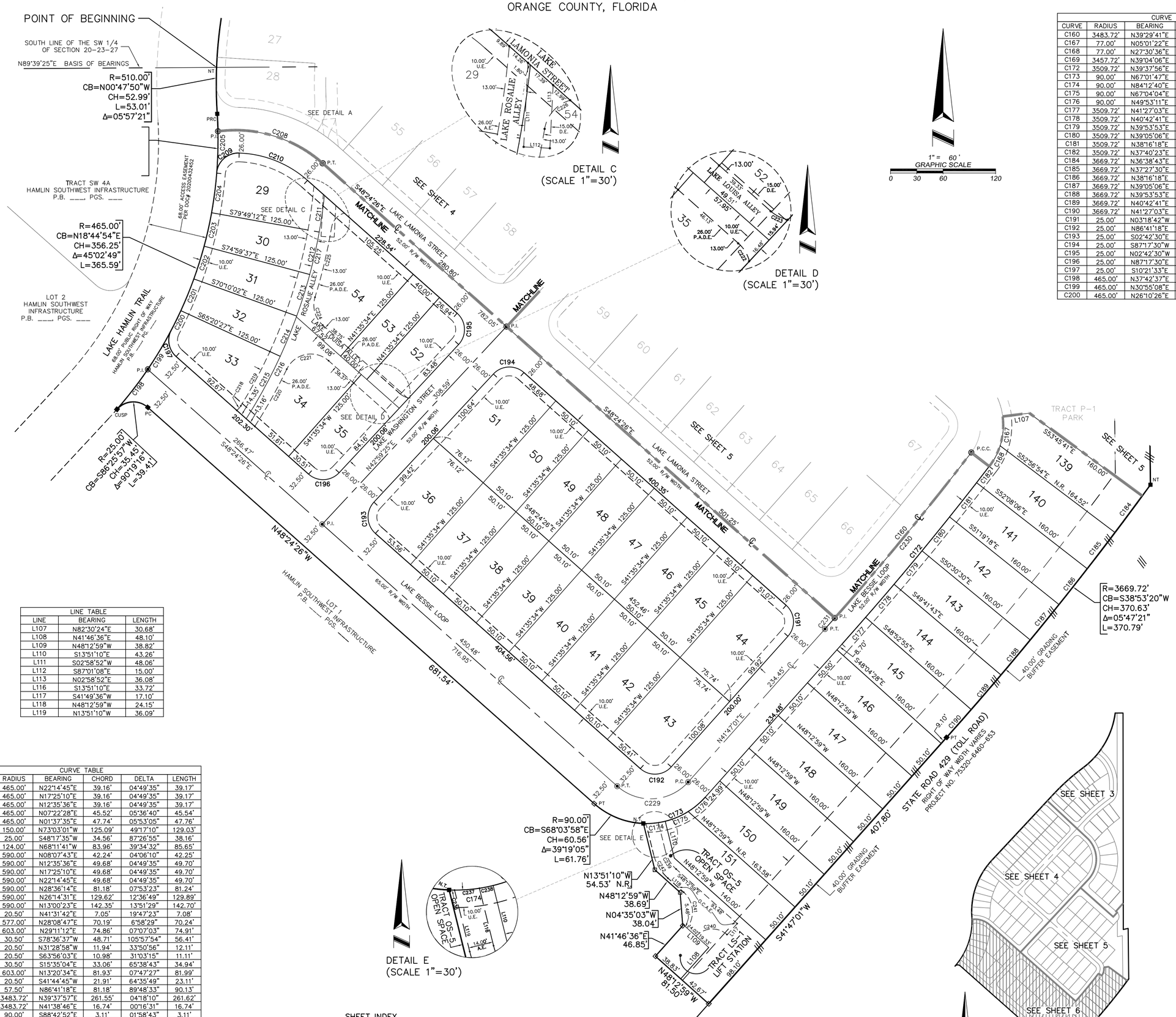

CURVE TABLE					
CURVE	RADIUS	BEARING	CHORD	DELTA	LENGTH
C160	3483.72'	N39°29'41"E	244.82'	04°01'38"	244.87'
C167	77.00'	N05°01'22"E	33.37'	25°01'57"	33.64'
C168	77.00'	N27°30'36"E	26.66'	19°56'31"	26.80'
C169	3457.72'	N39°04'06"E	191.57'	03°10'29"	191.59'
C172	3509.72'	N39°37'56"E	263.50'	04°18'09"	263.56'
C173	90.00'	N67°01'47"E	76.77'	50°29'25"	79.31'
C174	90.00'	N84°12'40"E	25.25'	16°07'39"	25.33'
C175	90.00'	N67°04'04"E	28.40'	18°09'33"	28.52'
C176	90.00'	N49°53'11"E	25.37'	16°12'13"	25.45'
C177	3509.72'	N41°27'03"E	40.77'	00°39'56"	40.77'
C178	3509.72'	N40°42'41"E	49.82'	00°48'48"	49.82'
C179	3509.72'	N39°53'53"E	49.82'	00°48'48"	49.82'
C180	3509.72'	N39°05'06"E	49.82'	00°48'48"	49.82'
C181	3509.72'	N38°16'18"E	49.82'	00°48'48"	49.82'
C182	3509.72'	N37°40'23"E	23.52'	00°23'02"	23.52'
C184	3669.72'	N36°38'43"E	52.09'	00°48'48"	52.09'
C185	3669.72'	N37°27'30"E	52.09'	00°48'48"	52.09'
C186	3669.72'	N38°16'18"E	52.09'	00°48'48"	52.09'
C187	3669.72'	N39°05'06"E	52.09'	00°48'48"	52.09'
C188	3669.72'	N39°53'53"E	52.09'	00°48'48"	52.09'
C189	3669.72'	N40°42'41"E	52.09'	00°48'48"	52.09'
C190	3669.72'	N41°27'03"E	42.63'	00°39'56"	42.63'
C191	25.00'	N03°18'42"W	35.41'	90°11'27"	39.35'
C192	25.00'	N86°41'18"E	35.30'	89°48'33"	39.19'
C193	25.00'	S02°42'30"E	35.78'	91°23'50"	39.88'
C194	25.00'	S87°17'30"W	34.92'	88°36'10"	38.66'
C195	25.00'	N02°42'30"W	35.78'	91°23'50"	39.88'
C196	25.00'	N87°17'30"E	34.92'	88°36'10"	38.66'
C197	25.00'	S10°21'33"E	30.82'	76°05'45"	33.20'
C198	465.00'	N37°42'37"E	57.77'	07°07'23"	57.81'
C199	465.00'	N30°55'08"E	52.40'	06°27'35"	52.43'
C200	465.00'	N26°10'26"E	24.59'	03°01'47"	24.59'

LINE TABLE		
LINE	BEARING	LENGTH
L107	N82°30'24"E	30.68'
L108	N41°46'36"E	48.10'
L109	N48°12'59"W	38.82'
L110	S13°51'10"E	43.26'
L111	S02°58'52"W	48.06'
L112	S87°01'08"E	15.00'
L113	N02°58'52"E	36.08'
L116	S13°51'10"E	33.72'
L117	S41°49'36"W	17.10'
L118	N48°12'59"W	24.15'
L119	N13°51'10"W	36.09'

CURVE TABLE					
CURVE	RADIUS	BEARING	CHORD	DELTA	LENGTH
C201	465.00'	N22°14'45"E	39.16'	04°49'35"	39.17'
C202	465.00'	N17°25'10"E	39.16'	04°49'35"	39.17'
C203	465.00'	N12°35'36"E	39.16'	04°49'35"	39.17'
C204	465.00'	N07°22'28"E	45.52'	05°36'40"	45.54'
C205	465.00'	N01°37'35"E	47.74'	05°53'05"	47.76'
C208	150.00'	N73°03'01"W	125.09'	49°17'10"	129.03'
C209	25.00'	S48°17'35"W	34.56'	87°26'55"	38.16'
C210	124.00'	N68°11'41"W	83.96'	39°34'32"	85.65'
C211	590.00'	N08°07'43"E	42.24'	04°06'10"	42.25'
C212	590.00'	N12°35'36"E	49.68'	04°49'35"	49.70'
C213	590.00'	N17°25'10"E	49.68'	04°49'35"	49.70'
C214	590.00'	N22°14'45"E	49.68'	04°49'35"	49.70'
C215	590.00'	N28°36'14"E	81.18'	07°53'23"	81.24'
C216	590.00'	N26°14'31"E	129.62'	12°36'49"	129.89'
C217	590.00'	N13°00'23"E	142.35'	13°51'29"	142.70'
C218	20.50'	N41°31'42"E	7.05'	19°47'23"	7.08'
C219	577.00'	N28°08'47"E	70.19'	6°58'29"	70.24'
C220	603.00'	N29°11'12"E	74.86'	07°07'03"	74.91'
C221	30.50'	S78°36'37"W	48.71'	105°57'54"	56.41'
C222	20.50'	N31°28'58"W	11.94'	33°50'56"	12.11'
C223	20.50'	S63°56'03"E	10.98'	31°03'15"	11.11'
C224	30.50'	S15°35'04"E	33.06'	65°38'43"	34.94'
C225	603.00'	N13°20'34"E	81.93'	07°47'27"	81.99'
C226	20.50'	S41°44'45"W	21.91'	64°35'49"	23.11'
C229	57.50'	N86°41'18"E	81.18'	89°48'33"	90.13'
C230	3483.72'	N39°37'57"E	261.55'	04°18'10"	261.62'
C231	3483.72'	N41°38'46"E	16.74'	00°16'31"	16.74'
C236	90.00'	S88°42'52"E	3.11'	01°58'43"	3.11'
C237	90.00'	N85°46'18"E	14.20'	09°02'58"	14.21'
C238	90.00'	N78°41'50"E	8.01'	05°05'59"	8.01'
C239	40.00'	S31°02'04"E	23.63'	34°21'49"	23.99'
C240	25.00'	S86°47'01"W	35.36'	90°00'00"	39.27'
C241	30.00'	N05°07'40"W	40.99'	86°10'39"	45.12'
C242	54.00'	S31°02'04"E	31.90'	34°21'49"	32.39'

SHEET INDEX
SHEET 1 OF 6 LEGAL DESCRIPTION, DEDICATION, NOTES & LEGEND
SHEET 2 OF 6 BOUNDARY INFORMATION
SHEETS 3–6 OF 6 LOT & TRACT GEOMETRY

ALLEN & COMPANY
Professional Surveyors & Mappers
16 EAST PLANT STREET
WINTER GARDEN, FLORIDA 34787
(407) 654-5355