WOODBURY

Section 14, Township 22 South, Range 24 East, City of Mascotte, Lake County, Florida.

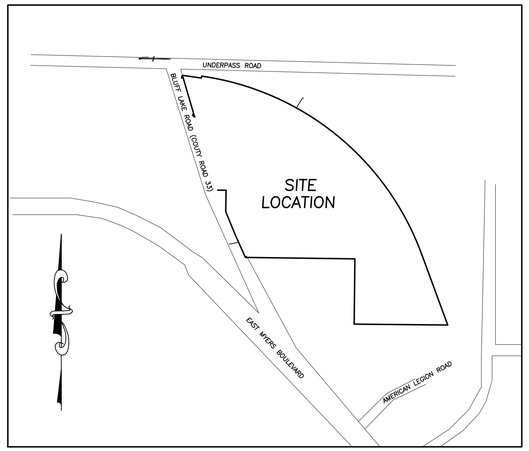

LOCATION MAP:
NOT TO SCALE

LEGAL DESCRIPTION:

A PORTION OF SECTION 14, TOWNSHIP 22 SOUTH, RANGE 24 EAST, LAKE COUNTY, FLORIDA, DESCRIBED AS FOLLOWS:

COMMENCE AT THE INTERSECTION OF THE CENTERLINE OF THE FORMER C.S.X. RAILROAD RIGHT OF WAY (ATLANTIC COASTLINE RAILROAD RIGHT OF WAY) WITH THE EASTERLY RIGHT OF WAY LINE OF COUNTY ROAD 33 (BLUFF LAKE ROAD, A 66.00 FOOT RIGHT OF WAY PER FDOT MAINTENANCE MAP SECTION 11020, PAGE 175); THENCE RUN S 16°10'34" E ALONG SAID EASTERLY RIGHT OF WAY LINE, A DISTANCE OF 30.71 FEET TO THE POINT OF BEGINNING; THENCE DEPARTING SAID RIGHT OF WAY, RUN S 81°54'35" E, A DISTANCE OF 97.80 FEET; THENCE RUN N 08°05'25" E, A DISTANCE OF 10.00 FEET TO A POINT ON A CURVE, CONCAVE SOUTHWESTERLY, HAVING FOR ITS ELEMENTS A RADIUS OF 1,407.69 FEET, A CHORD BEARING OF S51°01'34"E AND A CHORD DISTANCE OF 1,445.12 FEET; THENCE RUN ALONG THE ARC OF SAID CURVE THROUGH A CENTRAL ANGLE OF 61°46'01", A DISTANCE OF 1,517.54 FEET TO A POINT OF TANGENCY; THENCE RUN S 20°08'34" E, A DISTANCE OF 386.20 FEET; THENCE RUN N 89°29'19" W, A DISTANCE OF 477.57 FEET; THENCE RUN N 00°35'55" E, A DISTANCE OF 333.92 FEET; THENCE RUN N 89°14'30" W, A DISTANCE OF 559.73 FEET TO A POINT ON AFORESAID EASTERLY RIGHT OF WAY LINE OF COUNTY ROAD 33 AND OF A NON-TANGENT CURVE CONCAVE NORTHEASTERLY, HAVING FOR ITS ELEMENTS A RADIUS OF 4,440.60 FEET, A CHORD BEARING OF N 23°09'56" W AND A CHORD DISTANCE OF 254.00 FEET; THENCE RUN ALONG SAID LINE AND THE ARC OF SAID CURVE THROUGH A CENTRAL ANGLE OF 03°16'40", A DISTANCE OF 254.04 FEET TO A POINT ON THE WEST LINE OF THE NORTHEAST 1/4 OF THE NORTHWEST 1/4 OF SECTION 14, TOWNSHIP 22 SOUTH, RANGE 24 EAST; THENCE DEPARTING SAID RIGHT OF WAY, RUN N 00°36'49" E ALONG SAID SECTION LINE, A DISTANCE OF 109.58 FEET: THENCE RUN N 89°23'11" W, A DISTANCE OF 42.90 FEET TO A POINT ON AFORESAID EASTERLY RIGHT OF WAY AND A POINT ON A NON-TANGENT CURVE CONCAVE NORTHEASTERLY, HAVING FOR ITS ELEMENTS A RADIUS OF 4,440.60 FEET, A CHORD BEARING OF N 17°28'33" W AND A CHORD DISTANCE OF 392.41 FEET; THENCE RUN ALONG SAID CURVE AND RIGHT OF WAY THROUGH A CENTRAL ANGLE OF 05°03'53", A DISTANCE OF 392.54 FEET TO A POINT OF A TANGENCY; THENCE RUN N 16°10'34" W, A DISTANCE OF 220.68 FEET TO THE POINT OF BEGINNING.

CONTAINING 18.86 ACRES+/-

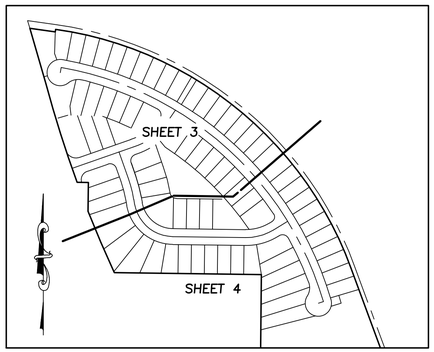

KEY MAP:
NOT TO SCALE

SURVEY NOTES:

1. BEARINGS SHOWN HEREON ARE ASSUMED AND BASED ON THE NORTH LINE OF THE NORTHWEST 1/4 OF SECTION 14-22-24 AS BEING S88°46'12"E.
2. ALL PLATTED UTILITY EASEMENTS SHALL PROVIDE THAT SUCH EASEMENTS SHALL ALSO BE EASEMENTS FOR THE CONSTRUCTION, INSTALLATION, MAINTENANCE, AND OPERATION OF CABLE UTILITY SERVICES; PROVIDED, HOWEVER, NO SUCH CONSTRUCTION, INSTALLATION, MAINTENANCE, AND OPERATION OF CABLE TELEVISION SERVICES SHALL INTERFERE WITH THE FACILITIES AND SERVICES OF AN ELECTRIC, TELEPHONE, GAS, OR OTHER PUBLIC UTILITY. IN THE EVENT A CABLE TELEVISION COMPANY DAMAGES THE FACILITIES OF A PUBLIC UTILITY, IT SHALL BE SOLELY RESPONSIBLE FOR THE DAMAGES.
3. ALL LOT LINES INTERSECTING CURVES ARE RADIAL UNLESS OTHERWISE NOTED (N.R.).
4. THE LANDS DESCRIBED IN THE FOREGOING CAPTION TO THIS PLAT ARE SUBJECT TO TERMS AND CONDITIONS OF THAT CERTAIN DECLARATION OF COVENANTS, CONDITIONS, EASEMENTS AND RESTRICTIONS FOR WOODBURY WHICH IS RECORDED AMONG THE PUBLIC RECORDS OF LAKE COUNTY, FLORIDA (THE "DECLARATION")
5. TRACT A, TRACT B, TRACT C, ARE PARK/OPEN SPACE TRACTS AND TO BE OWNED AND MAINTAINED BY WOODBURY PROPERTY OWNERS' ASSOCIATION, INC., A FLORIDA NOT-FOR-PROFIT CORPORATION (THE "ASSOCIATION") AS "COMMON AREA" (AS SUCH TERM IS DEFINED IN THE DECLARATION). TRACT D IS A STORMWATER POND TRACT AND TO BE OWNED AND MAINTAINED BY THE ASSOCIATION AS COMMON AREA. ALL DRAINAGE EASEMENTS CONSTITUTE COMMON AREA AND TO BE MAINTAINED IN THE MANNER SET FORTH IN THE DECLARATION.
6. TRACT E IS A LIFTSTATION TRACT AND IS DEDICATED TO THE CITY OF MASCOTTE BY THIS PLAT. TRACT F IS A FUTURE RIGHT-OF-WAY TRACT AND IS DEDICATED TO LAKE COUNTY, FLORIDA BY THIS PLAT. AN EASEMENT FOR EMERGENCY MAINTENANCE AND REPAIRS TO THE STORM WATER MANAGEMENT FACILITIES AS IS NECESSARY TO PROTECT PUBIC IMPROVEMENTS TOGETHER WITH THE RIGHT, BUT NOT THE OBLIGATION TO PERFORM EMERGENCY MAINTENANCE AND REPAIRS TO THE STORM WATER MANAGEMENT FACILITIES IS DEDICATED TO THE CITY OF MASCOTTE, ITS SUCCESSORS AND ASSIGNS BY THIS PLAT. (THE "MASCOTTE EMERGENCY STORM WATER EASEMENT")
7. STATE PLANE COORDINATES SHOWN HEREON ARE BASED ON NAD 83.
8. STATE PLANE COORDINATES SHOWN HEREON ARE FOR GIS PURPOSES ONLY AND SHOULD NOT BE USED TO RECREATE THE PLAT BOUNDARY.
9. ALL STREET LIGHTS ARE TO BE OWNED AND MAINTAINED BY THE CITY OF MASCOTTE UNDER THE STREET LIGHT ASSESSMENT PROGRAM.
10. THE CITY OF MASCOTTE HAS THE RIGHT, BUT NOT THE OBLIGATION, TO ACCESS, MAINTAIN, REPAIR, REPLACE, AND OTHERWISE CARE FOR OR CAUSE TO BE CARED FOR ANY AND ALL TRACTS AS DEPICTED ON THIS PLAT WHICH ARE DEDICATED TO THE WOODBURY PROPERTY OWNERS' ASSOCIATION, INC., A FLORIDA NOT-FOR-PROFIT-CORPORATION IN THE EVENT ANY OF SAID TRACTS ARE NOT MAINTAINED OR BECOME A NUISANCE AND ARE A THREAT TO THE PUBLIC HEALTH, SAFETY AND WELFARE. IN THE EVENT THE CITY EXERCISES THE AFOREMENTIONED RIGHT, EACH OF THE LOT OWNERS OF THE WOODBURY SUBDIVISION ARE HEREBY ULTIMATELY RESPONSIBLE FOR PAYMENT OF THE COST OF MAINTENANCE, REPAIR, REPLACEMENT, AND CARE PROVIDED BY THE CITY OF MASCOTTE OR ITS AGENTS, PLUS ADMINISTRATIVE FEES AND ATTORNEYS COSTS INCURRED BY THE CITY OF MASCOTTE. SAID COSTS SHALL BE A LIEN OR ASSESSMENT ON ALL LOTS IN THE SUBDIVISION AND ON ALL COMMON PROPERTY AND TRACTS AND MAY BE ENFORCED BY ANY AND ALL LEGAL AND EQUITABLE REMEDIES AVAILABLE TO THE CITY. THIS RIGHT AND THE CITY'S EXERCISE OF SAID RIGHT SHALL NOT IMPOSE ANY OBLIGATION ON THE CITY TO MAINTAIN, REPAIR, REPLACE, OR OTHERWISE CARE FOR SAID TRACTS AND/OR COMMON PROPERTY.
11. MORTGAGEE'S JOINDER/CONSENT WILL BE RECORDED BY SEPARATE INSTRUMENT.

LEGEND:

CCR #	Denotes Certified Corner Record number
⊙	Denotes set iron rod and cap LB 2936
■	Denotes set 4"x4" Concrete Monument LB 2936 (PRM)
⊡	Denotes found monumentation description as noted
⊙	Denotes set nail & disk LB # 2936 PCP, unless otherwise noted
NTL	Denotes Non-tangent Line
PRM	Denotes Permanent Reference Monument
LB	Denotes Licensed Business
LS	Denotes Lift Station
℄	Denotes centerline
PB	Denotes Plat Book
LLC	Denotes limited liability company
FDOT	Denotes Florida Department of Transportation
ORB	Denotes Official Records Book
(P)	Denotes Plat
CM	Denotes Concrete Monument
N.R.	Denotes non-radial
PCP	Denotes permanent control point
N:	Denotes State Plane Coordinate Northing
E:	Denotes State Plane Coordinate Easting
FND	Denotes Found
P.S.M.	Denotes Professional Surveyor and Mapper
PGS	Denotes Pages
P.O.B.	Denotes Point of Beginning
PC	Denotes point of curvature
NAD 83	Denotes North American Datum of 1983
GIS	Denotes Geographic Information System
PNTC	Denotes point on a non tangent curve
PT	Denotes point of tangency
PI	Denotes point of intersection
PRC.	Denotes point of reverse curvature
RP	Denotes radius point
U.E.	Denotes utility easement
D.E.	Denotes drainage easement
C.R.	Denotes County Road
R	Denotes radius
Δ	Denotes interior angle
L	Denotes arc length
CH	Denotes chord length
CB	Denotes chord bearing
R/W	Denotes right-of-way
OS	Denotes Open Space
NAVD	Denotes North American Vertical Datum
PCC	Denotes Point of Compound Curve
D.U.E.	Denotes Drainage and Utility Easement

CARNAHAN PROCTOR & CROSS
604 COURTLAND STREET SUITE 101
PHONE : (407) 960-5980
ORLANDO, FLORIDA 32804
CERTIFICATE OF AUTHORIZATION # 2936

LAND DEVELOPMENT
SURVEYING
CONSTRUCTION ENGINEERING INSPECTION

SHEET INDEX:

SHEETS 1 OF 4 – LEGAL DESCRIPTION, VICINITY MAP, DEDICATION, SURVEYOR'S NOTES AND LEGEND

SHEET 2 OF 4 – OVERALL BOUNDARY GEOMETRY INFORMATION

SHEETS 3 & 4 – LOTS GEOMETRY INFORMATION

NOTICE:

THIS PLAT, AS RECORDED IN ITS GRAPHIC FORM, IS THE OFFICIAL DEPICTION OF THE SUBDIVIDED LANDS DESCRIBED HEREIN AND WILL IN NO CIRCUMSTANCES BE SUPPLANTED IN AUTHORITY BY ANY OTHER GRAPHIC OR DIGITAL FORM OF THE PLAT. THERE MAY BE ADDITIONAL RESTRICTIONS THAT ARE NOT RECORDED ON THIS PLAT THAT MAY BE FOUND IN THE PUBLIC RECORDS OF THIS COUNTY.

PLAT BOOK _____ PAGE _____

WOODBURY

KNOW ALL MEN BY THESE PRESENTS, That PARK SQUARE ENTERPRISES, LLC, a Delaware limited liability company, being the owner in fee simple of the lands described in the foregoing caption to this plat, hereby dedicates said land and plat for the uses and purposes therein expressed and dedicates Tract E (Lift Station) and the "Mascotte Emergency Storm Water Easement" to the City of Mascotte, Florida. The Utility Easements and Streets shown hereon are hereby dedicated to the perpetual use of the public. Tract F (Future Right-of-Way) is hereby dedicated to Lake County, Florida.

IN WITNESS THEREOF, the undersigned has caused these presents to be signed and attested to by the officer named below and its corporate seal to be affixed hereto on _____.

PARK SQUARE ENTERPRISES, LLC, a Delaware limited liability company

By_____
Charles Cavaretta
Vice-President of Land

Signed and sealed in the presence of:

_____

Print name: _____

_____

Print name: _____

STATE OF FLORIDA
COUNTY OF _____

The foregoing instrument was acknowledged before me by means of ☐ physical presence or ☐ online notarization, this _____ day of _____, 2021, by Charles Cavaretta as Vice-President of Land for PARK SQUARE ENTERPRISES, LLC, a Delaware limited liability company.

_____ _____
(Signature of Notary Public – State of Florida)

_____ _____
(Print, Type, or Stamp Commissioned Name of Notary Public)

Personally Known OR Produced Identification
Type of Identification
Produced _____

CERTIFICATE OF REVIEW BY CITY SURVEYOR

Pursuant to Section 177.081, Florida Statutes, I have reviewed the plat for conformity to Chapter 177, Part 1, Platting Florida Statutes, and find that said plat complies with the technical requirements of that Chapter provided however, that my review does not include field verification of any of the coordinates, points or measurements shown on this plat.

Signed: _____ Date: _____

Print name: JENNINGS E. GRIFFIN Registration No. PLS #4486

Florida Professional Land Surveyor
BESH HALFF, INC., 902 N. Sinclair Avenue,Tavares, Florida 32778
(under contract to) the City of Mascotte, Lake County, Florida

CERTIFICATE OF APPROVAL BY MUNICIPALITY

THIS IS TO CERTIFY, that this plat was presented to the CITY COUNCIL of Mascotte, Lake County, Florida and approved by said CITY COUNCIL of Mascotte for record, and the dedication of Streets and Easements is accepted for municipal purpose of said city on the _____ day of _____, 2021 provided that this plat is recorded in the Office of the Clerk of the Circuit Court of Lake County, Florida within _____ days from the date of approval by said City of Mascotte, Florida.

_____
Mayor

_____
PRINTED NAME

_____
Attest: City Clerk

_____
PRINTED NAME

CERTIFICATE OF CIRCUIT CLERK

I HEREBY CERTIFY, that the plat was filed for record on _____ at _____.

File Number _____

_____
CLERK OF THE CIRCUIT COURT
in and for Lake County, Florida

By: _____, D.C.

QUALIFICATION AND STATEMENT OF SURVEYOR AND MAPPER

KNOWN ALL MEN BY THESE PRESENTS, That the undersigned, being a licensed and registered surveyor and mapper in the State of Florida, does hereby certify that on June 20, 2020, a survey of the lands shown in the foregoing plat was completed; that said plat is a correct representation of the lands therein described and platted or subdivided; that permanent reference monuments have been placed as shown thereon as required by Lake County requirements and regulations, the survey was prepared under the undersigned responsible direction and supervision and that the survey data complies with all requirements of Chapter 177, Part 1 Platting Florida Statutes; that permanent control points will be placed as required by Chapter 177, Part 1, Platting Florida Statutes; and that said land is located in Section 14, Township 22 South, Range 24 East, Lake County, Florida.

For the firm:

_____ _____
James W. Quartel, P.S.M. Date:
Florida License No. 6032
For the firm: CPC, Inc. LB # 2936
604 Courtland Street, Suite 101
Orlando, FL 32804

PLAT BOOK _____ PAGE _____

WOODBURY

Section 14, Township 22 South, Range 24 East, City of Mascotte, Lake County, Florida.

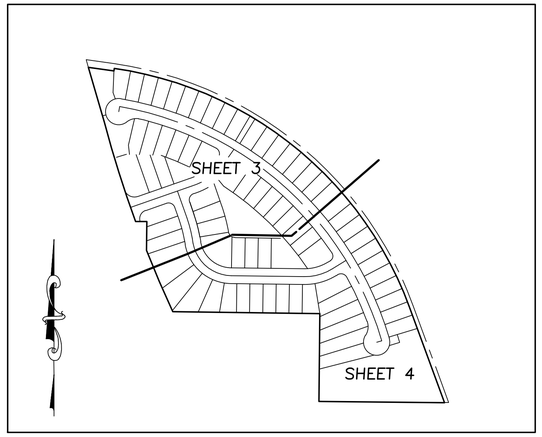

KEY MAP:
NOT TO SCALE

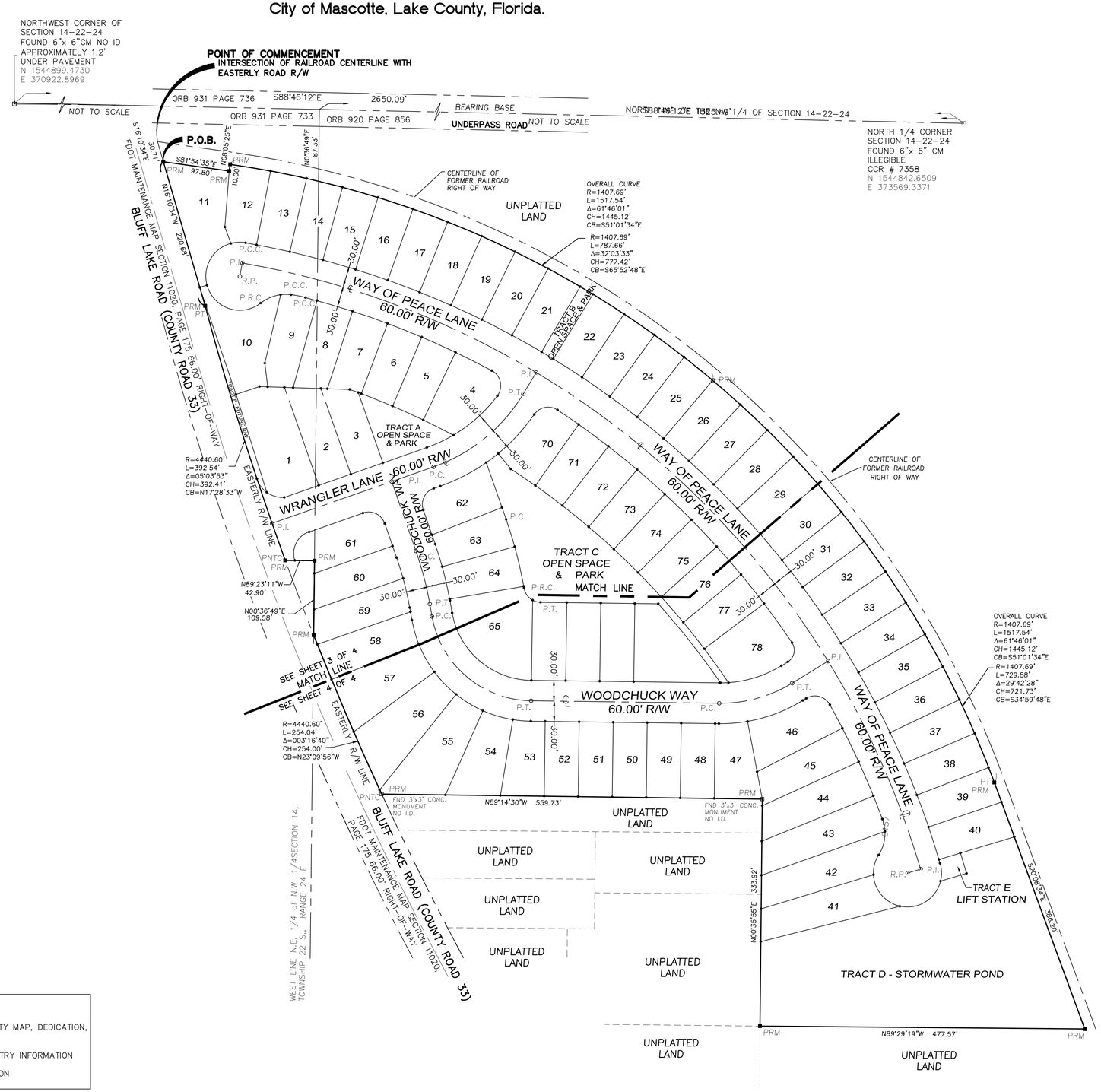

LEGEND:

CCR #	Denotes Certified Corner Record number
⊕	Denotes set iron rod and cap LB 2936
■	Denotes set 4"x4" Concrete Monument LB 2936 (PRM)
⊡	Denotes found monumentation description as noted
⊙	Denotes set nail & disk LB # 2936 PCP, unless otherwise noted
NTL	Denotes Non-tangent Line
PRM	Denotes Permanent Reference Monument
LB	Denotes Licensed Business
LS	Denotes Lift Station
℄	Denotes centerline
PB	Denotes Plat Book
LLC	Denotes limited liability company
FDOT	Denotes Florida Department of Transportation
ORB	Denotes Official Records Book
(P)	Denotes Plat
CM	Denotes Concrete Monument
N.R.	Denotes non-radial
PCP	Denotes permanent control point
N:	Denotes State Plane Coordinate Northing
E:	Denotes State Plane Coordinate Easting
FND	Denotes Found
PC	Denotes point of curvature
NAD 83	Denotes North American Datum of 1983
GIS	Denotes Geographic Information System
PNTC	Denotes point on a non tangent curve
P.T.	Denotes point of tangency
PI	Denotes point of intersection
P.R.C.	Denotes point of reverse curvature
RP	Denotes radius point
U.E.	Denotes utility easement
D.E.	Denotes drainage easement
D.U.E.	Denotes drainage and utility easement
C.R.	Denotes County Road
R	Denotes radius
Δ	Denotes interior angle
L	Denotes arc length
CH	Denotes chord length
CB	Denotes chord bearing
R/W	Denotes right-of-way
OS	Denotes Open Space
NAVD	Denotes North American Vertical Datum
P.S.M.	Denotes Professional Surveyor and Mapper
PCC	Denotes Point of Compound Curve
PGS	Denotes Pages
P.O.B.	Denotes Point of Beginning

1" = 80'
0 40 80 160
GRAPHIC SCALE

CARNAHAN PROCTOR & CROSS
604 COURTLAND STREET SUITE 101
PHONE : (407) 960-5980
ORLANDO, FLORIDA 32804
CERTIFICATE OF AUTHORIZATION # 2936

LAND DEVELOPMENT
SURVEYING
CONSTRUCTION ENGINEERING INSPECTION

SHEET INDEX:

SHEETS 1 OF 4 – LEGAL DESCRIPTION, VICINITY MAP, DEDICATION, SURVEYOR'S NOTES AND LEGEND

SHEET 2 OF 4 – OVERALL BOUNDARY GEOMETRY INFORMATION

SHEETS 3 & 4 – LOTS GEOMETRY INFORMATION

P:\PROJECTS_2020\200508 _WOODBURY PARK SQUARE\DWG\WOODBURY PLAT_COMBO

PLAT BOOK _____ PAGE _____

WOODBURY

Section 14, Township 22 South, Range 24 East, City of Mascotte, Lake County, Florida.

CURVE TABLE					
CURVE	LENGTH	RADIUS	CENTRAL ANGLE	CHORD BEARING	CHORD DISTANCE
C1	1409.17'	1267.69'	63°41'26"	N48°12'24"W	1337.73'
C2	463.77'	1267.69'	20°57'40"	N69°34'17"W	461.19'
C3	609.54'	1267.69'	27°32'57"	N45°18'58"W	603.68'
C6	207.49'	150.00'	79°15'15"	S49°36'51"E	191.34'
C7	80.92'	500.00'	9°16'23"	N14°37'25"W	80.83'
C8	173.75'	250.00'	39°49'15"	N50°49'45"E	170.28'
C9	198.94'	50.00'	227°58'25"	S14°02'19"E	91.36'
C10	47.50'	60.00'	45°21'42"	S74°39'22"W	46.27'
C11	21.57'	170.00'	7°16'12"	N79°01'41"W	21.56'
C12	294.96'	1237.69'	13°39'16"	N68°33'57"W	294.26'
C13	42.97'	25.00'	98°29'08"	N12°29'44"W	37.87'
C14	130.52'	220.00'	33°59'33"	N53°44'36"E	128.62'
C15	52.24'	39.91'	75°00'13"	S55°52'22"E	48.59'
C16	1442.35'	1297.69'	63°40'58"	N48°12'38"W	1369.24'
C17	488.78'	1237.69'	22°37'37"	N45°12'30"W	485.61'
C18	451.43'	1127.49'	22°56'25"	N45°31'56"W	448.42'
C19	104.68'	640.50'	9°21'49"	N14°34'42"W	104.56'
C20	51.91'	33.63'	88°26'41"	S26°31'02"W	46.91'
C21	39.27'	25.00'	90°00'01"	N64°15'37"W	35.36'
C22	39.27'	25.00'	89°59'59"	S25°44'23"W	35.36'
C23	176.50'	280.00'	36°06'58"	N52°40'54"E	173.59'
C24	38.77'	25.00'	88°51'16"	S79°03'03"W	35.00'
C25	85.78'	530.00'	9°16'23"	N14°37'25"W	85.68'
C26	76.07'	470.00'	9°16'23"	N14°37'25"W	75.98'
C27	167.06'	1127.49'	8°29'23"	N66°13'19"W	166.91'
C28	34.62'	25.00'	79°20'41"	S49°34'08"E	31.92'
C29	59.87'	1237.69'	2°46'17"	N63°07'27"W	59.86'
C30	54.36'	1237.69'	2°31'00"	N65°46'06"W	54.36'
C31	54.36'	1237.69'	2°31'00"	N68°17'05"W	54.36'
C32	54.36'	1237.69'	2°31'00"	N70°48'05"W	54.36'
C33	54.36'	1237.69'	2°31'00"	N73°19'05"W	54.36'
C34	17.64'	1237.69'	0°49'00"	N74°59'05"W	17.64'
C35	15.62'	60.00'	14°54'53"	S89°52'47"W	15.57'
C36	31.88'	60.00'	30°26'50"	S67°11'56"W	31.51'
C37	98.43'	50.00'	112°47'26"	S71°37'47"E	83.29'
C38	78.72'	50.00'	90°12'36"	S29°52'15"W	70.84'
C39	21.79'	50.00'	24°58'20"	S87°27'43"W	21.62'
C40	16.24'	1297.69'	0°43'01"	N79°41'36"W	16.24'
C41	50.00'	1297.69'	2°12'28"	N78°13'52"W	50.00'
C42	50.00'	1297.69'	2°12'28"	N76°01'24"W	50.00'
C43	50.00'	1297.69'	2°12'28"	N73°48'56"W	50.00'
C44	50.00'	1297.69'	2°12'28"	N71°36'28"W	50.00'
C45	50.00'	1297.69'	2°12'28"	N69°24'01"W	50.00'
C46	50.00'	1297.69'	2°12'28"	N67°11'33"W	50.00'
C47	50.00'	1297.69'	2°12'28"	N64°59'05"W	50.00'
C48	50.00'	1297.69'	2°12'28"	N62°46'37"W	50.00'
C49	50.00'	1297.69'	2°12'28"	N60°34'09"W	50.00'
C50	20.00'	1297.69'	0°52'59"	N59°01'26"W	20.00'
C51	50.00'	1297.69'	2°12'28"	N57°28'42"W	50.00'
C52	31.90'	470.00'	3°53'19"	N17°18'57"W	31.89'
C53	50.00'	1297.69'	2°12'28"	N55°16'14"W	50.00'
C54	50.00'	1297.69'	2°12'28"	N53°03'46"W	50.00'
C55	50.00'	1297.69'	2°12'28"	N50°51'19"W	50.00'

CURVE TABLE					
CURVE	LENGTH	RADIUS	CENTRAL ANGLE	CHORD BEARING	CHORD DISTANCE
C56	50.00'	1297.69'	2°12'28"	N48°38'51"W	50.00'
C57	50.00'	1297.69'	2°12'28"	N46°26'23"W	50.00'
C58	50.00'	1297.69'	2°12'28"	N44°13'55"W	50.00'
C59	50.00'	1297.69'	2°12'28"	N42°01'27"W	50.00'
C60	43.28'	220.00'	11°16'21"	N65°06'12"E	43.21'
C61	87.24'	220.00'	22°43'12"	N48°06'26"E	86.67'
C62	76.15'	280.00'	15°34'57"	N62°56'54"E	75.92'
C63	57.90'	4440.60'	0°44'50"	S19°38'04"E	57.90'
C64	69.01'	4440.60'	0°53'25"	S18°49'06"E	69.01'
C65	265.63'	4440.60'	03°25'38"	N16°39'23"W	265.59'
C66	14.50'	4438.78'	0°11'14"	S21°37'09"E	14.50'
C67	21.98'	280.00'	4°29'50"	N52°54'31"E	21.97'
C68	78.37'	280.00'	16°02'11"	N42°38'31"E	78.11'
C69	2.69'	640.50'	0°14'25"	N10°01'00"W	2.69'
C70	60.00'	640.50'	5°22'01"	N12°49'13"W	59.98'
C71	41.99'	640.50'	3°45'23"	N17°22'55"W	41.99'
C72	44.17'	470.00'	5°23'03"	N12°40'46"W	44.15'
C73	25.18'	39.91'	36°08'43"	S36°26'37"E	24.76'
C74	27.07'	39.91'	38°51'30"	S73°56'43"E	26.55'
C75	49.84'	1127.49'	2°31'58"	N63°14'37"W	49.84'
C76	49.52'	1127.49'	2°31'00"	N65°46'06"W	49.52'
C77	49.52'	1127.49'	2°31'00"	N68°17'05"W	49.52'
C78	13.56'	1127.49'	0°41'21"	N70°07'20"W	13.56'
C79	18.17'	1127.49'	0°55'25"	N70°00'18"W	18.17'
C80	153.50'	1127.49'	7°48'02"	N65°52'38"W	153.38'
C81	60.16'	1408.09'	2°26'52"	N80°41'14"W	60.15'
C82	54.26'	1408.22'	2°12'28"	N78°21'25"W	54.26'
C83	54.27'	1408.34'	2°12'28"	N76°08'54"W	54.27'
C84	54.27'	1408.46'	2°12'28"	N73°56'21"W	54.27'
C85	55.69'	4438.78'	0°43'08"	S22°04'20"E	55.68'
C86	54.28'	1408.58'	2°12'28"	N71°43'48"W	54.27'
C87	54.28'	1408.69'	2°12'28"	N69°31'15"W	54.28'
C88	54.29'	1408.81'	2°12'28"	N67°18'41"W	54.28'
C89	54.29'	1408.92'	2°12'28"	N65°06'06"W	54.29'
C90	54.30'	1409.03'	2°12'28"	N62°53'30"W	54.29'
C91	54.30'	1409.14'	2°12'28"	N60°40'54"W	54.30'
C94	21.72'	1409.25'	0°52'59"	N59°08'05"W	21.72'
C95	54.31'	1409.29'	2°12'28"	N57°35'15"W	54.30'
C96	54.31'	1409.39'	2°12'28"	N55°22'37"W	54.31'
C97	54.31'	1409.49'	2°12'28"	N53°09'59"W	54.31'
C98	54.32'	1409.59'	2°12'28"	N50°57'21"W	54.31'
C99	54.32'	1409.69'	2°12'28"	N48°44'42"W	54.32'
C100	54.32'	1409.78'	2°12'28"	N46°32'02"W	54.32'
C101	54.33'	1409.87'	2°12'28"	N44°19'22"W	54.32'
C102	54.33'	1409.96'	2°12'28"	N42°06'41"W	54.33'
C103	2.19'	530.00'	0°14'14"	N10°06'21"W	2.19'
C104	37.46'	1237.69'	1°44'03"	N55°39'17"W	37.46'
C105	54.35'	1237.69'	2°30'58"	N53°31'46"W	54.35'
C106	54.35'	1237.69'	2°30'58"	N51°00'48"W	54.35'
C108	54.35'	1237.69'	2°30'58"	N48°29'50"W	54.35'
C109	54.35'	1237.69'	2°30'58"	N45°58'51"W	54.35'
C110	54.35'	1237.69'	2°30'58"	N43°27'53"W	54.35'
C111	54.35'	1237.69'	2°30'58"	N40°56'55"W	54.35'
C112	43.58'	1127.49'	2°12'53"	N55°53'42"W	43.58'
C113	49.51'	1127.49'	2°30'58"	N53°31'47"W	49.51'
C114	49.51'	1127.49'	2°30'58"	N51°00'48"W	49.51'
C115	49.51'	1127.49'	2°30'58"	N48°29'50"W	49.51'
C116	49.51'	1127.49'	2°30'58"	N45°58'52"W	49.51'
C117	49.51'	1127.49'	2°30'58"	N43°27'54"W	49.51'
C118	49.51'	1127.49'	2°30'58"	N40°56'56"W	49.51'
C126	54.33'	1410.04'	2°12'28"	N39°54'00"W	54.33'
C136	50.00'	1297.69'	2°12'28"	N39°48'59"W	50.00'
C146	12.26'	25.00'	28°06'23"	S75°11'17"E	12.14'
C147	22.36'	25.00'	51°14'19"	S35°30'57"E	21.62'
C157	34.75'	530.00'	3°45'23"	N17°22'55"W	34.74'
C170	37.36'	180.00'	11°53'31"	S15°55'59"E	37.29'
C178	48.84'	530.00'	5°16'46"	N12°51'50"W	48.82'
C179	54.99"	60.00'	52°30'47"	S05°53'20"W	53.09'

LINE TABLE		
LINE	BEARING	LENGTH
L1	S09°56'53"W	20.00'
L2	N74°45'56"E	11.11'
L3	N09°59'14"W	18.47'
L4	S09°59'14"E	18.47'
L5	N09°59'14"W	18.47'
L6	N70°44'23"E	10.29'
L7	N39°23'45"W	29.28'
L8	N30°55'07"E	36.50'
L9	S71°48'24"W	36.38'
L10	S06°44'32"E	35.10'
L11	S20°37'41"E	25.79'

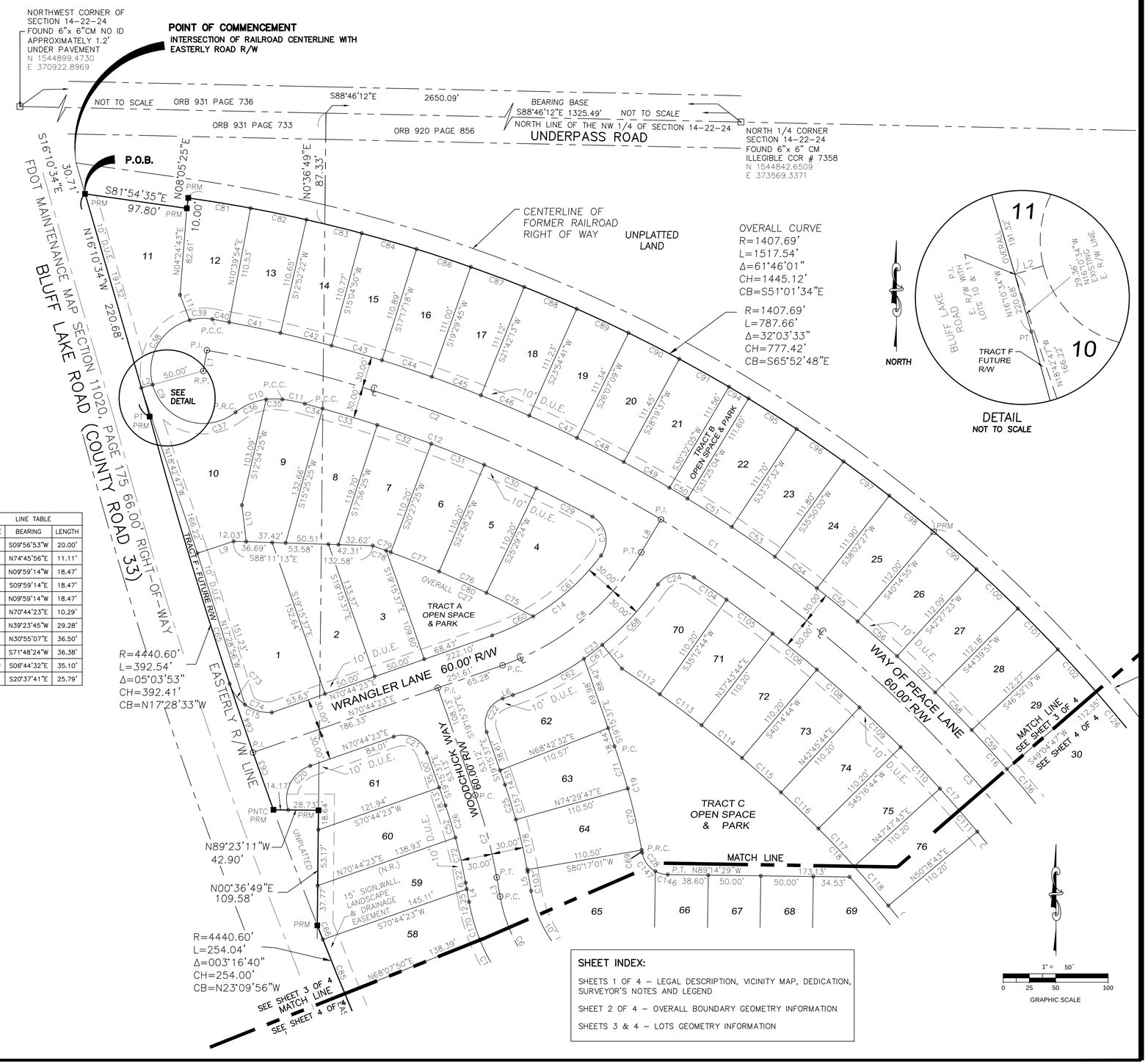

SHEET INDEX:

SHEETS 1 OF 4 – LEGAL DESCRIPTION, VICINITY MAP, DEDICATION, SURVEYOR'S NOTES AND LEGEND

SHEET 2 OF 4 – OVERALL BOUNDARY GEOMETRY INFORMATION

SHEETS 3 & 4 – LOTS GEOMETRY INFORMATION

CARNAHAN PROCTOR & CROSS
604 COURTLAND STREET SUITE 101
PHONE : (407) 960-5980
ORLANDO, FLORIDA 32804
CERTIFICATE OF AUTHORIZATION # 2936

LAND DEVELOPMENT
SURVEYING
CONSTRUCTION ENGINEERING INSPECTION

P:\PROJECTS_2020\200508 _WOODBURY PARK SQUARE\DWG\WOODBURY PLAT_COMBO

WOODBURY

Section 14, Township 22 South, Range 24 East,
City of Mascotte, Lake County, Florida.

PLAT BOOK _____ PAGE _____

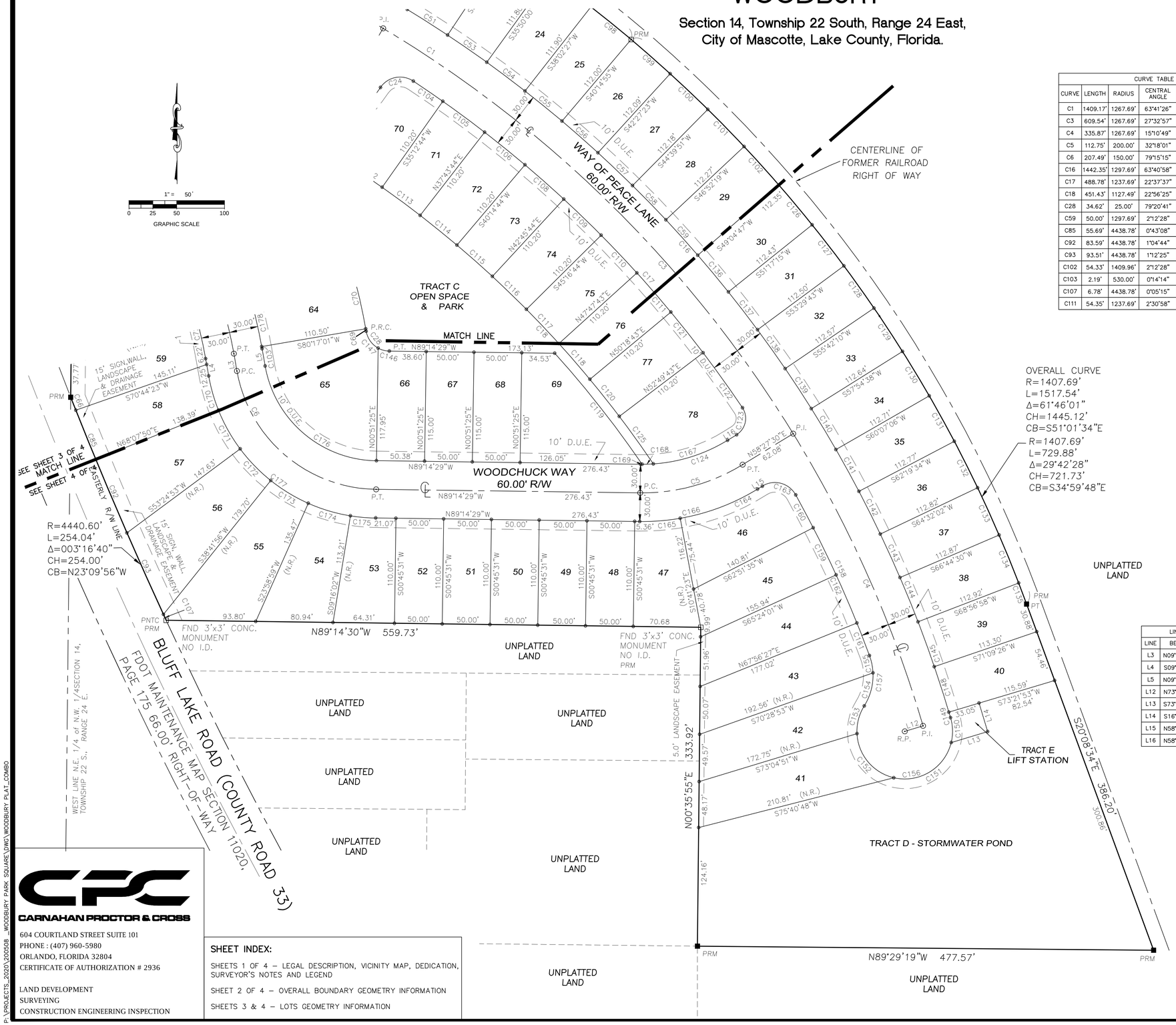

CURVE TABLE					
CURVE	LENGTH	RADIUS	CENTRAL ANGLE	CHORD BEARING	CHORD DISTANCE
C1	1409.17'	1267.69'	63°41'26"	N48°12'24"W	1337.73'
C3	609.54'	1267.69'	27°32'57"	N45°18'58"W	603.68'
C4	335.87'	1267.69'	15°10'49"	N23°57'06"W	334.89'
C5	112.75'	200.00'	32°18'01"	N74°36'31"E	111.26'
C6	207.49'	150.00'	79°15'15"	S49°36'51"E	191.34'
C16	1442.35'	1297.69'	63°40'58"	N48°12'38"W	1369.24'
C17	488.78'	1237.69'	22°37'37"	N45°12'30"W	485.61'
C18	451.43'	1127.49'	22°56'25"	N45°31'56"W	448.42'
C28	34.62'	25.00'	79°20'41"	S49°34'08"E	31.92'
C59	50.00'	1297.69'	2°12'28"	N42°01'27"W	50.00'
C85	55.69'	4438.78'	0°43'08"	S22°04'20"E	55.68'
C92	83.59'	4438.78'	1°04'44"	S22°58'15"E	83.59'
C93	93.51'	4438.78'	1°12'25"	S24°06'50"E	93.51'
C102	54.33'	1409.96'	2°12'28"	N42°06'41"W	54.33'
C103	2.19'	530.00'	0°14'14"	N10°06'21"W	2.19'
C107	6.78'	4438.78'	0°05'15"	S24°45'40"E	6.78'
C111	54.35'	1237.69'	2°30'58"	N40°56'55"W	54.35'

CURVE TABLE					
CURVE	LENGTH	RADIUS	CENTRAL ANGLE	CHORD BEARING	CHORD DISTANCE
C118	49.51'	1127.49'	2°30'58"	N40°56'56"W	49.51'
C119	147.95'	1117.49'	7°35'08"	N38°10'45"W	147.84'
C120	49.51'	1127.49'	2°30'58"	N38°25'57"W	49.51'
C121	54.35'	1237.69'	2°30'58"	N38°25'56"W	54.35'
C122	70.84'	1237.69'	3°16'45"	N35°32'04"W	70.83'
C123	32.24'	20.00'	92°21'12"	N12°16'54"E	28.86'
C124	95.84'	170.00'	32°18'01"	N74°36'31"E	94.57'
C125	61.25'	1127.49'	3°06'45"	N35°37'06"W	61.24'
C126	54.33'	1410.04'	2°12'28"	N39°54'00"W	54.33'
C127	54.34'	1410.12'	2°12'28"	N37°41'18"W	54.33'
C128	54.34'	1410.19'	2°12'28"	N35°28'36"W	54.34'
C129	54.34'	1410.26'	2°12'28"	N33°15'54"W	54.34'
C130	54.34'	1410.33'	2°12'28"	N31°03'11"W	54.34'
C131	54.35'	1410.40'	2°12'28"	N28°50'28"W	54.34'
C132	54.35'	1410.46'	2°12'28"	N26°37'44"W	54.35'
C133	54.35'	1410.51'	2°12'28"	N24°25'01"W	54.35'
C134	54.35'	1410.56'	2°12'28"	N22°12'17"W	54.35'
C135	23.48'	1410.61'	0°57'14"	N20°37'14"W	23.48'
C136	50.00'	1297.69'	2°12'28"	N39°48'59"W	50.00'
C137	50.00'	1297.69'	2°12'28"	N37°36'31"W	50.00'
C138	50.00'	1297.69'	2°12'28"	N35°24'03"W	50.00'
C139	50.00'	1297.69'	2°12'28"	N33°11'36"W	50.00'
C140	50.00'	1297.69'	2°12'28"	N30°59'08"W	50.00'
C141	50.00'	1297.69'	2°12'28"	N28°46'40"W	50.00'
C142	50.00'	1297.69'	2°12'28"	N26°34'12"W	50.00'
C143	50.00'	1297.69'	2°12'28"	N24°21'44"W	50.00'
C144	50.00'	1297.69'	2°12'28"	N22°09'16"W	50.00'
C145	50.00'	1297.69'	2°12'28"	N19°56'48"W	50.00'
C146	12.26'	25.00'	28°06'23"	S75°11'17"E	12.14'
C147	22.36'	25.00'	51°14'19"	S35°30'57"E	21.62'
C148	50.00'	1297.69'	2°12'28"	N17°44'20"W	50.00'
C149	6.02'	1297.69'	0°15'58"	N16°30'08"W	6.02'
C150	26.38'	50.00'	30°14'06"	N01°34'41"W	26.08'
C151	78.28'	50.00'	89°42'01"	N58°23'22"E	70.53'
C152	64.61'	50.00'	74°02'24"	S39°44'26"E	60.21'
C153	30.43'	50.00'	34°51'57"	S14°42'45"W	29.96'
C154	36.39'	60.00'	34°45'14"	N14°46'06"E	35.84'
C155	18.60'	60.00'	17°45'33"	N11°29'17"W	18.52'
C156	199.70'	50.00'	228°50'27"	S82°16'30"E	91.05'
C157	54.99''	60.00'	52°30'47"	S05°53'20"W	53.09'
C158	185.23'	1237.69'	8°34'29"	N24°39'18"W	185.05'
C159	54.88'	1237.69'	2°32'26"	N25°52'12"W	54.88'
C160	38.92'	1237.69'	1°48'07"	N28°02'28"W	38.92'
C161	36.54'	1237.69'	1°41'29"	N21°12'48"W	36.54'
C162	54.88'	1237.69'	2°32'26"	N23°19'46"W	54.88'
C163	40.40'	25.00'	92°35'58"	N75°14'31"W	36.15'
C164	87.18'	230.00'	21°42'59"	N69°19'00"E	86.65'
C165	42.49'	230.00'	10°35'02"	N85°28'00"E	42.43'
C166	129.66'	230.00'	32°18'01"	N74°36'31"E	127.95'
C167	82.39'	170.00'	27°46'11"	N72°20'36"E	81.59'
C168	11.85'	170.00'	3°59'41"	N88°13'32"E	11.85'
C169	1.59'	170.00'	0°32'09"	S89°30'33"E	1.59'
C170	37.36'	180.00'	11°53'31"	S15°55'59"E	37.29'
C171	46.59'	180.00'	14°49'47"	S29°17'38"E	46.46'
C172	46.17'	180.00'	14°41'46"	S44°03'25"E	46.04'
C173	46.15'	180.00'	14°41'21"	S58°44'58"E	46.02'
C174	46.13'	180.00'	14°41'03"	S73°26'11"E	46.01'
C175	26.59'	180.00'	8°27'47"	S85°00'35"E	26.56'
C176	165.99'	120.00'	79°15'15"	S49°36'51"E	153.07'
C177	248.98'	180.00'	79°15'15"	S49°36'51"E	229.60'
C178	48.84'	530.00'	5°16'46"	N12°51'50"W	48.82'

LINE TABLE		
LINE	BEARING	LENGTH
L3	N09°59'14"W	18.47'
L4	S09°59'14"E	18.47'
L5	N09°59'14"W	18.47'
L12	N73°18'16"E	20.00'
L13	S73°21'53"W	39.84'
L14	S16°38'07"E	31.21'
L15	N58°27'30"E	5.84'
L16	N58°27'30"E	11.06'

CARNAHAN PROCTOR & CROSS
604 COURTLAND STREET SUITE 101
PHONE : (407) 960-5980
ORLANDO, FLORIDA 32804
CERTIFICATE OF AUTHORIZATION # 2936

LAND DEVELOPMENT
SURVEYING
CONSTRUCTION ENGINEERING INSPECTION

SHEET INDEX:

SHEETS 1 OF 4 – LEGAL DESCRIPTION, VICINITY MAP, DEDICATION, SURVEYOR'S NOTES AND LEGEND
SHEET 2 OF 4 – OVERALL BOUNDARY GEOMETRY INFORMATION
SHEETS 3 & 4 – LOTS GEOMETRY INFORMATION

P:\PROJECTS_2020\200508 _WOODBURY PARK SQUARE\DWG\WOODBURY PLAT_COMBO