# FOUR SEASONS AT ORLANDO PHASE 3B AND 4A





A replat of a portion of Tract A, PALMS, as recorded in Plat Book 13, Pages 101 through 108; portions of Lots 11 and 12, Block C, portions of Lots 1, 2, 4, 7, 8, 9, 10, 13, 14, 15 and 16, Block D and portions of 30.00 foot wide unnamed right-of-way of FLORIDA FRUIT & TRUCK LAND COMPANY as recorded in Plat Book B, Page 68; a portion of Tract FD-1, FOUR SEASONS AT ORLANDO PHASE 3A according to Plat Book 27, Pages 154 and 155 of the Public Records of Osceola County, Florida and lying in Sections 14 and 15, Township 25 South, Range 27 East, Osceola County, Florida.

DEED RESTRICTIONS FOR THIS PLAT ARE FILED IN OFFICIAL RECORDS BOOK 5133, PAGE 719 AND (ARE)(ARE NOT) ACCOMPANIED BY DEED COVENANTS.

LEGAL DESCRIPTION.

A parcel of land comprising a portion of Tract A of PALMS, as recorded in Plat Book 13, Pages 101 through 108; portions of Lots 11 and 12, Block C, portions of Lots 1, 2, 4, 7, 8, 9, 10, 13, 14, 15 and 16, Block D and portions of 30.00 foot wide unnamed right-of-way of FLORIDA FRUIT & TRUCK LAND COMPANY as recorded in Plat Book B, Page 68; a portion of Tract FD-1, FOUR SEASONS AT ORLANDO PHASE 3A according to Plat Book 27, Pages 154 and 155 of the Public Records of Osceola County, Florida and lying in Sections 14 and 15, Township 25 South, Range 27 East, Osceola County, Florida.

Being more particularly described as follows:

COMMENCE at the Southeast corner of the Southeast 1/4 of aforesaid Section 15; thence run North 00°20'45" West along the East line of said Southeast 1/4 of said Section 15 for a distance of 45.00 feet to a point on the North right-of-way line of Sand Hill Road according to Deed Book 149, Page 89 of aforesaid Public Records; thence departing said East line of the Southeast 1/4 of Section 15 run South 89°37'39" West along said North right-of-way line for a distance of 15.47 feet to the POINT OF BEGINNING; thence continuing along said North right-of-way line run South 89° 37' 39" West for a distance of 1967.80 feet to a point on the Easterly line of INDIAN RIDGE VILLAS PHASE 1, as recorded in Plat Book 7, Pages 141 and 142 of aforesaid Public Records of Osceola County and a point on a non-tangent curve, concave Northwesterly having a radius of 700.00 feet, with a chord bearing of North 66° 28' 42" East, and a chord distance of 549.62 feet; thence departing said North right-of-way line run the following courses along said Easterly line of INDIAN RIDGE VILLAS PHASE 1: Northeasterly along the arc of said curve through a central angle of 46° 13' 52" for a distance of 564.82 feet to a point of tangency; thence run North 43° 21' 46" East for a distance of 100.00 feet; thence run North 01° 38' 14" West for a distance of 110.30 feet to a point a point on the Westerly line of aforesaid Tract A, PALMS; thence departing said Easterly line of INDIAN RIDGE VILLAS PHASE 1 run South 26° 00' 41" East along said Westerly line for a distance of 248.23 feet; thence departing said Westerly line run North 89° 38' 36" East for a distance of 117.52 feet; thence run North 36° 06' 03" East for a distance of 91.03 feet; thence run North 71° 35' 25" East for a distance of 26.30 feet; thence run North 38° 09' 45" East for a distance of 52.83 feet; thence run North 13° 08' 29" East for a distance of 54.12 feet; thence run North 21° 52' 13" East for a distance of 29.30 feet to the point of curvature of a curve, concave Westerly having a radius of 47.20 feet, with a chord bearing of North 19° 29' 19" West, and a chord distance of 62.38 feet; thence run Northwesterly along the arc of said curve through a central angle of 82° 43' 04" for a distance of 68.14 feet to a point of reverse curvature of a curve concave Easterly having a radius of 17.72 feet, with a chord bearing of North 09° 49' 58" West, and a chord distance of 27.55 feet; thence run Northerly along the arc of said curve through a central angle of 102° 01' 47" for a distance of 31.55 feet to a point of reverse curvature of a curve concave Northwesterly having a radius of 38.93 feet, with a chord bearing of North 26° 04' 14" East, and a chord distance of 20.30 feet: thence run Northeasterly along the arc of said curve through a central angle of 30° 13' 24 " for a distance of 20.54 feet to a point on a non-tangent line; thence run North 63° 22' 02" East for a distance of 44.76 feet; thence run North 26° 37' 58" West for a distance of 15.86 feet to a point on a non-tangent curve concave Southwesterly having a radius of 450.49 feet, with a chord bearing of North 47° 07' 47" West, and a chord distance of 93.54 feet; thence run Northwesterly along the arc of said curve through a central angle of 11° 55' 06" for a distance of 93.71 feet to a point on a non-tangent line; thence run North 50° 11' 23" West for a distance of 1010.43 feet to the point on a non-tangent curve, concave Northeasterly having a radius of 979.00 feet, with a chord bearing of North 40° 27' 20" West, and a chord distance of 298.85 feet; thence run Northwesterly along the arc of said curve through a central angle of 17° 33' 32" for a distance of 300.03 feet to a point of reverse curvature of a curve concave Southwesterly having a radius of 571.00 feet, with a chord bearing of North 43° 32' 43" West, and a chord distance of 234.88 feet; thence run Northwesterly along the arc of said curve through a central angle of 23° 44' 18" for a distance of 236.57 feet to a point of tangency; thence run North 55° 24' 53" West for a distance of 472.87 feet to the point of curvature of a curve, concave Southwesterly having a radius of 221.00 feet, with a chord bearing of North 67° 47' 09" West, and a chord distance of 94.70 feet; thence run Northwesterly along the arc of said curve through a central angle of 24° 44' 32" for a distance of 95.44 feet to the Southwest corner of aforesaid Tract FD-1, FOUR SEASONS AT ORLANDO PHASE 3A; thence run the following courses along the Westerly line of said Tract FD-1: North 09° 50' 35" East for a distance of 130.00 feet to a point on a non-tangent curve, concave Southerly having a radius of 351.00 feet, with a chord bearing of South 78° 19' 55" East, and a chord distance of 22.35 feet; thence run Easterly along the arc of said curve through a central angle of 03° 38' 59" for a distance of 22.36 feet to a point on a radial line; thence run North 13° 29' 34" East for a distance of 80.00 feet; thence run North 16° 49' 05" East for a distance of 120.60 feet to the point on a non-tangent curve, concave Southwesterly having a radius of 551.44 feet, with a chord bearing of South 65° 36' 29" East, and a chord distance of 194.78 feet; thence departing said Westerly line of Tract FD-1 run Southeasterly along the arc of said curve through a central angle of 20° 20' 41" for a distance of 195.81 feet to a point on a non-tangent line; thence run South 34° 35' 07" West for a distance of 96.14 feet; thence run South 55° 24' 53" East for a distance of 50.00 feet; thence run North 34° 35' 07" East for a distance of 95.70 feet; thence run South 55° 24' 53" East for a distance of 364.12 feet; thence run North 34° 35' 07" East for a distance of 105.81 feet; thence run North 71° 12' 55" East for a distance of 57.93 feet; thence run North 30° 25' 21" East for a distance of 76.17 feet; thence run North 13° 46' 43" East for a distance of 318 feet; thence run North 85° 27' 02" East for a distance of 67.64 feet; thence run South 04° 32' 58" East for a distance of 25.28 feet; to the point of curvature of a curve concave Easterly having a radius of 670.00 feet, with a chord bearing of South 14° 00' 56" East, and a chord distance of 220.38 feet; thence run Southeasterly along the arc of said curve through a central angle of 18° 55' 56" for a distance of 221.39 feet to a point of tangency; thence run South 23° 28' 54" East for a distance of 92.90 feet; thence run South 25° 20' 33" East for a distance of 95.38 feet; thence run South 28° 26' 43" East for a distance of 359.96 feet; thence run South 10° 36' 07" West for a distance of 15.94 feet; thence run South 50° 12' 06" East for a distance of 913.10 feet to the point of curvature of a curve, concave Southwesterly having a radius of 660.00 feet, with a chord bearing of South 43° 11' 48" East, and a chord distance of 160.98 feet: thence run Southeasterly along the arc of said curve through a central angle of 14° 00' 36" for a distance of 161.38 feet to a point on a non-tangent line; thence run South 53° 48' 30" West for a distance of 120.00 feet to a point on a non-tangent curve concave Southwesterly having a radius of 540.00 feet with a chord bearing of South 35°04'07" East and a chord distance of 21.17 feet; thence run Southeasterly along the arc of said curve through a central angle of 02°14'45" for a distance of 21.17 feet to a point on a non-tangent line; thence run North 57° 04' 22" East for a distance of 3.52 feet; thence run South 31° 39' 56" East for a distance of 2.73 feet; thence run North 58° 52' 09" East for a distance of 13.10 feet; thence run North 67° 17' 00" East for a distance of 15.08 feet; thence run North 81° 05' 30" East for a distance of 14.65 feet; thence run South 86° 32' 51" East for a distance of 19.15 feet; thence run South 58° 54' 05" East for a distance of 17.91 feet; thence run South 06° 51' 42" East for a distance of 17.28 feet; thence run South 00° 37' 13" East for a distance of 30.29 feet; thence run South 08° 42' 56" East for a distance of 30.92 feet; thence run South 16° 08' 39" East for a distance of 20.77 feet; thence run South 29° 51' 44" East for a distance of 21.48 feet; thence run South 40° 42' 08" East for a distance of 19.32 feet; thence run South 22° 48' 14" East for a distance of 20.21 feet; thence run South 01° 45' 16" West for a distance of 7.64 feet to a point on the Southerly line of aforesaid Tract A, PALMS, being a point on a non-tangent curve, concave Northerly having a radius of 501.00 feet, with a chord bearing of North 82° 06' 26" East, and a chord distance of 177.76 feet; thence run Easterly along said Southerly line of Tract A, PALMS and the arc of said curve through a central angle of 20° 26' 15" for a distance of 178.71 feet to a point on the Easterly line of said Tract A, PALMS being a point on a non-tangent line; thence run the following courses along said Easterly line of Tract A, PALMS: North 04° 46' 51" West for a distance of 72.77 feet; thence run North 72° 11' 22" West for a distance of 55.95 feet; thence run North 26° 46' 17" West for a distance of 66.57 feet; thence run North 35° 34' 42" West for a distance of 19.15 feet to a point on a non-tangent curve, concave Westerly having a radius of 125.00 feet, with a chord bearing of North 02° 05' 20" East, and a chord distance of 12.71 feet; thence run Northerly along the arc of said curve through a central angle of 05° 49' 39" for a distance of 12.71 feet to a point of tangency; thence run North 00° 49' 30" West for a distance of 502.36 feet to a point on the Easterly line of a Parcel of land described in Official Records Book 4148, Page 1235 of aforesaid Public Records; thence departing aforesaid Easterly line of Tract A, PALMS run the following courses along said Easterly line: South 20° 33' 18" East for a distance of 12.22 feet; thence run South 32° 32' 10" East for a distance of 55.72 feet; thence run South 32° 55' 16" East for a distance of 91.95 feet; thence run South 12° 23' 25" East for a distance of 47.88 feet; thence run North 89° 05' 59" East for a distance of 37.64 feet; thence run South 81° 59' 45" East for a distance of 20.90 feet; thence run North 81° 47' 18" East for a distance of 66.02 feet; thence run North 77° 16' 44" East for a distance of 58.45 feet; thence run North 73° 57' 51" East for a distance of 52.65 feet; thence run North 63° 25' 19" East for a distance of 74.34 feet; thence run North 55° 03' 49" East for a distance of 78.36 feet; thence run North 66° 08' 28" East for a distance of 29.99 feet; thence run North 78° 02' 34" East for a distance of 31.77 feet; thence run South 78° 40' 51" East for a distance of 38.40 feet; thence run South 34° 51' 47" East for a distance of 25.18 feet; thence run South 31° 16' 55" East for a distance of 88.72 feet; thence run South 42° 36' 23" East for a distance of 55.58 feet; thence run South 54° 34' 31" East for a distance of 26.69 feet; thence run South 44° 43' 27" East for a distance of 41.99 feet; thence run South 75° 37' 44" East for a distance of 21.06 feet; thence run South 55° 13' 04" East for a distance of 50.00 feet; thence run North 75° 12' 30" East for a distance of 113.13 feet to a point on the Westerly right-of-way line of County Road Number 545; thence run South 03° 14' 37" East along said Westerly right-of-way line for a distance of 667.16 feet to a point on the South line of aforesaid Parcel described in Official Records Book 4148, Page 1235 thence departing said Westerly right-of-way line run South 89° 39' 53" West along said South for a distance of 277.58 feet to a point on the East line of aforesaid Lot 1, Block D, FLORIDA FRUIT & TRUCK LAND COMPANY; thence run South 00° 20' 07" East along said East line for a distance of 234.50 feet to the POINT OF BEGINNING.

Contains 46.64 acres more or less.

ALLEN & COMPANY
Professional Surveyors & Mappers

16 EAST PLANT STREET
WINTER GARDEN, FLORIDA 34787
(407) 654-5355

LEGEND:

| | |
|---|---|
| O.R. | denotes Official Records Book |
| P.B. | denotes Plat Book |
| PG(S). | denotes page(s) |
| PC | denotes point of curvature |
| PT | denotes point of tangency |
| PI | denotes point of intersection |
| PRC | denotes point of reverse curvature |
| NR | denotes non-radial |
| U.E. | denotes utility easement |
| N.T. | denotes non-tangent |
| P.R.M. | Permanent Reference Monument |
| U.E. | denotes utility easement |
| D.E. | denotes drainage easement |
| R.P. | denotes radius point |
| L.E. | denotes landscape easement |
| | denotes change in direction along right-of-way lines |
| ℄ | denotes centerline |
| CCR # | denotes Certified Corner Record Number |
| R/W | denotes right-of-way |
| ⊡ | denotes recovered 4"X4" concrete monument # 6723 unless otherwise noted |
| ● | denotes set 5/8" iron rod & cap #6723 permanent reference monument |
| ○ | denotes a set 1/2" iron rod & cap LB #6723, Lot corner |
| ◉ | denotes a set 1/2" iron rod and/or nail & disk P.S.M. #6723 permanent control point |
| • | denotes change in direction, no corner set |
| LB | denotes licensed business |
| CDD | denotes Community Development District |
| L.W.E. | denotes landscape & wall easement |

SURVEYOR'S NOTES:

1. Bearings shown hereon are assumed and based on the South line of the Southeast 1/4 of Section 15-25-27 being South 89°37'39" West.
2. All lot lines intersecting curves are radial, unless otherwise noted non-radial ( N.R. ).
3. Owner does hereby grant to all present and future owners of Lots shown hereon, and their guests, invites, domestic help, and delivery, pick-up and fire protection services, policy and other authorities of law, United States mail carriers, representatives of utilities, holders of mortgage liens on such lands and such other persons as Owners, its successors or assigns, may from time to time designate, a non-exclusive perpetual easement for pedestrian and vehicular ingress and egress over and across the paved areas within Tract "A", as may from time to time be constructed.
4. All platted utility easements shall also be easements for the construction, installation, maintenance, and operation of cable television and data services; provided, however, no such construction, installation, maintenance, and operation of cable television services shall interfere with the facilities and services of an electric, telephone, gas, or other public utility. In the event a cable television company damages the facilities of a public utility, it shall be solely responsible for the damages. This section shall not apply to those private easements granted to or obtained by a particular electric, telephone, gas, or other public utility. Such construction, installation, maintenance, and operation shall comply with the National Electrical Safety Code as adopted by the Florida Public Service Commission. The utility easements shown hereon are hereby dedicated to any public or private utility service provider, including, but not limited to, a community development district. that is extending utility services, including, but not limited to, electricity, gas, telephone and cable, potable and reclaimed water, and sanitary sewer to, or for the benefit of the lands shown hereon.
5. The Windward Community Development District (the CDD) for the lands shown hereon was established through the Board of County Commissioners of Osceola County, Florida, Ordinance No. 2017-21 on April 10, 2017.
6. Tracts SW-3B, SW-3D, SW-4A and SW-4B (Stormwater) will be dedicated to the CDD by separate instrument and shall be maintained by the CDD.
7. The CDD shall maintain any drainage and stormwater facilities. The drainage easements shown hereon will be dedicated to the CDD by seperate instrument for the benefit of the owners of the lands shown hereon.
8. Tract A is a public right-of-way Tract and will be dedicated to the CDD by separate instrument and shall be maintained by the CDD. The public use rights over and across Tract A include a perpetual easement and right of ingress/egress/utility to and for the benefit of delivery and pick up services, fire protection services and other authorities of law, United States mail carriers and representatives of utilities. The streets within Tract A shall be subject to the jurisdiction of Osceola County in establishing speed limits and traffic control devices deemed necessary and appropriate by Osceola County.
9. All landscaping elements within this development including trees in Public Right of Ways as required by the Osceola County Land Development Code will be dedicated to the CDD by separate instrument and shall be maintained by the CDD.
10. All street lights will be dedicated to the CDD by separate instrument and shall be maintained by the CDD.
11. Osceola County shall have the right, but not the obligation, to access, maintain, repair, replace or otherwise care for or cause to be cared for the Stormwater Tracts, including without limitation the drainage systems constructed thereon. A Blanket Ingress/Egress Easement is granted in favor of Osceola County for said purposes.
12. Utility easements created by this plat may at times include surface improvements such as parking, paving, sidewalks, lighting, landscaping, green spaces, recreational areas, and drive aisles for motor vehicles. No permanent structures or improvements, such as buildings, walls or foundations, shall be constructed, installed or placed on, over or across the utility easements.
13. The public use rights over and across Tract A include a perpetual easement and right of ingress egress to and for the benefit of delivery and pick up services, fire protection services, police services, ambulance services, and other authorities of law, United States mail carriers, and representatives of utilities. The Tract A streets shall be subject to the jurisdiction of Osceola County, Florida in establishing speed limits and traffic control devices deemed necessary and appropriate by Osceola County, Florida
14. Tracts OS-D, OS-G, OS-H, OS-J, OS-K, OS-L, OS-M, OS-N, OS-O and OS-T, (Open Space) will be dedicated to the CDD by separate instrument and shall be maintained by the CDD.
15. Tracts LS-2 and LS-3, (Lift Station), are dedicated to and maintained by K. Hovnanian at Mystic Dunes, LLC. its successors and/or assigns.
16. Tracts W-1 and W-3 (Wetland Tracts) shall be conveyed by separate instrument to the CDD for ownership. Said Tracts W-1 and W-3 shall be subject to a conservation easement in favor of South Florida Water Management District and Osceola County, Florida with development rights dedicated to Osceola County, Florida. Clearing, grading, construction or alteration is permitted only after obtaining proper approvals from Osceola County, Florida and all other applicable jurisdictional agencies.
17. The landscape easements (L.E.) shown hereon are dedicated to and maintained by the Four Seasons at Orlando Homeowners Association, Inc (Association).
18. The landscape and wall easement (L.W.E.) shown on Lot 271 is dedicated to and maintained by the Association.
19. The lands shown hereon are affected by that certain Easement Agreement, recorded in Official Records Book 5094, Page 1187 and Official Records Book 5810, Page 2483 of the public records of Osceola County, Florida.

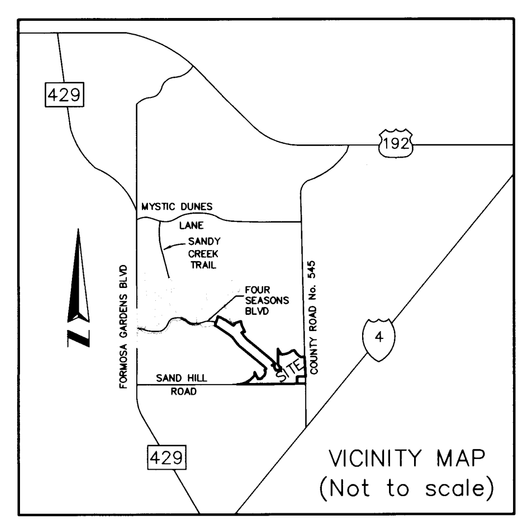


SHEET INDEX
SHEET 1 OF 7 - LEGAL DESCRIPTION, DEDICATION, NOTES & LEGEND
SHEET 2 OF 7 - BOUNDARY INFORMATION,
SHEETS 3 THROUGH 7 OF 7 LOT AND TRACT GEOMETRY

NOTICE:

THIS PLAT, AS RECORDED IN ITS GRAPHIC FORM, IS THE OFFICIAL DEPICTION OF THE SUBDIVIDED LANDS DESCRIBED HEREIN AND WILL IN NO CIRCUMSTANCES BE SUPPLANTED IN AUTHORITY BY ANY OTHER GRAPHIC OR DIGITAL FORM OF THE PLAT. THERE MAY BE ADDITIONAL RESTRICTIONS THAT ARE NOT RECORDED ON THIS PLAT THAT MAY BE FOUND IN THE PUBLIC RECORDS OF THIS COUNTY.

CERTIFICATE OF SURVEYOR AND MAPPER

KNOW ALL MEN BY THESE PRESENTS, That the undersigned being a licensed and registered land surveyor does hereby certify that on 11-25-2019 he completed the survey of the lands as shown in the foregoing plat; that said plat is a correct representation of the lands therein described and platted or subdivided; that permanent reference monuments have been placed as shown thereon as required by Osceola County requirements and regulations; the survey was prepared under the undersigned responsible direction and supervision and that the survey data complies with all requirements of Chapter 177, F.S.; and that permanent control points will be placed as required by Chapter 177, F.S.; and that said land is located in; Sections 14 and 15, Township 25, South, Range 27 East, Osceola County, Florida.

Date of survey: 10/23/2020

By: _____ Date: 10/23/2020
JAMES L. RICKMAN P.S.M. 5633

Allen & Company
Licensed Business # 6723
16 East Plant Street
Winter Garden, Florida 34787

*FOUR SEASONS AT ORLANDO PHASE 3B AND 4A*

DEDICATION

KNOW ALL MEN BY THESE PRESENTS, that K. Hovnanian at Mystic Dunes, LLC, a Florida limited liability company, being the owner in fee simple of the lands described in the foregoing caption to this plat hereby dedicates said lands and plat for the uses and purposes herein expressed and dedicates the utility and drainage easements shown hereon to the perpetual use of the public. No part of said lands, except as noted in this Dedication or otherwise on the face of this plat, is dedicated to Osceola County. A blanket ingress/egress/utility easement over the Right-of-Way Tract A is granted to the perpetual use of the public.

In witness whereof K. Hovnanian at Mystic Dunes, LLC has caused these presents to be signed and attested to or witnessed by the officer named below on October 22, 2020.

K. Hovnanian at Mystic Dunes, LLC
A Florida limited liability company

By: _____ Title: Division Controller
Printed Name: James Makransky

Signed and sealed in the presence of:

Guy Trussell
Signature of witness:
Guy Trussell
Printed Name of witness:

Melissa R. Martinez
Signature of witness:
Melissa R. Martinez
Printed Name of witness:

ACKNOWLEDGMENT

STATE OF FLORIDA,
COUNTY OF Orange

THE FOREGOING INSTRUMENT WAS ACKNOWLEDGED BEFORE ME, BY MEANS OF [✓] PHYSICAL PRESENCE OR [ ] ONLINE NOTARIZATION, THIS 22 DAY OF October, 2020, BY JAMES MAKRANSKY, AS DIVISION CONTROLLER, SUCH PERSON [✓] IS PERSONALLY KNOWN TO ME OR [ ] HAS PRODUCED _____ AS IDENTIFICATION.

_____
SIGNATURE OF PERSON TAKING ACKNOWLEDGEMENT

NOTARY PUBLIC

MELISSA R. MARTINEZ
Commission # GG 119921
Expires August 11, 2021
Bonded Thru Troy Fain Insurance 800-385-7019

Printed Name: Melissa R. Martinez
Commission No.: GG 119921
My Commission Expires: 08/11/2021

CERTIFICATE OF APPROVAL BY COUNTY ENGINEER

Examined and Approved:

_____ 11/3/2020
County Engineer Date:

CERTIFICATE OF APPROVAL BY BOARD OF COUNTY COMMISSIONERS

THIS IS TO CERTIFY, That on December 07, 2020 the foregoing plat was approved by the Board of County Commissioners of Osceola County, Florida.

Chairman of the Board: _____ Clerk of the Board: Rachel Wildermuth
in and for Osceola County, Florida
By: Rachel Wildermuth

CERTIFICATE OF COUNTY CLERK

I HEREBY CERTIFY, That I have examined the foregoing plat and find that it complies in form with all the requirements of the Osceola County Land Development Code, and was filed for record on: December 11th, 2020 at: 11:07:21 AM

File No. 2020168532
Armando Ramirez
Clerk of the Circuit Court
in and for Osceola County, Florida.
By: _____ D.C

CERTIFICATE OF APPROVAL BY SURVEYOR REPRESENTING OSCEOLA COUNTY

Pursuant to Section 177.081, Florida Statutes, I have reviewed this plat for conformity to Chapter 177, Florida Statutes, and find that said plat complies with the technical requirements of that Chapter; provided, however, that my review does not include field verification of any of the coordinates, points or measurements shown on this plat.

Signature: _____ Dated: 10-26-20
Print Name: W. TURNER WALLACE Registration No. 3967
Florida Professional Surveyor and Mapper under contract to Osceola County, Florida.

# FOUR SEASONS AT ORLANDO PHASE 3B AND 4A

A replat of a portion of Tract A, PALMS, as recorded in Plat Book 13, Pages 101 through 108; portions of Lots 11 and 12, Block C, portions of Lots 1, 2, 4, 7, 8, 9, 10, 13, 14, 15 and 16, Block D and portions of 30.00 foot wide unnamed right-of-way of FLORIDA FRUIT & TRUCK LAND COMPANY as recorded in Plat Book B, Page 68; a portion of Tract FD-1, FOUR SEASONS AT ORLANDO PHASE 3A according to Plat Book 27, Pages 154 and 155 of the Public Records of Osceola County, Florida and lying in Sections 14 and 15, Township 25 South, Range 27 East, Osceola County, Florida.

DEED RESTRICTIONS FOR THIS PLAT ARE FILED IN OFFICIAL RECORDS BOOK 5133, PAGE 719 AND (ARE)(ARE NOT) ACCOMPANIED BY DEED COVENANTS.

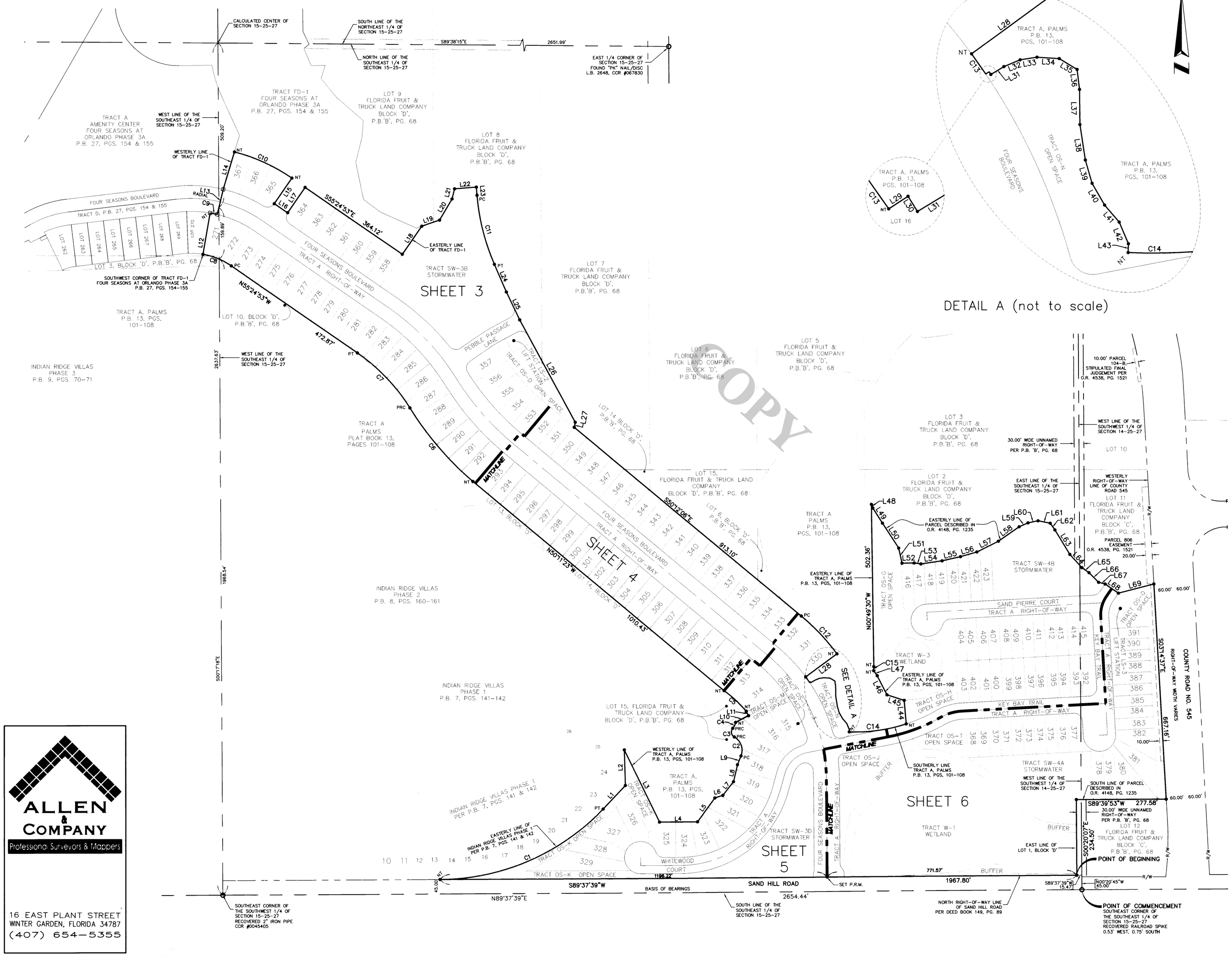





| CURVE TABLE | | | | | |
|---|---|---|---|---|---|
| CURVE | RADIUS | LENGTH | CHORD | BEARING | DELTA |
| C1 | 700.00' | 564.82' | 549.62' | N66°28'42"E | 46°13'52" |
| C2 | 47.20' | 68.14' | 62.38' | N19°29'19"W | 82°43'04" |
| C3 | 17.72' | 31.55' | 27.55' | N09°49'58"W | 102°01'47" |
| C4 | 38.93' | 20.54' | 20.30' | N26°04'14"E | 30°13'24" |
| C5 | 450.49' | 93.71' | 93.54' | N47°07'47"W | 11°55'06" |
| C6 | 979.00' | 300.03' | 298.85' | N40°27'20"W | 17°33'32" |
| C7 | 571.00' | 236.57' | 234.88' | N43°32'43"W | 23°44'18" |
| C8 | 221.00' | 95.44' | 94.70' | N67°47'09"W | 24°44'32" |
| C9 | 351.00' | 22.36' | 22.35' | S78°19'55"E | 03°38'59" |
| C10 | 551.44' | 195.81' | 194.78' | S65°36'29"E | 20°20'41" |
| C11 | 670.00' | 221.39' | 220.38' | S14°00'56"E | 18°55'56" |
| C12 | 660.00' | 161.38' | 160.98' | S43°11'48"E | 14°00'36" |
| C13 | 540.00' | 21.17' | 21.17' | S35°04'07"E | 02°14'45" |
| C14 | 501.00' | 178.71' | 177.76' | N82°06'26"E | 20°26'15" |
| C15 | 125.00' | 12.71' | 12.71' | N02°05'20"E | 05°49'39" |

GRAPHIC SCALE

150 0 75 150

( IN FEET )
1 inch = 150 ft.

| LINE TABLE | | |
|---|---|---|
| LINE | LENGTH | BEARING |
| L1 | 100.00' | N43°21'46"E |
| L2 | 110.30' | N01°38'14"W |
| L3 | 248.23' | S26°00'41"E |
| L4 | 117.52' | N89°38'36"E |
| L5 | 91.03' | N36°06'03"E |
| L6 | 26.30' | N71°35'25"E |
| L7 | 52.83' | N38°09'45"E |
| L8 | 54.12' | N13°08'29"E |
| L9 | 29.30' | N21°52'13"E |
| L10 | 44.76' | N63°22'02"E |
| L11 | 15.86' | N26°37'58"W |
| L12 | 130.00' | N09°50'35"E |
| L13 | 80.00' | N13°29'34"E |
| L14 | 120.60' | N16°49'05"E |
| L15 | 96.14' | S34°35'07"W |
| L16 | 50.00' | S55°24'53"E |
| L17 | 95.70' | N34°35'07"E |
| L18 | 105.81' | N34°35'07"E |
| L19 | 57.93' | N71°12'55"E |
| L20 | 76.17' | N30°25'21"E |
| L21 | 32.18' | N13°46'43"E |
| L22 | 67.64' | N85°27'02"E |
| L23 | 25.28' | S04°32'58"E |
| L24 | 92.90' | S23°28'54"E |
| L25 | 95.38' | S25°20'33"E |
| L26 | 359.96' | S28°26'43"E |
| L27 | 15.94' | S10°36'07"W |
| L28 | 120.00' | S53°48'30"W |
| L29 | 3.52' | N57°04'22"E |
| L30 | 2.73' | S31°39'56"E |
| L31 | 13.10' | N58°52'09"E |
| L32 | 15.08' | N67°17'00"E |
| L33 | 14.65' | N81°05'30"E |
| L34 | 19.15' | S86°32'51"E |
| L35 | 17.91' | S58°54'05"E |
| L36 | 17.28' | S06°51'42"E |
| L37 | 30.29' | S00°37'13"E |
| L38 | 30.92' | S08°42'56"E |
| L39 | 20.77' | S16°08'39"E |
| L40 | 21.48' | S29°51'44"E |
| L41 | 19.32' | S40°42'08"E |
| L42 | 20.21' | S22°48'14"E |
| L43 | 7.64' | S01°45'16"W |
| L44 | 72.77' | N04°46'51"W |
| L45 | 55.95' | N72°11'22"W |
| L46 | 66.57' | N26°46'17"W |
| L47 | 19.15' | N35°34'42"W |
| L48 | 12.22' | S20°33'18"E |
| L49 | 55.72' | S32°32'10"E |
| L50 | 91.95' | S32°55'16"E |
| L51 | 47.88' | S12°23'25"E |
| L52 | 37.64' | N89°05'59"E |
| L53 | 20.90' | S81°59'45"E |
| L54 | 66.02' | N81°47'18"E |
| L55 | 58.45' | N77°16'44"E |
| L56 | 52.65' | N73°57'51"E |
| L57 | 74.34' | N63°25'19"E |
| L58 | 78.36' | N55°03'49"E |
| L59 | 29.99' | N66°08'28"E |
| L60 | 31.77' | N78°02'34"E |
| L61 | 38.40' | S78°40'51"E |
| L62 | 25.18' | S34°51'47"E |
| L63 | 88.72' | S31°16'55"E |
| L64 | 55.58' | S42°36'23"E |
| L65 | 26.69' | S54°34'31"E |
| L66 | 41.99' | S44°43'27"E |
| L67 | 21.06' | S75°37'44"E |
| L68 | 50.00' | S55°13'04"E |
| L69 | 113.13' | N75°12'30"E |

ALLEN & COMPANY
Professional Surveyors & Mappers
16 EAST PLANT STREET
WINTER GARDEN, FLORIDA 34787
(407) 654-5355

SHEET INDEX
SHEET 1 OF 7 – LEGAL DESCRIPTION, DEDICATION, NOTES & LEGEND
SHEET 2 OF 7 – BOUNDARY INFORMATION,
SHEETS 3 THROUGH 7 OF 7 LOT AND TRACT GEOMETRY

# FOUR SEASONS AT ORLANDO PHASE 3B AND 4A

A replat of a portion of Tract A, PALMS, as recorded in Plat Book 13, Pages 101 through 108; portions of Lots 11 and 12, Block C, portions of Lots 1, 2, 4, 7, 8, 9, 10, 13, 14, 15 and 16, Block D and portions of 30.00 foot wide unnamed right-of-way of FLORIDA FRUIT & TRUCK LAND COMPANY as recorded in Plat Book B, Page 68; a portion of Tract FD-1, FOUR SEASONS AT ORLANDO PHASE 3A according to Plat Book 27, Pages 154 and 155 of the Public Records of Osceola County, Florida and lying in Sections 14 and 15, Township 25 South, Range 27 East, Osceola County, Florida.

DEED RESTRICTIONS FOR THIS PLAT ARE FILED IN OFFICIAL RECORDS BOOK 5133, PAGE 719 AND (ARE)(ARE NOT) ACCOMPANIED BY DEED COVENANTS.

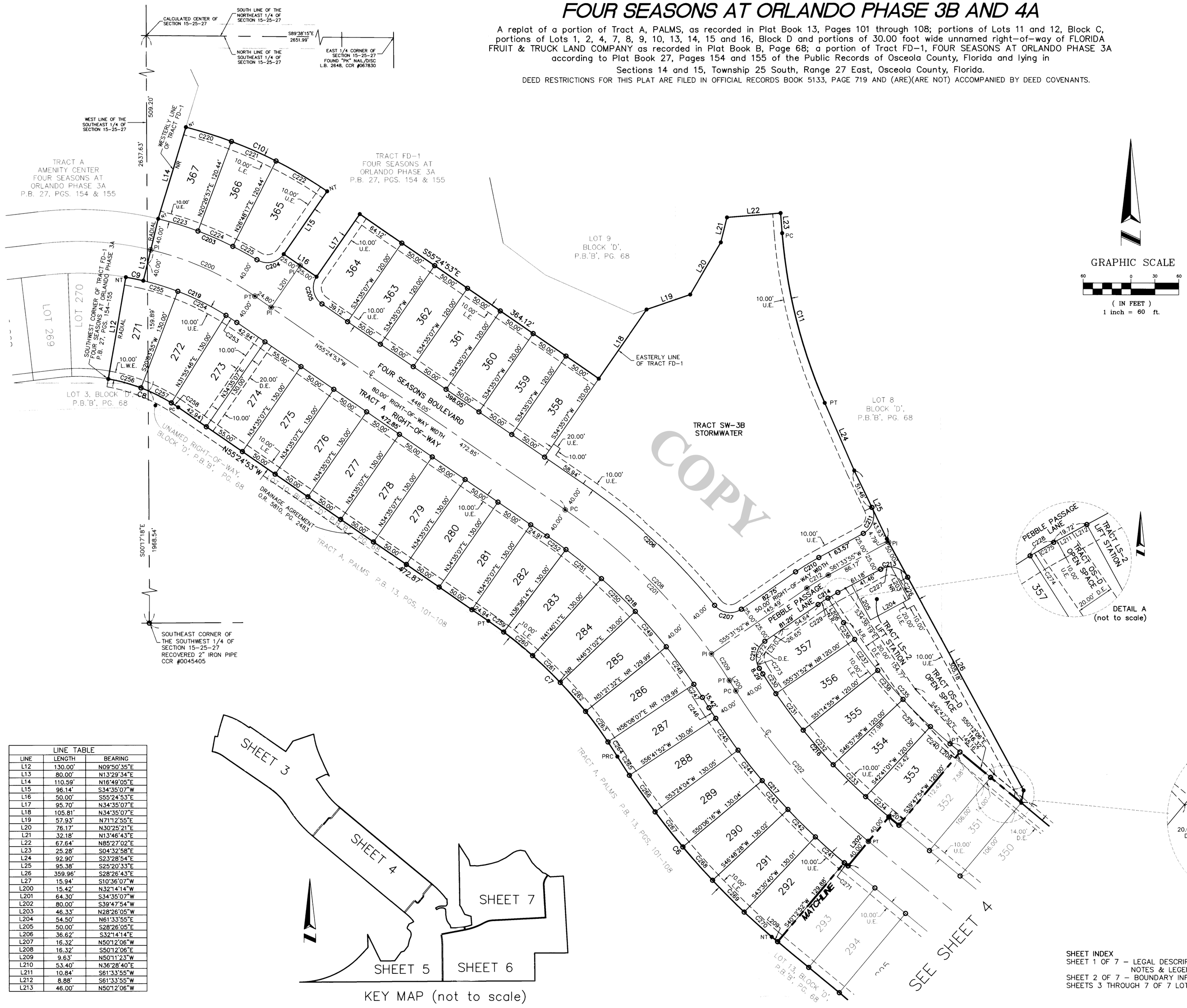


GRAPHIC SCALE

60 0 30 60

( IN FEET )
1 inch = 60 ft.




KEY MAP (not to scale)




DETAIL A
(not to scale)

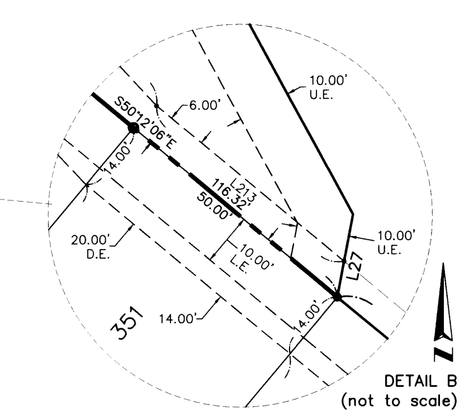


DETAIL B
(not to scale)

| CURVE TABLE | | | | | |
|---|---|---|---|---|---|
| CURVE | RADIUS | LENGTH | CHORD | BEARING | DELTA |
| C6 | 979.00' | 300.03' | 298.85' | N40°27'20"W | 17°33'32" |
| C7 | 571.00' | 236.57' | 234.88' | N43°32'43"W | 23°44'18" |
| C8 | 221.00' | 95.44' | 94.70' | N67°47'09"W | 24°44'32" |
| C9 | 351.00' | 22.36' | 22.35' | S78°19'55"E | 03°38'59" |
| C10 | 551.44' | 195.81' | 194.78' | S65°36'29"E | 20°20'41" |
| C11 | 670.00' | 221.39' | 220.38' | S14°00'56"E | 18°55'56" |
| C200 | 391.00' | 143.94' | 143.13' | N65°57'39"W | 21°05'33" |
| C201 | 741.00' | 299.75' | 297.71' | N43°49'33"W | 23°10'38" |
| C202 | 809.00' | 253.65' | 252.61' | S41°13'10"E | 17°57'51" |
| C203 | 431.00' | 134.83' | 134.29' | N67°32'42"W | 17°55'28" |
| C204 | 25.00' | 37.89' | 34.36' | N78°00'05"E | 86°49'55" |
| C205 | 25.00' | 38.57' | 34.86' | S11°12'48"E | 88°24'09" |
| C206 | 781.00' | 225.86' | 225.08' | N47°07'47"W | 16°34'11" |
| C207 | 25.00' | 37.36' | 33.98' | S81°39'25"E | 85°37'27" |
| C208 | 741.00' | 259.39' | 258.07' | N45°23'11"W | 20°03'24" |
| C209 | 741.00' | 40.36' | 40.35' | N33°47'52"W | 03°07'14" |
| C210 | 325.00' | 34.23' | 34.21' | S58°32'54"W | 06°02'03" |
| C211 | 25.00' | 37.92' | 34.39' | N18°06'41"E | 86°54'28" |
| C212 | 300.00' | 31.59' | 31.58' | S58°32'54"W | 06°02'03" |
| C213 | 25.00' | 39.27' | 35.35' | N73°28'24"W | 89°59'22" |
| C214 | 275.00' | 28.96' | 28.95' | S58°32'54"W | 06°02'03" |
| C215 | 25.00' | 38.30' | 34.66' | S11°38'49"W | 87°46'06" |
| C216 | 769.00' | 241.11' | 240.12' | S41°13'10"E | 17°57'51" |
| C217 | 849.00' | 266.19' | 265.10' | S41°13'10"E | 17°57'51" |
| C218 | 701.00' | 283.57' | 281.64' | N43°49'33"W | 23°10'38" |
| C219 | 351.00' | 129.22' | 128.49' | N65°57'39"W | 21°05'33" |
| C220 | 551.44' | 59.98' | 59.93' | N72°39'56"W | 06°13'47" |
| C221 | 551.44' | 61.17' | 61.14' | N66°22'23"W | 06°21'19" |
| C222 | 551.44' | 74.68' | 74.63' | N59°18'56"W | 07°45'35" |
| C223 | 431.00' | 52.33' | 52.30' | N73°01'44"W | 06°57'23" |
| C224 | 431.00' | 47.81' | 47.78' | N66°22'23"W | 06°21'19" |
| C225 | 431.00' | 34.70' | 34.69' | N60°53'21"W | 04°36'45" |
| C226 | 25.00' | 25.55' | 24.45' | N57°43'08"W | 58°32'50" |
| C227 | 25.00' | 13.72' | 13.55' | S77°17'11"W | 31°26'31" |
| C228 | 275.00' | 14.22' | 14.22' | S60°05'03"W | 02°57'44" |
| C229 | 275.00' | 14.74' | 14.74' | S57°04'02"W | 03°04'19" |
| C230 | 769.00' | 29.95' | 29.95' | S33°21'11"E | 02°13'54" |
| C231 | 769.00' | 57.48' | 57.47' | S36°36'37"E | 04°16'57" |
| C232 | 769.00' | 57.48' | 57.47' | S40°53'34"E | 04°16'57" |
| C233 | 769.00' | 57.48' | 57.47' | S45°10'31"E | 04°16'57" |
| C234 | 769.00' | 38.72' | 38.72' | S48°45'33"E | 02°53'06" |
| C235 | 649.00' | 203.48' | 202.65' | S41°13'10"E | 17°57'51" |
| C236 | 649.00' | 25.28' | 25.28' | S33°21'11"E | 02°13'54" |
| C237 | 649.00' | 48.51' | 48.50' | S36°36'37"E | 04°16'57" |
| C238 | 649.00' | 48.51' | 48.50' | S40°53'34"E | 04°16'57" |
| C239 | 649.00' | 48.51' | 48.50' | S45°10'31"E | 04°16'57" |
| C240 | 649.00' | 32.68' | 32.68' | S48°45'33"E | 02°53'06" |
| C241 | 849.00' | 55.01' | 55.00' | S34°24'46" | 03°42'46" |
| C242 | 849.00' | 48.85' | 48.84' | S44°50'26"E | 03°17'48" |
| C243 | 849.00' | 48.85' | 48.84' | S41°32'38"E | 03°17'48" |
| C244 | 849.00' | 48.85' | 48.84' | S38°14'50"E | 03°17'48" |
| C245 | 849.00' | 48.85' | 48.84' | S34°57'02"E | 03°17'48" |
| C246 | 849.00' | 15.78' | 15.78' | S32°46'11"E | 01°03'54" |
| C247 | 701.00' | 19.89' | 19.89' | N33°03'01"W | 01°37'33" |
| C248 | 701.00' | 58.44' | 58.42' | N36°15'05"W | 04°46'34" |
| C249 | 701.00' | 59.26' | 59.24' | N41°03'40"W | 04°50'36" |
| C250 | 701.00' | 59.31' | 59.29' | N45°54'24"W | 04°50'50" |
| C251 | 701.00' | 57.49' | 57.48' | N50°40'47"W | 04°41'57" |
| C252 | 701.00' | 29.18' | 29.18' | N54°13'19"W | 02°23'07" |
| C253 | 351.00' | 16.27' | 16.27' | N56°44'33"W | 02°39'20" |
| C254 | 351.00' | 67.58' | 67.47' | N63°35'09"W | 11°01'52" |
| C255 | 351.00' | 45.37' | 45.34' | N72°48'15"W | 07°24'21" |
| C256 | 221.00' | 42.64' | 42.58' | N74°37'45"W | 11°03'20" |
| C257 | 221.00' | 42.55' | 42.48' | N63°35'09"W | 11°01'52" |
| C258 | 221.00' | 10.24' | 10.24' | N56°44'33"W | 02°39'20" |
| C259 | 571.00' | 23.75' | 23.75' | N54°13'23"W | 02°22'59" |
| C260 | 571.00' | 46.83' | 46.82' | N50°40'55"W | 04°41'57" |
| C261 | 571.00' | 48.31' | 48.29' | N45°54'31"W | 04°50'51" |
| C262 | 571.00' | 48.27' | 48.26' | N41°03'47"W | 04°50'38" |
| C263 | 571.00' | 47.60' | 47.59' | N36°15'11"W | 04°46'35" |
| C264 | 571.00' | 21.81' | 21.81' | N32°46'14"W | 02°11'19" |
| C265 | 979.00' | 28.00' | 28.00' | S32°29'44"E | 01°38'20" |
| C266 | 979.00' | 56.33' | 56.32' | S34°57'48"E | 03°17'49" |
| C267 | 979.00' | 56.33' | 56.32' | S38°15'37"E | 03°17'48" |
| C268 | 979.00' | 56.33' | 56.32' | S41°33'25"E | 03°17'48" |
| C269 | 979.00' | 56.33' | 56.32' | S44°51'13"E | 03°17'48" |
| C270 | 979.00' | 46.70' | 46.70' | S47°52'07"E | 02°43'59" |
| C271 | 849.00' | 6.17' | 6.17' | S49°59'37"E | 00°24'58" |
| C272 | 25.00' | 31.58' | 29.52' | S19°20'32"W | 72°22'40" |
| C273 | 25.00' | 6.72' | 6.70' | S24°32'31"E | 15°23'27" |
| C274 | 275.00' | 4.95' | 4.95' | S59°07'09"W | 01°01'55" |
| C275 | 275.00' | 9.26' | 9.26' | S60°36'01"W | 01°55'48" |

| LINE TABLE | | |
|---|---|---|
| LINE | LENGTH | BEARING |
| L12 | 130.00' | N09°50'35"E |
| L13 | 80.00' | N13°29'34"E |
| L14 | 110.59' | N16°49'05"E |
| L15 | 96.14' | S34°35'07"W |
| L16 | 50.00' | S55°24'53"E |
| L17 | 95.70' | N34°35'07"E |
| L18 | 105.81' | N34°35'07"E |
| L19 | 57.93' | N71°12'55"E |
| L20 | 76.17' | N30°25'21"E |
| L21 | 32.18' | N13°46'43"E |
| L22 | 67.64' | N85°27'02"E |
| L23 | 25.28' | S04°32'58"E |
| L24 | 92.90' | S23°28'54"E |
| L25 | 95.38' | S25°20'33"E |
| L26 | 359.96' | S28°26'43"E |
| L27 | 15.94' | S10°36'07"W |
| L200 | 15.42' | N32°14'14"W |
| L201 | 64.30' | S34°35'07"W |
| L202 | 80.00' | S39°47'54"W |
| L203 | 46.33' | N28°26'05"W |
| L204 | 54.50' | N61°33'55"E |
| L205 | 50.00' | S28°26'05"E |
| L206 | 36.62' | S32°14'14"E |
| L207 | 16.32' | N50°12'06"W |
| L208 | 16.32' | S50°12'06"E |
| L209 | 9.63' | N50°11'23"W |
| L210 | 53.40' | N36°28'40"E |
| L211 | 10.84' | S61°33'55"W |
| L212 | 8.88' | S61°33'55"W |
| L213 | 46.00' | N50°12'06"W |

SHEET INDEX
SHEET 1 OF 7 – LEGAL DESCRIPTION, DEDICATION, NOTES & LEGEND
SHEET 2 OF 7 – BOUNDARY INFORMATION,
SHEETS 3 THROUGH 7 OF 7 LOT AND TRACT GEOMETRY

ALLEN & COMPANY
16 EAST PLANT STREET
WINTER GARDEN, FLORIDA 34787
(407) 654-5355

# FOUR SEASONS AT ORLANDO PHASE 3B AND 4A

A replat of a portion of Tract A, PALMS, as recorded in Plat Book 13, Pages 101 through 108; portions of Lots 11 and 12, Block C, portions of Lots 1, 2, 4, 7, 8, 9, 10, 13, 14, 15 and 16, Block D and portions of 30.00 foot wide unnamed right-of-way of FLORIDA FRUIT & TRUCK LAND COMPANY as recorded in Plat Book B, Page 68; a portion of Tract FD-1, FOUR SEASONS AT ORLANDO PHASE 3A according to Plat Book 27, Pages 154 and 155 of the Public Records of Osceola County, Florida and lying in Sections 14 and 15, Township 25 South, Range 27 East, Osceola County, Florida.

DEED RESTRICTIONS FOR THIS PLAT ARE FILED IN OFFICIAL RECORDS BOOK 5133, PAGE 719 AND (ARE)(ARE NOT) ACCOMPANIED BY DEED COVENANTS.

GRAPHIC SCALE

60 0 30 60

( IN FEET )
1 inch = 60 ft.

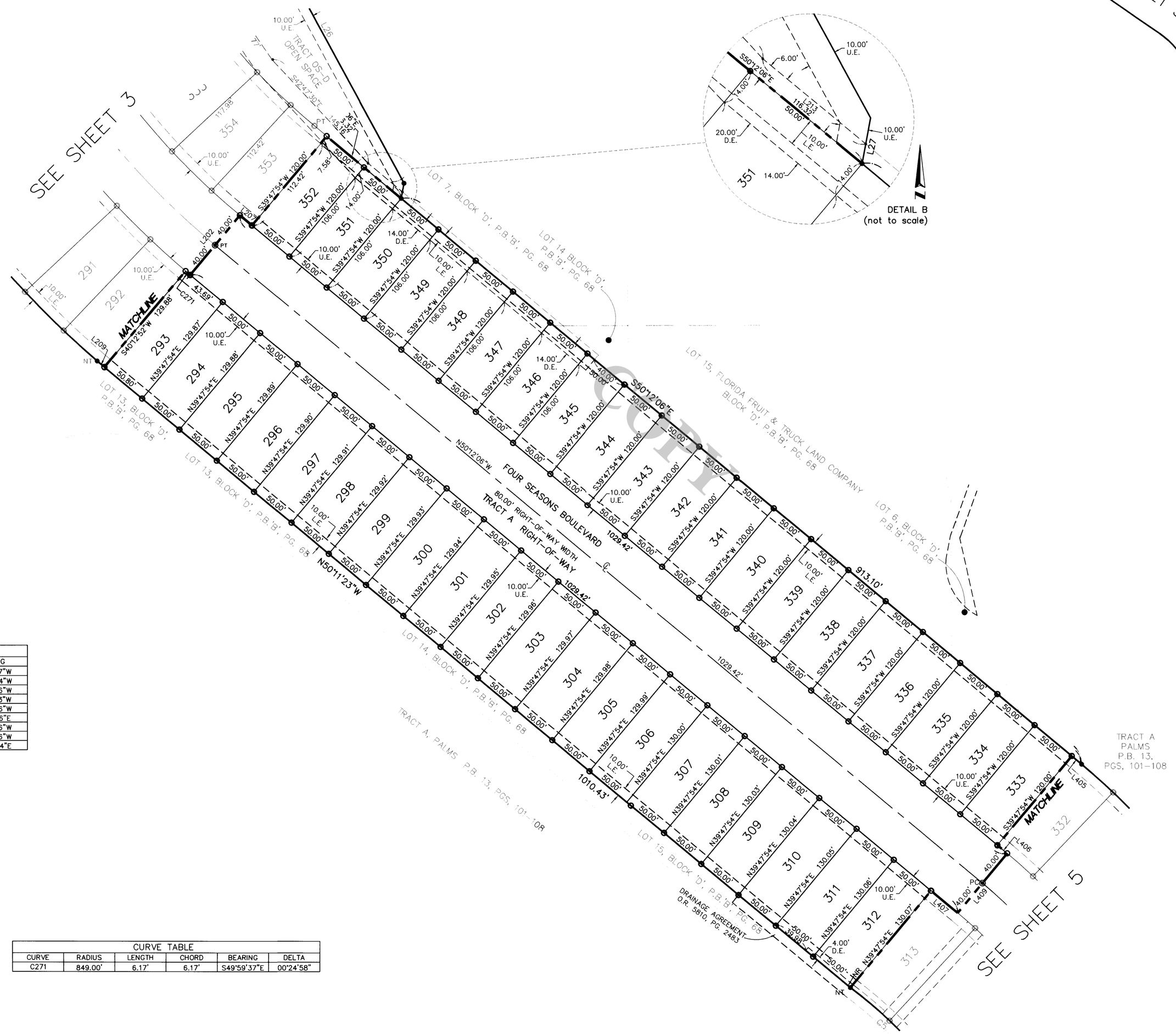


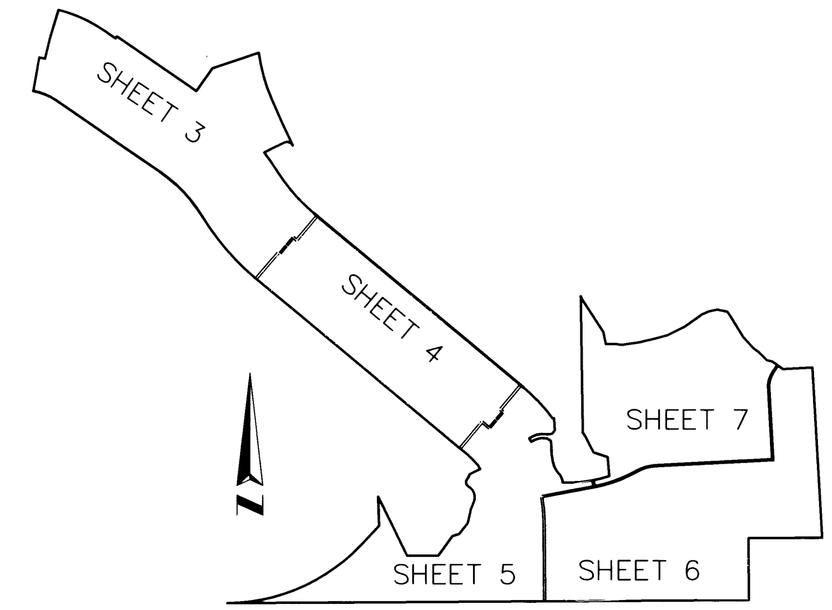


KEY MAP (not to scale)

| LINE TABLE | | |
|---|---|---|
| LINE | LENGTH | BEARING |
| L27 | 15.94' | S10°36'07"W |
| L202 | 80.00' | S39°47'54"W |
| L207 | 16.32' | N50°12'06"W |
| L209 | 9.63' | N50°11'23"W |
| L213 | 46.00' | N50°12'06"W |
| L405 | 13.10' | S50°12'06"E |
| L406 | 13.10' | N50°12'06"W |
| L407 | 35.73' | N50°12'06"W |
| L409 | 80.00' | N39°47'54"E |

| CURVE TABLE | | | | | |
|---|---|---|---|---|---|
| CURVE | RADIUS | LENGTH | CHORD | BEARING | DELTA |
| C271 | 849.00' | 6.17' | 6.17' | S49°59'37"E | 00°24'58" |

ALLEN & COMPANY
16 EAST PLANT STREET
WINTER GARDEN, FLORIDA 34787
(407) 654-5355

SHEET INDEX
SHEET 1 OF 7 – LEGAL DESCRIPTION, DEDICATION, NOTES & LEGEND
SHEET 2 OF 7 – BOUNDARY INFORMATION,
SHEETS 3 THROUGH 7 OF 7 LOT AND TRACT GEOMETRY

# FOUR SEASONS AT ORLANDO PHASE 3B AND 4A

A replat of a portion of Tract A, PALMS, as recorded in Plat Book 13, Pages 101 through 108; portions of Lots 11 and 12, Block C, portions of Lots 1, 2, 4, 7, 8, 9, 10, 13, 14, 15 and 16, Block D and portions of 30.00 foot wide unnamed right-of-way of FLORIDA FRUIT & TRUCK LAND COMPANY as recorded in Plat Book B, Page 68; a portion of Tract FD-1, FOUR SEASONS AT ORLANDO PHASE 3A according to Plat Book 27, Pages 154 and 155 of the Public Records of Osceola County, Florida and lying in

Sections 14 and 15, Township 25 South, Range 27 East, Osceola County, Florida.

DEED RESTRICTIONS FOR THIS PLAT ARE FILED IN OFFICIAL RECORDS BOOK 5133, PAGE 719 AND (ARE)(ARE NOT) ACCOMPANIED BY DEED COVENANTS.

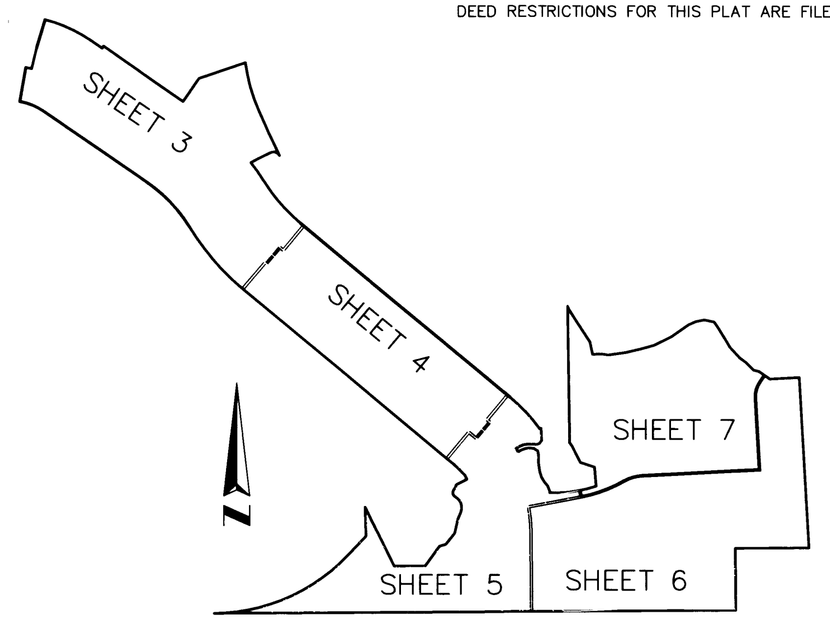


KEY MAP (not to scale)

| LINE TABLE | | |
|---|---|---|
| LINE | LENGTH | BEARING |
| L1 | 100.00' | N43°21'46"E |
| L2 | 110.30' | N01°38'14"W |
| L3 | 248.23' | S26°00'41"E |
| L4 | 117.52' | N89°38'36"E |
| L5 | 91.03' | N36°06'03"E |
| L6 | 26.30' | N71°35'25"E |
| L7 | 52.83' | N38°09'45"E |
| L8 | 54.12' | N13°08'29"E |
| L9 | 29.30' | N21°52'13"E |
| L10 | 44.76' | N63°22'02"E |
| L11 | 15.86' | N26°37'58"W |
| L12 | 130.00' | N09°50'35"E |
| L13 | 80.00' | N13°29'34"E |
| L28 | 120.00' | S53°48'30"W |
| L29 | 3.52' | N56°58'31"E |
| L30 | 2.73' | S31°39'56"E |
| L31 | 13.10' | N58°52'09"E |
| L32 | 15.08' | N67°17'00"E |
| L33 | 14.65' | N81°05'30"E |
| L34 | 19.15' | S86°32'51"E |
| L35 | 17.91' | S58°54'05"E |
| L36 | 17.28' | S06°51'42"E |
| L37 | 30.29' | S00°37'13"E |
| L38 | 30.92' | S08°42'56"E |
| L39 | 20.77' | S16°08'39"E |
| L40 | 21.48' | S29°51'44"E |
| L41 | 19.32' | S40°42'08"E |
| L42 | 20.21' | S22°48'14"E |
| L43 | 7.64' | S01°45'16"W |
| L400 | 25.00' | S00°21'24"E |
| L401 | 4.25' | N22°42'25"E |
| L402 | 11.65' | S00°00'00"W |
| L403 | 39.13' | S00°20'54"E |
| L404 | 34.57' | S01°16'11"E |
| L405 | 13.10' | S50°12'06"E |
| L406 | 13.10' | N50°12'06"W |
| L407 | 35.73' | N50°12'06"W |
| L408 | 25.00' | N10°50'40"W |
| L409 | 80.00' | N39°47'54"E |
| L410 | 80.62' | N60°56'48"E |
| L411 | 80.28' | N60°56'48"E |

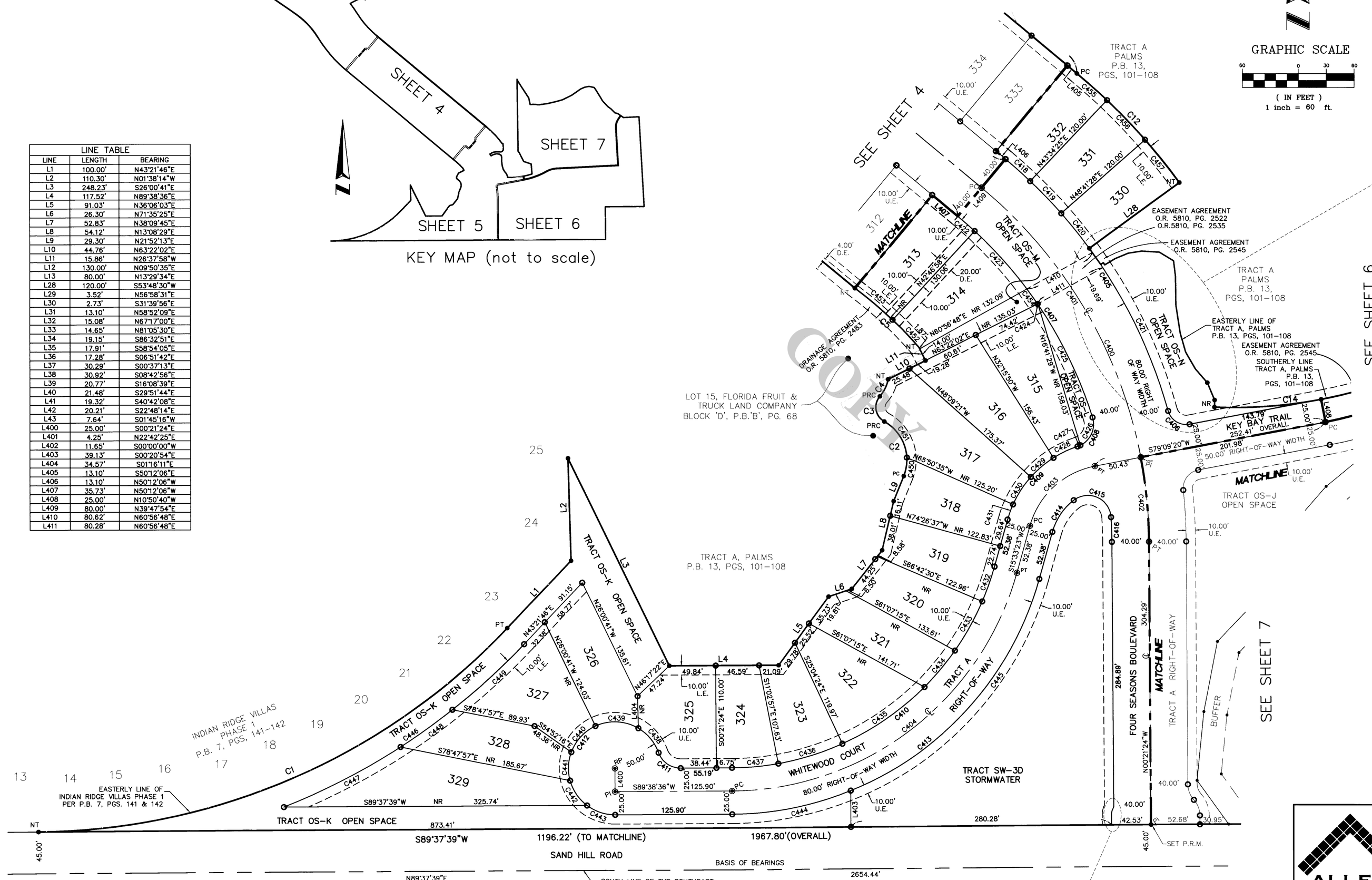


| CURVE TABLE | | | | | |
|---|---|---|---|---|---|
| CURVE | RADIUS | LENGTH | CHORD | BEARING | DELTA |
| C1 | 700.00' | 564.82' | 549.62' | N66°28'42"E | 46°13'52" |
| C2 | 47.20' | 68.14' | 62.38' | N19°29'19"W | 82°43'04" |
| C3 | 17.72' | 31.55' | 27.55' | N09°49'58"W | 102°01'47" |
| C4 | 38.93' | 20.54' | 20.30' | N26°04'14"E | 30°13'24" |
| C5 | 450.49' | 93.71' | 93.54' | N47°07'47"W | 11°55'06" |
| C12 | 660.00' | 161.38' | 160.98' | S43°11'48"E | 14°00'36" |
| C13 | 540.00' | 21.17' | 21.17' | S35°04'06"E | 02°14'47" |
| C14 | 501.00' | 178.71' | 177.76' | N82°06'26"E | 20°26'15" |
| C15 | 125.00' | 12.71' | 12.71' | N02°05'20"E | 05°49'39" |
| C400 | 500.00' | 434.98' | 421.39' | N25°16'45"W | 49°50'42" |
| C401 | 500.00' | 343.45' | 336.74' | N30°31'23"W | 39°21'25" |
| C402 | 500.00' | 91.52' | 91.40' | N05°36'02"W | 10°29'17" |
| C403 | 90.00' | 99.90' | 94.85' | S47°21'21"W | 63°35'57" |
| C404 | 320.00' | 413.78' | 385.55' | N52°36'00"E | 74°05'13" |
| C405 | 540.00' | 327.49' | 322.50' | N32°49'39"W | 34°44'53" |
| C406 | 20.00' | 29.81' | 27.12' | S58°08'57"E | 85°23'27" |
| C407 | 460.00' | 264.13' | 260.52' | N33°45'07"W | 32°53'58" |
| C408 | 25.00' | 38.98' | 35.15' | N27°22'17"E | 89°20'48" |
| C409 | 115.00' | 113.38' | 108.84' | S43°48'02"W | 56°29'18" |
| C410 | 295.00' | 381.45' | 355.43' | N52°36'00"E | 74°05'13" |
| C411 | 25.00' | 30.77' | 28.87' | S55°05'32"E | 70°31'44" |
| C412 | 50.00' | 218.63' | 81.65' | S34°54'28"W | 250°31'44" |
| C413 | 345.00' | 446.11' | 415.67' | N52°36'00"E | 74°05'13" |
| C414 | 65.00' | 41.87' | 41.15' | S34°00'34"W | 36°54'22" |
| C415 | 25.00' | 54.04' | 44.12' | N65°36'29"W | 123°51'32" |
| C416 | 460.00' | 26.67' | 26.67' | N02°01'03"W | 03°19'19" |
| C417 | 10.00' | 3.96' | 3.94' | S11°21'12"W | 22°42'25" |
| C418 | 540.00' | 35.58' | 35.57' | N48°18'50"W | 03°46'31" |
| C419 | 540.00' | 48.23' | 48.21' | N43°52'04"W | 05°07'03" |
| C420 | 540.00' | 48.23' | 48.21' | N38°45'01"W | 05°07'03" |
| C421 | 540.00' | 195.45' | 194.39' | N25°49'21"W | 20°44'17" |
| C422 | 460.00' | 23.96' | 23.96' | N48°42'34"W | 02°59'03" |
| C423 | 460.00' | 84.07' | 83.96' | N41°58'53"W | 10°28'19" |
| C424 | 460.00' | 1.07' | 1.07' | N34°12'39"W | 00°07'59" |
| C425 | 460.00' | 135.22' | 134.73' | N25°43'23"W | 16°50'32" |
| C426 | 25.00' | 35.67' | 32.72' | N23°34'35"E | 81°45'24" |
| C427 | 25.00' | 3.31' | 3.31' | N68°14'59"E | 07°35'24" |
| C428 | 115.00' | 28.72' | 28.64' | S64°53'25"W | 14°18'31" |
| C429 | 115.00' | 31.90' | 31.80' | S49°47'25"W | 15°53'31" |
| C430 | 115.00' | 35.50' | 35.36' | S33°00'02"W | 17°41'15" |
| C431 | 115.00' | 17.26' | 17.25' | S19°51'24"W | 08°36'01" |
| C432 | 295.00' | 39.83' | 39.80' | N19°25'26"E | 07°44'07" |
| C433 | 295.00' | 60.52' | 60.42' | N29°10'09"E | 11°45'19" |
| C434 | 295.00' | 51.02' | 50.96' | N40°00'06"E | 09°54'34" |
| C435 | 295.00' | 107.82' | 107.22' | N55°25'37"E | 20°56'30" |
| C436 | 295.00' | 72.21' | 72.03' | N72°54'36"E | 14°01'28" |
| C437 | 295.00' | 50.05' | 49.99' | N84°46'58"E | 09°43'17" |
| C438 | 50.00' | 34.77' | 34.07' | N39°44'57"W | 39°50'35" |
| C439 | 50.00' | 48.08' | 46.25' | N87°13'04"W | 55°05'38" |
| C440 | 50.00' | 39.16' | 38.17' | S42°47'54"W | 44°52'26" |
| C441 | 50.00' | 31.25' | 30.74' | S02°27'25"W | 35°48'32" |
| C442 | 50.00' | 32.92' | 32.33' | S34°18'39"E | 37°43'36" |
| C443 | 50.00' | 32.45' | 31.88' | S71°45'56"E | 37°10'56" |
| C444 | 345.00' | 130.49' | 129.71' | N78°48'28"E | 21°40'15" |
| C445 | 345.00' | 315.62' | 304.73' | N41°45'52"E | 52°24'58" |
| C446 | 725.00' | 314.59' | 312.12' | N55°47'36"E | 24°51'41" |
| C447 | 725.00' | 141.40' | 141.18' | N62°38'12"E | 11°10'29" |
| C448 | 725.00' | 68.55' | 68.52' | N54°20'27"E | 05°25'02" |
| C449 | 725.00' | 104.64' | 104.55' | N47°29'51"E | 08°16'10" |
| C450 | 47.20' | 20.63' | 20.46' | N09°21'01"E | 25°02'24" |
| C451 | 47.20' | 47.51' | 45.53' | N32°00'31"W | 57°40'40" |
| C452 | 450.49' | 40.77' | 40.76' | N43°45'47"W | 05°11'07" |
| C453 | 450.49' | 52.94' | 52.91' | N49°43'20"W | 06°43'59" |
| C454 | 460.00' | 19.81' | 19.81' | N35°30'41"W | 02°28'04" |
| C455 | 660.00' | 43.49' | 43.48' | N48°18'50"W | 03°46'31" |
| C456 | 660.00' | 58.95' | 58.93' | N43°52'04"W | 05°07'03" |
| C457 | 660.00' | 58.95' | 58.93' | N38°45'01"W | 05°07'03" |
| C550 | 500.00' | 120.69' | 120.40' | N43°17'12"W | 13°49'48" |

SHEET INDEX
SHEET 1 OF 7 – LEGAL DESCRIPTION, DEDICATION, NOTES & LEGEND
SHEET 2 OF 7 – BOUNDARY INFORMATION,
SHEETS 3 THROUGH 7 OF 7 LOT AND TRACT GEOMETRY

ALLEN & COMPANY
16 EAST PLANT STREET
WINTER GARDEN, FLORIDA 34787
(407) 654-5355

# FOUR SEASONS AT ORLANDO PHASE 3B AND 4A

A replat of a portion of Tract A, PALMS, as recorded in Plat Book 13, Pages 101 through 108; portions of Lots 11 and 12, Block C, portions of Lots 1, 2, 4, 7, 8, 9, 10, 13, 14, 15 and 16, Block D and portions of 30.00 foot wide unnamed right-of-way of FLORIDA FRUIT & TRUCK LAND COMPANY as recorded in Plat Book B, Page 68; a portion of Tract FD-1, FOUR SEASONS AT ORLANDO PHASE 3A according to Plat Book 27, Pages 154 and 155 of the Public Records of Osceola County, Florida and lying in Sections 14 and 15, Township 25 South, Range 27 East, Osceola County, Florida.

DEED RESTRICTIONS FOR THIS PLAT ARE FILED IN OFFICIAL RECORDS BOOK 5133, PAGE 719 AND (ARE)(ARE NOT) ACCOMPANIED BY DEED COVENANTS.

CURVE TABLE

| CURVE | RADIUS | LENGTH | CHORD | BEARING | DELTA |
|---|---|---|---|---|---|
| C402 | 500.00' | 91.52' | 91.40' | N05°36'02"W | 10°29'17" |
| C500 | 25.00' | 18.41' | 18.00' | N21°05'39"W | 42°11'19" |
| C501 | 25.00' | 18.25' | 17.85' | S21°16'21"E | 41°49'55" |
| C502 | 540.00' | 55.41' | 55.38' | N03°17'46"W | 05°52'44" |
| C503 | 20.00' | 29.81' | 27.12' | S36°27'36"W | 85°23'27" |
| C504 | 551.00' | 182.20' | 181.37' | N69°40'57"E | 18°56'46" |
| C505 | 125.00' | 58.22' | 57.70' | S73°33'13"W | 26°41'18" |
| C506 | 25.00' | 39.20' | 35.31' | N48°10'48"W | 89°50'40" |
| C507 | 50.00' | 157.08' | 100.00' | N86°44'32"E | 180°00'00" |
| C508 | 75.00' | 49.79' | 48.88' | S15°45'44"W | 38°02'24" |
| C509 | 526.00' | 173.93' | 173.14' | N69°40'57"E | 18°56'46" |
| C510 | 150.00' | 69.87' | 69.24' | S73°33'13"W | 26°41'18" |
| C511 | 100.00' | 66.39' | 65.18' | S15°45'44"W | 38°02'24" |
| C521 | 50.00' | 47.30' | 45.56' | S30°21'36"E | 54°12'17" |
| C522 | 50.00' | 37.43' | 36.56' | S78°54'35"E | 42°53'40" |
| C523 | 50.00' | 20.39' | 20.25' | N67°57'35"E | 23°22'00" |
| C524 | 50.00' | 19.87' | 19.74' | N44°53'36"E | 22°45'58" |
| C525 | 50.00' | 20.11' | 19.98' | N21°59'11"E | 23°02'52" |
| C526 | 50.00' | 11.97' | 11.94' | N03°36'08"E | 13°43'13" |
| C527 | 75.00' | 15.77' | 15.74' | S02°45'51"W | 12°02'39" |
| C528 | 75.00' | 34.03' | 33.74' | S21°47'03"W | 25°59'45" |
| C535 | 551.00' | 69.60' | 69.56' | N75°32'12"E | 07°14'16" |
| C536 | 551.00' | 66.53' | 66.49' | N68°27'32"E | 06°55'04" |
| C537 | 551.00' | 39.61' | 39.60' | N62°56'26"E | 04°07'08" |
| C538 | 50.00' | 2.52' | 2.52' | S04°42'00"E | 02°53'04" |
| C539 | 50.00' | 44.79' | 43.30' | S31°48'09"E | 51°19'12" |
| C540 | 50.00' | 9.12' | 9.11' | S62°41'26"E | 10°27'22" |
| C541 | 50.00' | 28.31' | 27.93' | S84°08'16"E | 32°26'18" |
| C543 | 551.00' | 6.46' | 6.46' | N60°32'43"E | 00°40'18" |

LINE TABLE

| LINE | LENGTH | BEARING |
|---|---|---|
| L66 | 41.99' | S44°43'27"E |
| L67 | 21.06' | S75°37'44"E |
| L68 | 50.00' | S55°13'04"E |
| L69 | 113.13' | N75°12'30"E |
| L402 | 11.65' | S00°00'00"W |
| L500 | 9.57' | N00°00'00"E |
| L501 | 47.39' | S03°15'28"E |
| L502 | 29.13' | S34°46'56"W |
| L503 | 25.00' | N86°44'32"E |
| L504 | 29.13' | S34°46'56"W |
| L505 | 25.00' | N03°06'09"W |
| L506 | 29.27' | S34°46'56"W |
| L507 | 42.41' | N55°13'04"W |
| L508 | 50.00' | S34°46'56"W |
| L509 | 50.00' | S55°13'04"E |
| L510 | 2.97' | N62°07'34"E |
| L511 | 11.57' | S37°07'40"E |
| L512 | 27.87' | N38°18'38"W |
| L513 | 74.73' | N89°42'51"W |
| L514 | 119.11' | S89°57'35"W |
| L515 | 54.13' | N58°30'14"W |
| L516 | 31.71' | N86°46'04"W |
| L517 | 89.39' | S74°27'11"W |
| L518 | 97.87' | S85°09'15"W |
| L519 | 65.40' | S86°51'18"W |
| L520 | 52.78' | S87°00'34"W |
| L521 | 75.01' | S89°40'26"W |
| L522 | 24.26' | N53°52'11"W |
| L523 | 48.12' | N35°49'10"W |
| L524 | 63.61' | N05°43'45"E |
| L525 | 68.36' | N10°49'25"E |
| L526 | 63.23' | N43°37'26"E |
| L527 | 58.45' | N16°24'45"E |
| L528 | 78.17' | N40°45'05"E |
| L529 | 73.17' | N50°30'45"E |
| L530 | 28.68' | S42°12'32"E |
| L531 | 55.10' | S87°17'46"E |
| L532 | 65.60' | S72°38'45"E |
| L533 | 44.76' | S68°54'10"E |
| L534 | 47.93' | S57°40'46"E |
| L535 | 72.91' | S39°23'42"E |
| L536 | 79.30' | S39°40'50"E |
| L537 | 96.85' | S61°38'53"E |
| L538 | 80.56' | S85°13'58"E |
| L539 | 26.61' | S86°30'53"E |
| L540 | 32.50' | S62°23'23"E |
| L541 | 58.07' | S35°49'10"E |
| L542 | 74.21' | S05°43'45"W |
| L543 | 76.83' | S10°49'25"W |
| L544 | 64.54' | S43°37'26"W |
| L545 | 57.79' | S16°24'45"W |
| L546 | 85.69' | S40°45'05"W |
| L547 | 54.71' | S50°30'45"W |
| L548 | 14.89' | N87°17'46"W |
| L549 | 23.87' | S50°30'45"W |
| L550 | 8.51' | N42°12'32"W |
| L551 | 66.01' | N87°17'46"W |
| L552 | 17.47' | N45°06'16"W |
| L553 | 62.27' | N73°38'45"W |
| L554 | 48.25' | N68°54'10"W |
| L555 | 54.40' | N57°40'46"W |
| L556 | 76.88' | N39°23'42"W |
| L557 | 74.39' | N39°40'50"W |
| L558 | 18.48' | N61°38'53"W |
| L559 | 13.80' | N28°21'07"E |
| L560 | 37.00' | N66°26'06"W |
| L561 | 10.71' | S28°21'07"W |
| L562 | 31.43' | N61°38'53"W |
| L563 | 75.06' | N85°13'58"W |
| L564 | 24.66' | N86°30'53"W |
| L565 | 106.76' | S47°05'02"E |
| L566 | 19.33' | S69°00'55"E |
| L569 | 50.82' | N24°12'04"E |
| L570 | 17.13' | N24°12'04"E |
| L615 | 13.46' | S18°04'56"E |
| L620 | 4.88' | N21°05'50"E |
| L621 | 10.01' | N26°02'24"W |
| L621 | 10.00' | N26°02'24"W |

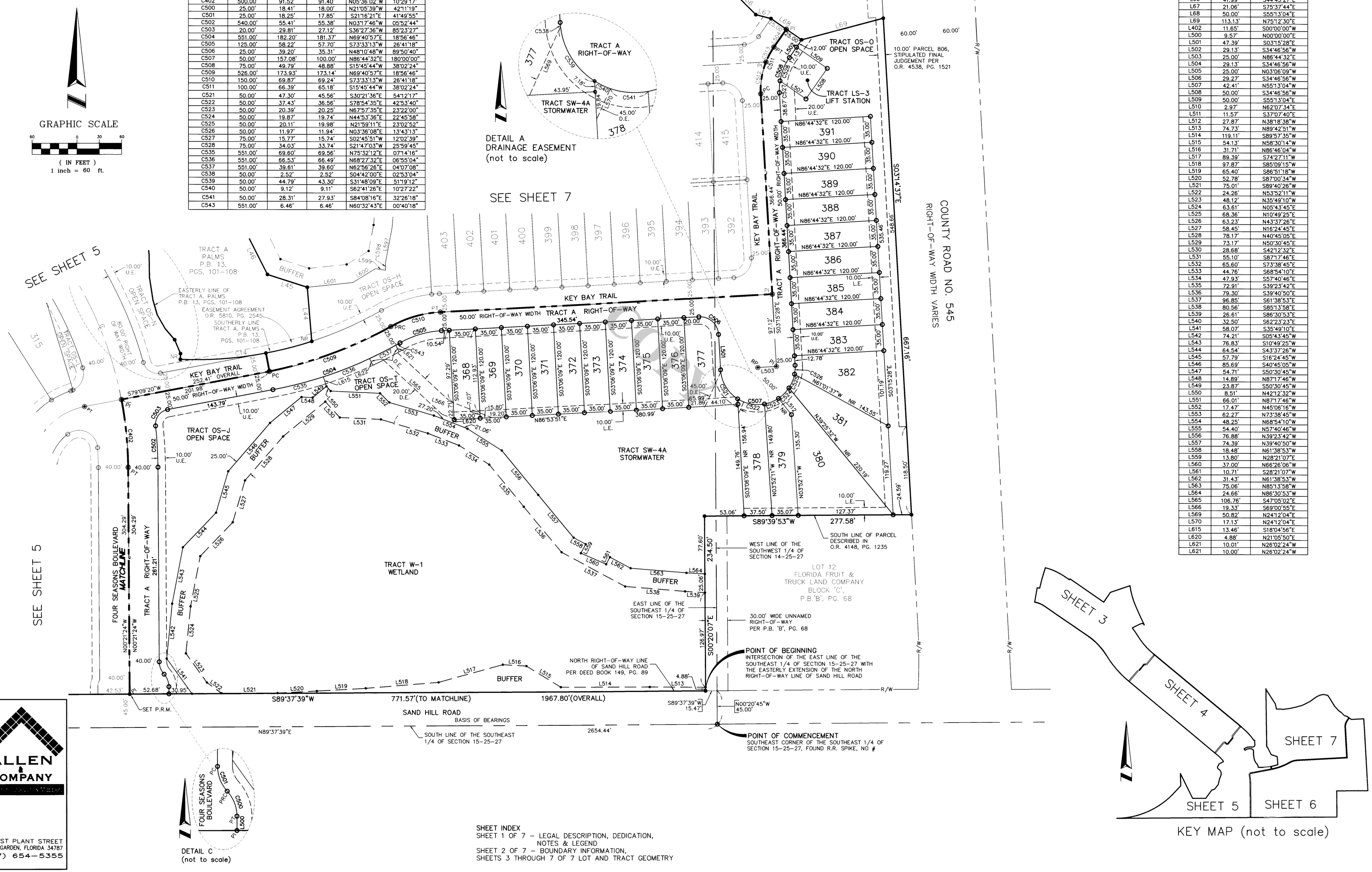


SHEET INDEX
SHEET 1 OF 7 – LEGAL DESCRIPTION, DEDICATION, NOTES & LEGEND
SHEET 2 OF 7 – BOUNDARY INFORMATION,
SHEETS 3 THROUGH 7 OF 7 LOT AND TRACT GEOMETRY

ALLEN & COMPANY
16 EAST PLANT STREET
WINTER GARDEN, FLORIDA 34787
(407) 654-5355

# FOUR SEASONS AT ORLANDO PHASE 3B AND 4A

A replat of a portion of Tract A, PALMS, as recorded in Plat Book 13, Pages 101 through 108; portions of Lots 11 and 12, Block C, portions of Lots 1, 2, 4, 7, 8, 9, 10, 13, 14, 15 and 16, Block D and portions of 30.00 foot wide unnamed right-of-way of FLORIDA FRUIT & TRUCK LAND COMPANY as recorded in Plat Book B, Page 68; a portion of Tract FD-1, FOUR SEASONS AT ORLANDO PHASE 3A according to Plat Book 27, Pages 154 and 155 of the Public Records of Osceola County, Florida and lying in Sections 14 and 15, Township 25 South, Range 27 East, Osceola County, Florida.

DEED RESTRICTIONS FOR THIS PLAT ARE FILED IN OFFICIAL RECORDS BOOK 5133, PAGE 719 AND (ARE)(ARE NOT) ACCOMPANIED BY DEED COVENANTS.

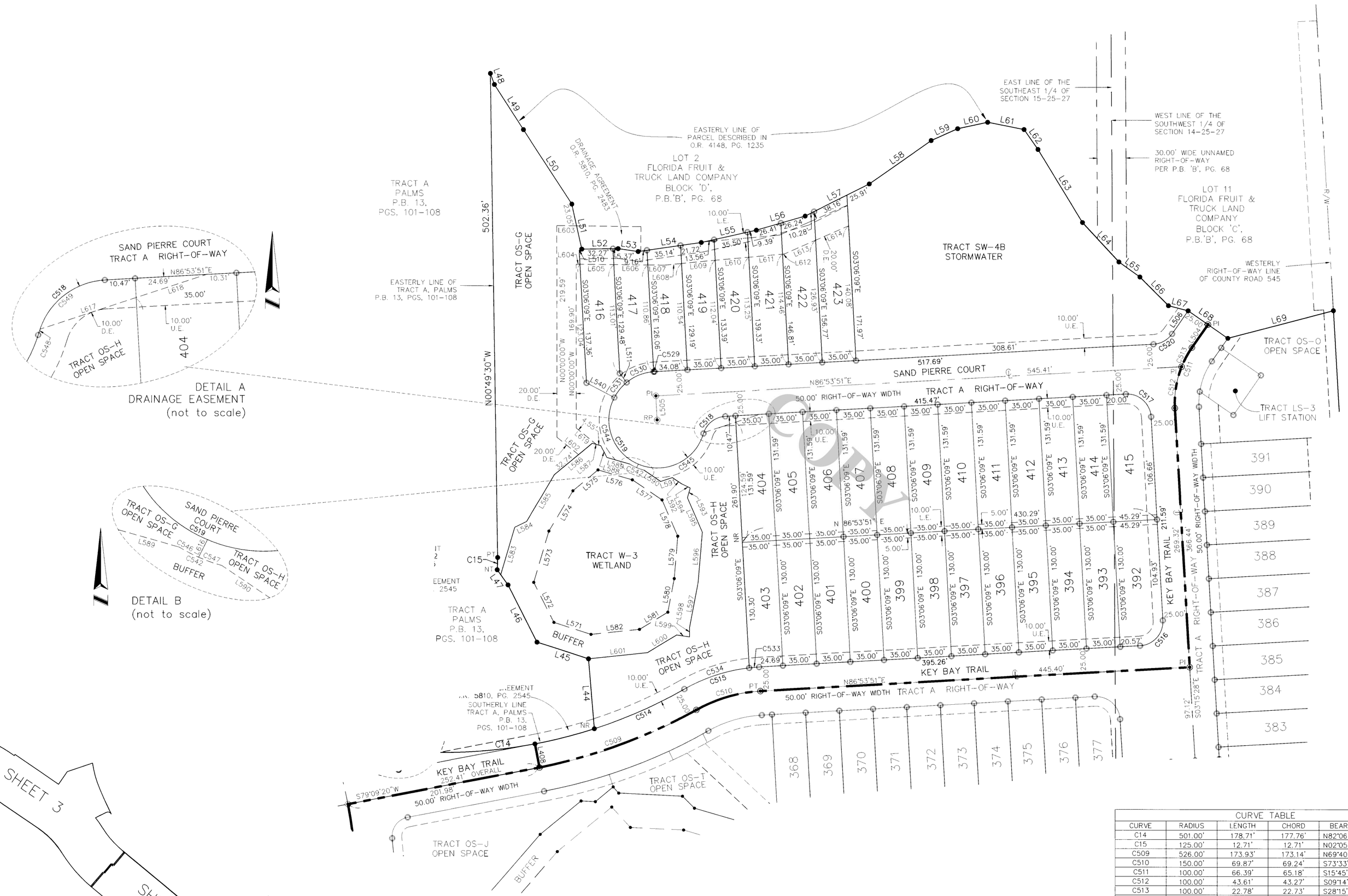


| LINE TABLE | | |
|---|---|---|
| LINE | LENGTH | BEARING |
| L44 | 72.77' | N04°46'51"W |
| L45 | 55.95' | N72°11'22"W |
| L46 | 66.57' | N26°46'17"W |
| L47 | 19.15' | N35°34'42"W |
| L48 | 12.22' | S20°33'18"E |
| L49 | 55.72' | S32°32'10"E |
| L50 | 91.95' | S32°55'16"E |
| L51 | 47.88' | S12°23'25"E |
| L52 | 37.64' | N89°05'59"E |
| L53 | 20.90' | S81°59'45"E |
| L54 | 66.02' | N81°47'18"E |
| L55 | 58.45' | N77°16'44"E |
| L56 | 52.65' | N73°57'51"E |
| L57 | 74.34' | N63°25'19"E |
| L58 | 78.36' | N55°03'49"E |
| L59 | 29.99' | N66°08'28"E |
| L60 | 31.77' | N78°02'34"E |
| L61 | 38.40' | S78°40'51"E |
| L62 | 25.18' | S34°51'47"E |
| L63 | 88.72' | S31°16'55"E |
| L64 | 55.58' | S42°36'23"E |
| L65 | 26.69' | S54°34'31"E |
| L66 | 41.99' | S44°43'27"E |
| L67 | 21.06' | S75°37'44"E |
| L68 | 50.00' | S55°13'04"E |
| L69 | 113.13' | N75°12'30"E |
| L402 | 11.65' | S00°00'00"W |
| L408 | 25.00' | N10°50'40"W |
| L504 | 29.13' | S34°46'56"W |
| L505 | 25.00' | N03°06'09"W |
| L506 | 29.27' | S34°46'56"W |
| L510 | 2.97' | N62°07'34"E |
| L511 | 11.57' | S37°07'40"E |
| L540 | 32.50' | S62°23'23"E |
| L571 | 40.27' | N72°11'22"W |
| L572 | 46.49' | N26°46'17"W |
| L573 | 55.48' | N16°33'08"E |
| L574 | 48.74' | N30°36'15"E |
| L575 | 33.76' | N50°13'39"E |
| L576 | 36.99' | S73°58'13"E |
| L577 | 37.02' | S56°12'37"E |
| L578 | 41.11' | S23°18'30"E |
| L579 | 44.06' | S04°51'06"W |
| L580 | 35.54' | S10°45'35"W |
| L581 | 34.38' | S58°38'58"W |
| L582 | 50.42' | S83°58'24"W |
| L583 | 51.27' | S16°33'25"W |
| L584 | 13.63' | S63°43'54"W |
| L585 | 56.15' | S30°36'15"W |
| L586 | 51.32' | S50°13'39"W |
| L587 | 9.15' | N73°58'13"W |
| L588 | 13.63' | N26°47'44"W |
| L589 | 24.62' | N73°58'13"W |
| L590 | 20.90' | N56°12'37"W |
| L591 | 12.73' | S71°59'28"W |
| L592 | 11.31' | N56°12'37"W |
| L593 | 10.12' | N64°38'20"W |
| L594 | 10.44' | N16°28'52"E |
| L595 | 39.14' | N23°18'30"W |
| L596 | 51.62' | N04°51'06"E |
| L597 | 47.93' | N10°45'35"E |
| L598 | 10.12' | N00°26'28"W |
| L599 | 13.57' | S81°33'40"E |
| L600 | 35.47' | N58°38'58"E |
| L601 | 61.27' | N83°58'32"E |
| L602 | 28.53' | N51°06'18"W |
| L603 | 20.40' | S89°21'08"E |
| L604 | 3.82' | N89°34'34"W |
| L605 | 35.07' | N89°34'34"W |
| L606 | 35.07' | N89°34'34"W |
| L607 | 17.44' | N89°34'34"W |
| L608 | 17.61' | S84°26'20"W |
| L609 | 35.27' | S84°26'20"W |
| L610 | 34.78' | S84°55'16"W |
| L611 | 35.02' | S84°55'16"W |
| L612 | 1.98' | S84°55'16"W |
| L613 | 35.27' | S66°18'22"W |
| L614 | 37.18' | S66°18'22"W |
| L615 | 13.46' | S18°04'56"E |
| L616 | 4.01' | N27°04'54"E |
| L617 | 34.91' | N71°47'16"E |
| L618 | 25.58' | N71°47'16"E |
| L619 | 26.85' | N51°06'18"W |

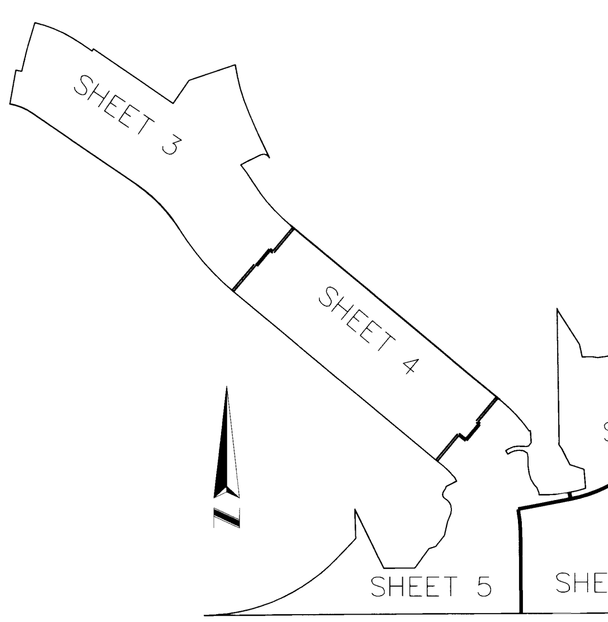


KEY MAP (not to scale)

SHEET INDEX
SHEET 1 OF 7 – LEGAL DESCRIPTION, DEDICATION, NOTES & LEGEND
SHEET 2 OF 7 – BOUNDARY INFORMATION,
SHEETS 3 THROUGH 7 OF 7 LOT AND TRACT GEOMETRY

| CURVE TABLE | | | | | |
|---|---|---|---|---|---|
| CURVE | RADIUS | LENGTH | CHORD | BEARING | DELTA |
| C14 | 501.00' | 178.71' | 177.76' | N82°06'26"E | 20°26'15" |
| C15 | 125.00' | 12.71' | 12.71' | N02°05'20"E | 05°49'39" |
| C509 | 526.00' | 173.93' | 173.14' | N69°40'57"E | 18°56'46" |
| C510 | 150.00' | 69.87' | 69.24' | S73°33'13"W | 26°41'18" |
| C511 | 100.00' | 66.39' | 65.18' | S15°45'44"W | 38°02'24" |
| C512 | 100.00' | 43.61' | 43.27' | S09°14'12"W | 24°59'21" |
| C513 | 100.00' | 22.78' | 22.73' | S28°15'24"W | 13°03'03" |
| C514 | 501.00' | 102.12' | 101.95' | N66°02'56"E | 11°40'44" |
| C515 | 175.00' | 81.51' | 80.78' | S73°33'13"W | 26°41'18" |
| C516 | 25.00' | 39.34' | 35.40' | N41°49'12"E | 90°09'20" |
| C517 | 25.00' | 39.20' | 35.31' | N48°10'48"W | 89°50'40" |
| C518 | 25.00' | 30.77' | 28.87' | S51°38'00"W | 70°31'44" |
| C519 | 50.00' | 218.63' | 81.65' | S38°22'01"E | 250°31'43" |
| C520 | 25.00' | 22.74' | 21.96' | N60°50'24"E | 52°06'56" |
| C529 | 50.00' | 0.92' | 0.92' | S86°22'04"W | 01°03'33" |
| C530 | 50.00' | 30.56' | 30.09' | S68°19'34"W | 35°01'29" |
| C531 | 50.00' | 20.25' | 20.11' | S39°12'44"W | 23°12'13" |
| C532 | 50.00' | 166.89' | 99.52' | S68°00'37"E | 191°14'29" |
| C533 | 175.00' | 10.32' | 10.31' | S85°12'32"W | 03°22'39" |
| C534 | 175.00' | 71.20' | 70.71' | S71°51'53"W | 23°18'39" |
| C542 | 54.00' | 16.07' | 16.02' | S66°40'26"E | 17°03'21" |
| C543 | 551.00' | 6.46' | 6.46' | N60°32'43"E | 00°40'18" |
| C544 | 50.00' | 82.54' | 73.48' | S19°40'56"E | 94°35'06" |
| C545 | 50.00' | 84.35' | 74.70' | N64°41'50"E | 96°39'23" |
| C546 | 54.00' | 8.04' | 8.03' | S62°24'35"E | 08°31'40" |
| C547 | 54.00' | 8.04' | 8.03' | S70°56'16"E | 08°31'40" |
| C548 | 25.00' | 0.96' | 0.96' | S17°28'07"W | 02°11'59" |
| C549 | 25.00' | 29.81' | 28.08' | S52°43'59"W | 68°19'45" |

ALLEN & COMPANY
Professional Surveyors & Mappers
16 EAST PLANT STREET
WINTER GARDEN, FLORIDA 34787
(407) 654-5355