80 0 80 160 240

GRAPHIC SCALE – FEET

***SCALE*: 1" = 80'**

LINE TABLE

COURSE	BEARING	DISTANCE
L-95	S 00°04'40"E	392.36'
L-96	S 00°04'40"E	300.00'
L-97	S 89°55'20"W	49.62'
L-98	S 89°58'12"W	58.17'
L-99	N 48°20'49"W	40.97'
L-100	S 76°04'11"W	64.64'
L-101	S 00°01'48"E	329.55'
L-102	S 00°01'48"E	200.13'
L-103	S 00°04'40"E	70.00'
L-104	S 00°04'40"E	70.00'
L-105	S 00°04'40"E	70.00'
L-106	S 00°04'40"E	70.00'
L-107	S 00°04'40"E	80.00'
L-108	S 00°04'40"E	80.00'
L-109	S 00°04'40"E	26.02'
L-110	S 00°04'40"E	70.00'
L-111	S 00°04'40"E	70.00'
L-112	S 00°04'40"E	70.00'
L-113	S 00°04'40"E	70.00'
L-114	S 00°04'40"E	80.00'
L-115	S 00°04'40"E	80.00'
L-116	S 00°04'40"E	11.84'
L-117	N 89°55'20"E	100.00'
L-118	N 89°55'20"E	100.00'
L-119	N 89°55'20"E	100.00'
L-120	N 89°55'20"E	100.00'
L-121	N 89°55'20"E	100.00'
L-122	N 89°55'20"E	100.00'
L-123	N 89°55'20"E	100.00'
L-124	N 75°15'54"E	90.00'
L-125	S 49°15'13"E	90.00'
L-126	S 06°13'40"W	90.00'
L-127	S 61°42'33"W	90.00'
L-128	N 62°29'05"W	90.00'
L-129	N 00°04'40"W	79.16'
L-130	N 00°04'40"W	24.55'
L-131	S 68°01'07"W	100.00'
L-132	S 54°24'07"W	100.00'
L-133	S 48°48'32"W	100.00'
L-134	S 69°23'22"W	100.00'
L-135	S 89°58'12"W	100.00'
L-136	S 89°58'12"W	100.00'
L-137	S 89°58'12"W	100.00'
L-138	S 89°58'12"W	100.00'
L-139	S 89°58'12"W	100.00'
L-140	S 89°58'12"W	100.00'
L-141	S 89°58'12"W	100.00'
L-142	S 00°01'48"E	70.00'
L-143	S 00°01'48"E	70.00'
L-144	S 00°01'48"E	70.00'
L-145	S 00°01'48"E	70.00'
L-146	S 00°01'48"E	70.00'
L-147	S 00°01'48"E	70.00'
L-148	S 00°01'48"E	40.94'
L-149	S 00°01'48"E	70.00'
L-150	S 00°01'48"E	70.00'
L-151	S 00°01'48"E	70.00'
L-152	S 00°01'48"E	70.00'
L-153	S 00°01'48"E	70.00'
L-154	S 00°01'48"E	70.00'
L-155	S 00°01'48"E	26.76'
L-156	S 68°57'14"E	90.00'
L-157	S 57°31'20"W	90.00'
L-158	S 03°59'54"W	90.00'
L-159	S 49°31'32"E	90.00'
L-160	N 76°57'02"E	90.00'
L-161	N 11°18'14"W	60.07'
L-162	N 11°18'14"W	89.94'
L-163	S 11°18'14"E	100.00'
L-164	N 00°01'48"W	23.97'
L-165	N 00°01'48"W	57.42'
L-166	N 89°58'12"E	8.17'
L-167	N 89°58'12"E	109.40'
L-168	S 22°52'26"E	100.00'
L-169	S 34°26'38"E	100.00'
L-170	S 46°00'50"E	100.00'
L-171	S 57°35'02"E	100.00'
L-172	S 69°09'14"E	100.00'
L-173	S 67°02'20"E	100.00'
L-174	S 42°10'21"E	100.00'
L-175	S 17°18'22"E	100.00'
L-176	S 00°04'40"E	77.55'
L-177	S 00°04'40"E	70.00'
L-178	S 00°04'40"E	67.24'
L-179	S 00°04'40"E	70.00'
L-180	N 89°55'20"E	100.00'
L-181	N 89°55'20"E	100.00'
L-182	S 13°22'55"E	100.00'
L-183	S 25°52'27"E	100.00'
L-184	S 33°29'33"W	100.00'
L-185	S 22°56'30"W	100.00'
L-186	S 12°23'27"W	100.00'
L-187	S 01°50'24"W	100.00'
L-188	S 08°42'39"E	100.00'
L-189	S 76°04'11"W	18.51'
L-190	N 53°50'34"E	100.00'
L-191	N 48°06'48"E	100.00'
L-192	S 66°33'29"W	100.00'
L-193	S 00°01'48"E	85.45'
L-194	S 00°01'48"E	70.00'
L-195	S 00°01'48"E	70.00'
L-196	S 00°01'48"E	54.10'
L-197	S 00°01'48"E	51.41'
L-198	S 00°01'48"E	70.00'
L-199	S 00°01'48"E	70.00'
L-200	S 00°01'48"E	70.00'
L-201	N 00°01'48"W	106.61'
L-202	S 59°10'12"E	117.85'
L-203	N 89°58'12"E	100.00'
L-204	N 89°58'12"E	100.00'
L-205	N 89°58'12"E	100.00'
L-206	N 89°58'12"E	8.17'
L-207	S 41°47'14"E	100.00'
L-208	S 63°03'47"E	100.00'
L-209	S 69°33'40"E	100.00'
L-210	N 69°33'40"W	79.21'
L-211	N 30°23'04"E	97.46'
L-212	N 69°33'40"W	20.79'
L-213	N 10°04'23"E	100.00'
L-214	N 76°04'11"E	18.51'

CURVE TABLE

CURVE	RADIUS	LENGTH	DELTA	CHORD	CHORD BEARING
C-119	275.00'	153.66'	32°00'57"	151.67'	S 29°56'17"E
C-120	275.00'	66.72'	13°54'01"	66.55'	S 06°58'49"E
C-121	325.00'	315.29'	55°35'00"	303.07'	S 76°08'19"E
C-122	275.00'	364.23'	75°53'14"	338.19'	N 52°01'35"E
C-123	245.00'	117.89'	27°34'13"	116.76'	N 27°52'04"E
C-124	245.00'	206.40'	48°16'10"	200.35'	N 65°47'16"E
C-125	25.00'	23.55'	53°58'05"	22.69'	S 27°03'42"E
C-126	60.00'	41.17'	39°18'39"	40.36'	S 34°23'25"E
C-127	150.00'	49.48'	18°54'00"	49.26'	S 24°11'06"E
C-128	60.00'	58.10'	55°28'53"	55.86'	S 13°00'21"W
C-129	150.00'	145.25'	55°28'53"	139.64'	S 13°00'21"W
C-130	60.00'	58.10'	55°28'53"	55.86'	S 68°29'14"W
C-131	150.00'	145.25'	55°28'53"	139.64'	S 68°29'14"W
C-132	60.00'	58.10'	55°28'53"	55.86'	N 56°01'53"W
C-133	150.00'	145.25'	55°28'53"	139.64'	N 56°01'53"W
C-134	60.00'	58.44'	55°48'22"	56.16'	N 00°23'16"W
C-135	150.00'	146.10'	55°48'22"	140.39'	N 00°23'16"W
C-136	60.00'	27.62'	26°22'30"	27.38'	N 40°42'10"E
C-137	25.00'	23.55'	53°58'05"	22.69'	N 26°54'23"E
C-138	150.00'	138.26'	52°48'46"	133.42'	N 53°55'19"E
C-139	250.00'	59.41'	13°37'00"	59.27'	S 28°47'23"E
C-140	350.00'	83.18'	13°37'00"	82.98'	S 28°47'23"E
C-141	250.00'	45.15'	10°20'53"	45.09'	S 40°46'19"E
C-142	250.00'	20.75'	4°45'18"	20.74'	S 43°34'07"E
C-143	350.00'	63.21'	10°20'53"	63.13'	S 40°46'19"E
C-144	150.00'	12.45'	4°45'18"	12.44'	S 43°34'07"E
C-145	250.00'	89.80'	20°34'50"	89.32'	S 30°54'03"E
C-146	150.00'	53.88'	20°34'50"	53.59'	S 30°54'03"E
C-147	250.00'	89.80'	20°34'50"	89.32'	S 10°19'13"E
C-148	150.00'	53.88'	20°34'50"	53.59'	S 10°19'13"E
C-149	25.00'	23.55'	53°58'05"	22.69'	S 26°57'15"W
C-150	60.00'	34.44'	32°53'31"	33.97'	S 37°29'32"W
C-151	150.00'	32.68'	12°28'52"	32.61'	S 27°17'12"W
C-152	60.00'	56.05'	53°31'26"	54.03'	S 05°42'57"E
C-153	150.00'	140.13'	53°31'26"	135.09'	S 05°42'57"E
C-154	60.00'	56.05'	53°31'26"	54.03'	S 59°14'23"E
C-155	150.00'	140.13'	53°31'26"	135.09'	S 59°14'23"E
C-156	60.00'	56.05'	53°31'26"	54.03'	N 67°14'11"E
C-157	150.00'	140.13'	53°31'26"	135.09'	N 67°14'11"E
C-158	60.00'	56.05'	53°31'26"	54.03'	N 13°42'45"E
C-159	150.00'	140.13'	53°31'26"	135.09'	N 13°42'45"E
C-160	60.00'	42.88'	40°56'55"	41.97'	N 33°31'25"W
C-161	25.00'	23.55'	53°58'05"	22.69'	N 27°00'50"W
C-162	25.00'	39.27'	90°00'00"	35.36'	N 44°58'12"E
C-163	300.00'	59.03'	11°16'26"	58.93'	N 84°19'59"E
C-164	300.00'	60.58'	11°34'12"	60.48'	N 72°54'40"E
C-165	400.00'	80.77'	11°34'12"	80.64'	N 72°54'40"E
C-166	300.00'	60.58'	11°34'12"	60.48'	N 61°20'28"E
C-167	400.00'	80.77'	11°34'12"	80.64'	N 61°20'28"E
C-168	300.00'	60.58'	11°34'12"	60.48'	N 49°46'16"E
C-169	400.00'	80.77'	11°34'12"	80.64'	N 49°46'16"E
C-170	300.00'	60.58'	11°34'12"	60.48'	N 38°12'04"E
C-171	400.00'	80.77'	11°34'12"	80.64'	N 38°12'04"E
C-172	300.00'	60.58'	11°34'12"	60.48'	N 26°37'52"E
C-173	400.00'	80.77'	11°34'12"	80.64'	N 26°37'52"E
C-174	300.00'	35.41'	6°45'48"	35.39'	N 17°27'52"E
C-175	400.00'	47.22'	6°45'48"	47.19'	N 17°27'52"E
C-176	220.00'	34.09'	8°52'42"	34.06'	N 18°31'19"E
C-177	120.00'	18.59'	8°52'42"	18.58'	N 18°31'19"E
C-178	220.00'	95.48'	24°51'59"	94.73'	N 35°23'40"E
C-179	120.00'	52.08'	24°51'59"	51.67'	N 35°23'40"E
C-180	220.00'	95.48'	24°51'59"	94.73'	N 60°15'39"E
C-181	120.00'	52.08'	24°51'59"	51.67'	N 60°15'39"E
C-182	220.00'	65.72'	17°06'57"	65.48'	N 81°15'07"E
C-183	25.00'	39.32'	90°06'45"	35.39'	S 45°08'02"E
C-184	120.00'	60.88'	29°03'58"	60.23'	N 87°13'37"E
C-185	25.00'	39.24'	89°55'32"	35.33'	S 44°53'06"W
C-186	270.00'	62.34'	13°13'47"	62.21'	S 83°13'59"W
C-187	370.00'	10.00'	1°32'55"	10.00'	S 77°23'33"W
C-188	270.00'	58.87'	12°29'33"	58.75'	S 70°22'19"W
C-189	370.00'	80.67'	12°29'33"	80.51'	S 70°22'19"W
C-190	270.00'	59.94'	12°43'13"	59.82'	S 57°45'56"W
C-191	25.00'	34.70'	79°31'11"	31.98'	N 88°50'06"W
C-192	350.00'	45.40'	7°25'57"	45.37'	N 52°47'29"W
C-193	370.00'	22.44'	3°28'32"	22.44'	S 62°23'17"W
C-194	350.00'	64.45'	10°33'04"	64.36'	N 61°46'59"W
C-195	450.00'	82.87'	10°33'04"	82.75'	N 61°46'59"W
C-196	350.00'	64.45'	10°33'03"	64.36'	N 72°20'02"W
C-197	450.00'	82.87'	10°33'03"	82.75'	N 72°20'02"W
C-198	350.00'	64.45'	10°33'03"	64.36'	N 82°53'05"W
C-199	450.00'	82.87'	10°33'03"	82.75'	N 82°53'05"W
C-200	350.00'	64.45'	10°33'03"	64.36'	S 86°33'52"W
C-201	450.00'	82.87'	10°33'03"	82.75'	S 86°33'52"W
C-202	350.00'	31.88'	5°13'10"	31.87'	S 78°40'46"W
C-203	25.00'	35.41'	81°09'00"	32.52'	N 63°21'19"W
C-204	300.00'	70.04'	13°22'38"	69.88'	N 29°28'08"W
C-205	400.00'	30.01'	4°17'53"	30.00'	N 34°00'30"W
C-206	300.00'	30.00'	5°43'46"	29.99'	N 39°01'19"W
C-207	300.00'	21.25'	4°03'33"	21.25'	N 43°54'59"W
C-208	200.00'	78.55'	22°30'14"	78.05'	N 34°41'39"W
C-209	400.00'	28.34'	4°03'33"	28.33'	N 43°54'59"W
C-210	100.00'	39.28'	22°30'14"	39.02'	N 34°41'39"W
C-211	300.00'	26.44'	5°03'02"	26.44'	S 02°33'20"E
C-212	25.00'	39.27'	90°00'00"	35.36'	S 45°01'48"E
C-213	250.00'	67.66'	15°30'21"	67.45'	N 82°13'02"E
C-214	250.00'	114.54'	26°15'05"	113.54'	N 61°20'19"E
C-215	150.00'	40.05'	15°17'53"	39.93'	N 55°51'43"E
C-216	250.00'	92.83'	21°16'33"	92.30'	N 37°34'30"E
C-217	150.00'	55.70'	21°16'33"	55.38'	N 37°34'30"E
C-218	250.00'	56.09'	12°51'15"	55.97'	N 20°30'36"E
C-219	270.00'	29.95'	6°21'22"	29.94'	N 17°15'39"E
C-220	150.00'	33.65'	12°51'15"	33.58'	N 20°30'36"E
C-221	370.00'	41.05'	6°21'22"	41.02'	N 17°15'39"E
C-222	270.00'	53.95'	11°26'52"	53.86'	N 26°09'46"E
C-223	25.00'	35.44'	81°13'26"	32.55'	N 06°43'31"W
C-224	300.00'	53.82'	10°16'42"	53.74'	N 54°28'35"W
C-225	300.00'	106.35'	20°18'41"	105.79'	N 69°46'17"W
C-226	200.00'	50.39'	14°26'10"	50.26'	N 72°42'32"W
C-227	300.00'	125.68'	24°00'12"	124.76'	S 88°04'17"W
C-228	25.00'	35.41'	81°09'00"	32.52'	S 35°29'41"W
C-229	200.00'	43.04'	12°19'45"	42.95'	N 86°05'30"W

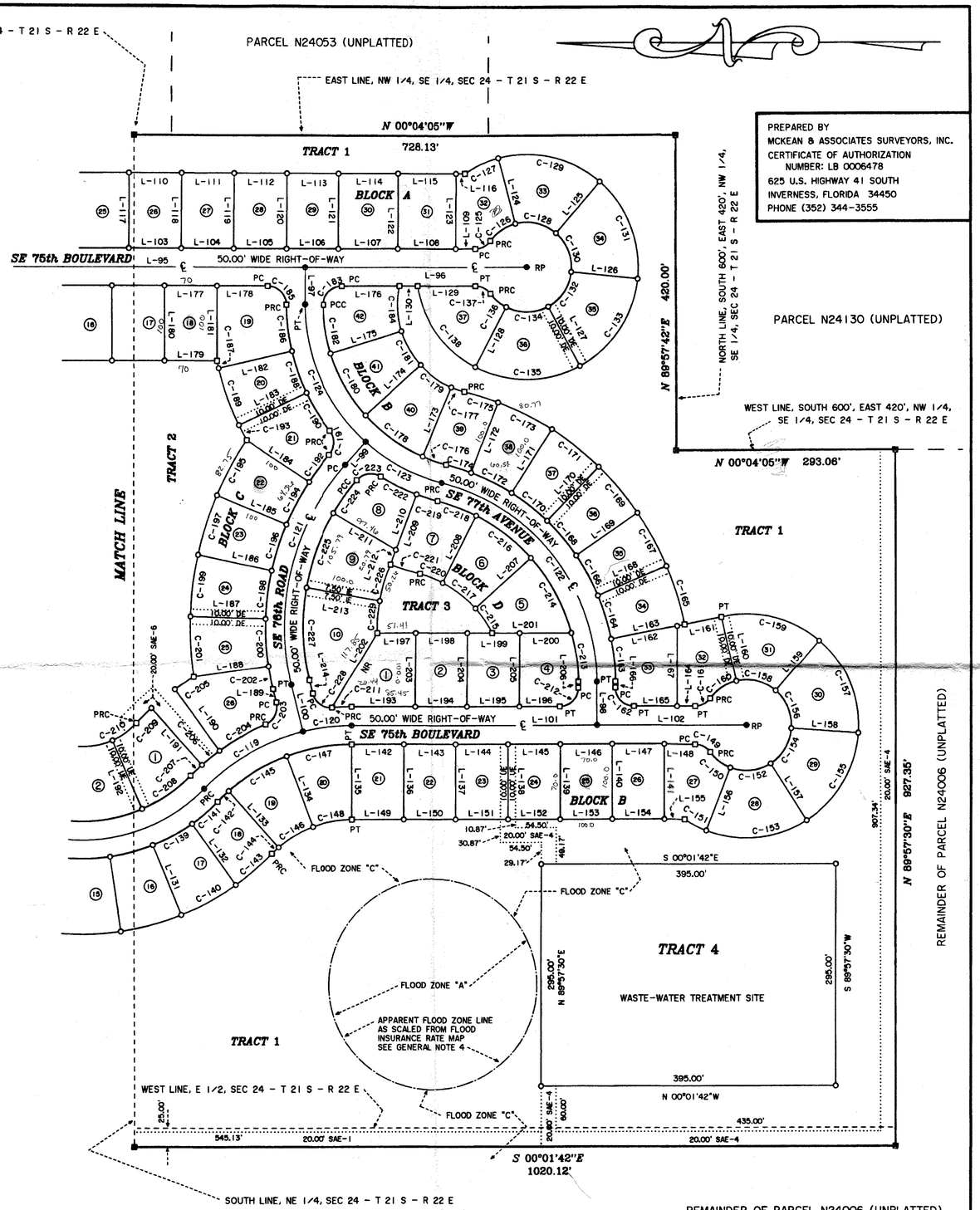

PREPARED BY
MCKEAN & ASSOCIATES SURVEYORS, INC.
CERTIFICATE OF AUTHORIZATION NUMBER: LB 0006478
625 U.S. HIGHWAY 41 SOUTH
INVERNESS, FLORIDA 34450
PHONE (352) 344-3555

JUMPER CREEK MANOR

SECTION 24, TOWNSHIP 21 SOUTH, RANGE 22 EAST, SUMTER COUNTY, FLORIDA

SHEET 3 OF 3 SHEETS

PLAT BOOK 9 ***PAGE*** 5B

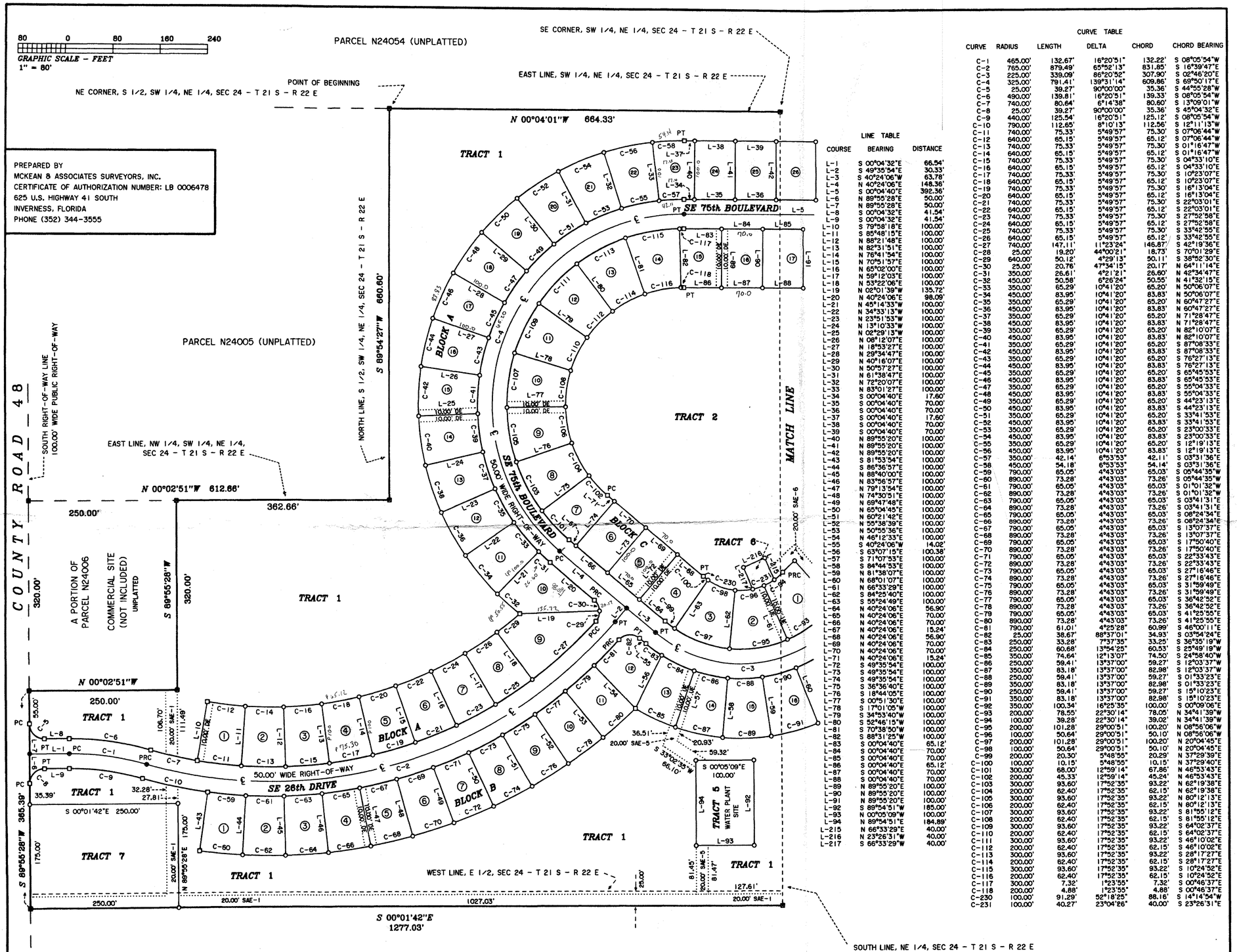

COURSE	BEARING	DISTANCE
L-1	S 00°04'32"E	66.54'
L-2	S 49°35'54"E	30.33'
L-3	S 40°24'06"W	63.78'
L-4	N 40°24'06"E	148.36'
L-5	S 00°04'40"E	392.36'
L-6	N 89°55'28"E	50.00'
L-7	N 89°55'28"E	50.00'
L-8	S 00°04'32"E	41.54'
L-9	S 00°04'32"E	41.54'
L-10	S 79°58'18"E	100.00'
L-11	S 85°48'15"E	100.00'
L-12	N 88°21'48"E	100.00'
L-13	N 82°31'51"E	100.00'
L-14	N 76°41'54"E	100.00'
L-15	N 70°51'57"E	100.00'
L-16	N 65°02'00"E	100.00'
L-17	N 59°12'03"E	100.00'
L-18	N 53°22'06"E	100.00'
L-19	N 02°01'39"W	135.72'
L-20	N 40°24'06"E	98.09'
L-21	N 45°14'33"W	100.00'
L-22	N 34°33'13"W	100.00'
L-23	N 23°51'53"W	100.00'
L-24	N 13°10'33"W	100.00'
L-25	N 02°29'13"W	100.00'
L-26	N 08°12'07"E	100.00'
L-27	N 18°53'27"E	100.00'
L-28	N 29°34'47"E	100.00'
L-29	N 40°16'07"E	100.00'
L-30	N 50°57'27"E	100.00'
L-31	N 61°38'47"E	100.00'
L-32	N 72°20'07"E	100.00'
L-33	N 83°01'27"E	100.00'
L-34	S 00°04'40"E	17.60'
L-35	S 00°04'40"E	70.00'
L-36	S 00°04'40"E	70.00'
L-37	S 00°04'40"E	17.60'
L-38	S 00°04'40"E	70.00'
L-39	S 00°04'40"E	70.00'
L-40	N 89°55'20"E	100.00'
L-41	N 89°55'20"E	100.00'
L-42	N 89°55'20"E	100.00'
L-43	S 81°53'54"E	100.00'
L-44	S 86°36'57"E	100.00'
L-45	N 88°40'00"E	100.00'
L-46	N 83°56'57"E	100.00'
L-47	N 79°13'54"E	100.00'
L-48	N 74°30'51"E	100.00'
L-49	N 69°47'48"E	100.00'
L-50	N 65°04'45"E	100.00'
L-51	N 60°21'42"E	100.00'
L-52	N 55°38'39"E	100.00'
L-53	N 50°55'36"E	100.00'
L-54	N 46°12'33"E	100.00'
L-55	S 40°24'06"W	14.02'
L-56	S 63°07'15"E	100.38'
L-57	S 71°07'53"E	100.00'
L-58	S 84°44'53"E	100.00'
L-59	N 81°38'07"E	100.00'
L-60	N 68°01'07"E	100.00'
L-61	N 66°33'29"E	100.00'
L-62	S 84°25'40"E	100.00'
L-63	S 55°24'49"E	100.00'
L-64	N 40°24'06"E	56.90'
L-65	N 40°24'06"E	70.00'
L-66	N 40°24'06"E	70.00'
L-67	N 40°24'06"E	15.24'
L-68	N 40°24'06"E	56.90'
L-69	N 40°24'06"E	70.00'
L-70	N 40°24'06"E	70.00'
L-71	N 40°24'06"E	15.24'
L-72	S 49°35'54"E	100.00'
L-73	S 49°35'54"E	100.00'
L-74	S 49°35'54"E	100.00'
L-75	S 36°36'40"E	100.00'
L-76	S 18°44'05"E	100.00'
L-77	S 00°51'30"E	100.00'
L-78	S 17°01'05"W	100.00'
L-79	S 34°53'40"W	100.00'
L-80	S 52°46'15"W	100.00'
L-81	S 70°38'50"W	100.00'
L-82	S 88°31'25"W	100.00'
L-83	S 00°04'40"E	65.12'
L-84	S 00°04'40"E	70.00'
L-85	S 00°04'40"E	70.00'
L-86	S 00°04'40"E	65.12'
L-87	S 00°04'40"E	70.00'
L-88	S 00°04'40"E	70.00'
L-89	N 89°55'20"E	100.00'
L-90	N 89°55'20"E	100.00'
L-91	N 89°55'20"E	100.00'
L-92	S 89°54'51"W	185.00'
L-93	N 00°05'09"W	100.00'
L-94	N 89°54'51"E	184.89'
L-215	N 66°33'29"E	40.00'
L-216	N 23°26'31"W	40.00'
L-217	S 66°33'29"W	40.00'

CURVE	RADIUS	LENGTH	DELTA	CHORD	CHORD BEARING
C-1	465.00'	132.67'	16°20'51"	132.22'	S 08°05'54"W
C-2	765.00'	879.49'	65°52'13"	831.85'	S 16°39'47"E
C-3	225.00'	339.09'	86°20'52"	307.90'	S 02°46'20"E
C-4	325.00'	791.41'	139°31'14"	609.86'	S 69°50'17"E
C-5	25.00'	39.27'	90°00'00"	35.36'	S 44°55'28"W
C-6	490.00'	139.81'	16°20'51"	139.33'	S 08°05'54"W
C-7	740.00'	80.64'	6°14'38"	80.60'	S 13°09'01"W
C-8	25.00'	39.27'	90°00'00"	35.36'	S 45°04'32"E
C-9	440.00'	125.54'	16°20'51"	125.12'	S 08°05'54"W
C-10	790.00'	112.65'	8°10'13"	112.56'	S 12°11'13"W
C-11	740.00'	75.33'	5°49'57"	75.30'	S 07°06'44"W
C-12	640.00'	65.15'	5°49'57"	65.12'	S 07°06'44"W
C-13	740.00'	75.33'	5°49'57"	75.30'	S 01°16'47"W
C-14	640.00'	65.15'	5°49'57"	65.12'	S 01°16'47"W
C-15	740.00'	75.33'	5°49'57"	75.30'	S 04°33'10"E
C-16	640.00'	65.15'	5°49'57"	65.12'	S 04°33'10"E
C-17	740.00'	75.33'	5°49'57"	75.30'	S 10°23'07"E
C-18	640.00'	65.15'	5°49'57"	65.12'	S 10°23'07"E
C-19	740.00'	75.33'	5°49'57"	75.30'	S 16°13'04"E
C-20	640.00'	65.15'	5°49'57"	65.12'	S 16°13'04"E
C-21	740.00'	75.33'	5°49'57"	75.30'	S 22°03'01"E
C-22	640.00'	65.15'	5°49'57"	65.12'	S 22°03'01"E
C-23	740.00'	75.33'	5°49'57"	75.30'	S 27°52'58"E
C-24	640.00'	65.15'	5°49'57"	65.12'	S 27°52'58"E
C-25	740.00'	75.33'	5°49'57"	75.30'	S 33°42'55"E
C-26	640.00'	65.15'	5°49'57"	65.12'	S 33°42'55"E
C-27	740.00'	147.11'	11°23'24"	146.87'	S 42°19'36"E
C-28	25.00'	19.20'	44°00'21"	18.73'	S 70°01'29"E
C-29	640.00'	50.12'	4°29'13"	50.11'	S 38°52'30"E
C-30	25.00'	20.76'	47°34'15"	20.17'	N 64°11'14"E
C-31	350.00'	26.61'	4°21'21"	26.60'	N 42°34'47"E
C-32	450.00'	50.58'	6°26'24"	50.55'	N 41°32'15"E
C-33	350.00'	65.29'	10°41'20"	65.20'	N 50°06'07"E
C-34	450.00'	83.95'	10°41'20"	83.83'	N 50°06'07"E
C-35	350.00'	65.29'	10°41'20"	65.20'	N 60°47'27"E
C-36	450.00'	83.95'	10°41'20"	83.83'	N 60°47'27"E
C-37	350.00'	65.29'	10°41'20"	65.20'	N 71°28'47"E
C-38	450.00'	83.95'	10°41'20"	83.83'	N 71°28'47"E
C-39	350.00'	65.29'	10°41'20"	65.20'	N 82°10'07"E
C-40	450.00'	83.95'	10°41'20"	83.83'	N 82°10'07"E
C-41	350.00'	65.29'	10°41'20"	65.20'	S 87°08'33"E
C-42	450.00'	83.95'	10°41'20"	83.83'	S 87°08'33"E
C-43	350.00'	65.29'	10°41'20"	65.20'	S 76°27'13"E
C-44	450.00'	83.95'	10°41'20"	83.83'	S 76°27'13"E
C-45	350.00'	65.29'	10°41'20"	65.20'	S 65°45'53"E
C-46	450.00'	83.95'	10°41'20"	83.83'	S 65°45'53"E
C-47	350.00'	65.29'	10°41'20"	65.20'	S 55°04'33"E
C-48	450.00'	83.95'	10°41'20"	83.83'	S 55°04'33"E
C-49	350.00'	65.29'	10°41'20"	65.20'	S 44°23'13"E
C-50	450.00'	83.95'	10°41'20"	83.83'	S 44°23'13"E
C-51	350.00'	65.29'	10°41'20"	65.20'	S 33°41'53"E
C-52	450.00'	83.95'	10°41'20"	83.83'	S 33°41'53"E
C-53	350.00'	65.29'	10°41'20"	65.20'	S 23°00'33"E
C-54	450.00'	83.95'	10°41'20"	83.83'	S 23°00'33"E
C-55	350.00'	65.29'	10°41'20"	65.20'	S 12°19'13"E
C-56	450.00'	83.95'	10°41'20"	83.83'	S 12°19'13"E
C-57	350.00'	42.14'	6°53'53"	42.11'	S 03°31'36"E
C-58	450.00'	54.18'	6°53'53"	54.14'	S 03°31'36"E
C-59	790.00'	65.05'	4°43'03"	65.03'	S 05°44'35"W
C-60	890.00'	73.28'	4°43'03"	73.26'	S 05°44'35"W
C-61	790.00'	65.05'	4°43'03"	65.03'	S 01°01'32"W
C-62	890.00'	73.28'	4°43'03"	73.26'	S 01°01'32"W
C-63	790.00'	65.05'	4°43'03"	65.03'	S 03°41'31"E
C-64	890.00'	73.28'	4°43'03"	73.26'	S 03°41'31"E
C-65	790.00'	65.05'	4°43'03"	65.03'	S 08°24'34"E
C-66	890.00'	73.28'	4°43'03"	73.26'	S 08°24'34"E
C-67	790.00'	65.05'	4°43'03"	65.03'	S 13°07'37"E
C-68	890.00'	73.28'	4°43'03"	73.26'	S 13°07'37"E
C-69	790.00'	65.05'	4°43'03"	65.03'	S 17°50'40"E
C-70	890.00'	73.28'	4°43'03"	73.26'	S 17°50'40"E
C-71	790.00'	65.05'	4°43'03"	65.03'	S 22°33'43"E
C-72	890.00'	73.28'	4°43'03"	73.26'	S 22°33'43"E
C-73	790.00'	65.05'	4°43'03"	65.03'	S 27°16'46"E
C-74	890.00'	73.28'	4°43'03"	73.26'	S 27°16'46"E
C-75	790.00'	65.05'	4°43'03"	65.03'	S 31°59'49"E
C-76	890.00'	73.28'	4°43'03"	73.26'	S 31°59'49"E
C-77	790.00'	65.05'	4°43'03"	65.03'	S 36°42'52"E
C-78	890.00'	73.28'	4°43'03"	73.26'	S 36°42'52"E
C-79	790.00'	65.05'	4°43'03"	65.03'	S 41°25'55"E
C-80	890.00'	73.28'	4°43'03"	73.26'	S 41°25'55"E
C-81	790.00'	61.01'	4°25'28"	60.99'	S 46°00'11"E
C-82	25.00'	38.67'	88°37'01"	34.93'	S 03°54'24"E
C-83	250.00'	33.28'	7°37'35"	33.25'	S 36°35'19"W
C-84	250.00'	60.68'	13°54'25"	60.53'	S 25°49'19"W
C-85	350.00'	74.64'	12°13'07"	74.50'	S 24°58'40"W
C-86	250.00'	59.41'	13°37'00"	59.27'	S 12°03'37"W
C-87	350.00'	83.18'	13°37'00"	82.98'	S 12°03'37"W
C-88	250.00'	59.41'	13°37'00"	59.27'	S 01°33'23"E
C-89	350.00'	83.18'	13°37'00"	82.98'	S 01°33'23"E
C-90	250.00'	59.41'	13°37'00"	59.27'	S 15°10'23"E
C-91	350.00'	83.18'	13°37'00"	82.98'	S 15°10'23"E
C-92	350.00'	100.34'	16°25'35"	100.00'	S 00°09'06"E
C-93	200.00'	78.55'	22°30'14"	78.05'	N 34°41'39"W
C-94	100.00'	39.28'	22°30'14"	39.02'	N 34°41'39"W
C-95	200.00'	101.28'	29°00'51"	100.20'	N 08°56'06"W
C-96	100.00'	50.64'	29°00'51"	50.10'	N 08°56'06"W
C-97	200.00'	101.28'	29°00'51"	100.20'	N 20°04'45"E
C-98	100.00'	50.64'	29°00'51"	50.10'	N 20°04'45"E
C-99	200.00'	20.30'	5°48'55"	20.29'	N 37°29'39"E
C-100	100.00'	10.15'	5°48'55"	10.15'	N 37°29'40"E
C-101	300.00'	68.00'	12°59'14"	67.86'	N 46°53'43"E
C-102	200.00'	45.33'	12°59'14"	45.24'	N 46°53'43"E
C-103	300.00'	93.60'	17°52'35"	93.22'	N 62°19'38"E
C-104	200.00'	62.40'	17°52'35"	62.15'	N 62°19'38"E
C-105	300.00'	93.60'	17°52'35"	93.22'	N 80°12'13"E
C-106	200.00'	62.40'	17°52'35"	62.15'	N 80°12'13"E
C-107	300.00'	93.60'	17°52'35"	93.22'	S 81°55'12"E
C-108	200.00'	62.40'	17°52'35"	62.15'	S 81°55'12"E
C-109	300.00'	93.60'	17°52'35"	93.22'	S 64°02'37"E
C-110	200.00'	62.40'	17°52'35"	62.15'	S 64°02'37"E
C-111	300.00'	93.60'	17°52'35"	93.22'	S 46°10'02"E
C-112	200.00'	62.40'	17°52'35"	62.15'	S 46°10'02"E
C-113	300.00'	93.60'	17°52'35"	93.22'	S 28°17'27"E
C-114	200.00'	62.40'	17°52'35"	62.15'	S 28°17'27"E
C-115	300.00'	93.60'	17°52'35"	93.22'	S 10°24'52"E
C-116	200.00'	62.40'	17°52'35"	62.15'	S 10°24'52"E
C-117	300.00'	7.32'	1°23'55"	7.32'	S 00°46'37"E
C-118	200.00'	4.88'	1°23'55"	4.88'	S 00°46'37"E
C-230	100.00'	91.29'	52°18'25"	88.16'	S 14°14'54"W
C-231	100.00'	40.27'	23°04'26"	40.00'	S 23°26'31"E

JUMPER CREEK MANOR

SECTION 24, TOWNSHIP 21 SOUTH, RANGE 22 EAST, SUMTER COUNTY, FLORIDA

SHEET 2 OF 3 SHEETS

PLAT BOOK 9, PAGE 5-A

For Restrictions and amendments see OR 1590 pg 104 and OR 1681 pg 72 and OR 1705 pg 575

ADDITIONAL RESTRICTIONS IN OR 2268 PG 801
OR 2286 PG 376

JUMPER CREEK MANOR

SECTION 24, TOWNSHIP 21 SOUTH, RANGE 22 EAST, SUMTER COUNTY, FLORIDA

LEGAL DESCRIPTION:
BEGIN AT THE NORTHEAST CORNER OF THE SOUTH 1/2 OF THE SOUTHWEST 1/4 OF THE NORTHEAST 1/4 OF SECTION 24, TOWNSHIP 21 SOUTH, RANGE 22 EAST, SUMTER COUNTY, FLORIDA: THENCE S.89°54'27"W. ALONG THE NORTH LINE OF THE SOUTH 1/2 OF THE SOUTHWEST 1/4 OF THE NORTHEAST 1/4 OF SAID SECTION 24 A DISTANCE OF 660.80 FEET TO A POINT BEING ON THE EAST LINE OF THE NORTHWEST 1/4 OF THE SOUTHWEST 1/4 OF THE NORTHEAST 1/4 OF SAID SECTION 24; THENCE N.00°02'51"W. ALONG SAID EAST LINE A DISTANCE OF 362.66 FEET; THENCE S.89°55'28"W. A DISTANCE OF 320.00 FEET; THENCE N.00°02'51"W. A DISTANCE OF 250.00 FEET TO A POINT BEING ON THE SOUTH RIGHT-OF-WAY LINE OF COUNTY ROAD 48, HAVING A 100.00 FOOT WIDE PUBLIC RIGHT-OF-WAY: THENCE S.89°55'28"W. ALONG SAID SOUTH RIGHT-OF-WAY LINE A DISTANCE OF 365.39 FEET TO A POINT BEING 25.00 FEET WESTERLY OF, WHEN MEASURED PERPENDICULARLY TO, THE WEST LINE OF THE EAST 1/2 OF SAID SECTION 24: THENCE S.00°01'42"E. PARALLEL TO SAID WEST LINE A DISTANCE OF 2,297.15 FEET; THENCE N.89°57'30"E. PARALLEL TO THE SOUTH LINE OF THE NORTHEAST 1/4 OF THE SOUTHWEST 1/4 OF SAID SECTION 24 A DISTANCE OF 927.35 FEET TO A POINT BEING ON THE WEST LINE OF THE SOUTH 600.00 FEET OF THE EAST 420.00 FEET OF THE NORTHWEST 1/4 OF THE SOUTHEAST 1/4 OF SAID SECTION 24; THENCE N.00°04'05"W. ALONG SAID WEST LINE A DISTANCE OF 293.06 FEET TO A POINT BEING ON THE NORTH LINE OF THE SOUTH 600.00 FEET OF THE EAST 420.00 FEET OF THE NORTHWEST 1/4 OF THE SOUTHEAST 1/4 OF SAID SECTION 24; THENCE N.89°57'42"E. ALONG SAID NORTH LINE A DISTANCE OF 420.00 FEET TO A POINT BEING ON THE EAST LINE OF THE NORTHWEST 1/4 OF THE SOUTHEAST 1/4 OF SAID SECTION 24; THENCE N.00°04'05"W. ALONG SAID EAST LINE A DISTANCE OF 728.13 FEET TO THE SOUTHEAST CORNER OF THE SOUTHWEST 1/4 OF THE NORTHEAST 1/4 OF SAID SECTION 24; THENCE N.00°04'01"W. ALONG THE EAST LINE OF THE SOUTHWEST 1/4 OF THE NORTHEAST 1/4 OF SAID SECTION 24 A DISTANCE OF 664.33 FEET TO THE POINT OF BEGINNING.
TOGETHER WITH AND SUBJECT TO COVENANTS, EASEMENTS AND RESTRICTIONS OF RECORD.

CONSENT OF MORTGAGEE:
KNOW ALL MEN BY THESE PRESENTS, THAT UNITED HERITAGE BANK, MORTGAGE HOLDER UNDER THAT CERTAIN MORTGAGE AND LOAN DOCUMENT DATED April 29, 2005 AND RECORDED IN OFFICIAL RECORDS BOOK 1381, PAGES 275 THROUGH 322, INCLUSIVE, OF THE PUBLIC RECORDS OF SUMTER COUNTY, FLORIDA, ENCUMBERING THE PROPERTY DESCRIBED HEREON, DOES HEREBY CONSENT TO THIS PLAT AND JOINS IN THE ABOVE DEDICATION.

IN WITNESS WHEREOF, SAID BANK, HAS CAUSED THESE PRESENTS TO BE SIGNED AND ATTESTED TO BY THE OFFICER NAMED BELOW AND WITH THE AUTHORITY OF SAID BANK ON THIS 11 DAY OF May, 2006.

PRINT: William M. Stange
SIGN: _____
UNITED HERITAGE BANK

NOTARY ACKNOWLEDGMENT; STATE OF FLORIDA, COUNTY OF Seminole

THE FOREGOING INSTRUMENT WAS ACKNOWLEDGED BEFORE ME THIS 11 DAY OF May, 2006, BY William M. Stange, ACTING AS PRESIDENT OF UNITED HERITAGE BANK, ON BEHALF OF THE BANK. WHO IS PERSONALLY KNOWN TO ME OR HAS PRODUCED Florida Drivers License AS IDENTIFICATION AND DID (DID NOT) TAKE AN OATH.

PRINT: Richard C. Brown
SIGN: _____
NOTARY PUBLIC - STATE OF FLORIDA
FLORIDA CERTIFICATE NUMBER DD408847

Notary Public State of Florida Richard C Brown My Commission DD408847 Expires 03/20/2009

GENERAL NOTES
1. BASIS OF BEARING: THE WEST PROPERTY OF THIS PLAT, ESTABLISHING A BEARING OF S.00°01'42"E., PER DESCRIPTION, ASSUMED DATUM.
2. NOTICE: THERE MAY BE ADDITIONAL RESTRICTIONS THAT ARE NOT RECORDED ON THIS PLAT THAT MAY BE FOUND IN THE PUBLIC RECORDS OF SUMTER COUNTY, FLORIDA.
3. GRAPHIC FORM NOTICE: THIS PLAT, AS RECORDED IN ITS GRAPHIC FORM, IS THE OFFICIAL DEPICTION OF THE SUBDIVIDED LANDS DESCRIBED HEREIN AND WILL IN NO CIRCUMSTANCES BE SUPPLANTED IN AUTHORITY BY ANY OTHER GRAPHIC OR DIGITAL FORM OF THE PLAT.
4. THE PROPERTY APPEARS TO LIE IN FLOOD ZONE "C" (AN AREA OF MINIMAL FLOODING) AND FLOOD ZONE "A" (100 YEAR FLOOD ELEVATION: NOT DETERMINED) PER FLOOD INSURANCE RATE MAP, COMMUNITY PANEL NUMBER: 120296 0225 B, EFFECTIVE DATE: MARCH 15, 1982.
5. A 10.00 FOOT WIDE UTILITY EASEMENT EXISTS ALONG THE FRONT LOT LINE OF ALL LOTS AND TRACTS ABUTTING ROAD RIGHTS-OF-WAYS AS FURTHER STATED IN SECTION 11.3 OF THE JUMPER CREEK DECLARATION.
6. THERE IS A BLANKET UTILITY EASEMENT EXISTS SET FORTH IN SECTION 11.3 OF THE JUMPER CREEK DECLARATION.
7. THERE ARE RESERVATIONS FOR EASEMENTS TO SERVE ADDITIONAL PROPERTY AS SET FORTH IN SECTION 11.5 OF THE JUMPER CREEK DECLARATION.
8. THERE IS A BLANKET EASEMENT FOR MAINTENANCE, EMERGENCY AND ENFORCEMENT SET FORTH IN SECTION 11.6 OF THE JUMPER CREEK DECLARATION.
9. UNLESS OTHERWISE SHOWN ALL SIDE LOT LINES WITH CURVILINEAR FRONT OR REAR LINES ARE RADIAL.
10. THERE IS A BLANKET COMMON AREA EASEMENT OVER ALL COMMON AREAS AS SET FORTH IN SECTION 11.1 OF THE JUMPER CREEK DECLARATION.
11. THE PROPERTY CONTAINS 57.07 ACRES, MOL: AS FOLLOWS: 5,231 LINEAR FEET OF ROADS (6.14 ACRES, MOL); SEVEN TRACTS, TRACT 1 (22.29 ACRES, MOL) TRACT 2 (4.49 ACRES, MOL) TRACT 3 (0.22 ACRES, MOL) TRACT 4 (2.68 ACRES, MOL) TRACT 5 (0.33 ACRES) TRACT 6 (0.04 ACRES, MOL) TRACT 7 (1.00 ACRES, MOL); FOUR BLOCKS CONTAINING 115 LOTS, BLOCK A (6.50 ACRES, MOL, WITH 37 LOTS) BLOCK B (7.01 ACRES, MOL, WITH 42 LOTS) BLOCK C (4.54 ACRES, MOL, WITH 26 LOTS) AND BLOCK D (1.83 ACRES, MOL, WITH 10 LOTS).
12. SUMTER COUNTY SHALL NOT BE RESPONSIBLE FOR THE MAINTENANCE OR IMPROVEMENTS FOR ANY TRACT AND/OR EASEMENT WHICH HAS BEEN DEDICATED FOR PRIVATE USE ONLY.
13. THE UTILITY EASEMENTS MAY ALSO BE USED FOR THE INSTALLATION AND MAINTENANCE OF CABLE TELEVISON WHERE SET FORTH IN THE JUMPER CREEK DECLARATION.
14. THE TITLE OPINION HAS BEEN SUBMITTED BY SEPARATE DOCUMENT.

LEGEND/ABBREVIATIONS

SAE-1	SPECIAL ACCESS EASEMENT - 1
SAE-4	SPECIAL ACCESS EASEMENT - 4
SAE-5	SPECIAL ACCESS EASEMENT - 5
SAE-6	SPECIAL ACCESS EASEMENT - 6
●	SET NAIL AND DISC (PSM 0005213 PCP)
■	SET 4"x4" CONCRETE MONUMENT (PSM 0005213 PRM)
□	SET 4"x4" CONCRETE MONUMENT (PSM 0005213 PCP)
○	SET 5/8" IRON ROD (LB 0006478)
IE	INGRESS AND EGRESS EASEMENT
DE	DRAINAGE EASEMENT
UE	UTILITY EASEMENT
NR	NON-RADIAL
PCP	PERMANENT CONTROL POINT
PRM	PERMANENT REFERENCE MONUMENT
PC	POINT OF CURVATURE
PRC	POINT OF REVERSE CURVATURE
PCC	POINT OF COMPOUND CURVATURE
PT	POINT OF TANGENCY
L-1	SEE LINE TABLE
C-1	SEE CURVE TABLE
SEC	SECTION
T	TOWNSHIP
R	RANGE
①	LOT NUMBER
RP	RADIUS POINT

PREPARED BY
MCKEAN & ASSOCIATES SURVEYORS, INC.
CERTIFICATE OF AUTHORIZATION NUMBER: LB0006478
625 U.S. HIGHWAY 41 SOUTH
INVERNESS, FLORIDA 34450-6401
PHONE: (352) 344-3555

CERTIFICATE OF APPROVAL BY BOARD OF COUNTY COMMISSIONERS:

THIS IS TO CERTIFY THAT ON 5-30-2006 THIS PLAT WAS APPROVED BY THE BOARD OF COUNTY COMMISSIONERS OF SUMTER COUNTY, FLORIDA AND SO RECORDED IN THE MINUTES OF SAID MEETING.

PRINT: Connie Webb
SIGN: _____ D.C.
CLERK OF THE CIRCUIT COURT

PRINT: Joey A. Chandler
SIGN: _____
CHAIRPERSON OF THE BOARD

SUMTER COUNTY SHALL NOT BE RESPONSIBLE FOR THE MAINTENANCE OR IMPROVEMENTS FOR ANY TRACT AND/OR EASEMENT WHICH HAS BEEN DEDICATED AS PRIVATE.

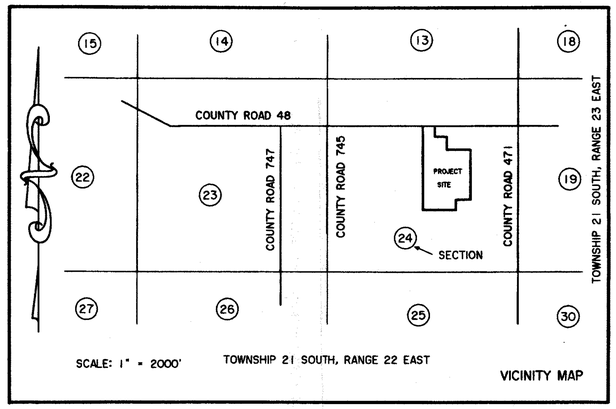

SCALE: 1" = 2000' TOWNSHIP 21 SOUTH, RANGE 22 EAST VICINITY MAP

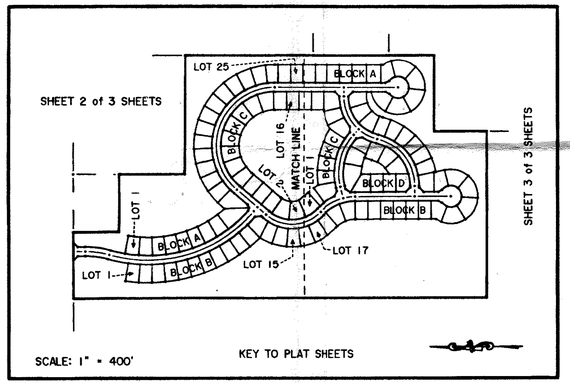

SCALE: 1" = 400' KEY TO PLAT SHEETS

DECLARATION OF RESTRICTIONS:
RECORDED IN OFFICIAL RECORDS BOOK, 1590, PAGE 104-152 OF THE PUBLIC RECORDS OF SUMTER COUNTY, FLORIDA
NOTICE:

CERTIFICATE OF COUNTY PLANNING AND DEVELOPMENT DIRECTOR:

I HEREBY CERTIFY THAT THE LANDS CONTAINED HEREIN ARE IN SUMTER COUNTY, FLORIDA, ARE ZONED PROPERLY FOR THE USE PLATTED, AND THAT THE SUBDIVISION HAS PROCEEDED THROUGH THE DEVELOPMENT REQUIREMENTS OF SUMTER COUNTY.

PRINT: Roberta Rogers
SIGN: Roberta Rogers 5-30-06
PLANNING AND DEVELOPMENT DIRECTOR

CERTIFICATE OF CLERK:

I HEREBY CERTIFY THAT I HAVE EXAMINED THIS PLAT AND FIND THAT IT COMPLIES IN FORM WITH ALL THE REQUIREMENTS OF CHAPTER 177, FLORIDA STATUTES AND WAS FILED FOR RECORD ON June 2, 2006 AT 9:49 am. FILE NUMBER 12486, PLAT BOOK 9, PAGES 0-5A,6B.

CLERK OF THE COURT IN AND FOR SUMTER COUNTY, FLORIDA

Becky Howard
PRINT NAME
DEPUTY CLERK

SIGNATURE
DEPUTY CLERK

DEDICATION:

KNOW ALL MEN BY THESE PRESENTS, THAT JUMPER CREEK JOINT VENTURE, WITH A BUSINESS ADDRESS OF 197 MONTGOMERY ROAD, SUITE 120, ALTAMONTE SPRINGS, FLORIDA 32714, BEING THE OWNER IN FEE SIMPLE OF THE LANDS DESCRIBED ON THE ATTACHED PLAT ENTITLED JUMPER CREEK MANOR, LOCATED IN SUMTER COUNTY, FLORIDA, HEREBY DEDICATES SAID LANDS AND PLAT FOR THE USES AND PURPOSES THEREIN EXPRESSED; THE PROPERTY IS SUBJECT TO THAT CERTAIN DECLARATION OF COVENANTS, CONDITIONS, AND RESTRICTIONS FOR JUMPER CREEK MANOR, RECORDED IN THE PUBLIC RECORDS OF SUMTER COUNTY, FLORIDA CONTEMPORANEOUSLY HEREWITH, AS IT MAY HEREAFTER BE CHANGED, AMENDED, SUPPLEMENTED AND MODIFIED FROM TIME TO TIME (THE "JUMPER CREEK DECLARATION"). IT IS EXPRESSLY PROVIDED THAT THE RIGHTS-OF-WAY FOR ALL STREETS AND ALL EASEMENTS SHOWN ON THIS PLAT ARE NOT, AND SHALL NOT BE DEEMED TO BE, DEDICATED TO THE PUBLIC, BUT ARE SPECIFICALLY DECLARED, CREATED AND RESERVED AS PRIVATE STREET RIGHTS-OF-WAY AND EASEMENTS FOR THE BENEFIT ONLY OF THE LANDS DESCRIBED IN THIS PLAT AND ONLY TO AND FOR THE BENEFIT OF THOSE PERSONS OR ENTITIES AND ONLY FOR THOSE PURPOSES MORE PARTICULARLY SET FORTH IN THE JUMPER CREEK DECLARATION. SUCH PRIVATE STREET RIGHTS-OF-WAY ARE HEREBY CONVEYED AND GRANTED TO THE JUMPER CREEK HOMEOWNERS' ASSOCIATION, INC., IN ACCORDANCE WITH AND AS MORE PARTICULARLY PROVIDED IN THE JUMPER CREEK DECLARATION. SUMTER COUNTY SHALL NOT BE RESPONSIBLE FOR THE MAINTENANCE OR IMPROVEMENTS FOR ANY TRACT AND/OR EASEMENT WHICH HAS BEEN DEDICATED FOR PRIVATE USE ONLY. TRACTS 1 AND 2 ARE HEREBY CONVEYED TO AND TO BE MAINTAINED BY THE JUMPER CREEK HOMEOWNERS' ASSOCIATION, INC. AND SHALL BE UTILIZED AS PART OF THE "SURFACE WATER MANAGEMENT SYSTEM" AND OPEN SPACE AS PROVIDED IN THE DECLARATION. TRACTS 3 AND 7 ARE HEREBY CONVEYED TO AND TO BE MAINTAINED BY THE JUMPER CREEK HOMEOWNERS' ASSOCIATION, INC. FOR PRIVATE USE AND SHALL BE UTILIZED AS COMMON AREA. TRACT 4 IS HEREBY CONVEYED TO AND TO BE MAINTAINED BY THE JUMPER CREEK HOMEOWNERS' ASSOCIATION, INC. FOR PRIVATE USE FOR THE DEVELOPMENT OF A WASTE-WATER TREATMENT SITE. TRACT 5 IS HEREBY CONVEYED TO AND TO BE MAINTAINED BY JUMPER CREEK HOMEOWNERS' ASSOCIATION, INC. FOR PRIVATE USE FOR THE DEVELOPMENT OF A WATER PLANT. TRACT 6 IS HEREBY CONVEYED TO AND TO BE MAINTAINED BY THE JUMPER CREEK HOMEOWNERS' ASSOCIATION, INC. FOR PRIVATE USE FOR THE DEVELOPMENT OF A LIFT STATION. EACH UTILITY EASEMENT (OR "UE") SHALL BE USED FOR UTILITY PURPOSES AS SET FORTH IN SECTION 11.3 OF THE JUMPER CREEK DECLARATION. EACH INGRESS AND EGRESS EASEMENT (OR "IE") SHALL BE USED FOR INGRESS AND EGRESS PURPOSES AS SET FORTH IN SECTIONS 11.1 AND 11.4 OF THE JUMPER CREEK DECLARATION. EACH DRAINAGE EASEMENT (OR "DE") SHALL BE USED FOR DRAINAGE PURPOSES AS SET FORTH IN SECTIONS 11.3, 11.7 AND 11.8 OF THE JUMPER CREEK DECLARATION. EACH SPECIAL ACCESS EASEMENT (OR "SAE-1") SHALL BE USED FOR THE PURPOSES AS SET FORTH IN SECTIONS 11.9, 11.10, 11.11 AND 11.13 OF THE JUMPER CREEK DECLARATION. EACH SPECIAL ACCESS EASEMENT FOR TRACT 4 (OR "SAE-4") SHALL BE USED FOR THE PURPOSES AS SET FORTH IN SECTION 11.10 OF THE JUMPER CREEK DECLARATION. EACH SPECIAL ACCESS EASEMENT FOR TRACT 5 (OR "SAE-5") SHALL BE USED FOR THE PURPOSES AS SET FORTH IN SECTION 11.11 OF THE JUMPER CREEK DECLARATION. EACH SPECIAL ACCESS EASEMENT FOR TRACT 6 (OR "SAE-6") SHALL BE USED FOR THE PURPOSES AS SET FORTH IN SECTION 11.12 OF THE JUMPER CREEK DECLARATION.

IN WITNESS WHEREOF, JUMPER CREEK JOINT VENTURE HAS CAUSED THESE PRESENTS TO BE SIGNED AND ATTESTED TO BY THE Joint Venture Manager ON THIS 11 DAY OF May, 2006.

WITNESSES: JUMPER CREEK JOINT VENTURE

SIGN: _____ BY: HORIZON HOMES OF CENTRAL FLORIDA, INC.
PRINT: Richard Brown A FLORIDA CORPORATION, AS JOINT VENTURE MANAGER
SIGN: _____ BY: _____
PRINT: David J. Schutte PRINT: GREGG A. WASSERMAN
TITLE: PRESIDENT

STATE OF FLORIDA
COUNTY OF Seminole

THE FOREGOING INSTRUMENT WAS ACKNOWLEDGED BEFORE ME THIS 11 DAY OF May, 2006 BY GREGG A. WASSERMAN, AS PRESIDENT OF HORIZON HOMES OF CENTRAL FLORIDA, INC., THE JOINT VENTURE MANAGER OF JUMPER CREEK JOINT VENTURE, ON BEHALF OF THE JOINT VENTURE, WHO IS PERSONALLY KNOWN TO ME OR PRODUCED Florida Drivers License AS IDENTIFICATION.

NOTARY PUBLIC
SIGN: _____
PRINT: Richard C. Brown
MY COMMISSION EXPIRES: 3/20/2009

Notary Public State of Florida Richard C Brown My Commission DD408847 Expires 03/20/2009

ENGINEER'S CERTIFICATE:

I, THE UNDERSIGNED PROFESSIONAL ENGINEER, HEREBY CERTIFY THAT THE ROAD AND DRAINAGE DESIGN AND CONSTRUCTION NECESSARY FOR THIS DEVELOPMENT ARE IN ACCORDANCE WITH THE SUMTER COUNTY SPECIFICATIONS AND GOOD ENGINEERING PRACTICES.

MCKEAN & ASSOCIATES ENGINEERS, INC.

DATE: MAY 4, 2006

BY: _____
EDMOND J. MCKEAN, P.E.
PROFESSIONAL ENGINEER NUMBER 20540, STATE OF FLORIDA

SURVEYOR'S CERTIFICATE:

I HEREBY CERTIFY THAT THIS PLAT OF JUMPER CREEK MANOR IS A TRUE AND CORRECT REPRESENTATION OF THE LANDS AS RECENTLY SURVEYED AND PLATTED UNDER MY DIRECTION. THAT THE PERMANENT REFERENCE MONUMENTS WERE IN PLACE ON THE 21 DAY OF FEBRUARY 2005. THAT THE PERMANENT CONTROL POINTS AND LOT CORNERS AS SHOWN HEREON WILL BE SET PRIOR TO THE EXPIRATION OF THE IMPROVEMENT BOND AND THAT THIS PLAT COMPLIES WITH THE REQUIREMENTS OF CHAPTER 177, FLORIDA STATUTES.

MCKEAN & ASSOCIATES SURVEYORS, INC.

DATE: MAY 4, 2006

BY: _____
DAVID K. MCKEAN, P.S.M.
PROFESSIONAL SURVEYOR AND MAPPER NUMBER 0005213, STATE OF FLORIDA

RECORD PLAT REVIEW STATEMENT

PURSUANT TO SECTION 177.081, FLORIDA STATUTES, I HEREBY CERTIFY THAT I HAVE PERFORMED A LIMITED REVIEW OF THIS PLAT FOR CONFORMITY TO CHAPTER 177, FLORIDA STATUTES AND THAT SAID PLAT COMPLIES WITH THE TECHNICAL REQUIREMENTS OF THAT CHAPTER: PROVIDED, HOWEVER, THAT MY REVIEW AND CERTIFICATION DOES NOT INCLUDE FIELD VERIFICATION OF ANY POINTS OR MEASUREMENTS SHOWN ON THIS PLAT.

PRINT: Billy Earl Owens
SIGN: _____
PROFESSIONAL SURVEYOR AND MAPPER NUMBER 3522, STATE OF FLORIDA