"NOTICE: There may be additional restrictions that are not recorded on this plat that may be found in the public records of this county."

SILVER SPRINGS SHORES
MARION COUNTY FLORIDA
UNIT NO. 20

ANNULLED AND / OR VACATED, IN PART OR WHOLE BY BOARD OF COUNTY COMMISSION RESOLUTION NUMBER 89-R-72 RECORDED IN OFFICIAL RECORD BOOK 1361 PAGE 1463

ANNULLED AND / OR VACATED, IN PART OR WHOLE BY BOARD OF COUNTY COMMISSION RESOLUTION NUMBER 93-R-46 RECORDED IN OFFICIAL RECORD BOOK 1914 PAGE 1334

ANNULLED AND/OR VACATED IN PART OR WHOLE BY BOARD OF COUNTY COMMISSION RESOLUTION NUMBER 97-R-34 RECORDED IN OFFICIAL RECORD BOOK 2340 PAGE 1770

DESCRIPTION:

A portion of Sections 29, 31, 32 and 33, Township 15 South, Range 23 East and a portion of Section 5, Township 16 South, Range 23 East, all in Marion County, Florida, more fully described as follows:

BEGINNING at the Northeast corner of the W 1/2 of the NE 1/4 of said Section 32, at the Geodetic position of Y= 1,750,606.79 and X= 492,027.74; thence S 00°26'08"E along the East boundary of the said W 1/2 of the NE 1/4, a distance of 2631.48 feet to the Southeast corner thereof at Y= 1,747,975.38 and X= 492,047.74, thence N 89°56'30"E along the North line of the SE 1/4 of said Section 32 a distance of 667.62 feet to a point on the Southerly Taking line of the Eureka Pool of the Cross Florida Barge Canal at Y= 1,747,976.06 and X= 492,715.36; thence Easterly along the said Southerly Taking line, the following two courses and distances, S 27°57'35"E, 1161.65 feet to Y= 1,746,950.00 and X= 493,260.00; thence N 54°33'29"E, 302.66 feet to Y=1,747,125.50 and X=493,506.58 thence S 35°26'31"E, 548.09 feet to a point of curve at Y=1,746,678.97 and X= 493,824.40; thence Southerly along a curve to the right whose radius is 175.00 feet with a central angle of 35°26'31" for an arc distance of 108.25 feet to Y=1,746,577.49 and X = 493,856.83; thence South, 306.61 feet to Y=1,746,270.88 and X=493,856.83 thence West, 221.33 feet to a point of curve at Y=1,746,270.88 and X=493,635.49; thence Southwesterly along a curve to the left whose radius is 460.00 feet with a central angle of 53°48'00" for an arc distance of 431.93 feet to Y= 1,746,082.56 and X=493,264.29; thence S 36°12'00"W, 2088.78 feet to a point on the Northerly right-of-way line of Bahia Road in Silver Springs Shores, Unit No.7, according to the plat thereof recorded in Plat Book "J" Page 100, of the Public Record of Marion County, Florida, at Y=1,744,397.00 and X=492,030.64; thence Westerly along the said Northerly rigt-of-way line along a curve to the left whose tangent bears N 53°12'28"W and whose radius is 3869.70 feet with a central angle of 15°33"00" for an arc distance of 1050.23 feet to Y=1,744,904.88 and X= 491,115.06; thence continue along the said Northerly right-of-way line N68°45'28"W 1029.94 feet to the intersection with the Easterly right-of-way line of Pine Road at Y= 1,745,278.04 and X=490,155.10; thence along the said Easterly right-of-way line in Unit No.7 and continuing thru Silver Springs Shores, Unit No. 19, according to the plat thereof recorded in Plat Book "J", Page 158, of the Public Records of Marion County, Florida, the following five courses and distances, N 21°15'53"E, 439.23 feet to a point of curve at Y=1,745,687.37 and X=490,314.39, thence Northerly along a curve to the left whose radius is 1656.11 feet with a central angle of 63°29'32" for an arc distance of 1835.21 feet to Y= 1,747,401.04 and X=489,997.35; thence N 42°13'39"W, 1251.64 feet to a point of curve at Y= 1,748,327.86 and X= 489,156.16; thence Westerly along a curve to the left whose radius is 1482.69 feet with a central angle of 32°29'08" for an arc distance of 840.65 feet to Y=1,748,761.60 and X= 488,449.16; thence N 74°42'47"W, 515.68 feet to a point on the Easterly right-of-way line of a proposed State Road, said point being 50.00 feet as measured at right angles to the centerline of said proposed State Road at Y=1,748,897.56 and X=487,951.73; thence N 15°17'39"E, along the said Easterly right-of-way line 2290.00 feet to Y=1,751,106.45 and X=488,555.77; thence S 74°42'21"E, 1125.00 feet to a point of curve at Y=1,750,809.70 and X= 489,640.92; thence Southeasterly along a curve to the right whose radius is 772.00 feet with a central angle of 28°20'53" for an arc distance of 381.96 feet to Y=1,750,623.72 and X=489,970.09; thence N 46°36'43"E, 1080.17 feet to a point of curve at Y=1,751,365.73 and X=490,755.07; thence Northerly along a curve to the left whose radius is 460.00 feet with a central angle of 57°19'29" for an arc distance 460.23 feet to Y=1,751,785.52 and X=490,891.06; thence N79°17'14"E, 855.00 feet to Y= 1,751,944.45 and X=491,731.16; thence S 10°42'46"E, 380.00 to Y=1,751,571.08 and X= 491,801.80; thence S07°15'08"E, 492.33 feet to Y=1,751,082.69 and X=491,863.95; thence S 20°58'36"E, 335.76 feet to Y=1,750,769.18 and X=491,984.15; thence S00°32'34"E; 162.39 feet to a point on the North line of the said W 1/2 of the NE 1/4 at Y=1,750,606.80 and X=491,985.69; thence S 89°59'22"E, along the said North line 42.05 feet to the POINT OF BEGINNING.

SILVER SPRINGS SHORES
UNIT NO. 20

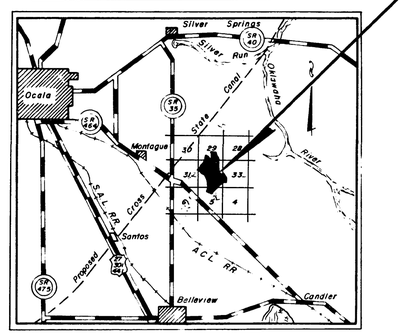

Location Map

0 1 2 3 4 5 miles
Graphic Scale

NOTE: All easements shown are reserved for the perpetual use of construction and maintenance of drainage facilities and all utilities. In addition to the easements specifically shown hereon, there is also reserved a 7.5 feet easement along all front, sides, and rear lot lines for the same purposes.

Coordinates refer to Mercator Projection, Florida West Zone.

All cul-de-sac radii are 50.00 feet unless otherwise shown.

All lot corners at street intersections have a 25.00 feet radius unless otherwise shown. Distances shown extend to the point of intersection of street lines, but lot ownership extends only to the curve.

○ = 4"x 4" Concrete Permanent Reference Monument.

= 20' Drainage Easement.
20 D.E.

SCALE IN FEET
0 100 200 300 400

GRAPHIC SCALE FOR PLAT SHEETS

STATE OF FLORIDA
COUNTY OF MARION

The undersigned corporation which is duly organized under the laws of the State of Florida and the owner of the real estate included in this plat does hereby authorize the same to be recorded in the public records of Marion County, Florida, and does hereby dedicate to the public forever the roads, streets and water retention areas as shown hereon for the benefit of the public.

Witness whereof said corporation has caused its seal to be affixed by the undersigned officials, duly authorized by the Board of Directors, this 28 day of April A.D. 1970. Signed, sealed, and delivered in the presence of:

Joseph Martone
Witness

Lewis E. Burial
Witness

SILVER SPRINGS SHORES, INC.

Clyde B. Larramore
Clyde B. Larramore, Vice President

Thelma Patten
Thelma Patten, Assistant Secretary

STATE OF FLORIDA
COUNTY OF MARION

Before me this day personally appeared Clyde B. Larramore and Thelma Patten, Vice President and Assistant Secretary, respectively, of Silver Springs Shores, Inc, a Florida Corporation and acknowledged before me that they executed the dedication hereon shown for the uses and purposes therein stated on behalf of said Silver Springs Shores, Inc, as its free act and deed and have been duly authorized so to do by the Board of Directors thereof.

Witness my hand and official seal at Ocala, County of Marion, State of Florida, this 28 day of April A.D. 1970.

My commission expires: DEC. 21ST 1971

Douglas M. Walker
Notary Public, State of Florida at Large

I, W.G. Cunningham, of the Marion Engineering Associates, Inc., maker of this plat, do hereby certify that it is a correct representation of the land platted and that permanent reference monuments have been placed thereon as called for under chapter 177, Florida Statutes.

W.G. Cunningham
W.G. Cunningham
Registered Land Surveyor
Florida Certificate No. 1569

This certifies that this plat was presented to the Board of County Commissioners of Marion County, Florida, and approved by them for record on the 28 day of April A.D. 1970.

Attest: John F. Nicholson
Clerk of the Circuit Court

Neal H. Folks
Chairman, Board of County Commissioners

I, John F. Nicholson, Clerk of the Circuit Court for Marion County, Florida, do hereby certify that this foregoing plat conforms to the provisions of chapter 177, Florida statutes, was filed in my office for record on the 28 day of APRIL A.D. 1970, and recorded in the public records of said County on the 28 day of APRIL A.D. 1970 in plat book "J", pages 161-168.

John F. Nicholson
Clerk of the Circuit Court

"As a condition precedent to the recordation of this plat in the Public records of Marion County, Florida, the undersigned owners of this subdivision do hereby guarantee to each and every person, firm, copartnership, or corporation, their heirs, successors, and assigns, who shall purchase a lot or lots in said subdivision from said owners, that said owners shall within 60 months of the date of the sale thereof fully comply with each and every regulation of the Board of County Commissioners of Marion County, Florida, covering subdivisions in effect at the time of the filing of this final plat in so far as the same effects a lot or lots sold. Time of such performance being of the essence, which said guarantee shall be a part of each deed of conveyance or contract of sale covering lots in said subdivision, executed by said owners to the same extent and purpose as if said guarantee were incorporated verbatim in each said conveyance or contract of sale."

SILVER SPRINGS SHORES, INC.

Clyde B. Larramore
Clyde B. Larramore, Vice President

Thelma Patten
Thelma Patten, Assistant Secretary

Prepared By
Marion Engineering Associates, Inc.
1759 S.W. 12th St. Ocala, Fla.

"NOTICE: There may be additional restrictions that are not recorded on this plat that may be found in the public records of this county."

SILVER SPRINGS SHORES
MARION COUNTY, FLORIDA
UNIT NO. 20

ANNULLED AND / OR VACATED, IN PART OR WHOLE BY BOARD OF COUNTY COMMISSION RESOLUTION NUMBER 93R-96 RECORDED IN OFFICIAL RECORD BOOK 1919 PAGE 1334

ANNULLED AND / OR VACATED, IN PART OR WHOLE, BY BOARD OF COUNTY COMMISSION RESOLUTION NUMBER 89-2-72 RECORDED IN OFFICIAL RECORD BOOK 1561 PAGE 1463

ANNULLED AND/OR VACATED IN PART OR WHOLE BY BOARD OF COUNTY COMMISSION RESOLUTION NUMBER 47-R-34 RECORDED IN OFFICIAL RECORD BOOK 2340 PAGE 1770

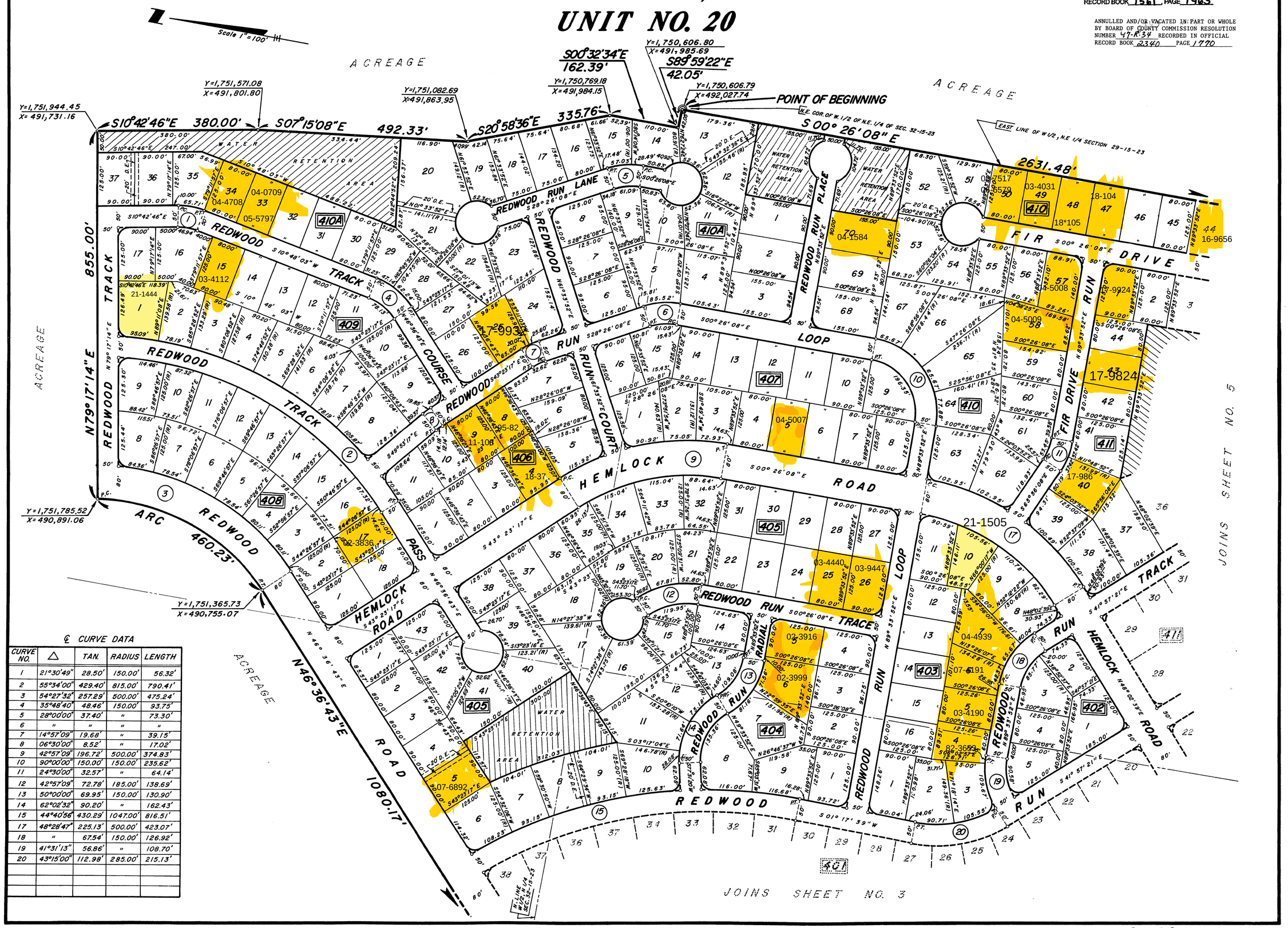

℄ CURVE DATA

CURVE NO.	△	TAN.	RADIUS	LENGTH
1	21°30'49"	28.50'	150.00'	56.32'
2	55°34'00"	429.40'	815.00'	790.41'
3	54°27'32"	257.29'	500.00'	475.24'
4	35°48'40"	48.46'	150.00'	93.75'
5	28°00'00"	37.40'	"	73.30'
6	"	"	"	"
7	14°57'09"	19.68'	"	39.15'
8	06°30'00"	8.52'	"	17.02'
9	42°57'09"	196.72'	500.00'	374.83'
10	90°00'00"	150.00'	150.00'	235.62'
11	24°30'00"	32.57'	"	64.14'
12	42°57'09"	72.78'	185.00'	138.69'
13	50°00'00"	69.95'	150.00'	130.90'
14	62°02'32"	90.20'	"	162.43'
15	44°40'56"	430.29'	1047.00'	816.51'
17	48°28'47"	225.13'	500.00'	423.07'
18	"	67.54'	150.00'	126.92'
19	41°31'13"	56.86'	"	108.70'
20	43°15'00"	112.98'	285.00'	215.13'

Prepared By
Marion Engineering Associates, Inc.
1759 S.W. 12th St., Ocala, Fla.

"NOTICE: There may be additional restrictions that are not recorded on this plat that may be found in the public records of this county."

SHEET 3 OF 8 SHEETS

SILVER SPRINGS SHORES

MARION COUNTY, FLORIDA

UNIT NO. 20

ANNULLED AND / OR VACATED, IN PART OR WHOLE BY BOARD OF COUNTY COMMISSION RESOLUTION NUMBER 93-R-46 RECORDED IN OFFICIAL RECORD BOOK 1419 PAGE 1334

ANNULLED AND / OR VACATED, IN PART OR WHOLE BY BOARD OF COUNTY COMMISSION RESOLUTION NUMBER 87-R-22 RECORDED IN OFFICIAL RECORD BOOK 1561 PAGE 1463

ANNULLED AND/OR VACATED IN PART OR WHOLE BY BOARD OF COUNTY COMMISSION RESOLUTION NUMBER 97-R-34 RECORDED IN OFFICIAL RECORD BOOK 2340 PAGE 1770

CURVE NO.	Δ	TAN.	RADIUS	LENGTH
16	76°00'00"	571.90'	732.00'	970.96'
21	43°15'00"	237.86'	600.00'	452.91'
22	44°40'59"	171.38'	417.00'	325.21'
23	58°40'56"	210.53'	374.53'	383.59'
24	35°00'00"	47.29'	150.00'	91.63'
25	90°00'00"	450.00'	450.00'	706.86'
26	"	300.00'	300.00'	471.24'
27	35°00'00"	47.39'	150.00'	91.63'
28	23°40'00"	31.43'	"	61.96'
29	50°00'00"	86.27'	185.00'	161.44'
30	82°45'00"	264.25'	300.00'	433.28'
31	14°00'00"	30.70'	250.00'	61.09'
32	44°17'27"	61.05'	150.00'	115.95'
34	61°27'33"	297.23'	500.00'	536.22'
36	90°00'00"	150.00'	150.00'	235.62'
37	50°00'00"	233.15'	500.00'	436.33'
20	43°15'00"	112.98'	285.00'	215.13'
15	44°40'56"	430.29'	1047.00'	816.51'

Prepared By
Marion Engineering Associates, Inc.
1759 S.W. 12th St., Ocala, Fla.

"NOTICE: There may be additional restrictions that are not recorded on this plat that may be found in the public records of this county."

ANNULLED AND / OR VACATED, IN PART OR WHOLE, BY BOARD OF COUNTY COMMISSION RESOLUTION NUMBER 93-R-46 RECORDED IN OFFICIAL RECORD BOOK 1914, PAGE 1334

ANNULLED AND/OR VACATED IN PART OR WHOLE BY BOARD OF COUNTY COMMISSION RESOLUTION NUMBER 97-R-34 RECORDED IN OFFICIAL RECORD BOOK 2340 PAGE 1990

ANNULLED AND / OR VACATED, IN PART OR WHOLE, BY BOARD OF COUNTY COMMISSION RESOLUTION NUMBER 99-R-12 RECORDED IN OFFICIAL RECORD BOOK 1561 PAGE 1463

SILVER SPRINGS SHORES

MARION COUNTY, FLORIDA

UNIT NO. 20

SHEET 4 OF 8 SHEETS

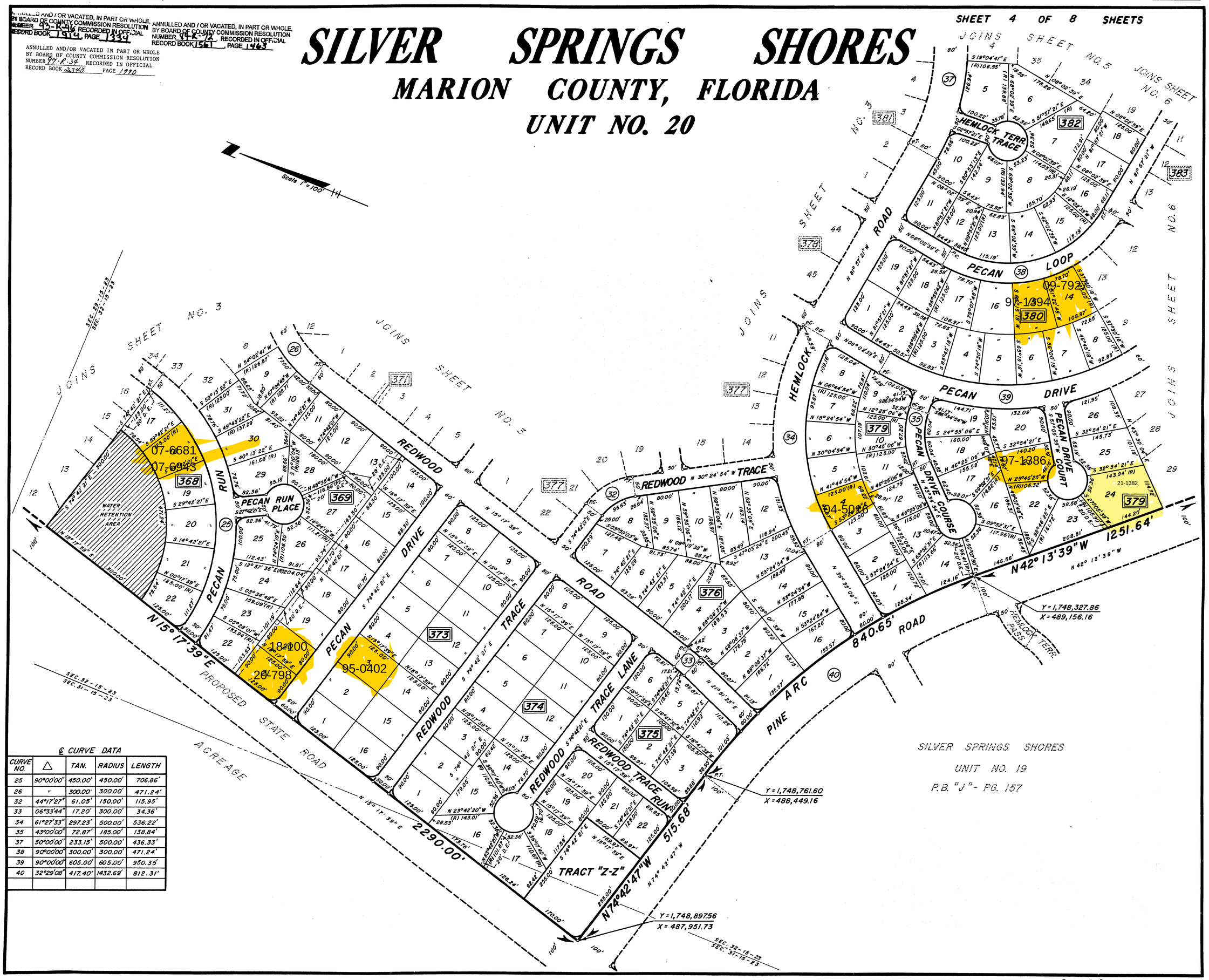

℄ CURVE DATA

CURVE NO.	△	TAN.	RADIUS	LENGTH
25	90°00'00"	450.00'	450.00'	706.86'
26	"	300.00'	300.00'	471.24'
32	44°17'27"	61.05'	150.00'	115.95'
33	06°33'44"	17.20'	300.00'	34.36'
34	61°27'33"	297.23'	500.00'	536.22'
35	43°00'00"	72.87'	185.00'	138.84'
37	50°00'00"	233.15'	500.00'	436.33'
38	90°00'00"	300.00'	300.00'	471.24'
39	90°00'00"	605.00'	605.00'	950.35'
40	32°29'08"	417.40'	1432.69'	812.31'

Prepared By
Marion Engineering Associates, Inc.
1759 S.W. 12th St., Ocala, Fla.

"NOTICE: There may be additional restrictions that are not recorded on this plat that may be found in the public records of this county."

SHEET 5 OF 8 SHEETS

SILVER SPRINGS SHORES

MARION COUNTY, FLORIDA

UNIT NO. 20

BY BOARD OF COUNTY COMMISSION RESOLUTION NUMBER [redacted] RECORDED IN OFFICIAL RECORD BOOK 1114 PAGE 1334 93R-46

ANNULLED AND / OR VACATED, IN PART OR WHOLE, BY BOARD OF COUNTY COMMISSION RESOLUTION NUMBER 89-R-72 RECORDED IN OFFICIAL RECORD BOOK 1561 PAGE 1463

ANNULLED AND/OR VACATED IN PART OR WHOLE BY BOARD OF COUNTY COMMISSION RESOLUTION NUMBER 97-R-34 RECORDED IN OFFICIAL RECORD BOOK 2340 PAGE 1770

Scale 1" = 100'

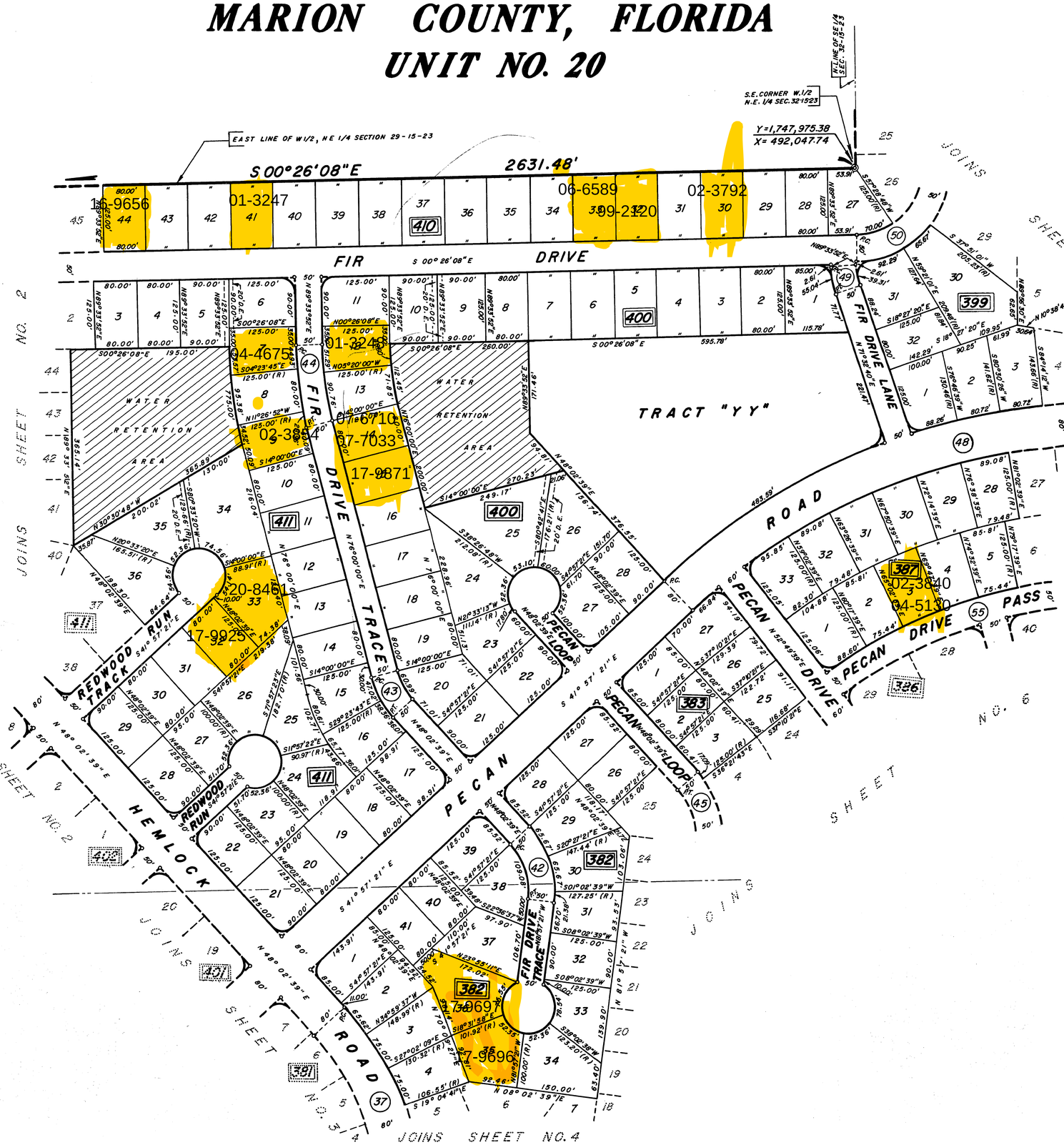

℄ CURVE DATA

CURVE NO.	△	TAN.	RADIUS	LENGTH
37	50°00'00"	233.15'	500.00'	436.33'
42	"	69.92'	150.00'	130.90'
43	27°57'21"	37.34'	150.00'	73.19'
44	13°33'52"	74.33'	625.00'	147.97'
45	50°00'00"	69.92'	150.00'	130.90'
48	55°00'00"	624.68'	1200.00'	1151.92'
49	18°01'12"	23.78'	150.00'	47.18'
50	89°37'22"	149.02'	"	234.63'
55	50°13'00"	414.72'	885.00'	775.66'

Prepared By
Marion Engineering Associates, Inc.
1759 S.W. 12th St., Ocala, Fla.

"NOTICE: There may be additional restrictions that are not recorded on this plat that may be found in the public records of this county."

SHEET 6 OF 8 SHEETS

SILVER SPRINGS SHORES

MARION COUNTY, FLORIDA

UNIT NO. 20

ANNULLED AND / OR VACATED, IN PART OR WHOLE, BY BOARD OF COUNTY COMMISSION RESOLUTION NUMBER [redacted] RECORDED IN OFFICIAL RECORD BOOK 1419 PAGE 1359 93-R-46

ANNULLED AND / OR VACATED, IN PART OR WHOLE, BY BOARD OF COUNTY COMMISSION RESOLUTION NUMBER 81-R-72 RECORDED IN OFFICIAL RECORD BOOK 1361 PAGE 1463

ANNULLED AND/OR VACATED IN PART OR WHOLE BY BOARD OF COUNTY COMMISSION RESOLUTION NUMBER 97-R-34 RECORDED IN OFFICIAL RECORD BOOK 2340 PAGE 1770

℄ CURVE DATA

CURVE NO.	△	TAN.	RADIUS	LENGTH
38	90°00'00"	300.00'	300.00'	471.24'
39	"	605.00'	605.00'	950.35'
41	39°43'42"	54.19'	150.00'	104.01'
45	50°00'00"	69.92'	"	130.90'
46	39°43'42"	54.19'	"	104.01'
47	45°13'00"	124.93'	300.00'	236.75'
48	55°00'00"	624.68'	1200.00'	1151.92'
55	50°13'00"	414.72'	885.00'	775.66'
56	62°37'00"	91.23'	150.00'	163.93'
57	51°00'00"	71.55'	"	133.42'
58	85°19'48"	184.33'	200.00'	297.86'
58A	07°08'20"	112.66'	1806.11'	225.04'
59	85°19'02"	138.22'	150.00'	223.36'
60	63°29'32"	993.74'	1606.11'	1779.81'
61	62°29'30"	91.01'	150.00'	163.60'
70	81°53'40"	160.53'	185.00'	264.44'
71	81°53'40"	433.85'	500.00'	714.68'

Prepared By
Marion Engineering Associates, Inc.
1759 S.W. 12 th St., Ocala, Fla.

"NOTICE: There may be additional restrictions that are not recorded on this plat that may be found in the public records of this county."

SHEET 7 OF 8 SHEETS

SILVER SPRINGS SHORES

MARION COUNTY, FLORIDA

UNIT NO 20

93-R-46 ANNULLED AND / OR VACATED, IN PART OR WHOLE, BY BOARD OF COUNTY COMMISSION RESOLUTION NUMBER [redacted], RECORDED IN OFFICIAL RECORD BOOK 1914, PAGE 1334

ANNULLED AND / OR VACATED, IN PART OR WHOLE, BY BOARD OF COUNTY COMMISSION RESOLUTION NUMBER 89-R-72, RECORDED IN OFFICIAL RECORD BOOK 1561, PAGE 1463

ANNULLED AND/OR VACATED IN PART OR WHOLE BY BOARD OF COUNTY COMMISSION RESOLUTION NUMBER 97-R-31 RECORDED IN OFFICIAL RECORD BOOK 2340, PAGE 1770

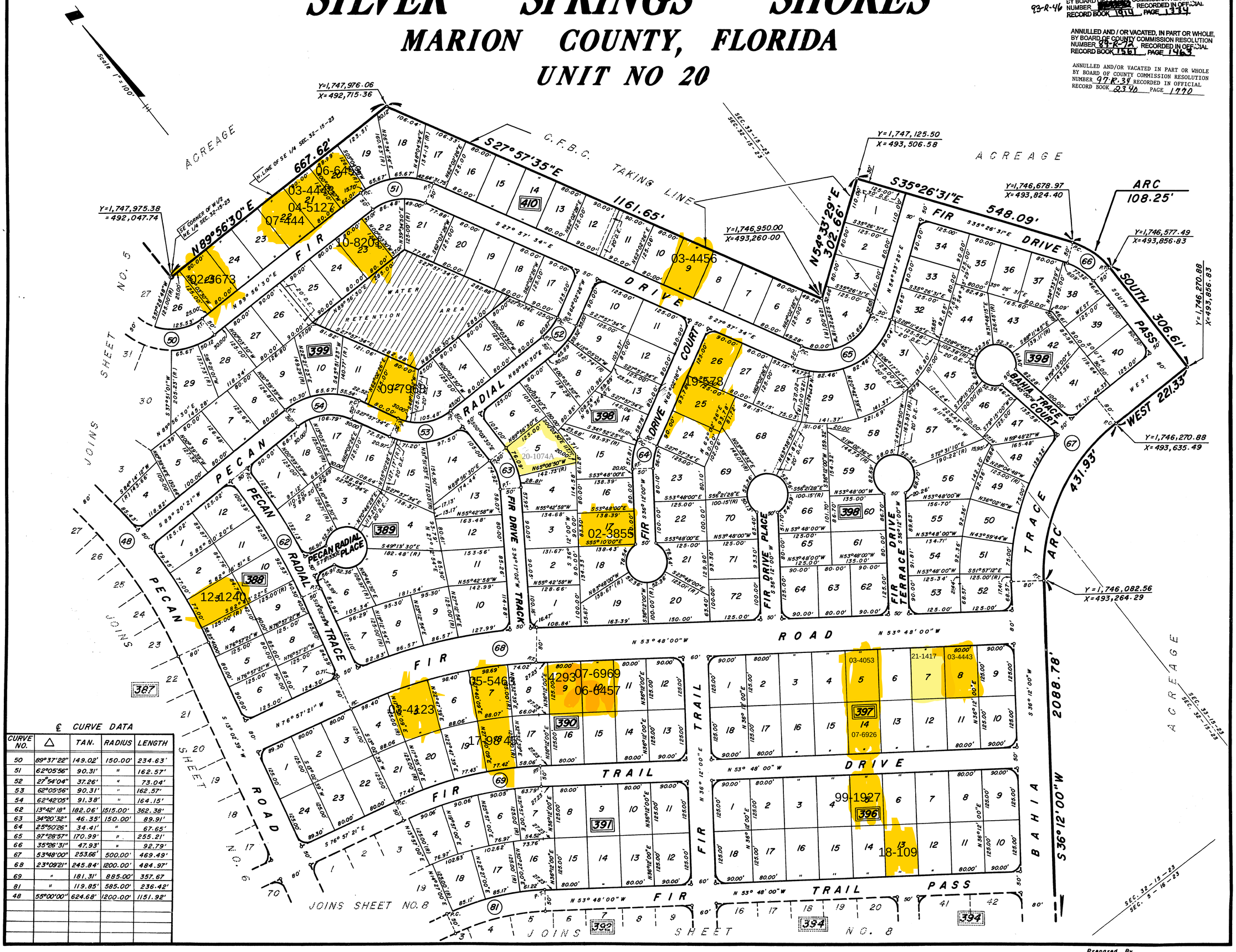

℄ CURVE DATA

CURVE NO.	△	TAN.	RADIUS	LENGTH
50	89°37'22"	149.02'	150.00'	234.63'
51	62°05'56"	90.31'	"	162.57'
52	27°54'04"	37.26'	"	73.04'
53	62°05'56"	90.31'	"	162.57'
54	62°42'05"	91.38'	"	164.15'
62	13°42'18"	182.06'	1515.00'	362.38'
63	34°20'32"	46.35'	150.00'	89.91'
64	25°50'26"	34.41'	"	67.65'
65	97°28'57"	170.99'	"	255.21'
66	35°26'31"	47.93'	"	92.79'
67	53°48'00"	253.66'	500.00'	469.49'
68	23°09'21"	245.84'	1200.00'	484.97'
69	"	181.31'	885.00'	357.67
81	"	119.85'	585.00'	236.42'
48	55°00'00"	624.68'	1200.00'	1151.92'

Prepared By
Marion Engineering Associates, Inc.
1759 S.W. 12th St., Ocala, Fla.

"NOTICE: There may be additional restrictions that are not recorded on this plat that may be found in the public records of this county."

SHEET 8 OF 8 SHEETS

SILVER SPRINGS SHORES

MARION COUNTY, FLORIDA

UNIT NO. 20

ANNULLED AND / OR VACATED, IN PART OR WHOLE BY BOARD OF COUNTY COMMISSION RESOLUTION NUMBER [redacted] RECORDED IN OFFICIAL RECORD BOOK 1414 PAGE 1334

ANNULLED AND/OR VACATED IN PART OR WHOLE BY BOARD OF [redacted] COMMISSION RESOLUTION NUMBER 97-[redacted] RECORDED IN OFFICIAL RECORD BOOK 03470 PAGE 1770

ANNULLED AND / OR VACATED, IN PART OR WHOLE BY BOARD OF COUNTY COMMISSION RESOLUTION NUMBER 84-R-72 RECORDED IN OFFICIAL RECORD BOOK 156 PAGE 1463

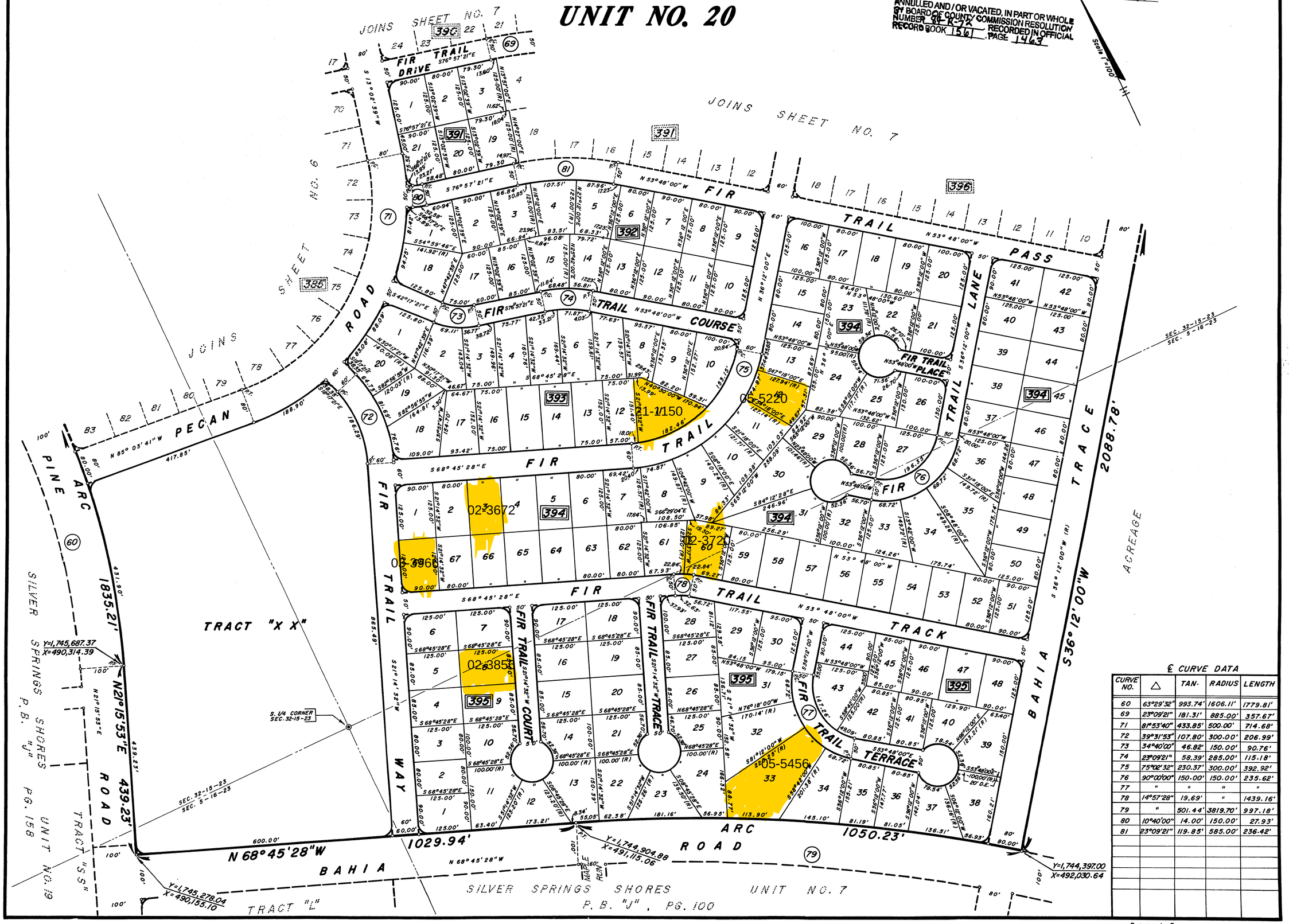

℄ CURVE DATA

CURVE NO.	△	TAN.	RADIUS	LENGTH
60	63°29'32"	993.74'	1606.11'	1779.81'
69	23°09'21"	181.31'	885.00'	357.67'
71	81°53'40"	433.85'	500.00'	714.68'
72	39°31'53"	107.80'	300.00'	206.99'
73	34°40'00"	46.82'	150.00'	90.76'
74	23°09'21"	58.39'	285.00'	115.18'
75	75°02'32"	230.37'	300.00'	392.92'
76	90°00'00"	150.00'	150.00'	235.62'
77	"	"	"	"
78	14°57'28"	19.69'	"	1439.16'
79	"	501.44'	3819.70'	997.18'
80	10°40'00"	14.00'	150.00'	27.93'
81	23°09'21"	119.85'	585.00'	236.42'

Prepared By
Marion Engineering Associates, Inc.
1259 S.W. 12th St., Ocala, Fla.